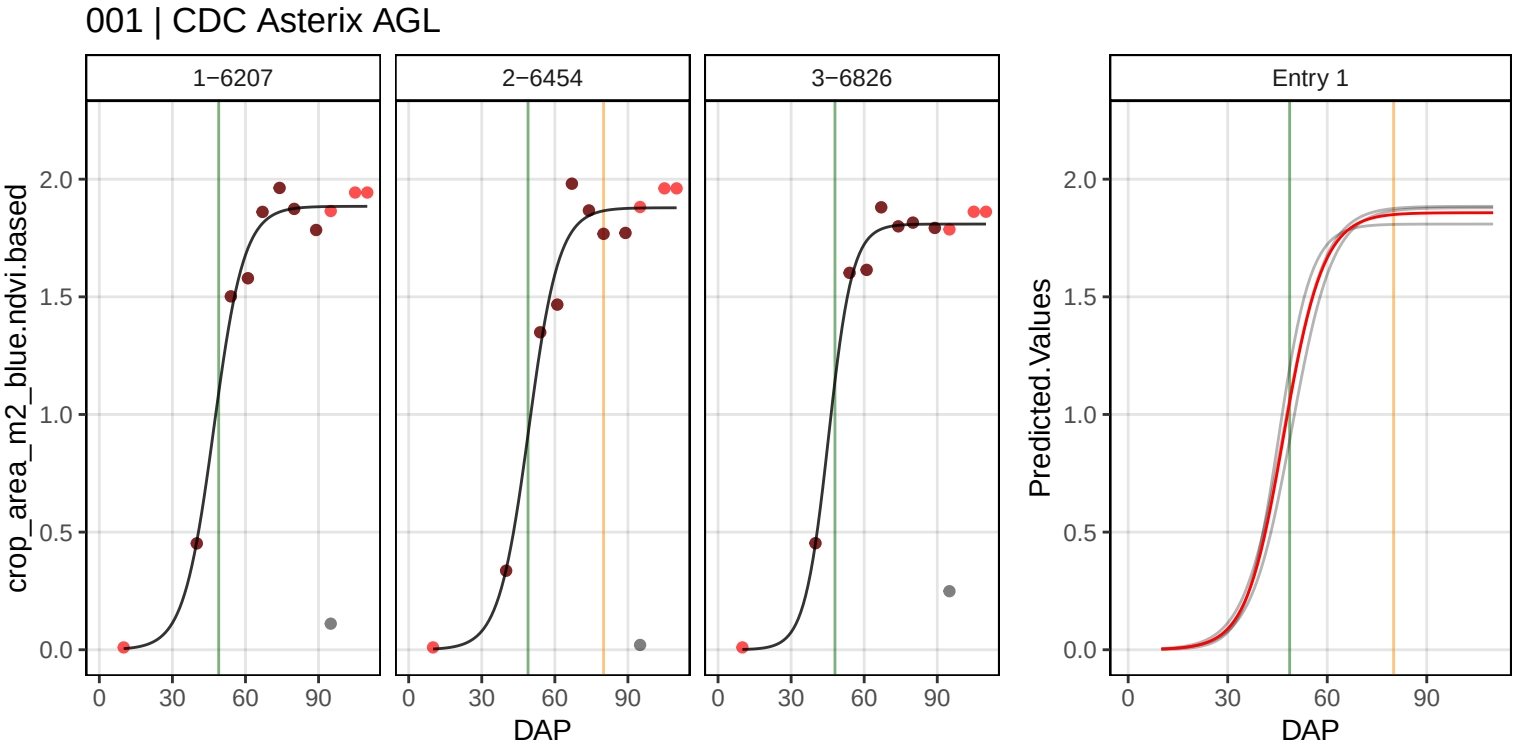
001 | CDC Asterix AGL
1−6207
2−6454
3−6826
Entry 1
crop_area_m2_blue.ndvi.based
Predicted.Values
DAP
DAP
0.0
0.5
1.0
1.5
2.0
0
30
60
90

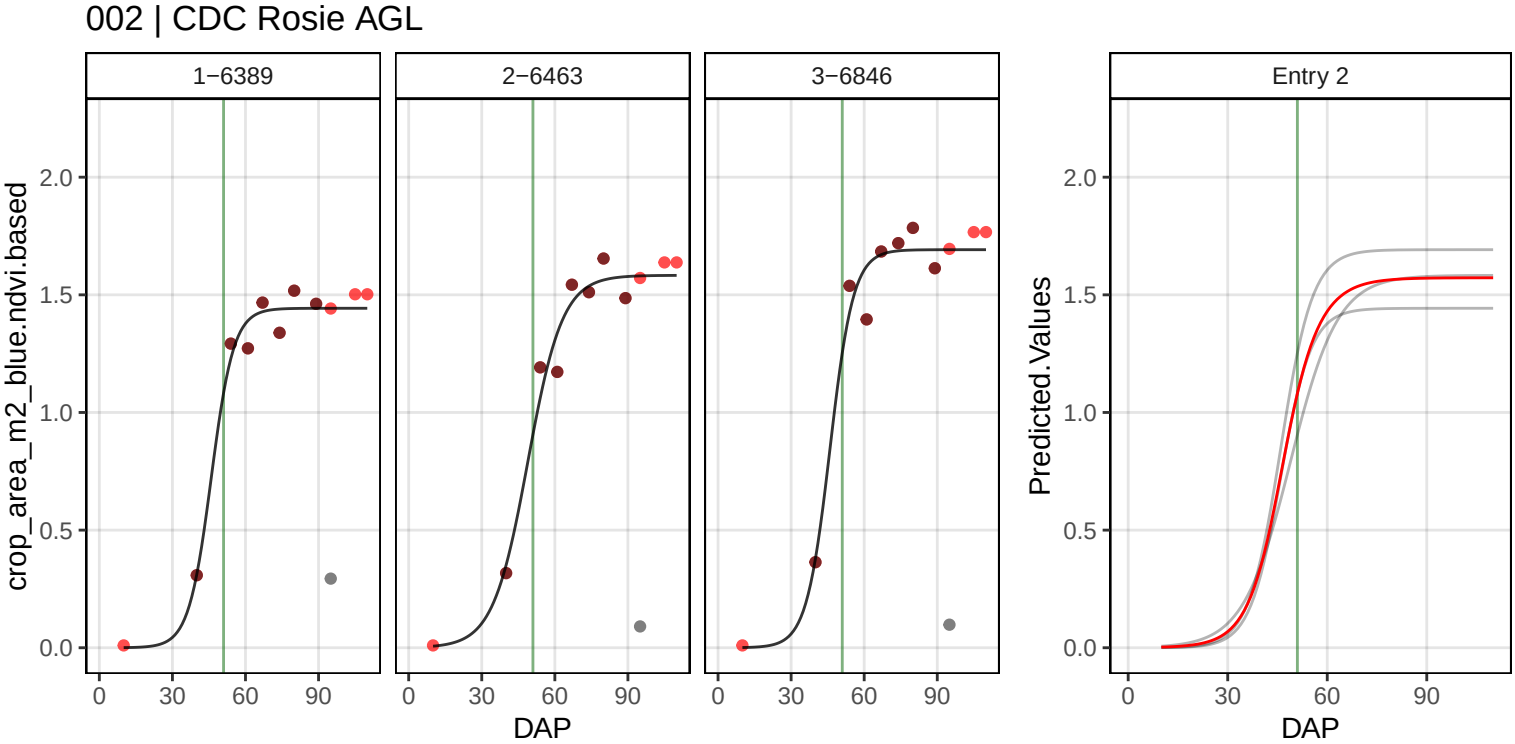
002 | CDC Rosie AGL
1−6389
2−6463
3−6846
Entry 2
crop_area_m2_blue.ndvi.based
Predicted.Values
DAP
DAP
0.0
0.5
1.0
1.5
2.0
0
30
60
90

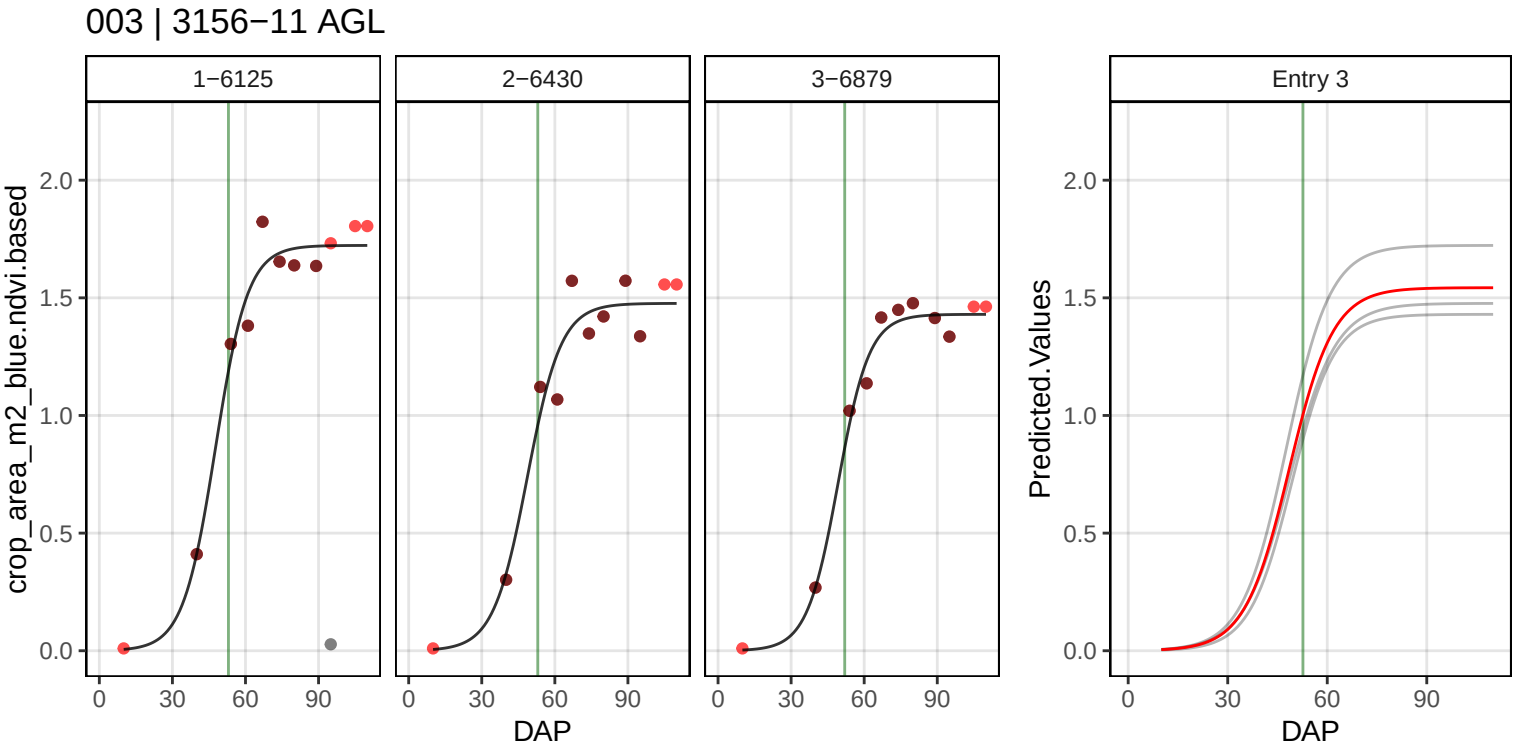
003 | 3156−11 AGL
1−6125
2−6430
3−6879
Entry 3
crop_area_m2_blue.ndvi.based
Predicted.Values
DAP
DAP
0.0
0.5
1.0
1.5
2.0
0
30
60
90

004 | CDC Greenstar AGL

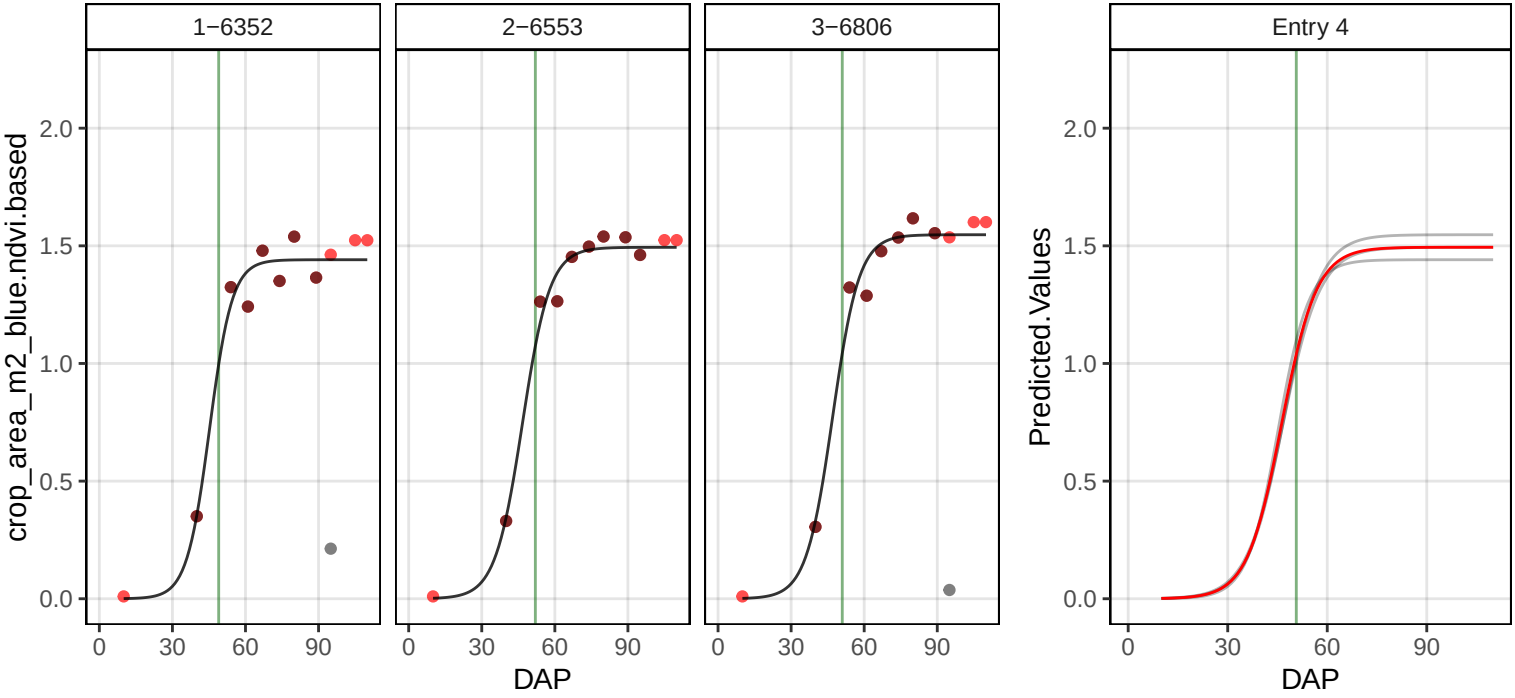

005 | CDC Cherie AGL

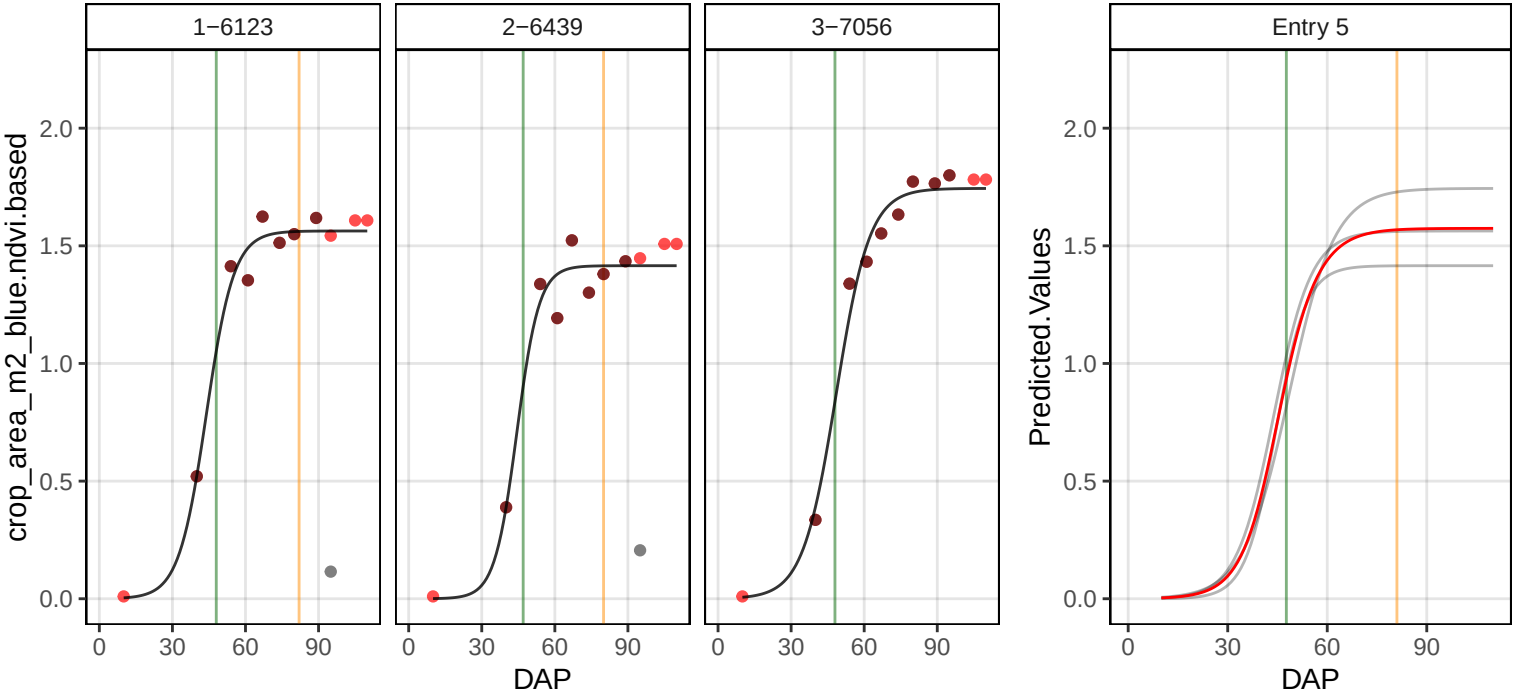

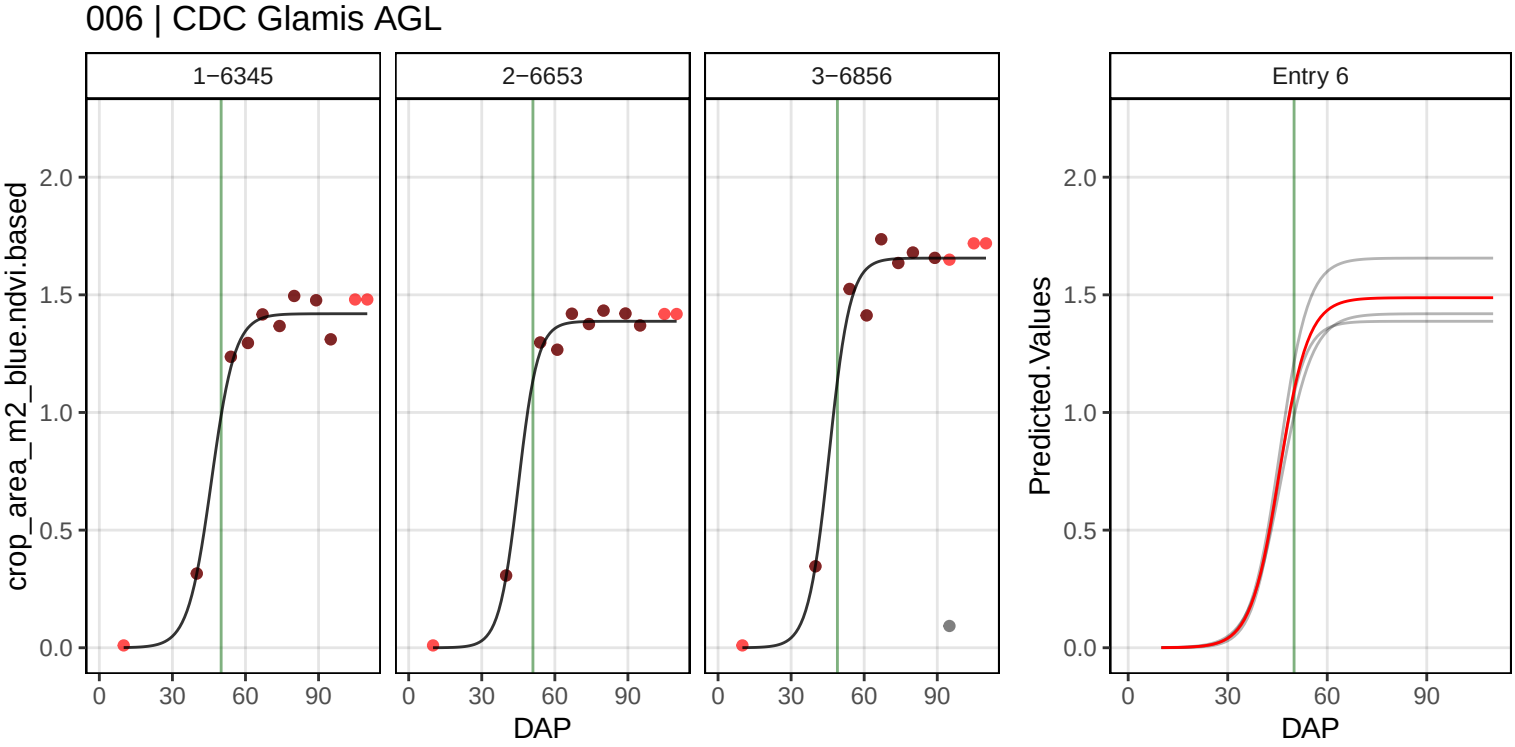
006 | CDC Glamis AGL
1−6345
2−6653
3−6856
Entry 6
crop_area_m2_blue.ndvi.based
Predicted.Values
DAP
DAP
0.0
0.5
1.0
1.5
2.0
0
30
60
90

007 | CDC Gold AGL

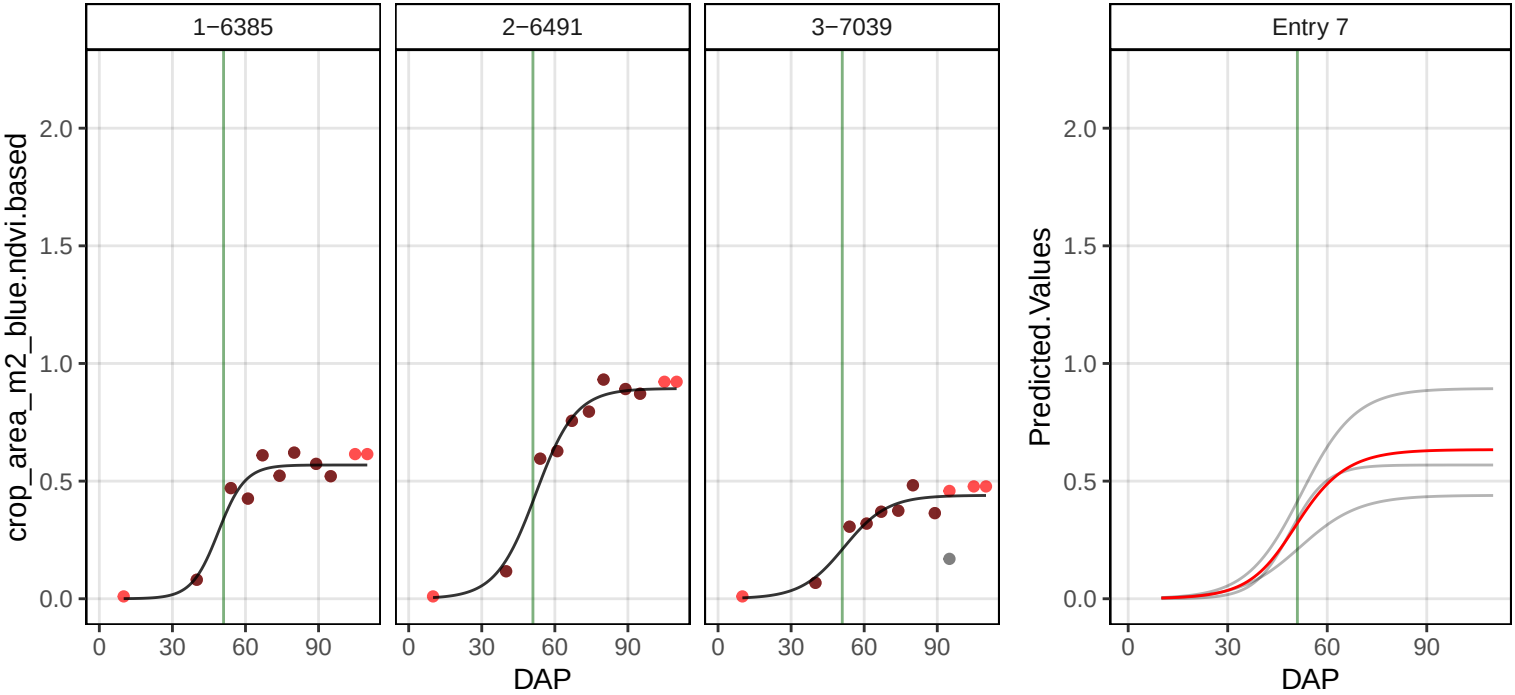

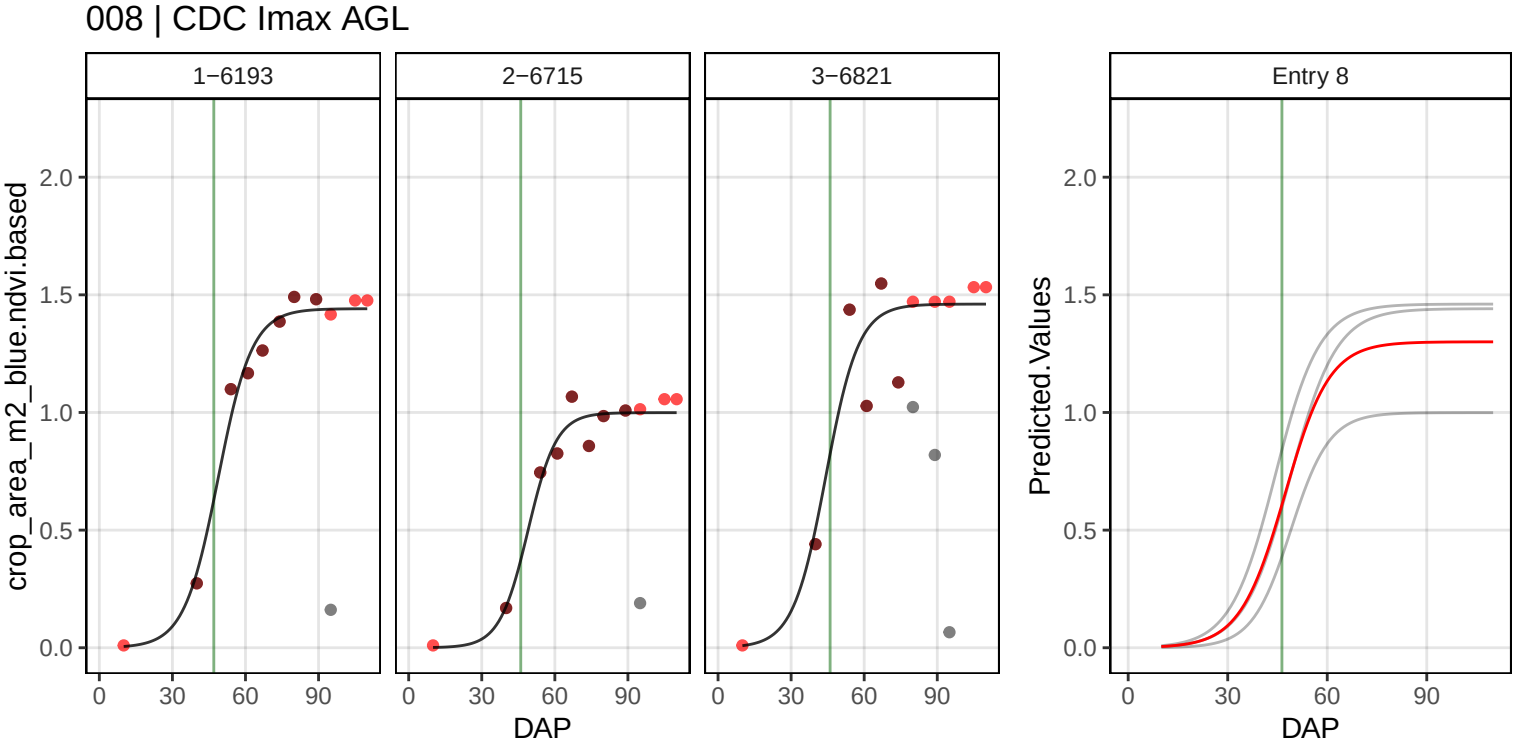
008 | CDC Imax AGL
1−6193
2−6715
3−6821
Entry 8
crop_area_m2_blue.ndvi.based
Predicted.Values
DAP
DAP
0.0
0.5
1.0
1.5
2.0
0
30
60
90

009 | CDC Impower AGL

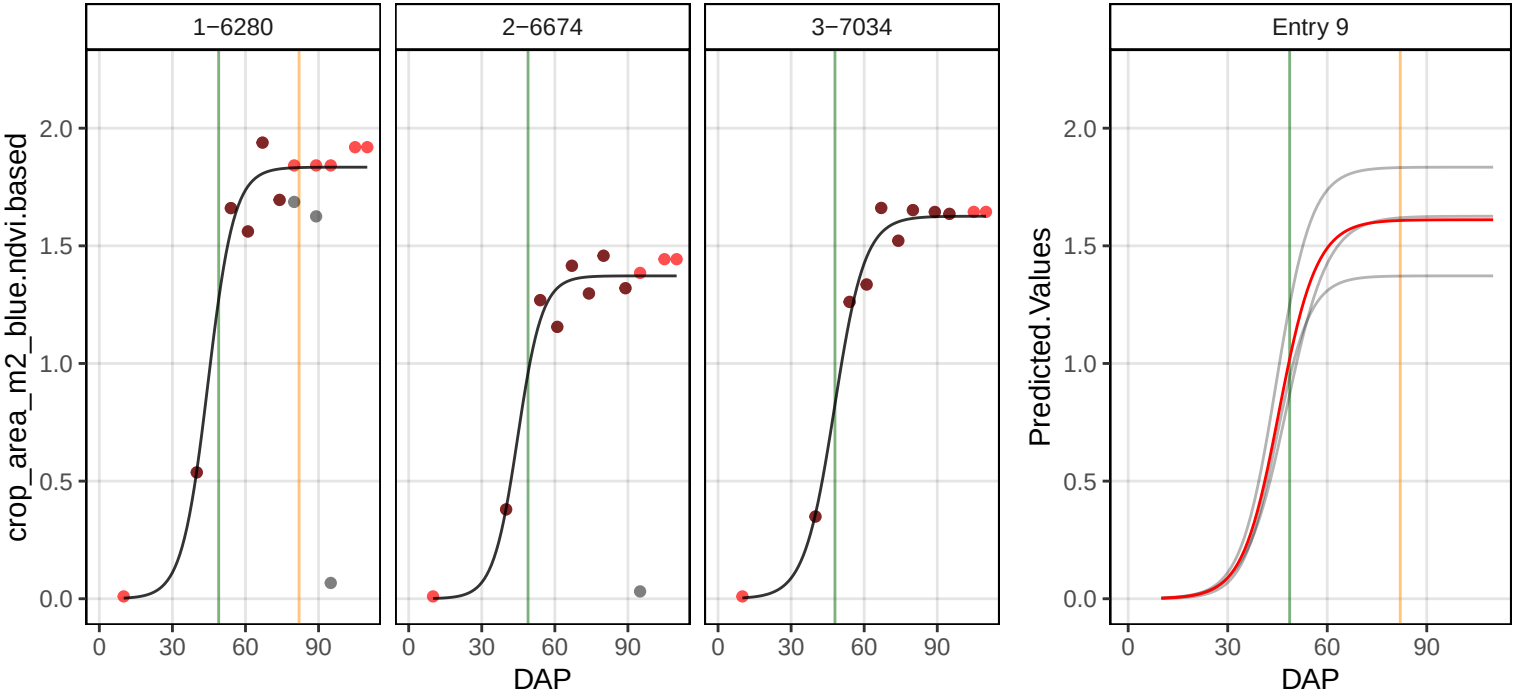

010 | CDC KR−1 AGL

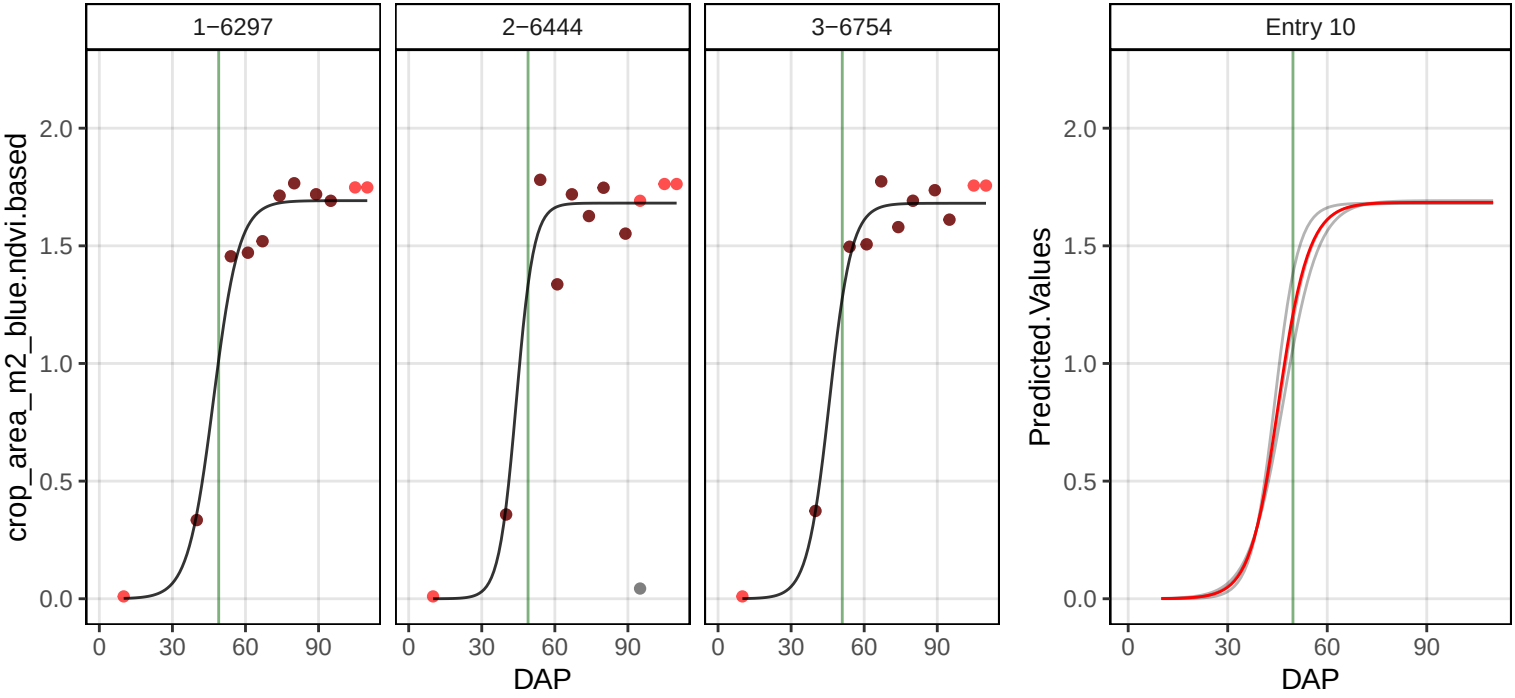

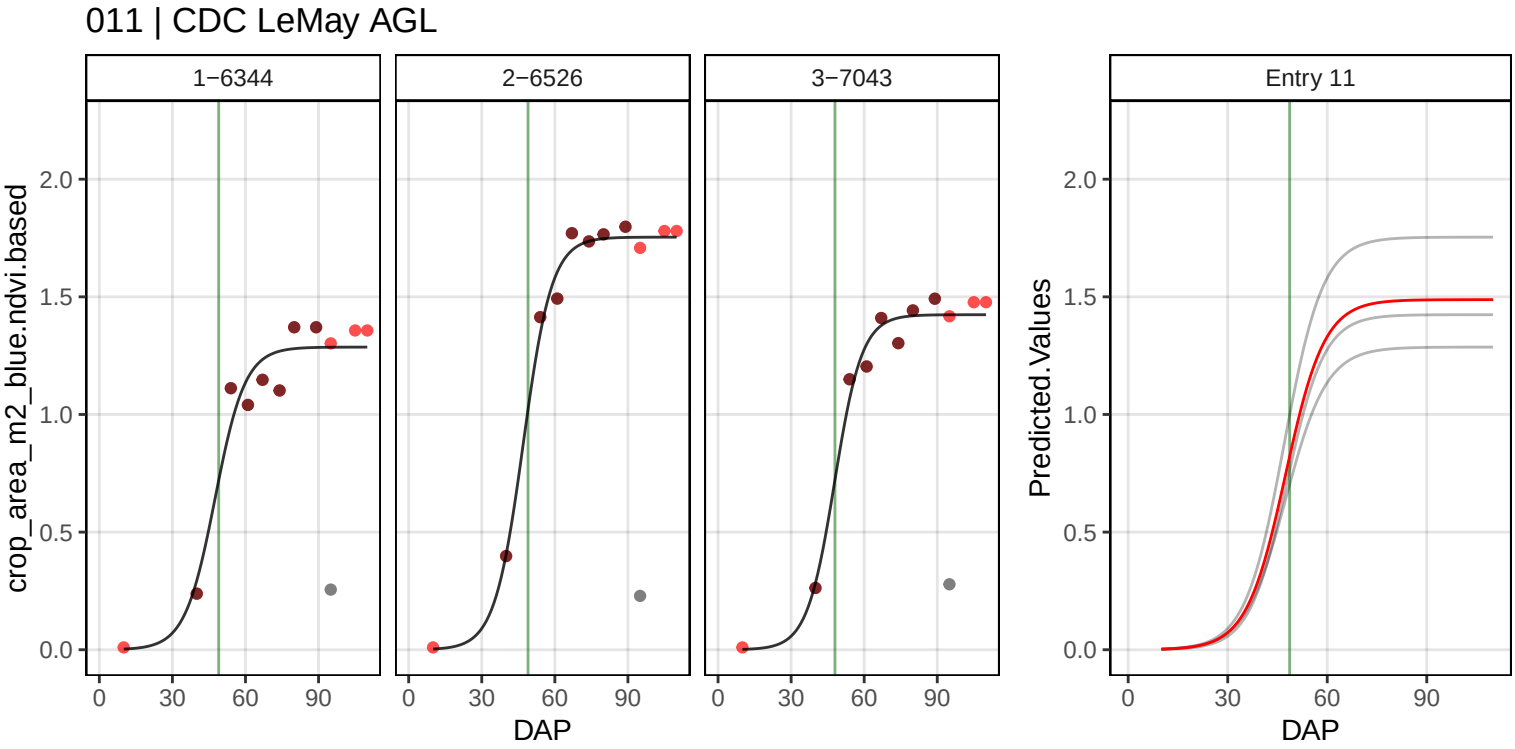
011 | CDC LeMay AGL
1−6344
2−6526
3−7043
Entry 11
crop_area_m2_blue.ndvi.based
Predicted.Values
DAP
DAP
0.0
0.5
1.0
1.5
2.0
0
30
60
90

012 | CDC Maxim AGL

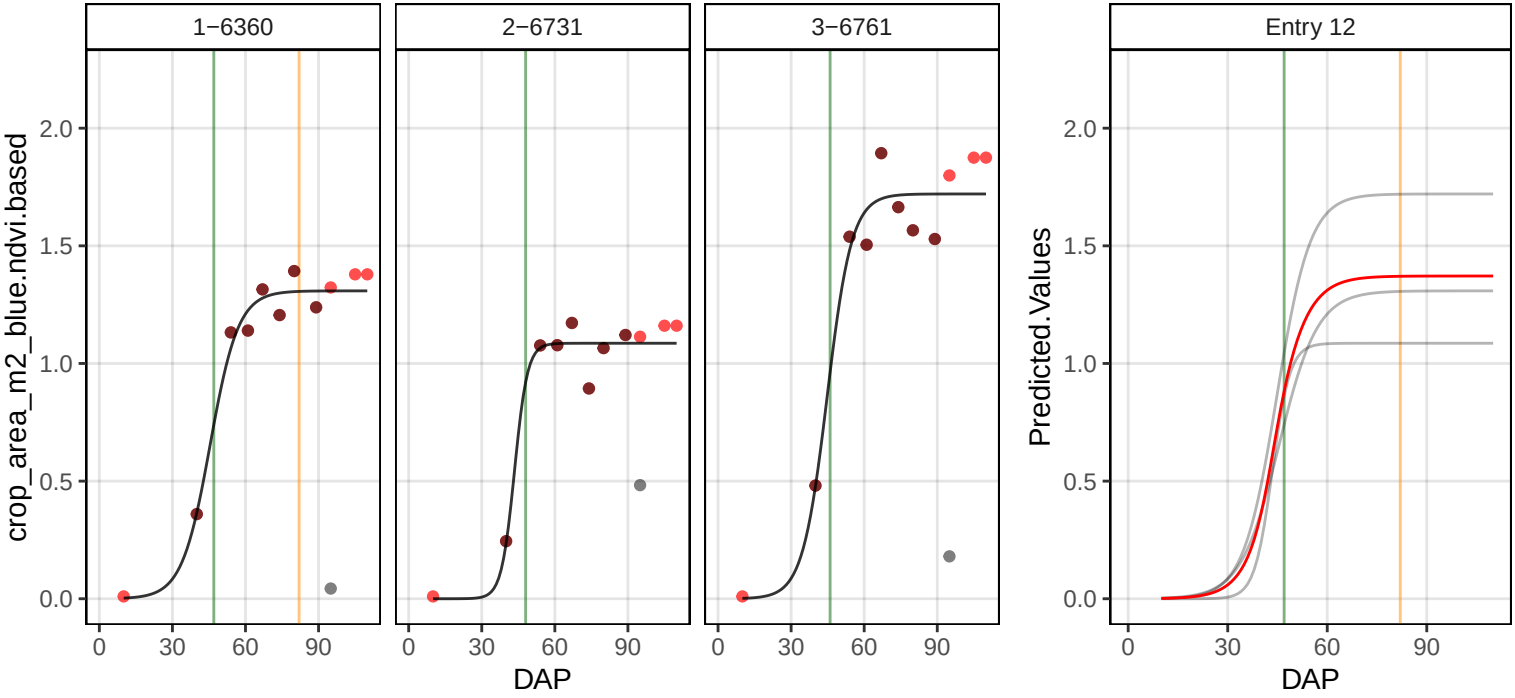

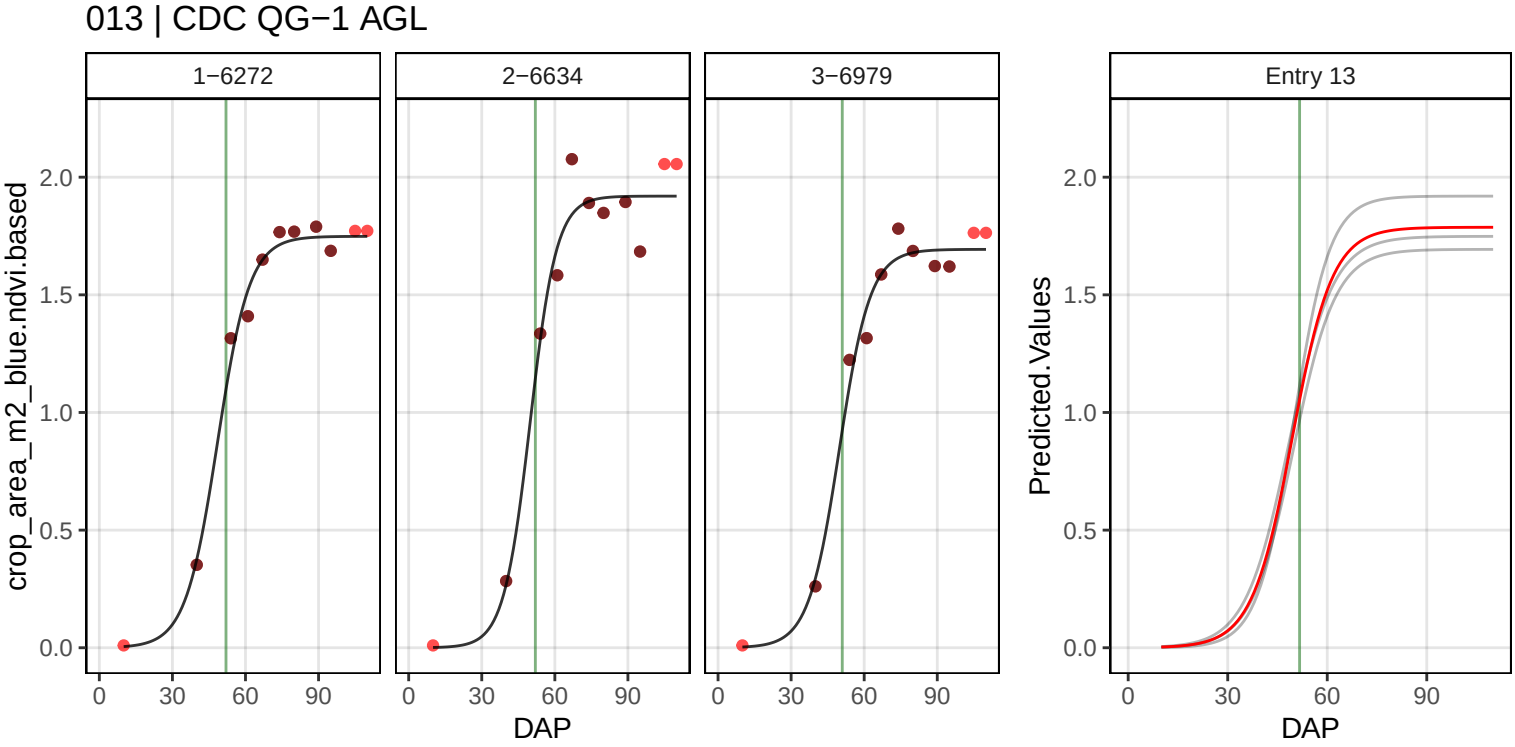
013 | CDC QG−1 AGL
1−6272
2−6634
3−6979
Entry 13
crop_area_m2_blue.ndvi.based
Predicted.Values
DAP
DAP
0.0
0.5
1.0
1.5
2.0
0
30
60
90

014 | CDC Red Rider AGL

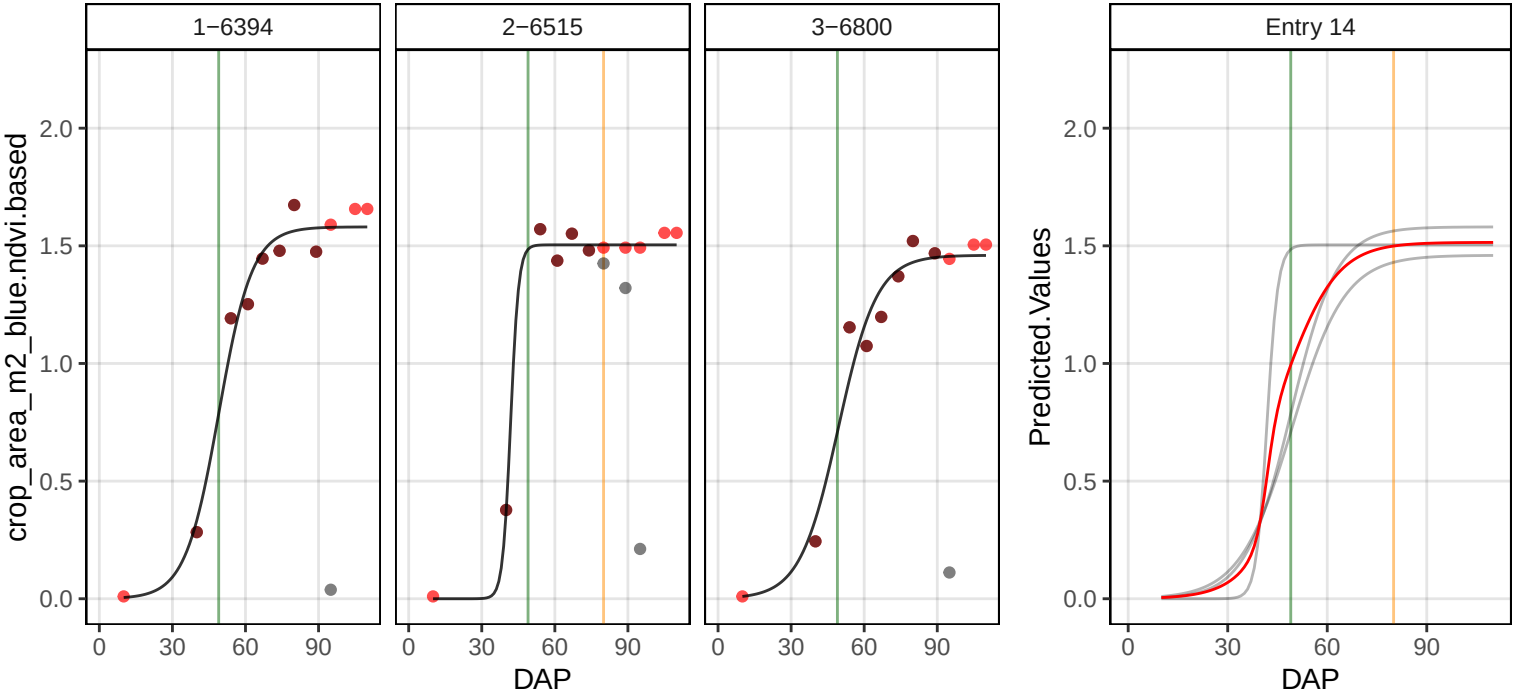

015 | CDC Redcoat AGL

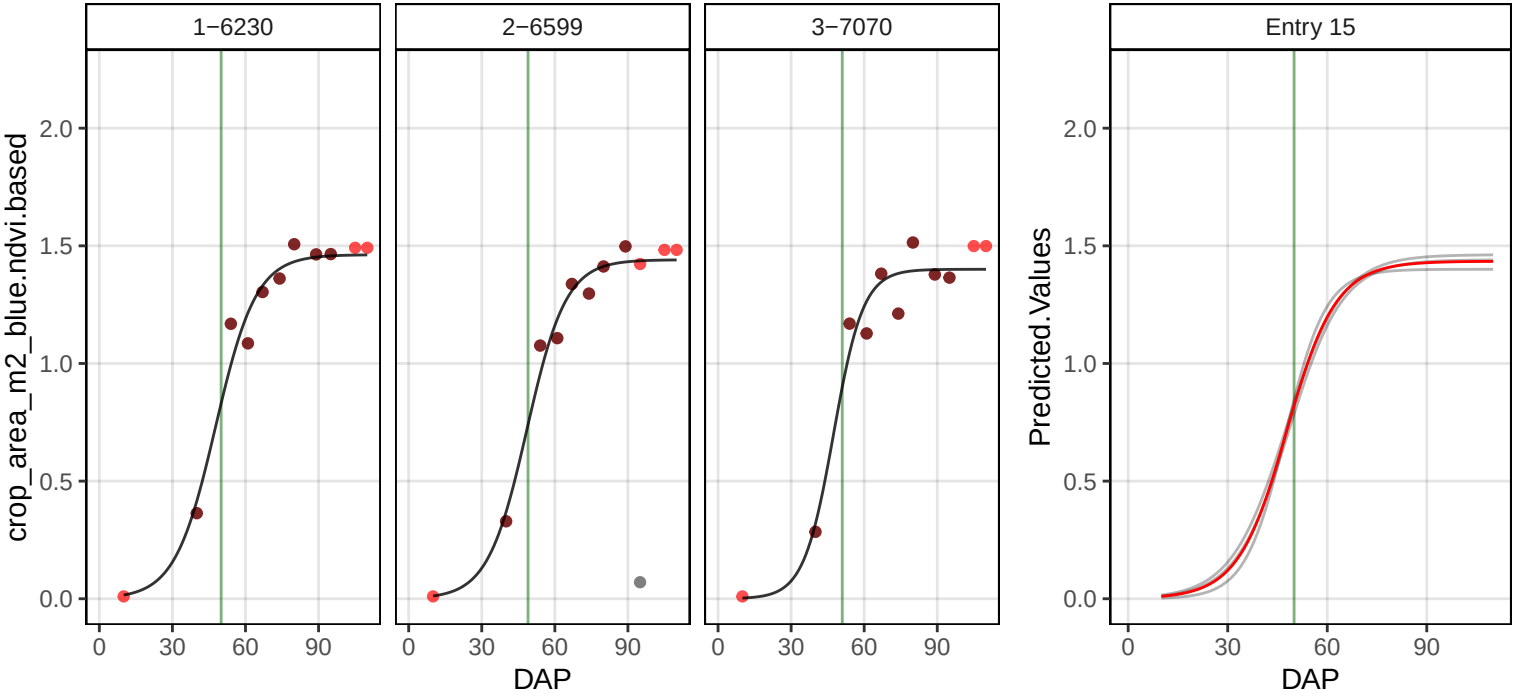

016 | CDC Redwing AGL

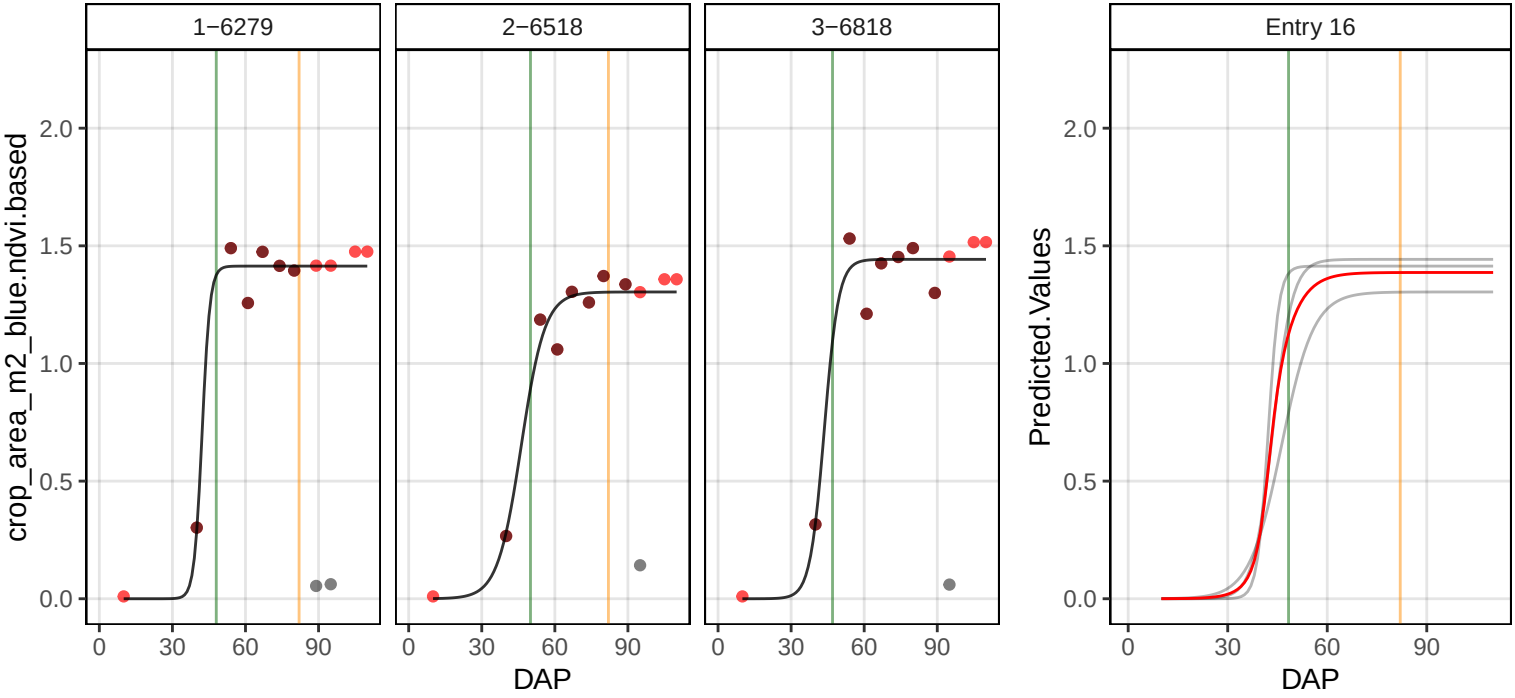

017 | CDC Robin AGL

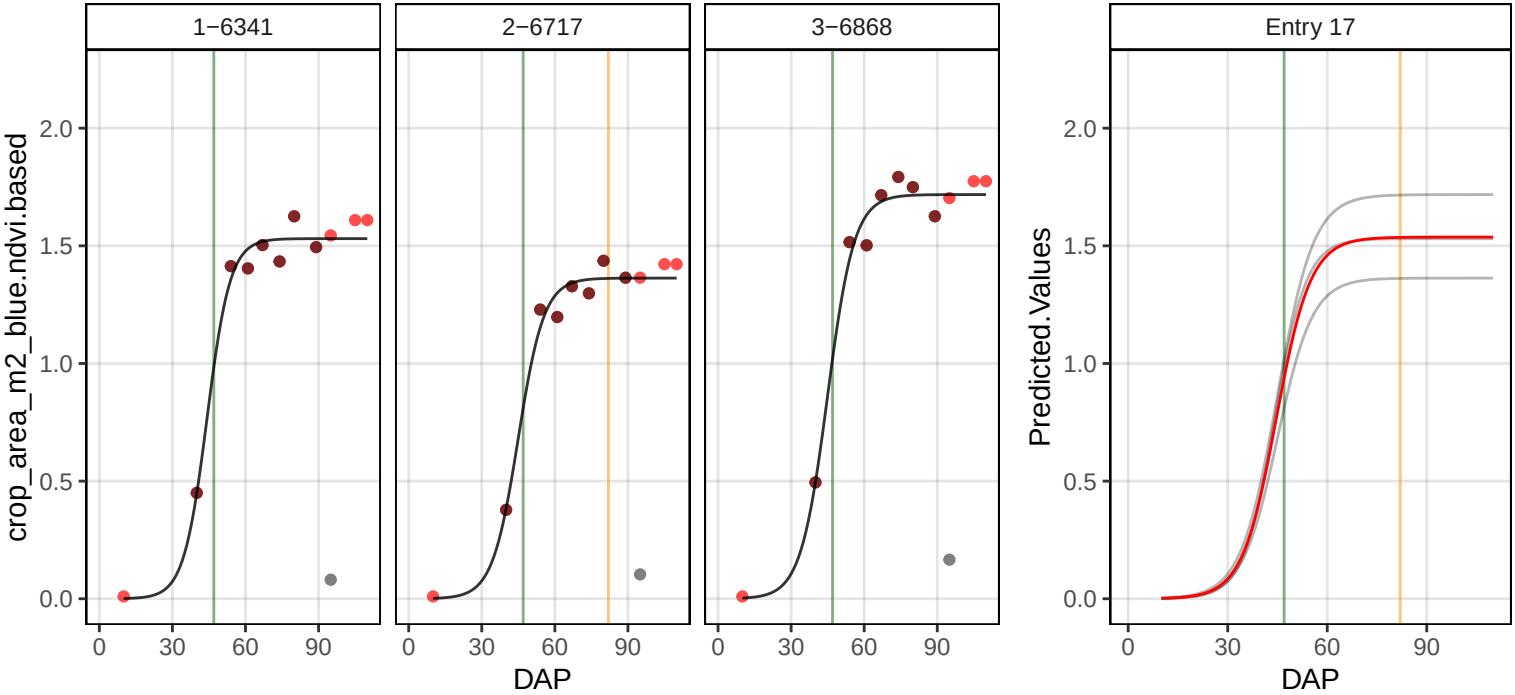

018 | CDC Rosebud AGL

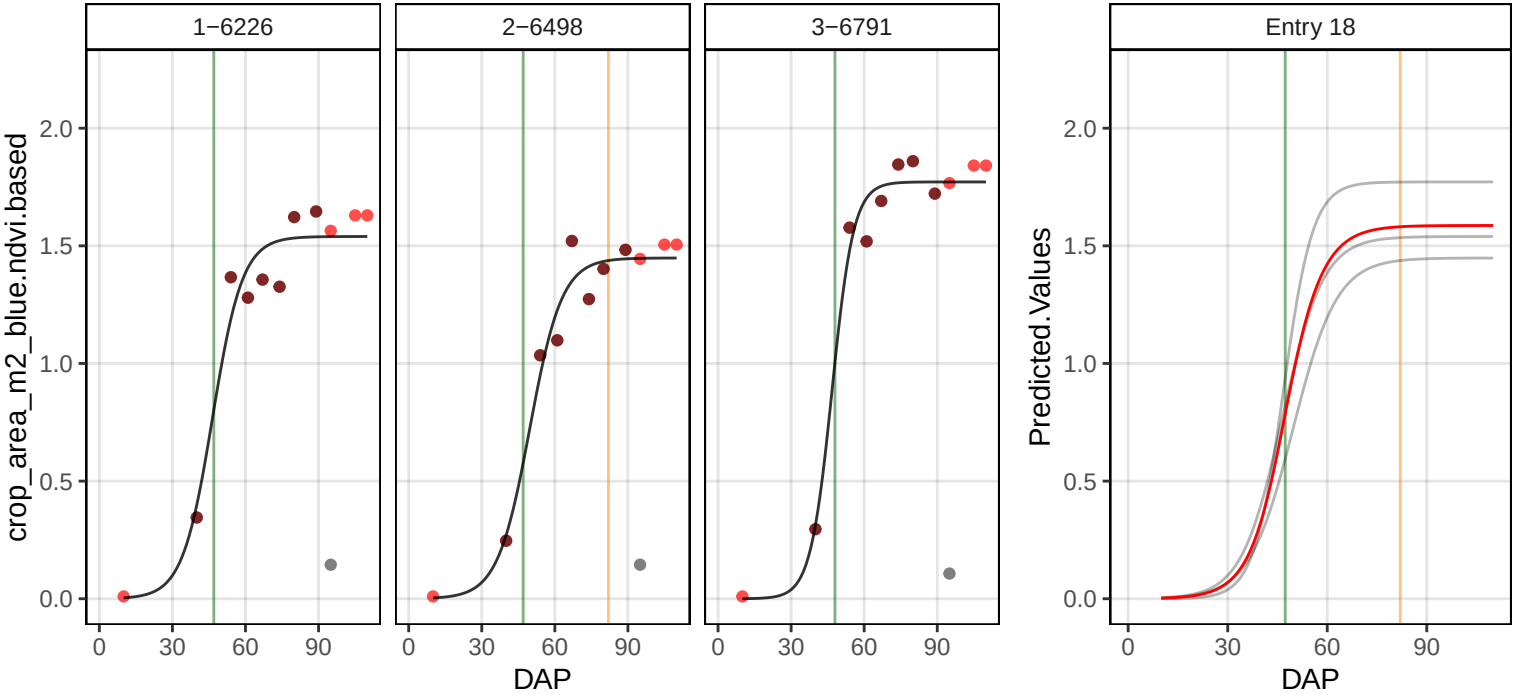

019 | CDC Rosetown AGL

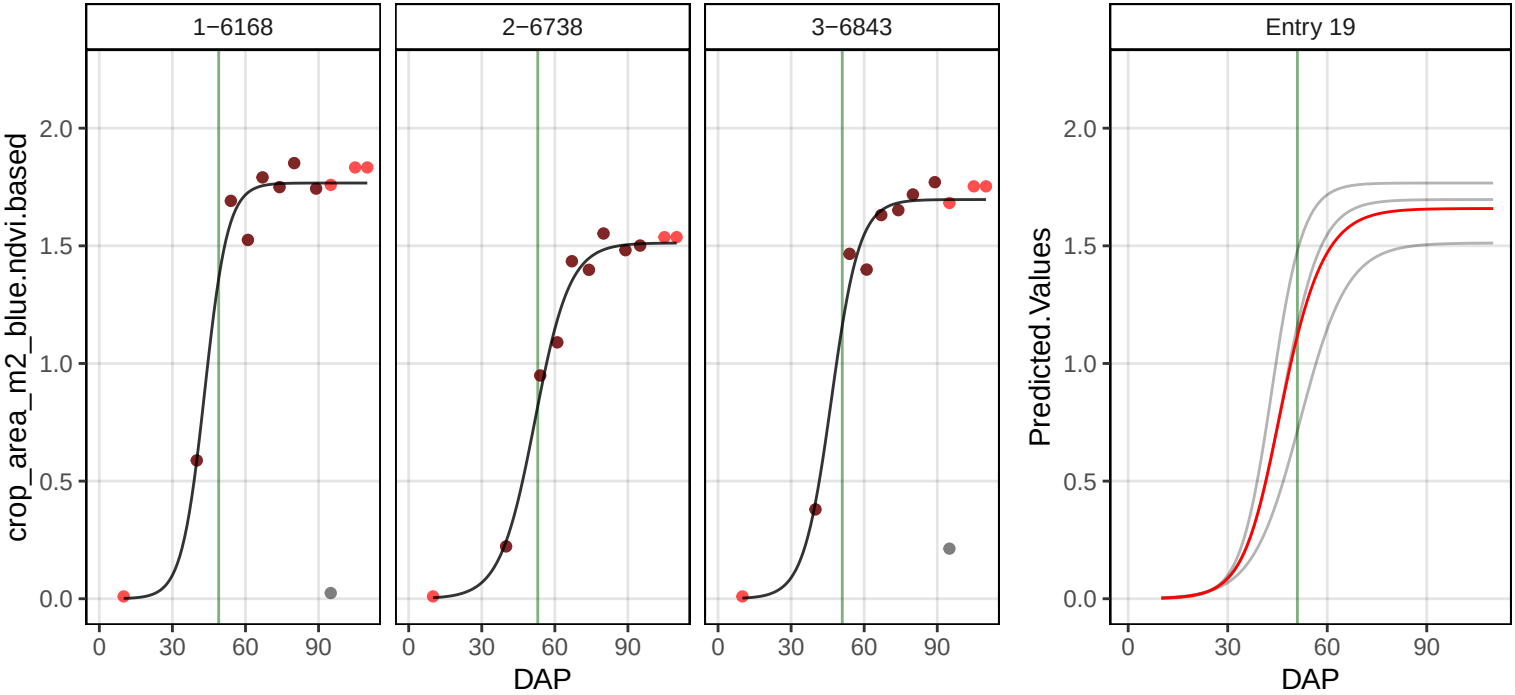

020 | CDC Rouleau AGL

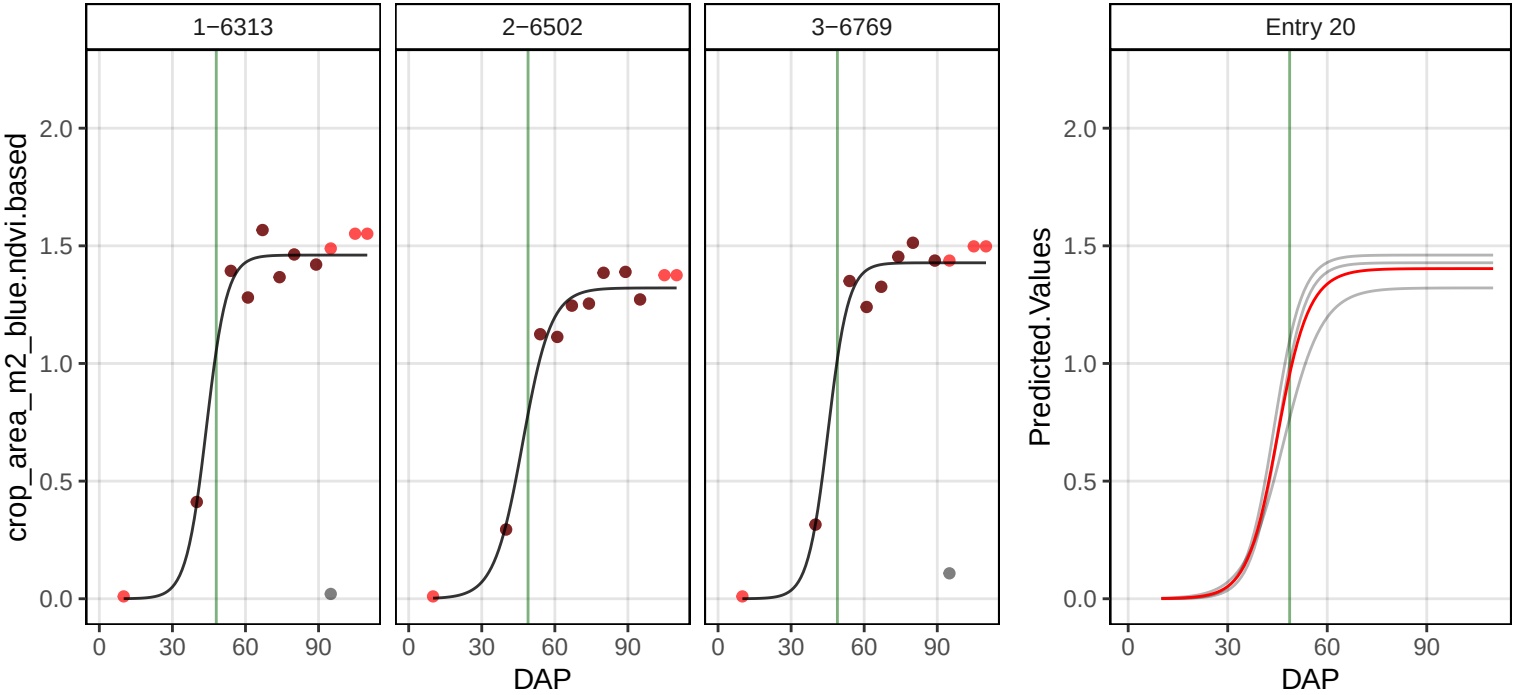

021 | CDC Royale AGL

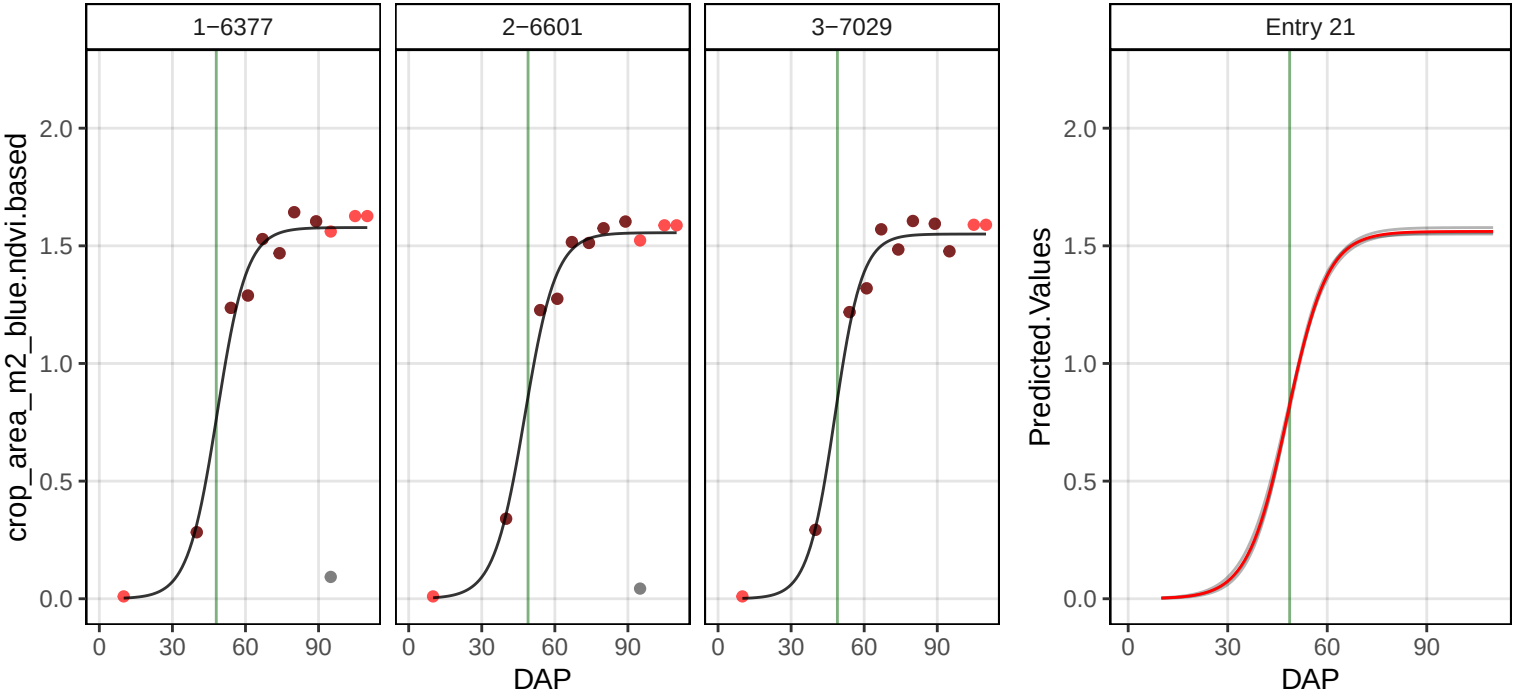

022 | CDC Ruby AGL

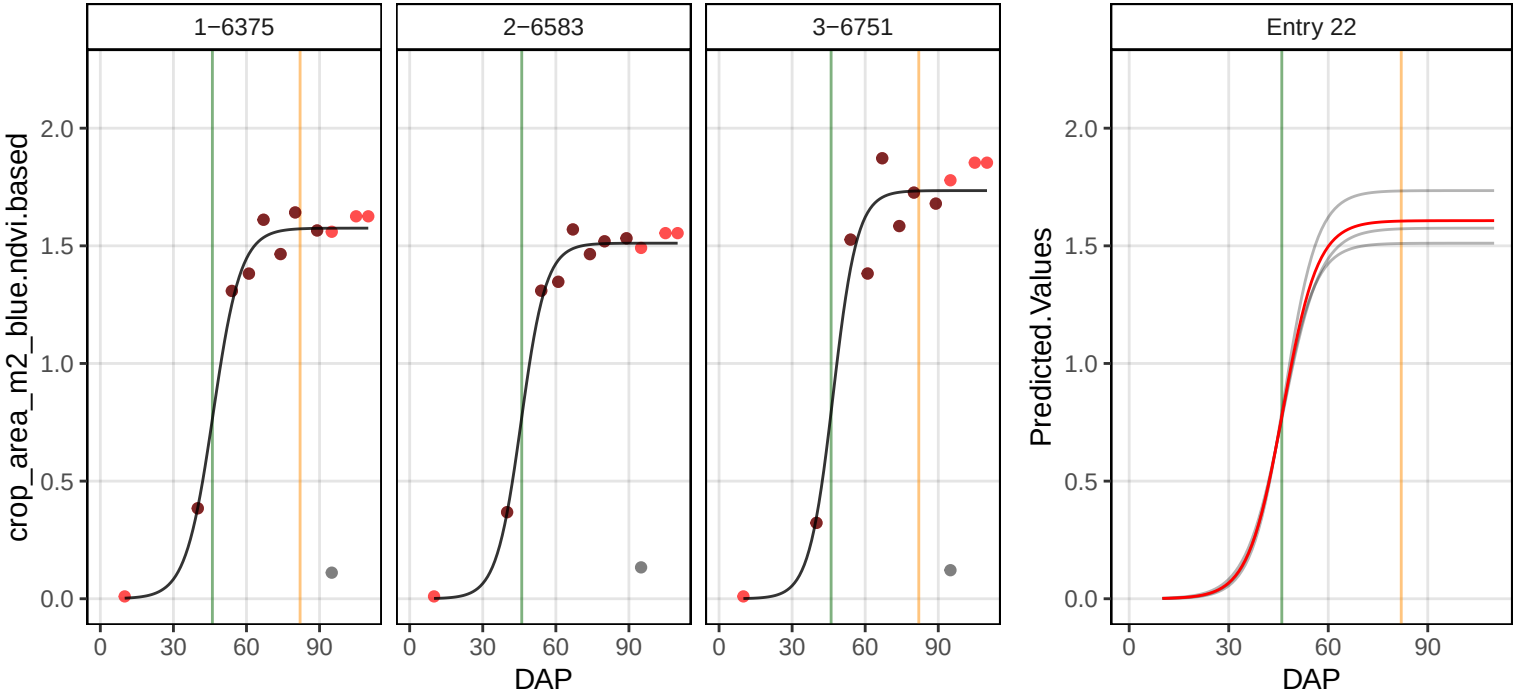

023 | CDC SB−1 AGL

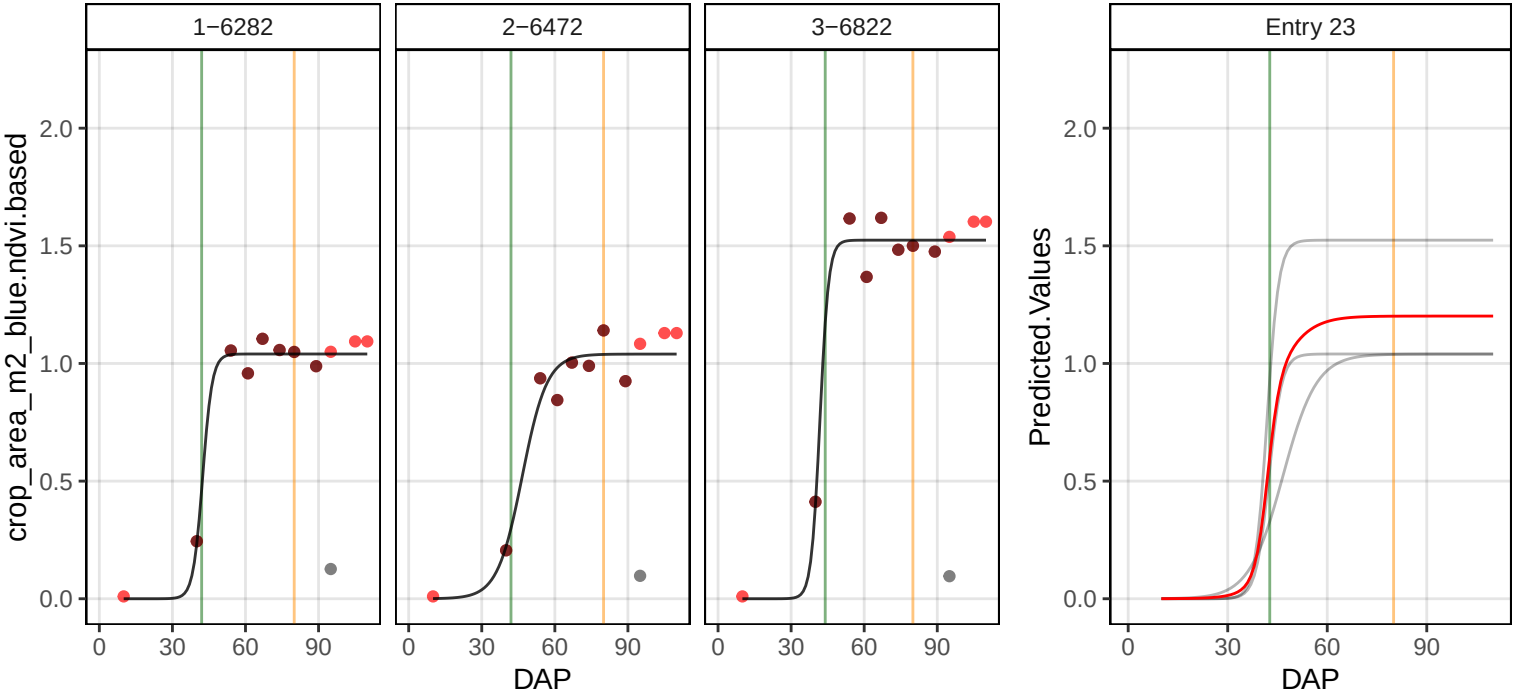

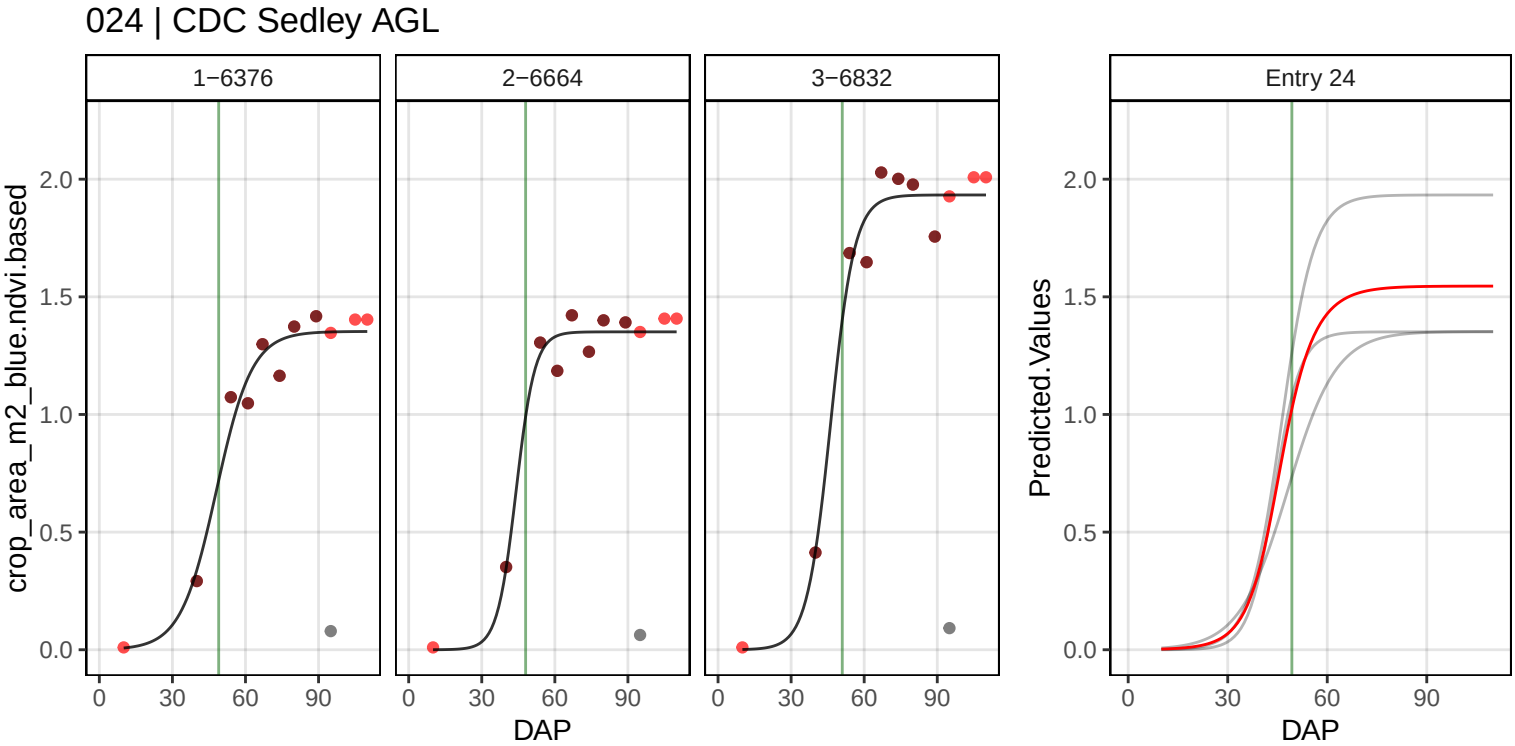
024 | CDC Sedley AGL
1−6376
2−6664
3−6832
Entry 24
crop_area_m2_blue.ndvi.based
Predicted.Values
DAP
DAP
0.0
0.5
1.0
1.5
2.0
0
30
60
90

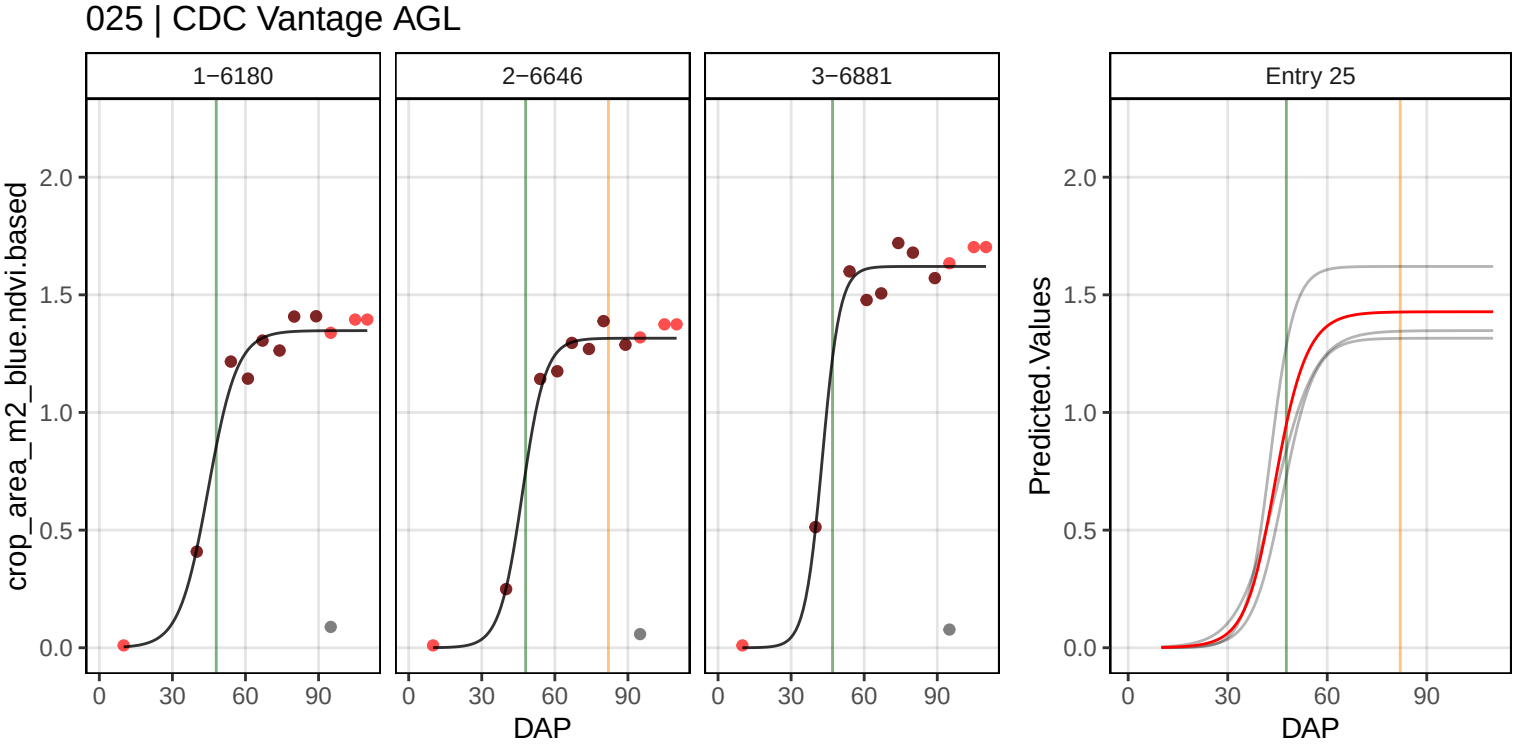
025 | CDC Vantage AGL
1−6180
2−6646
3−6881
Entry 25
crop_area_m2_blue.ndvi.based
Predicted.Values
DAP
DAP
0.0
0.5
1.0
1.5
2.0
0
30
60
90

026 | CN 105604 AGL

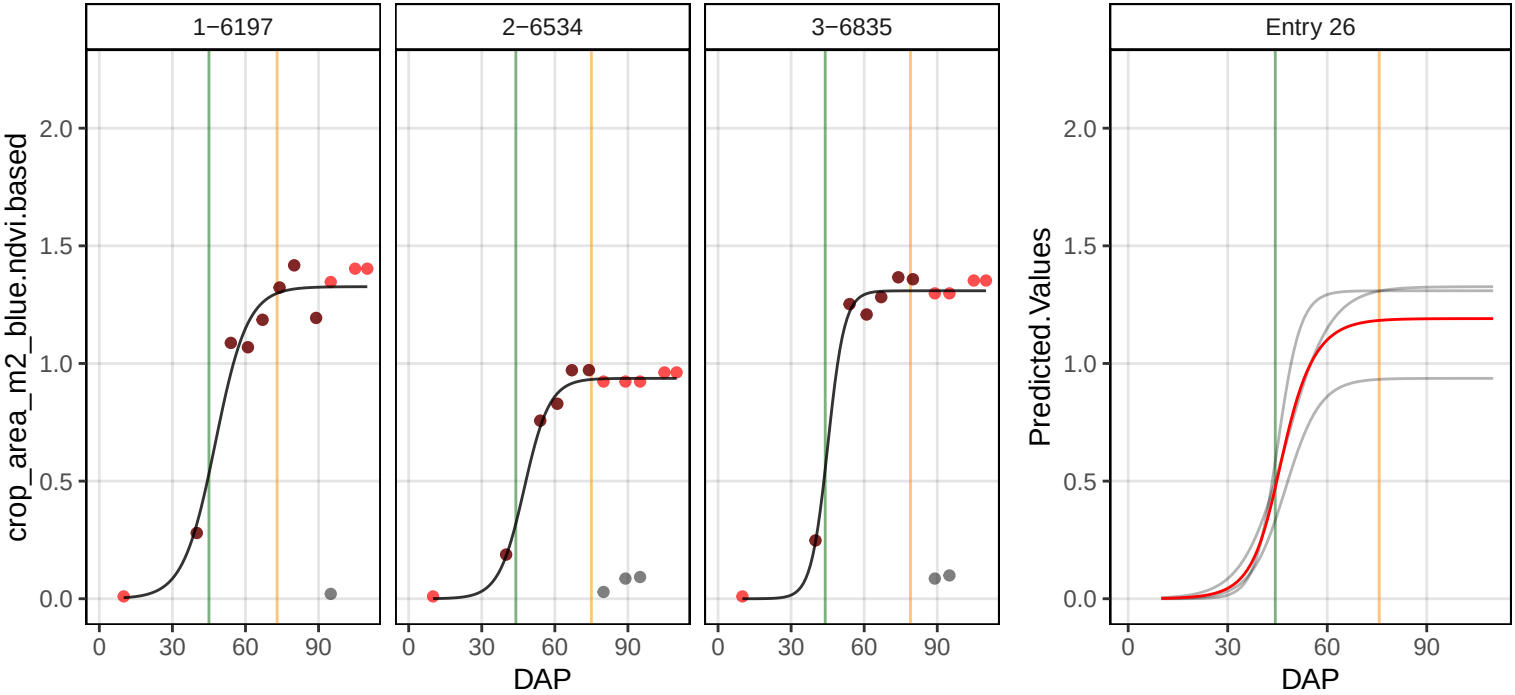

027 | CN 105605 AGL

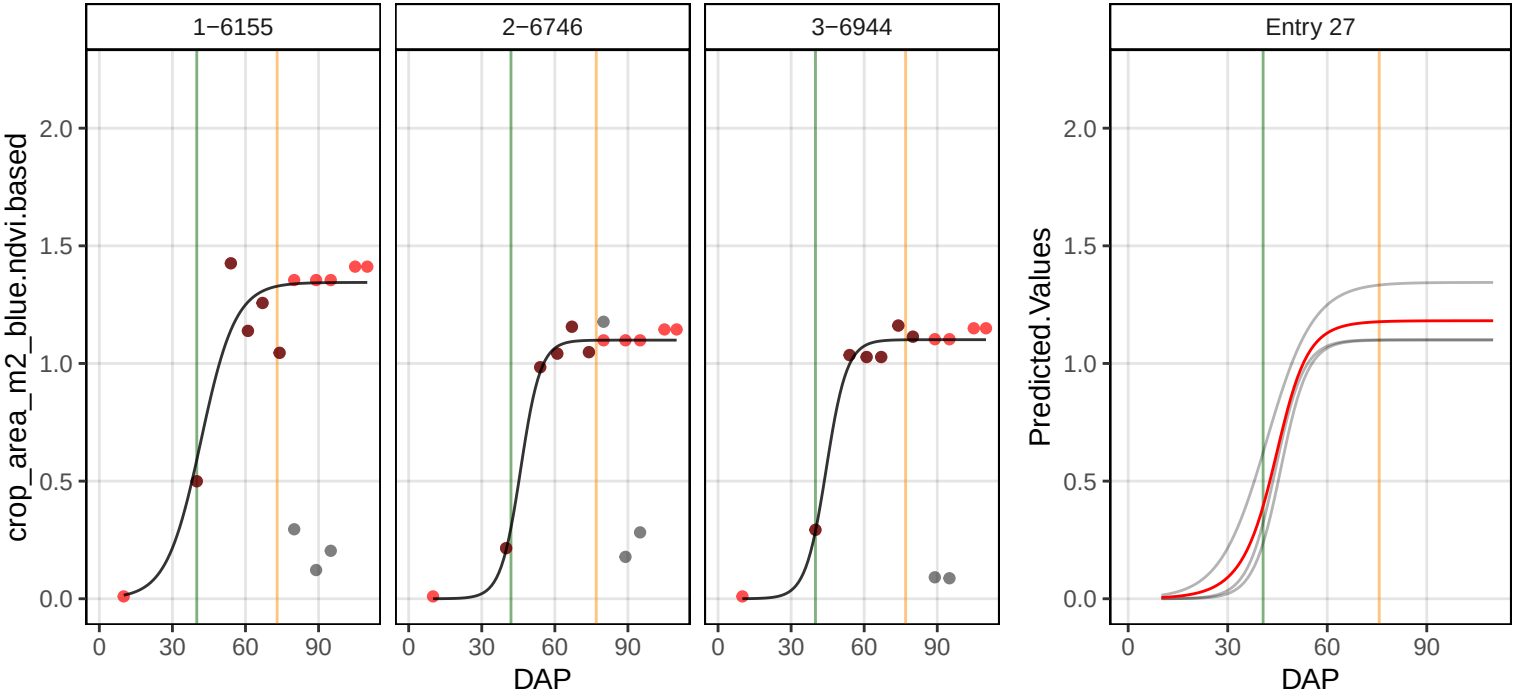

028 | CN 105715 AGL

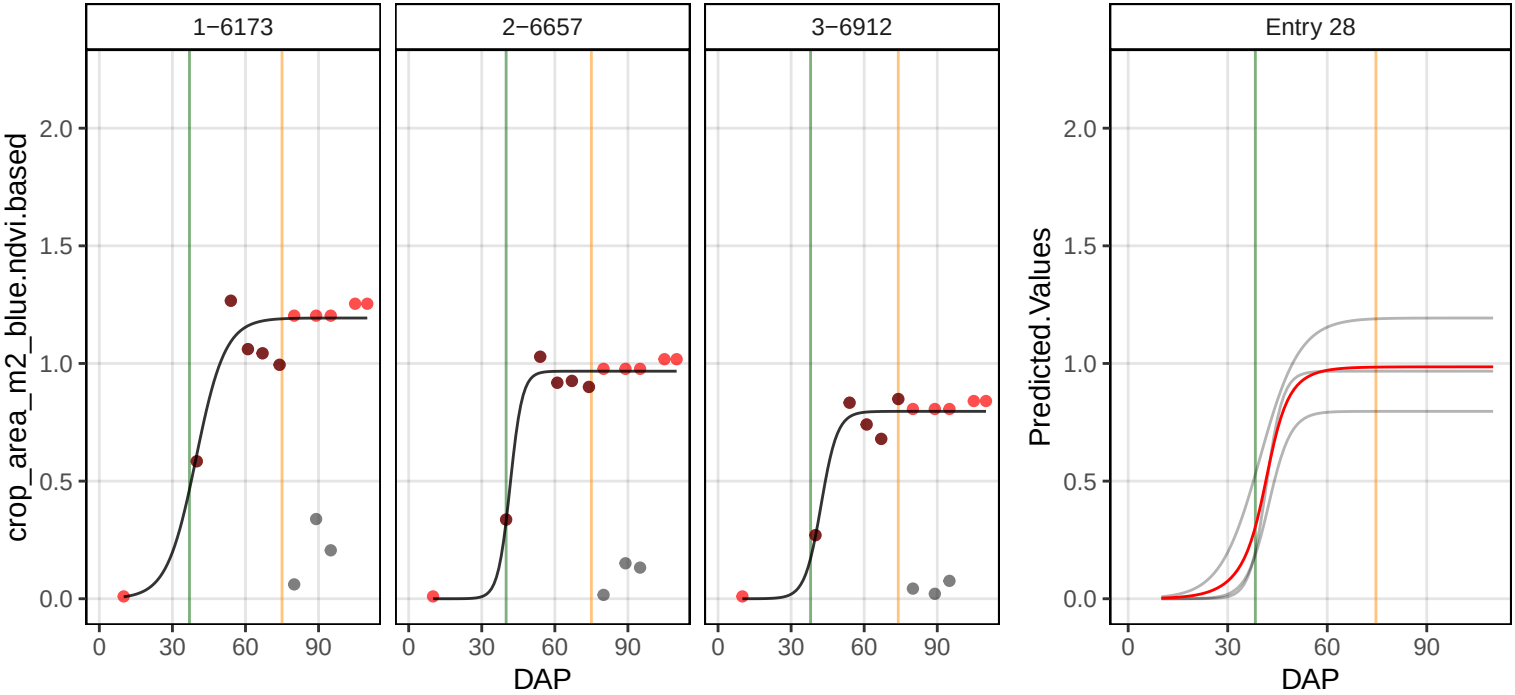

029 | CN 105732 AGL

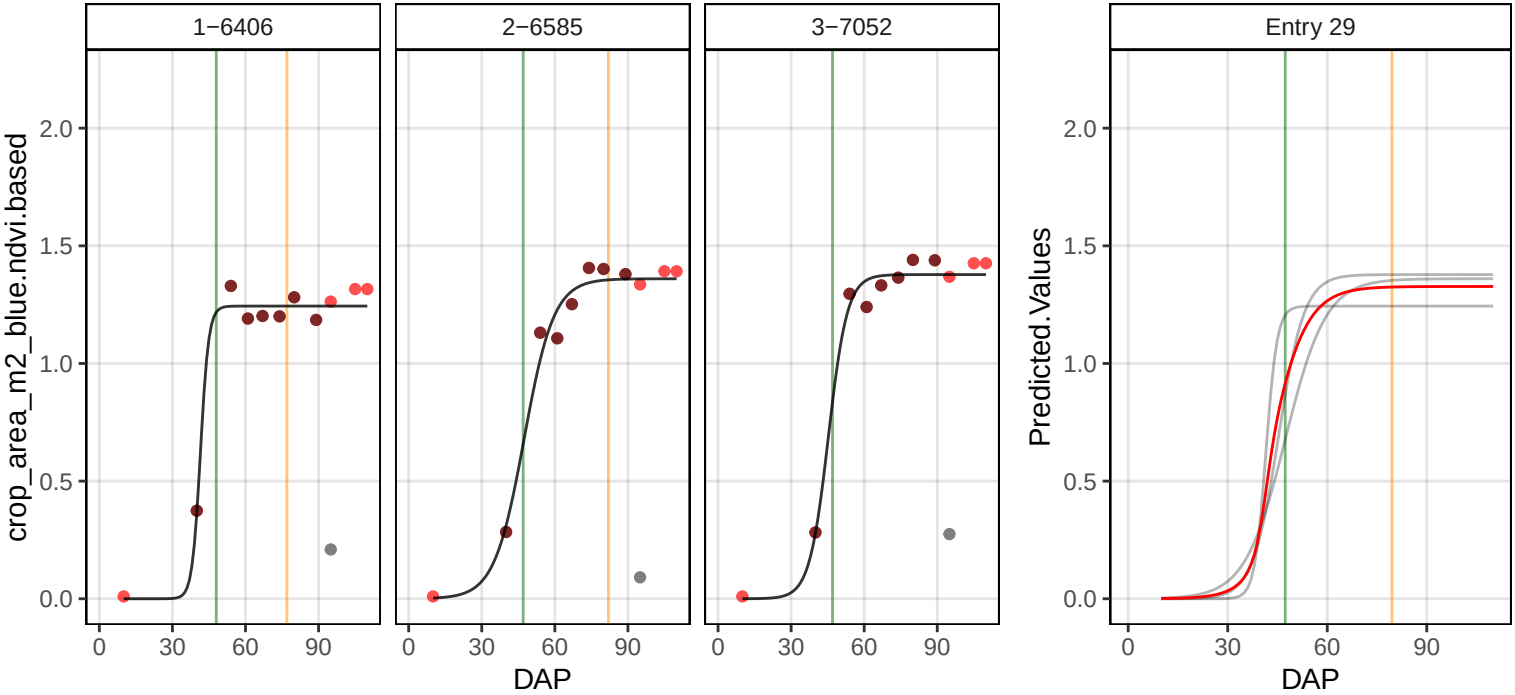

030 | CN 105767 AGL

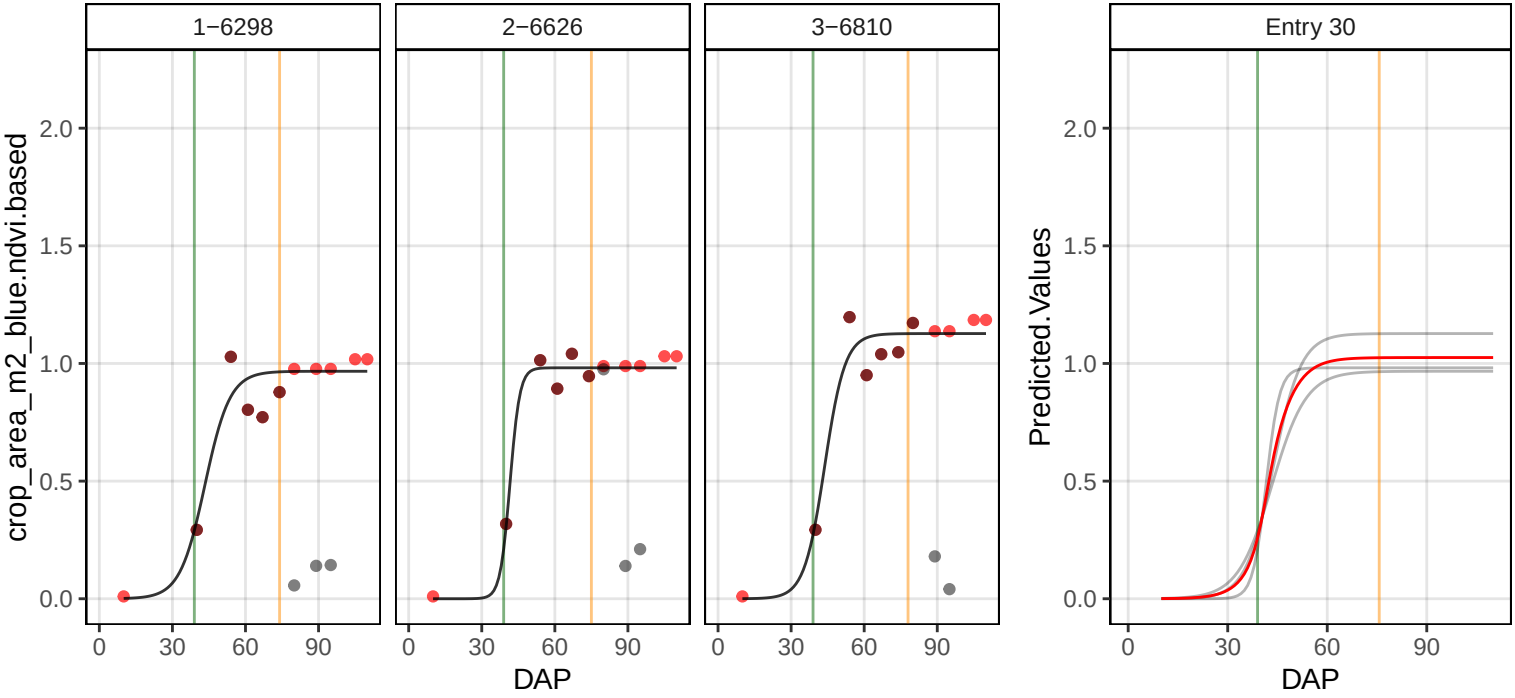

031 | CN 105777 AGL

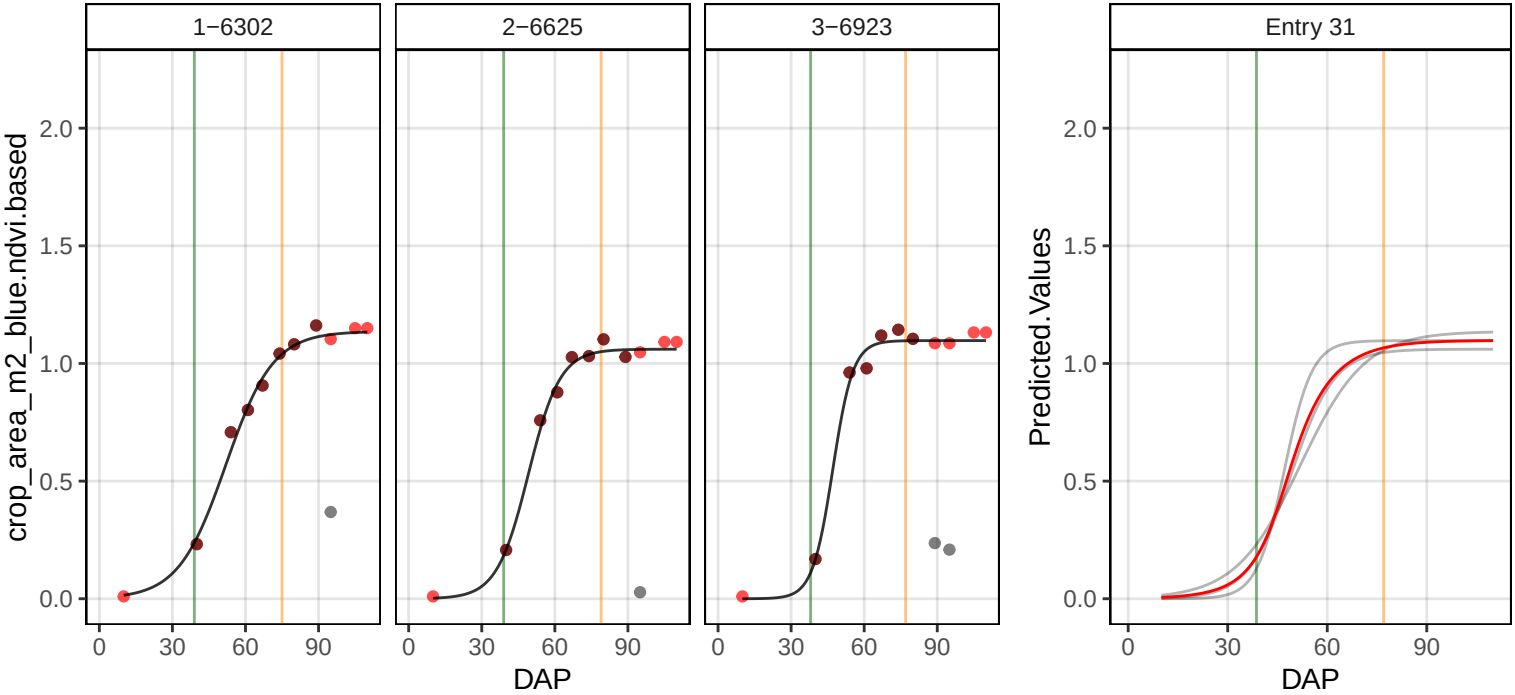

032 | CN 105789 AGL

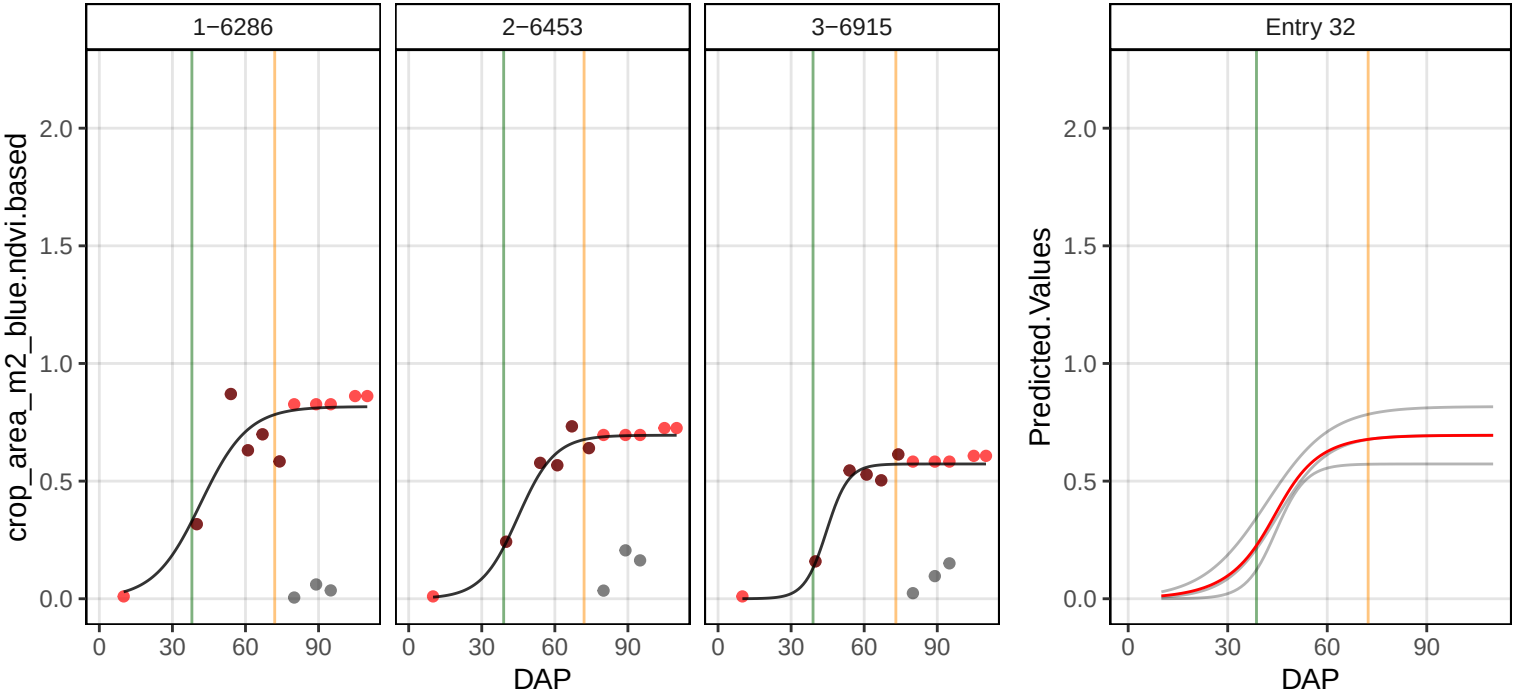

033 | CN 105791 AGL

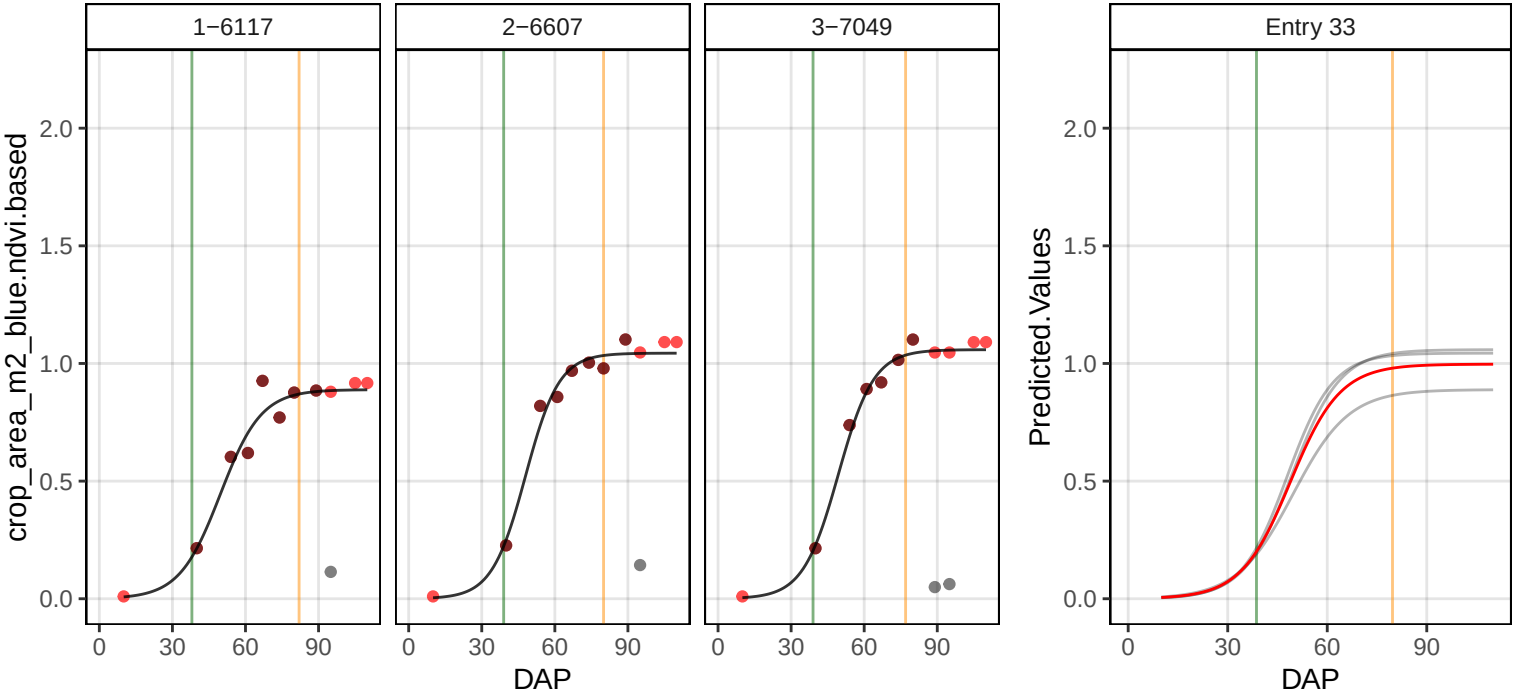

034 | CN 105862 AGL

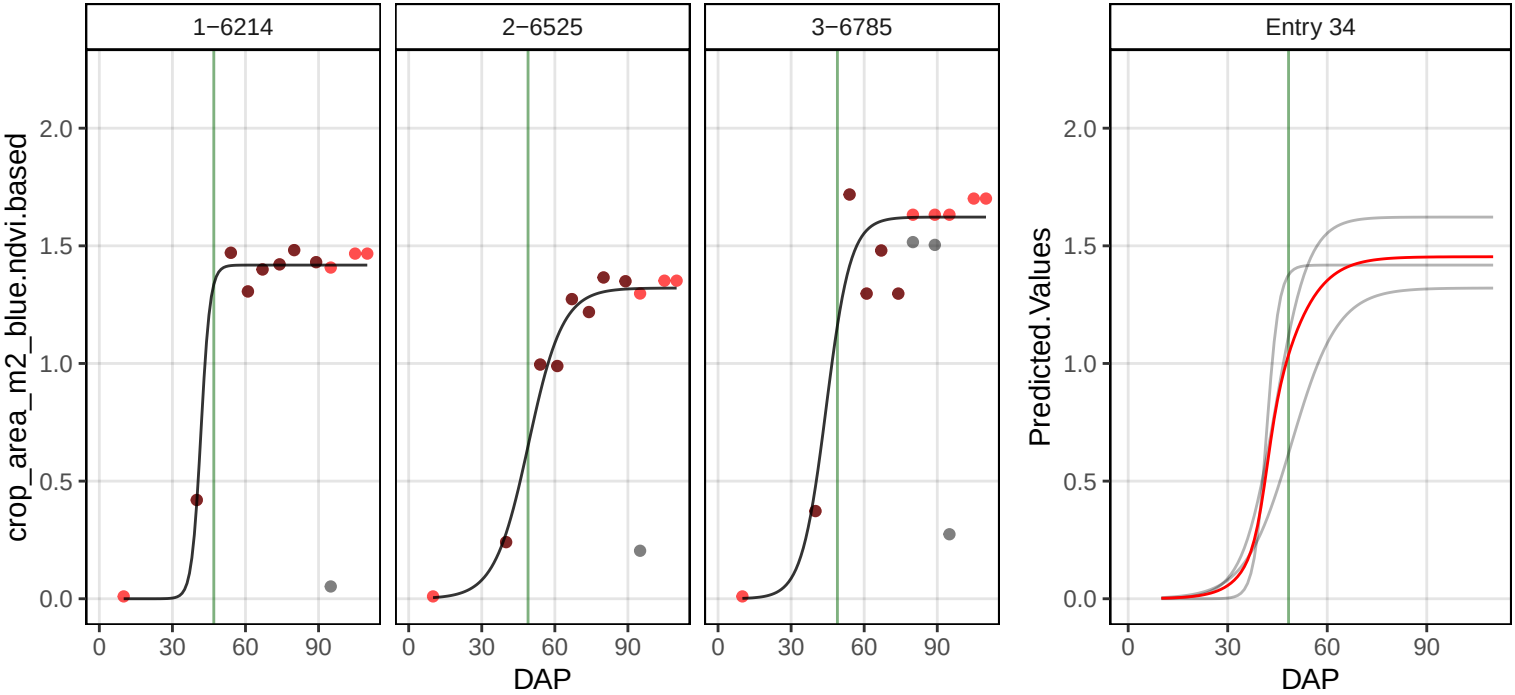

035 | CN 105863 AGL

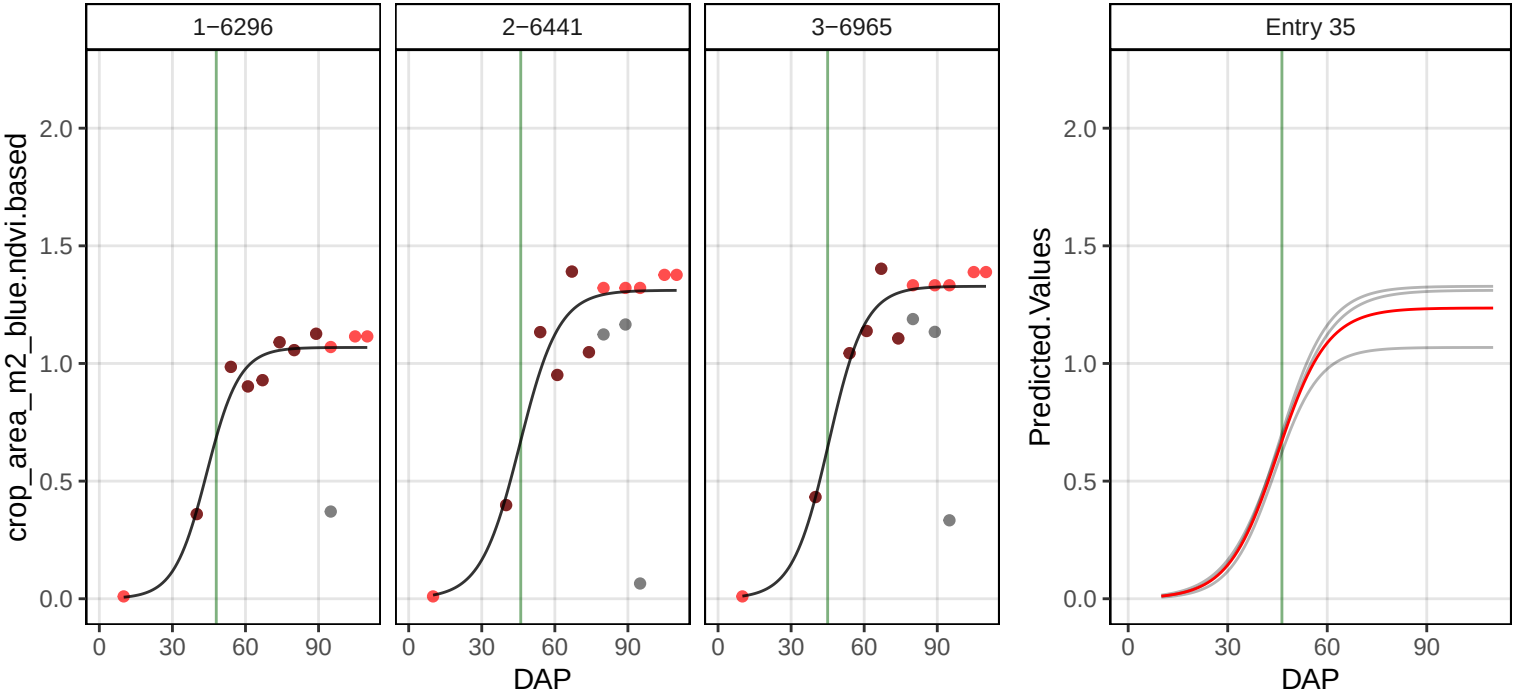

036 | CN 105864 AGL

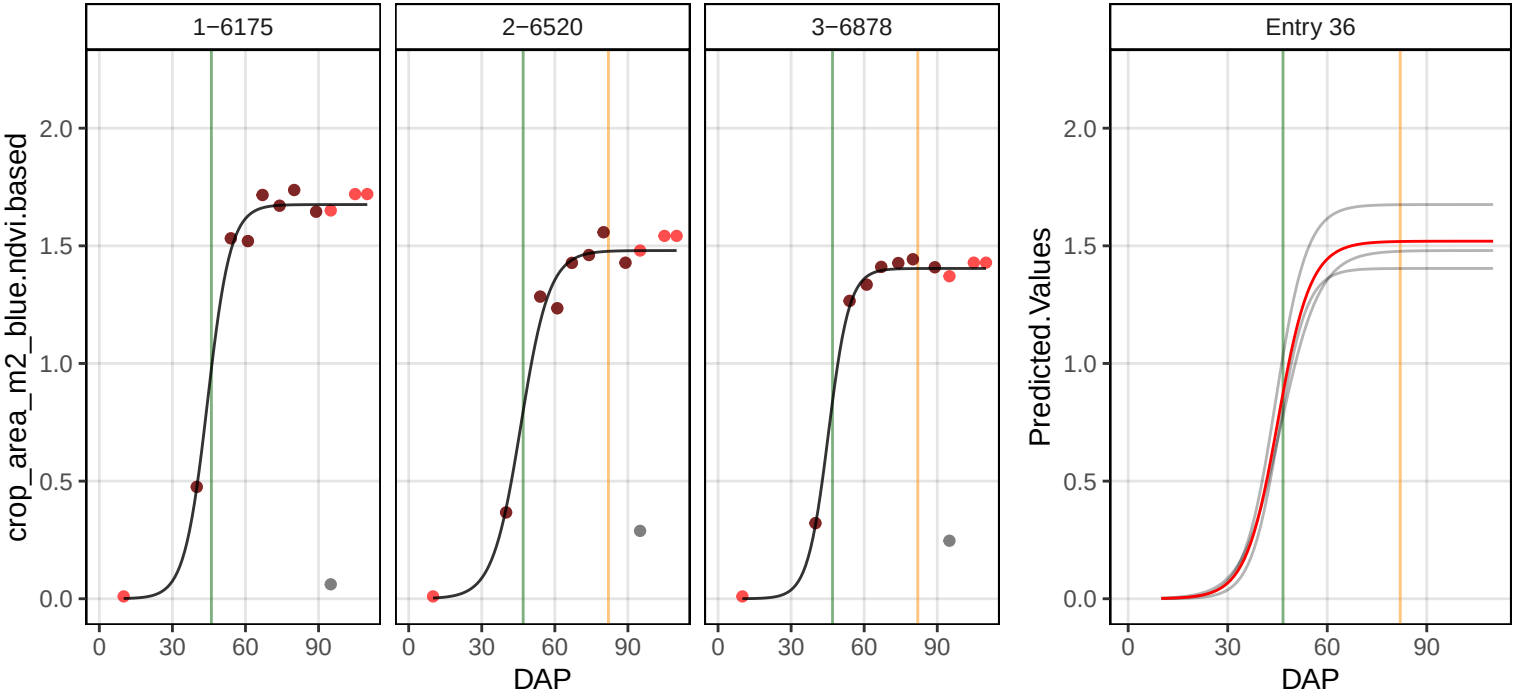

037 | CN 105865 AGL

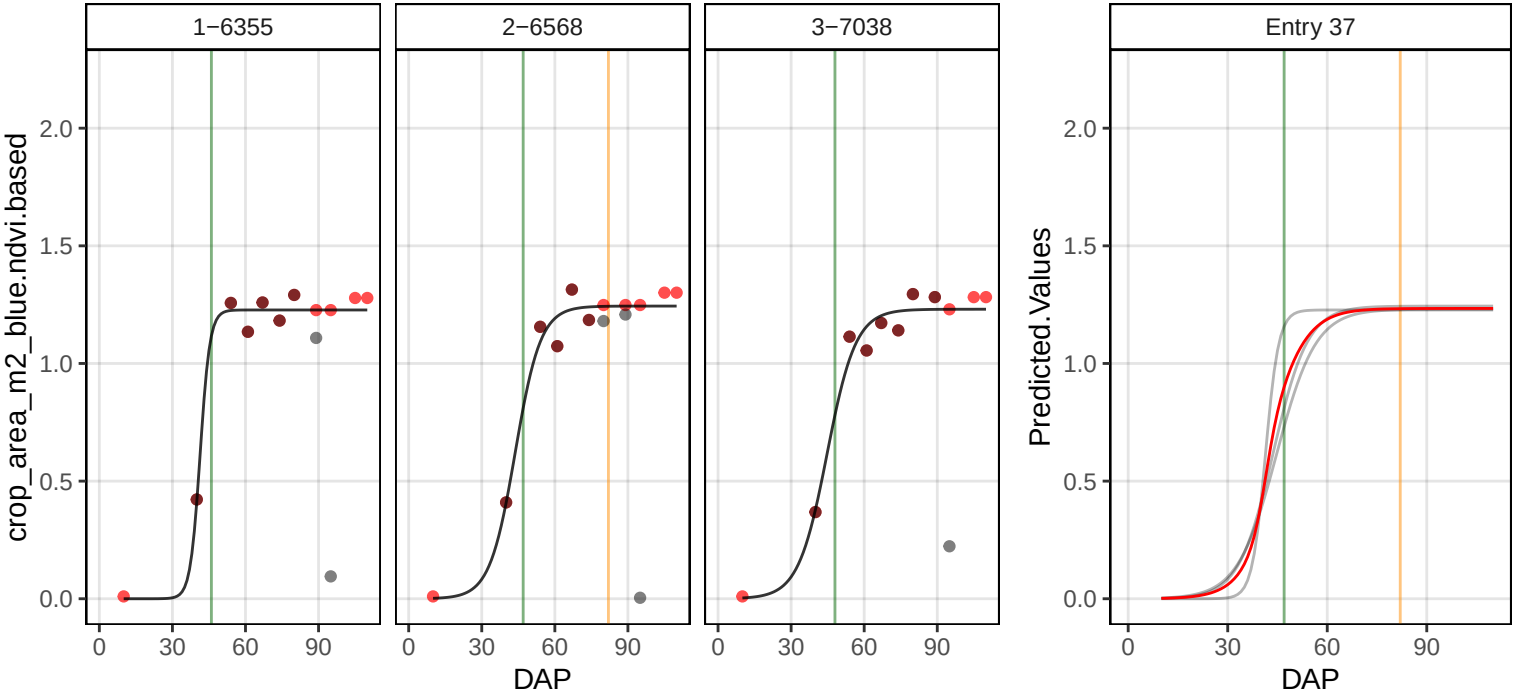

038 | CN 105895 AGL

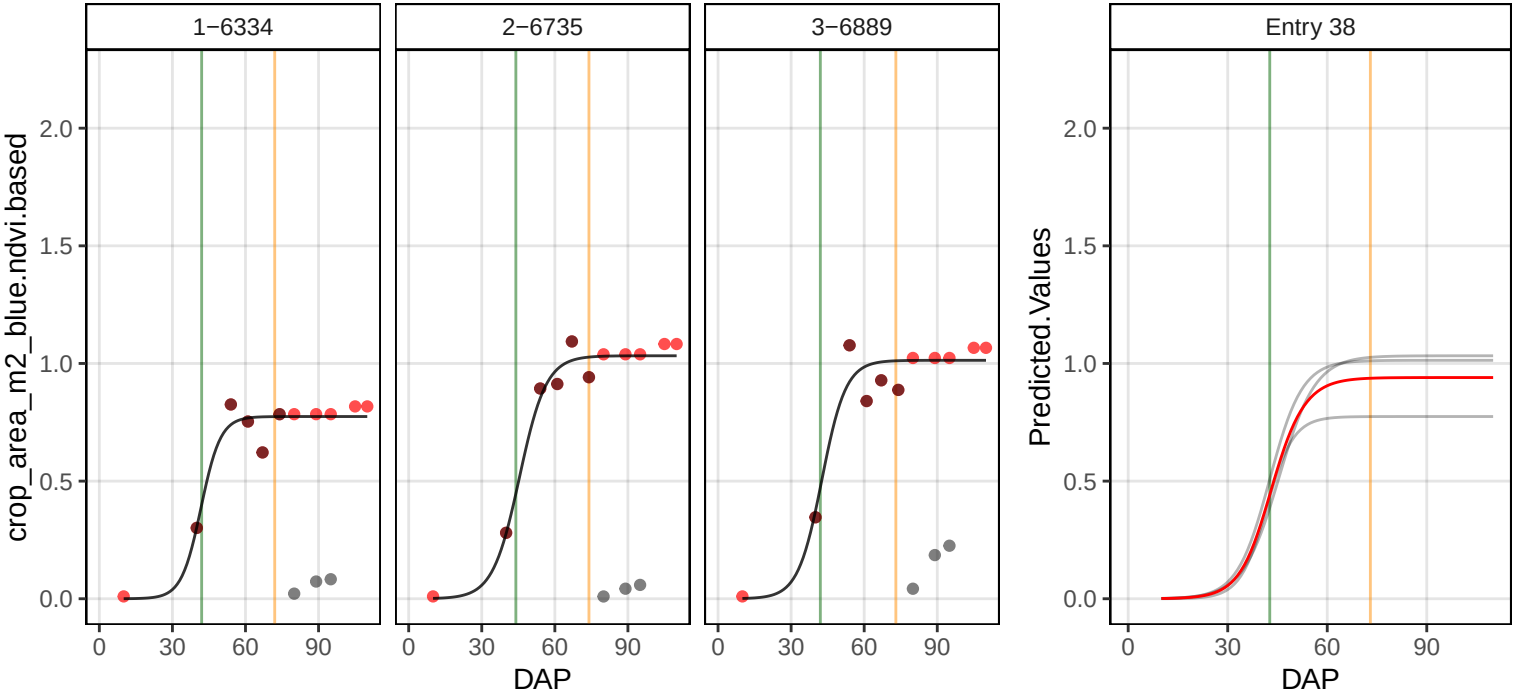

039 | CN 106265 AGL

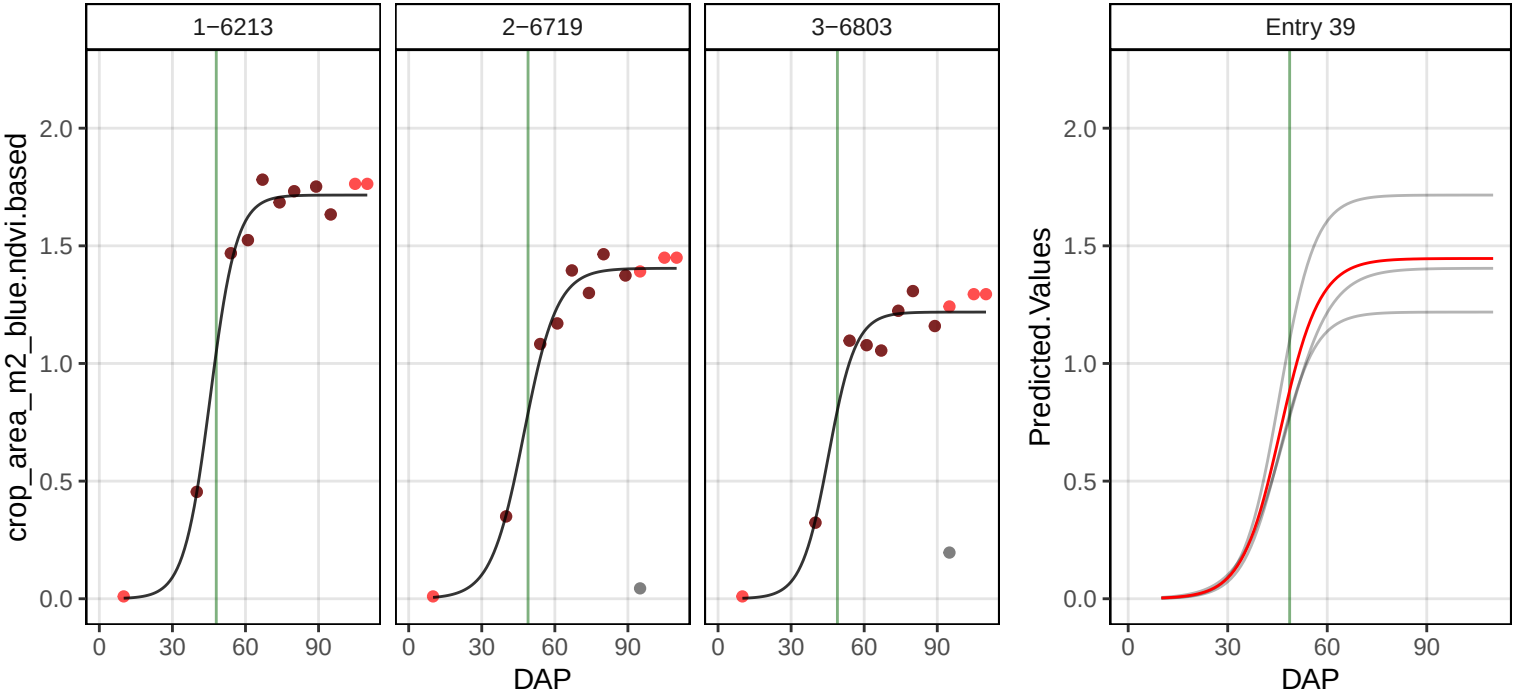

040 | CN 108369 AGL

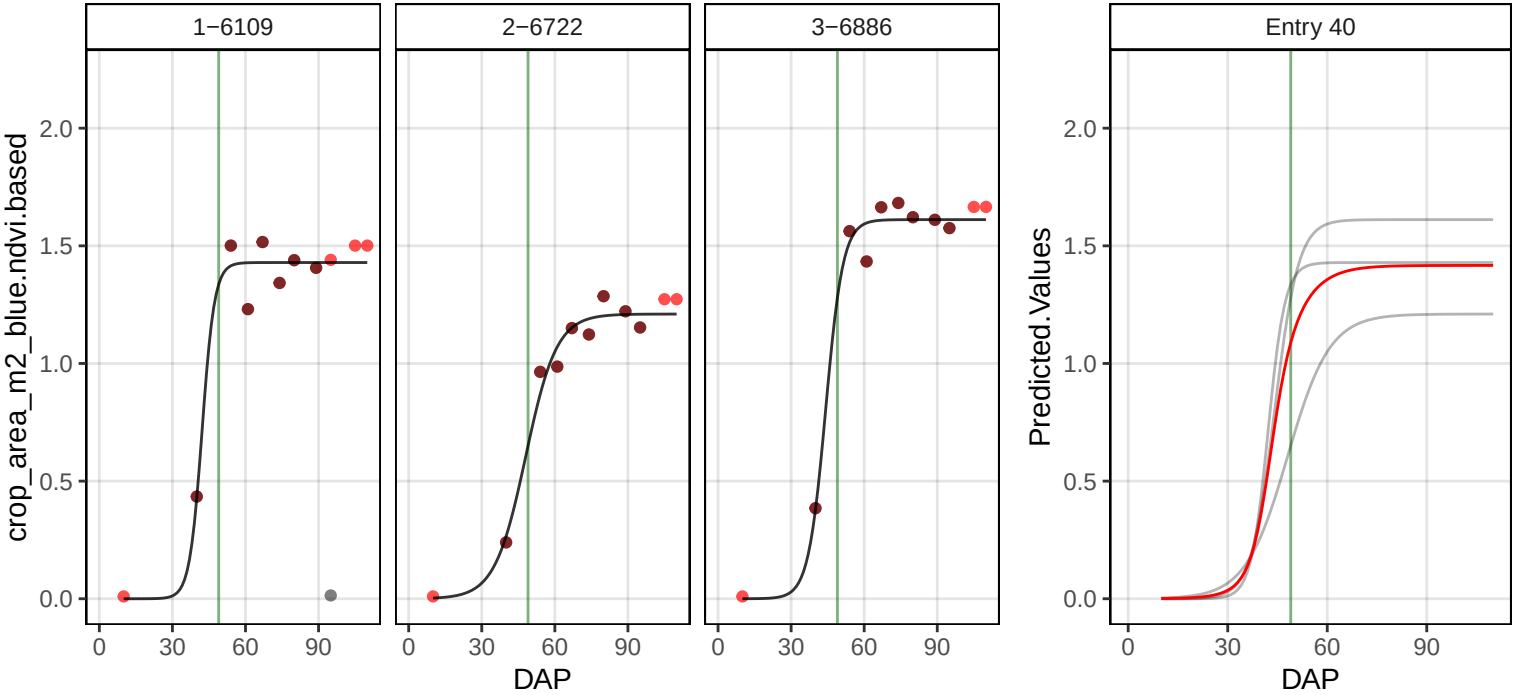

041 | CN 108370 AGL

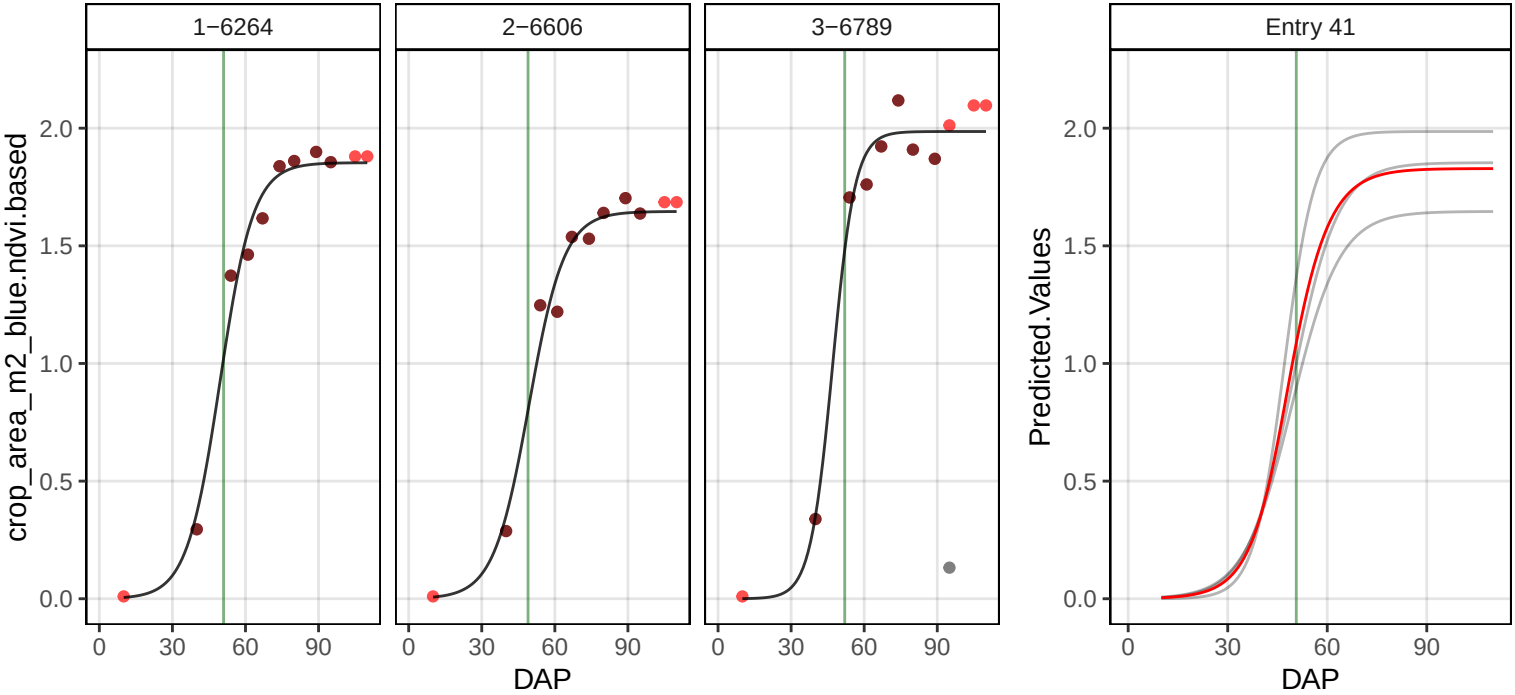

042 | Crimson AGL

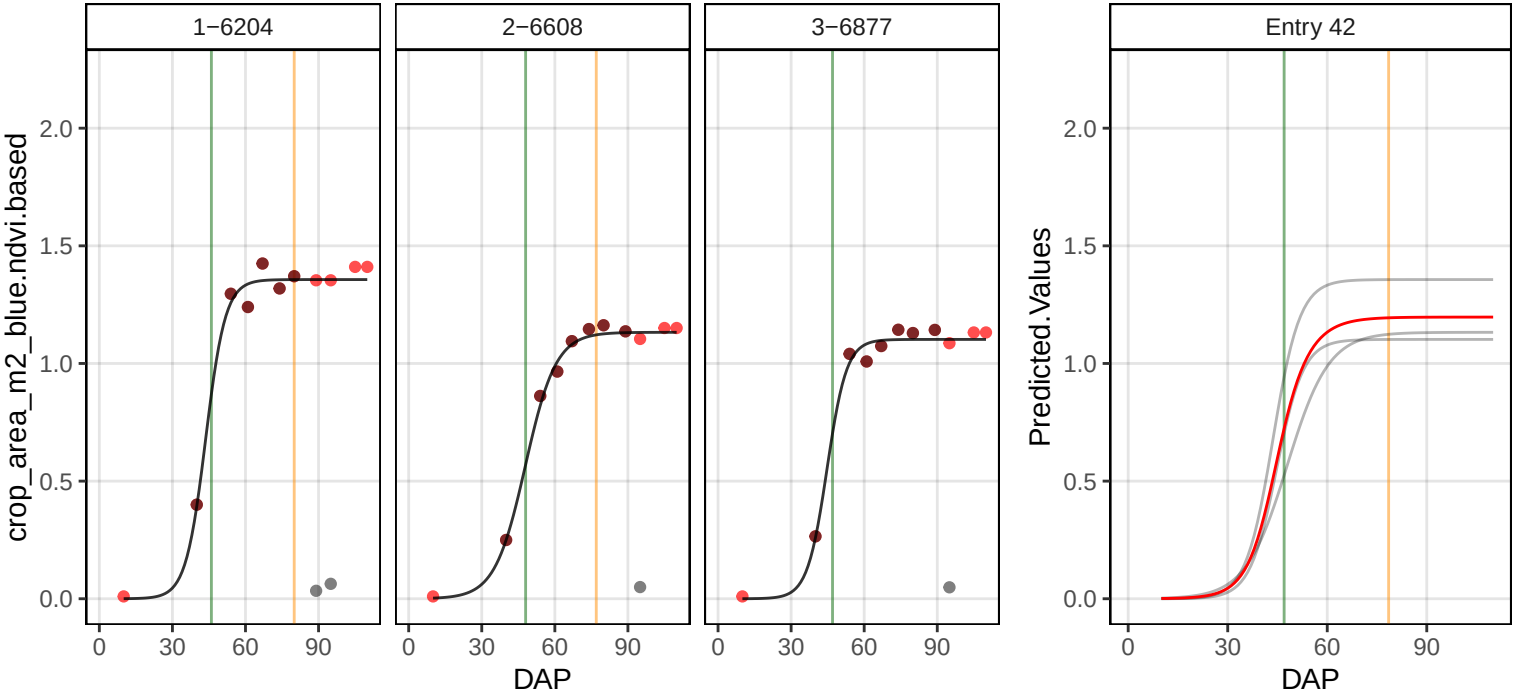

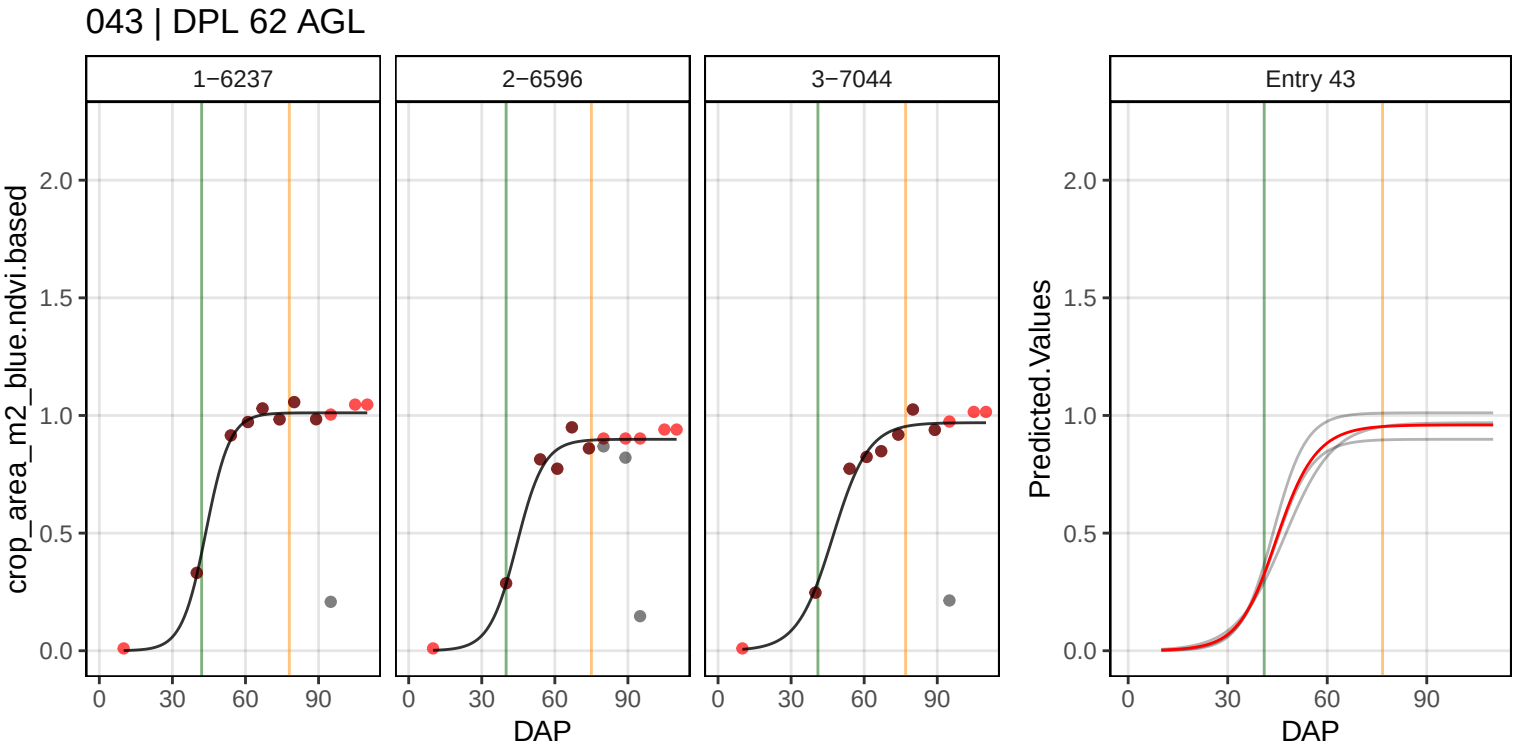
043 | DPL 62 AGL
1−6237
2−6596
3−7044
Entry 43
crop_area_m2_blue.ndvi.based
Predicted.Values
DAP
DAP
0.0
0.5
1.0
1.5
2.0
0
30
60
90

044 | Eston AGL

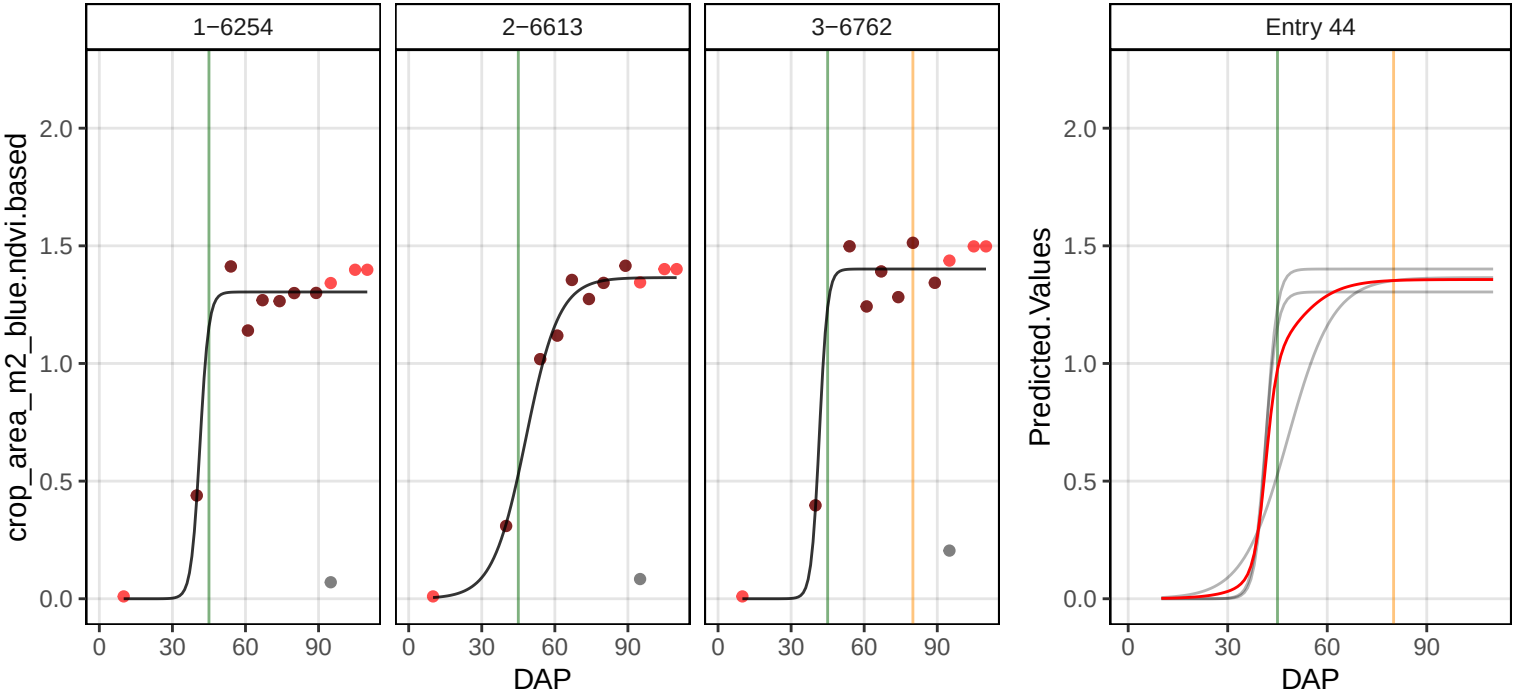

045 | Gudo AGL

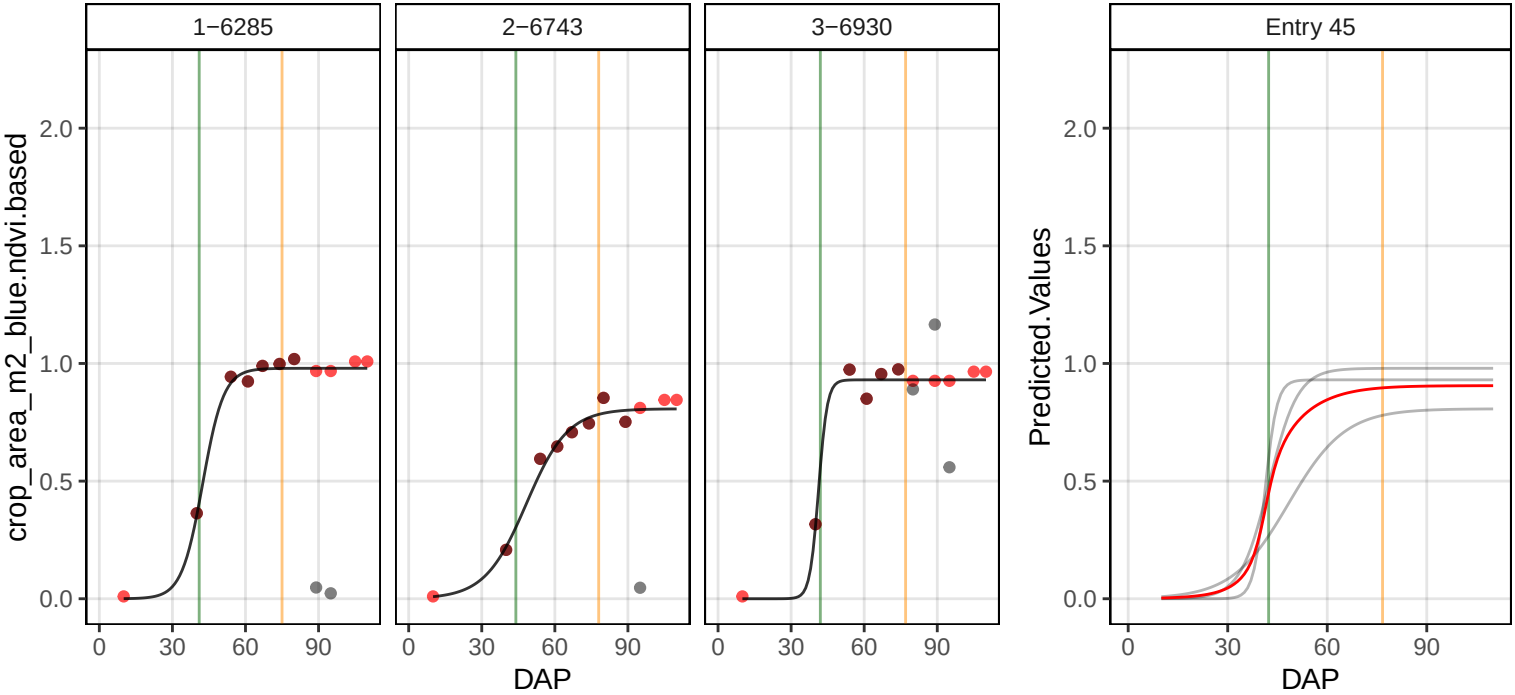
1−6285
2−6743
3−6930
Entry 45
crop_area_m2_blue.ndvi.based
Predicted.Values
DAP
DAP
0.0
0.5
1.0
1.5
2.0
0
30
60
90

046 | IG 1046 AGL

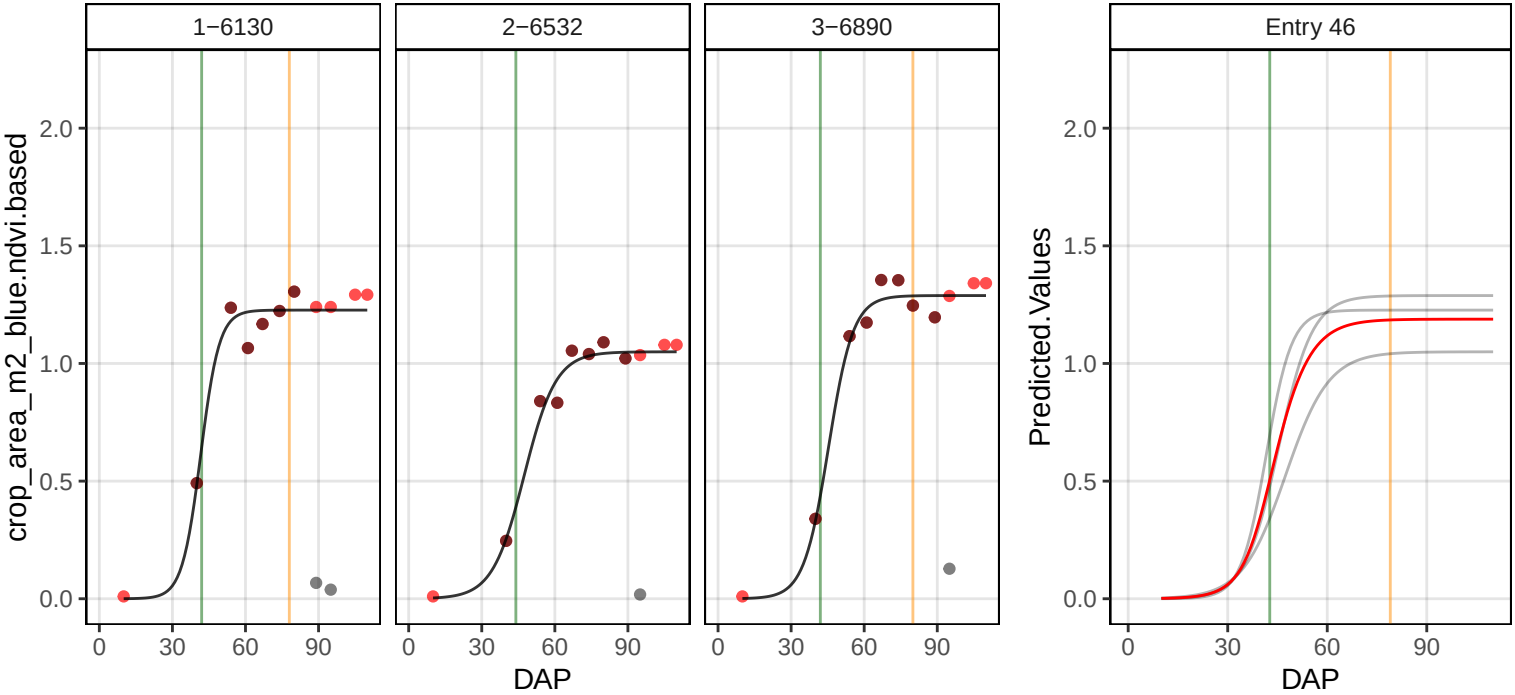

047 | IG 1706 AGL

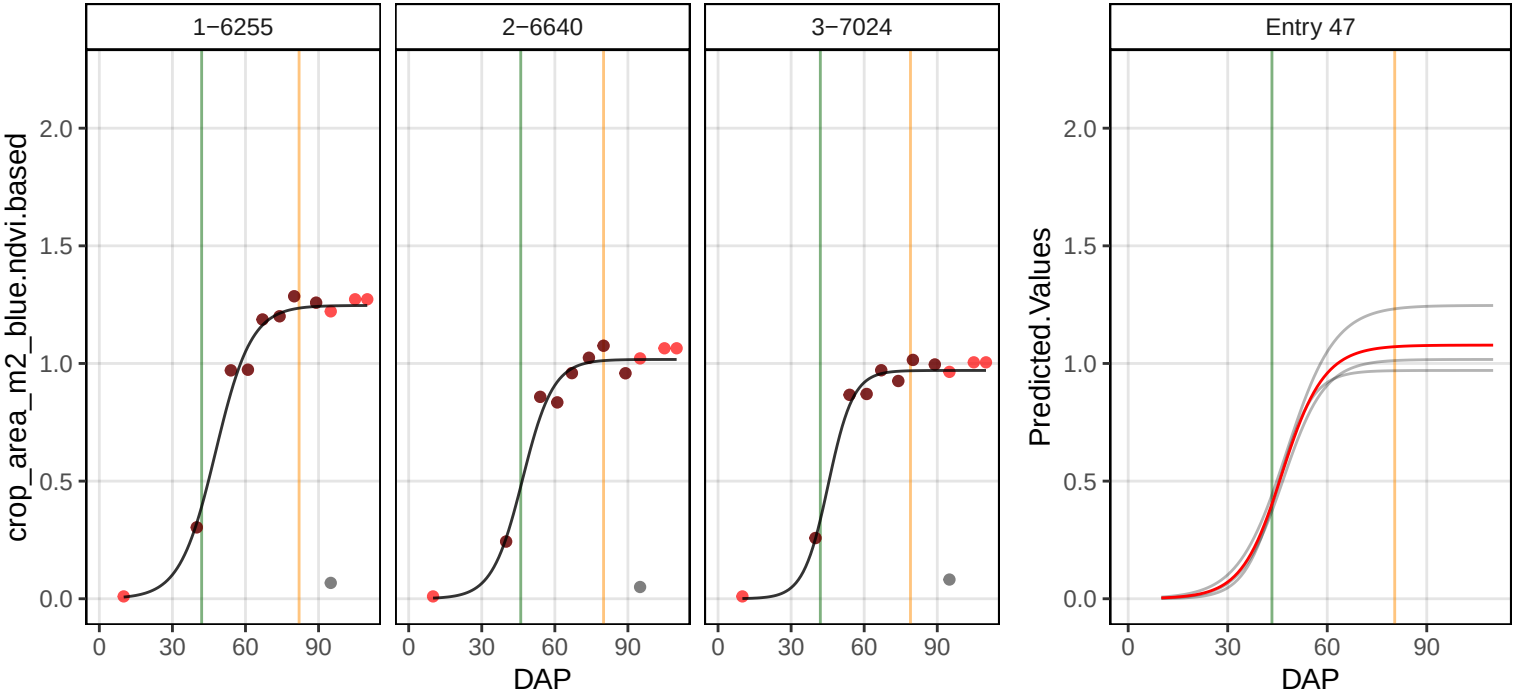

048 | IG 1959 AGL

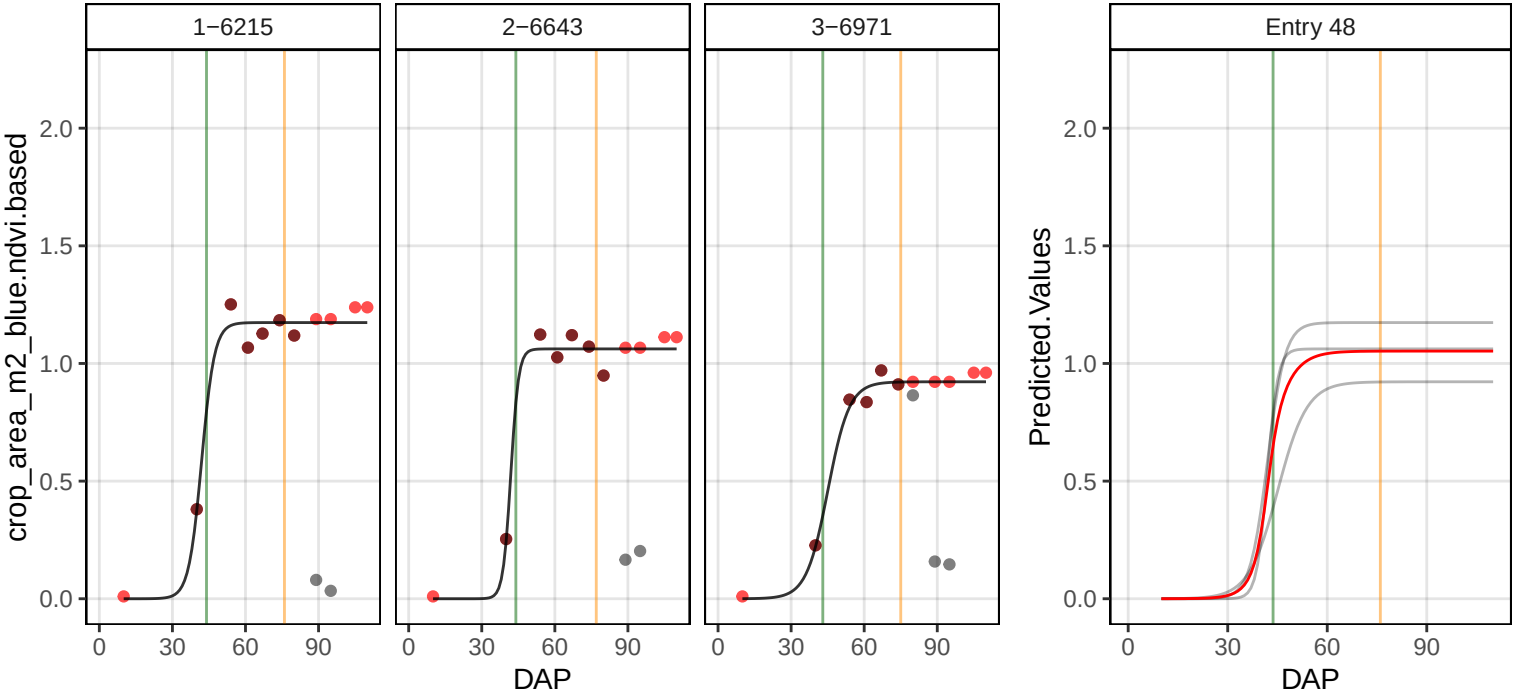

049 | IG 4258 AGL

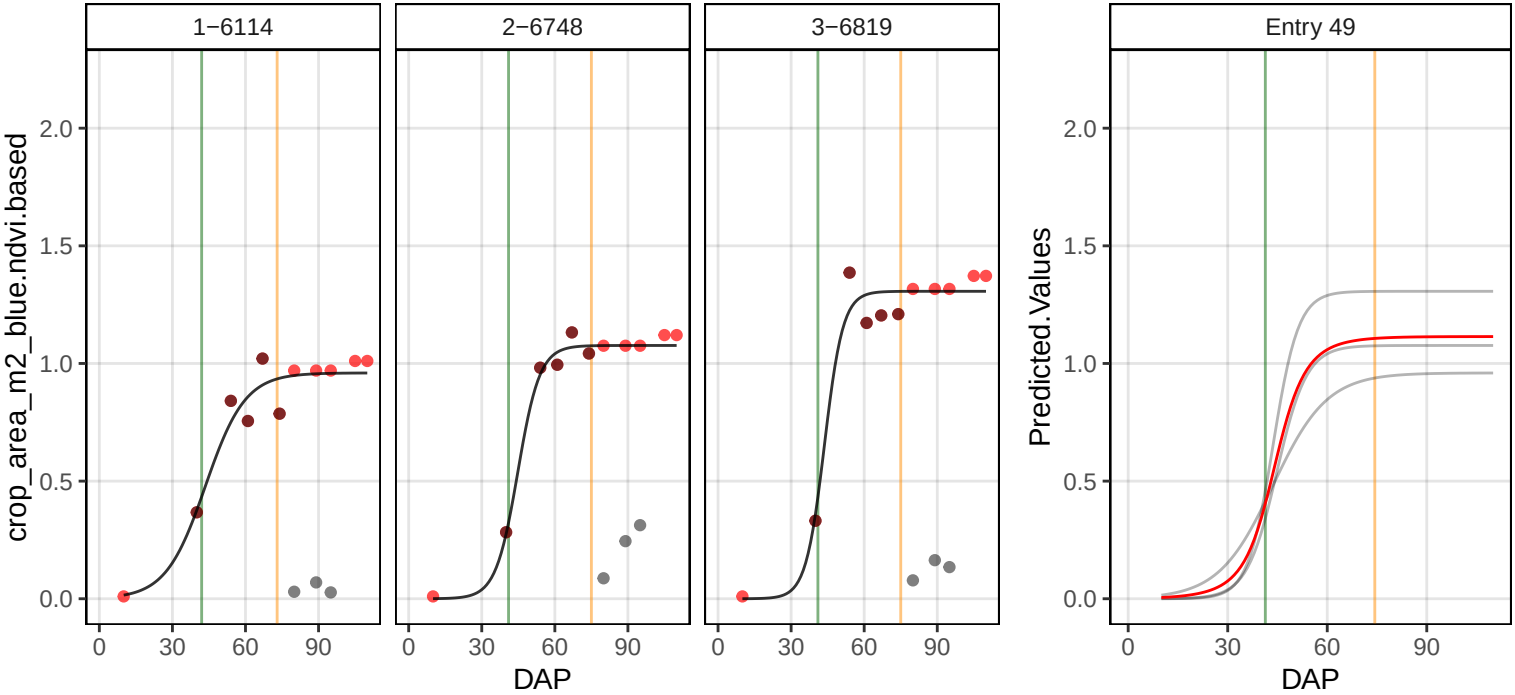

050 | IG 4781 AGL

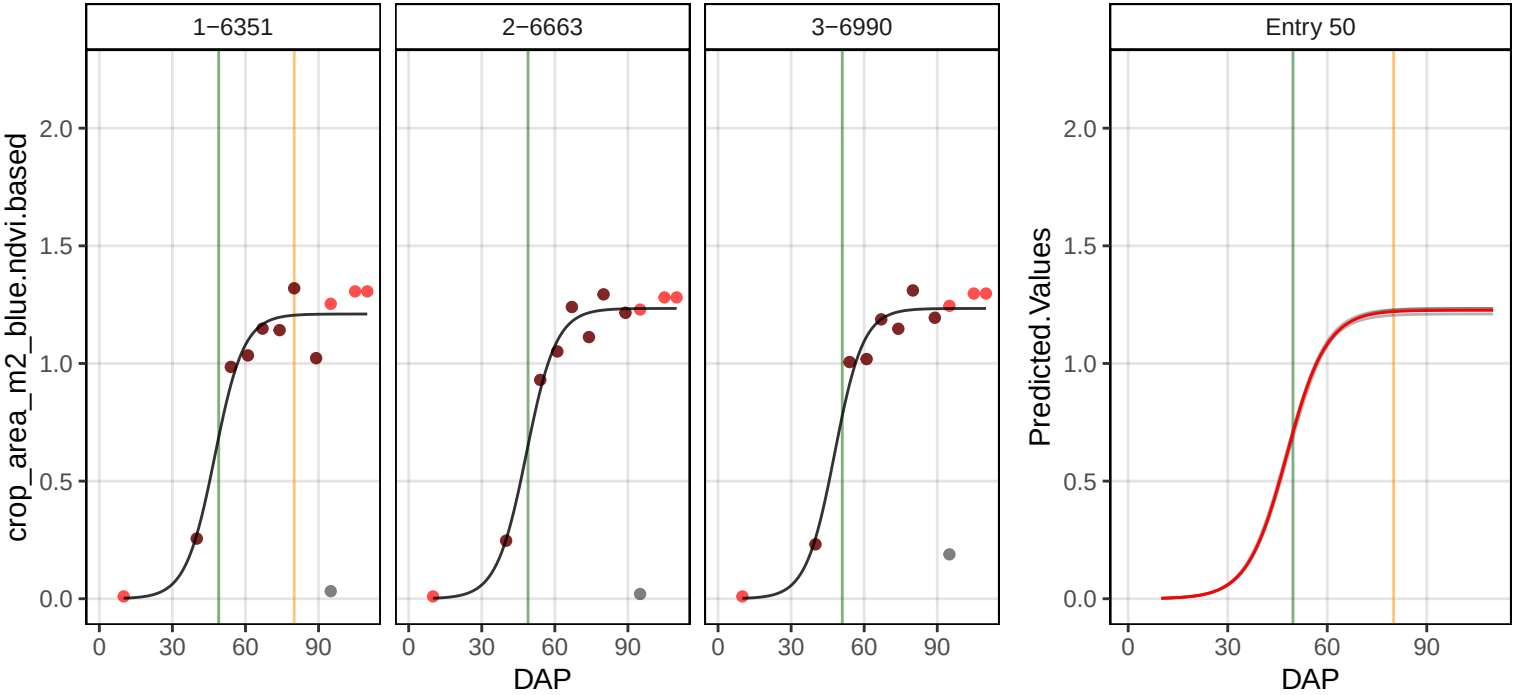

051 | IG 858 AGL

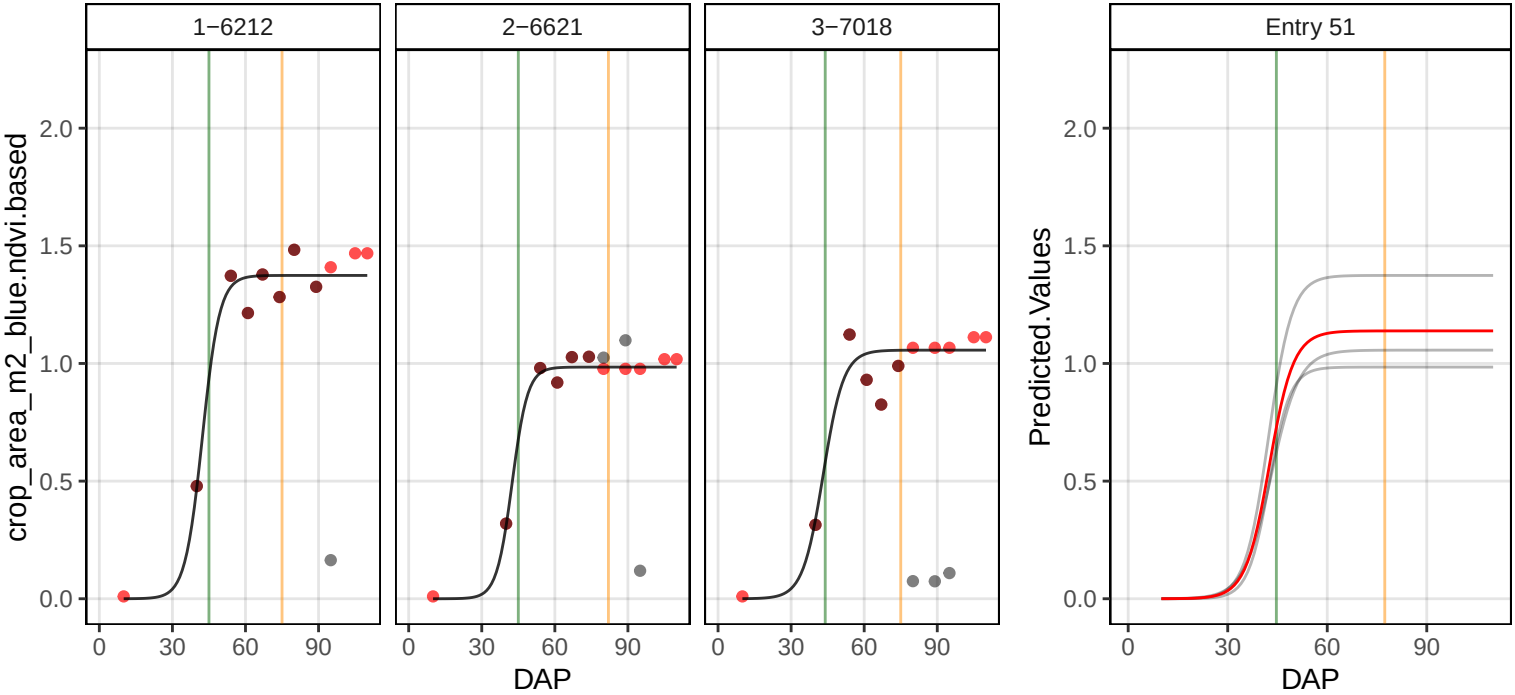

052 | ILL 10657 AGL

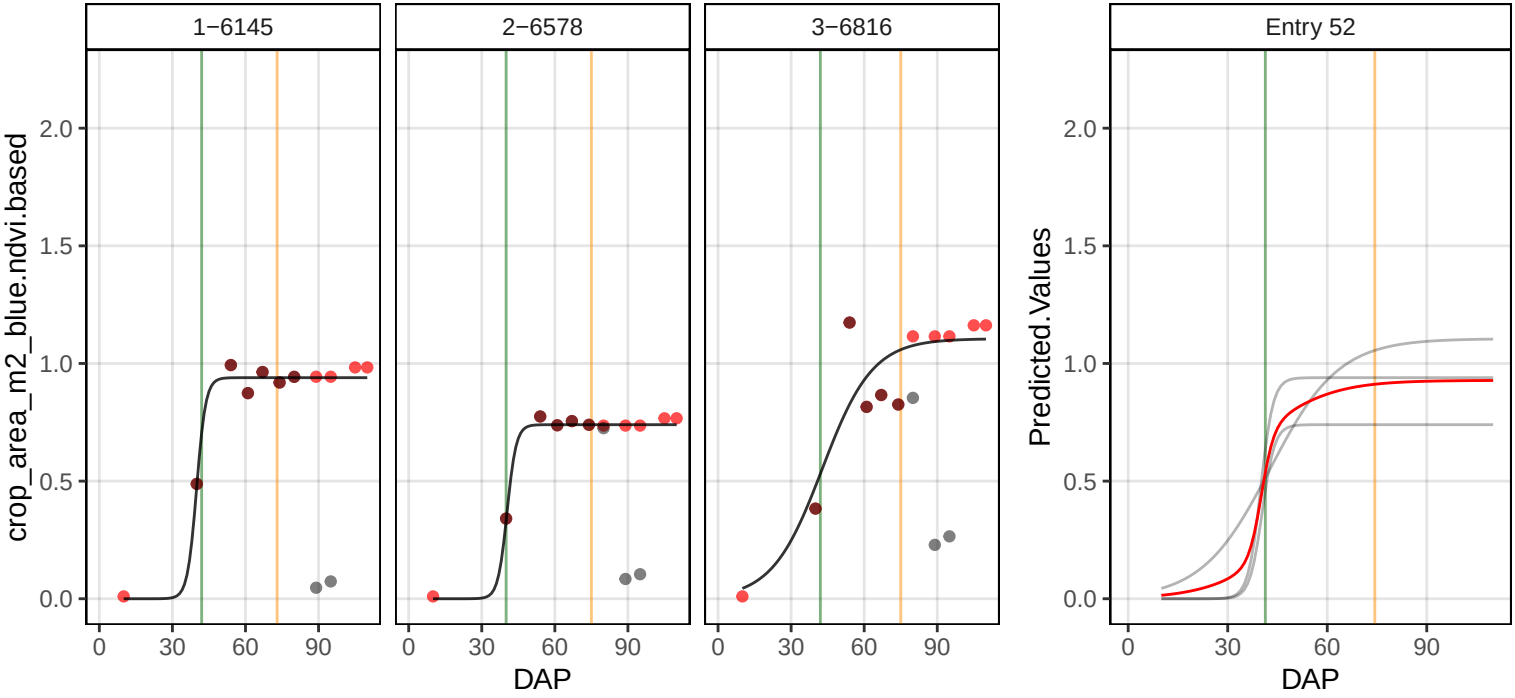

053 | ILL 10748 AGL

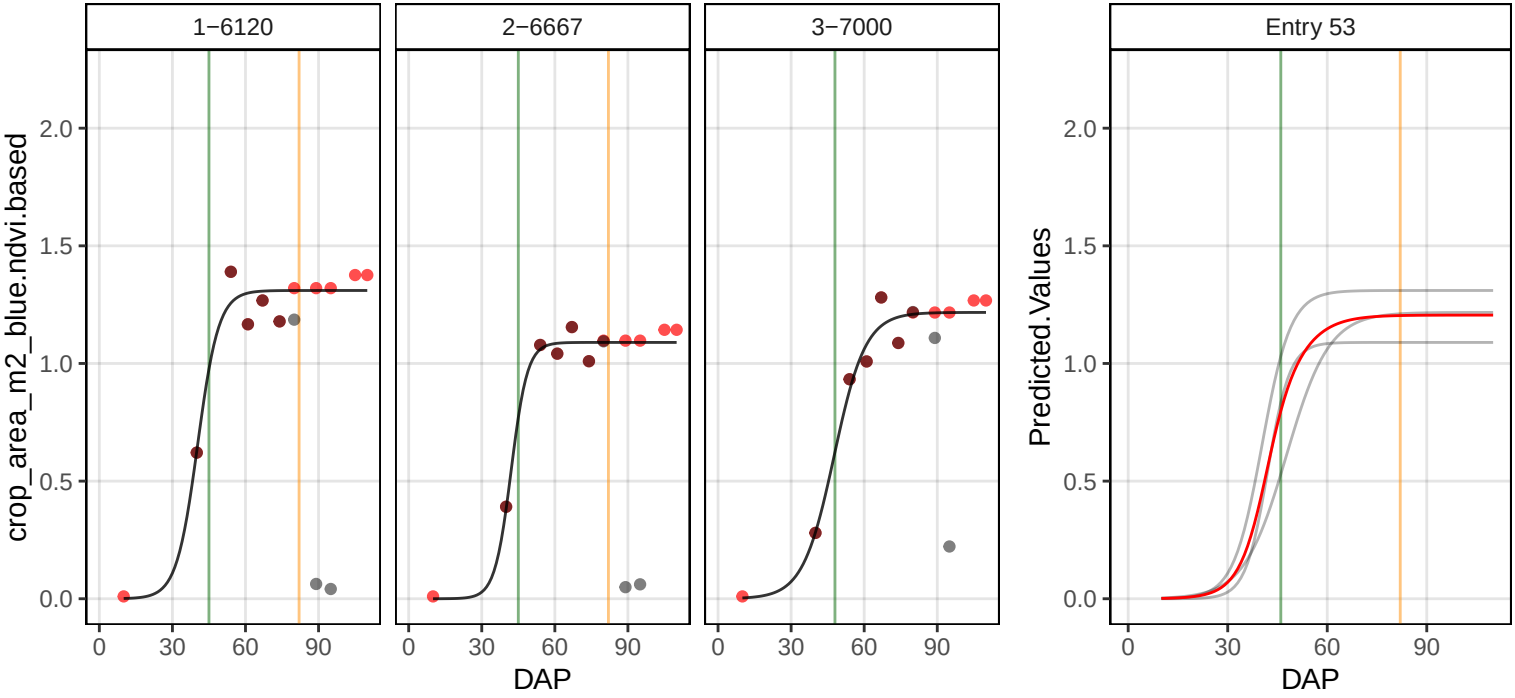

054 | ILL 11547 AGL

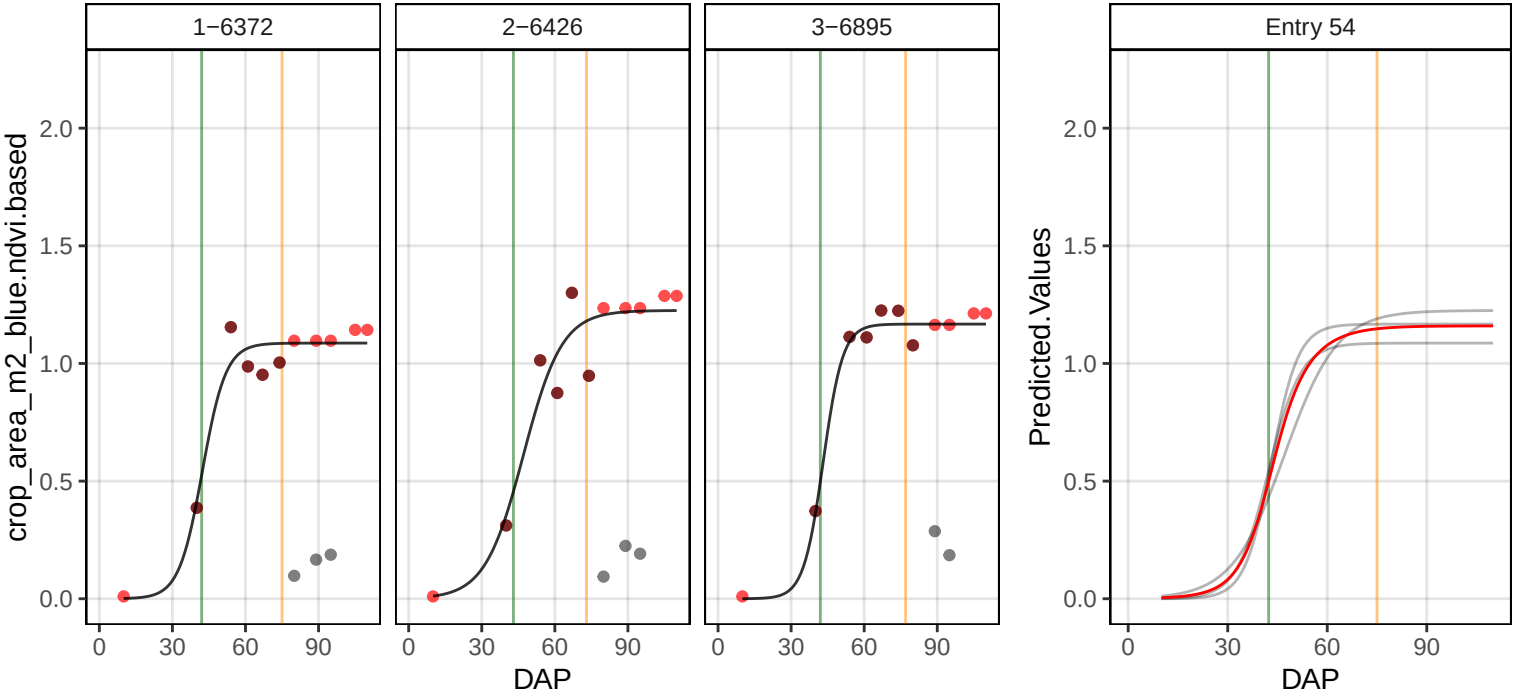

055 | ILL 11548 AGL

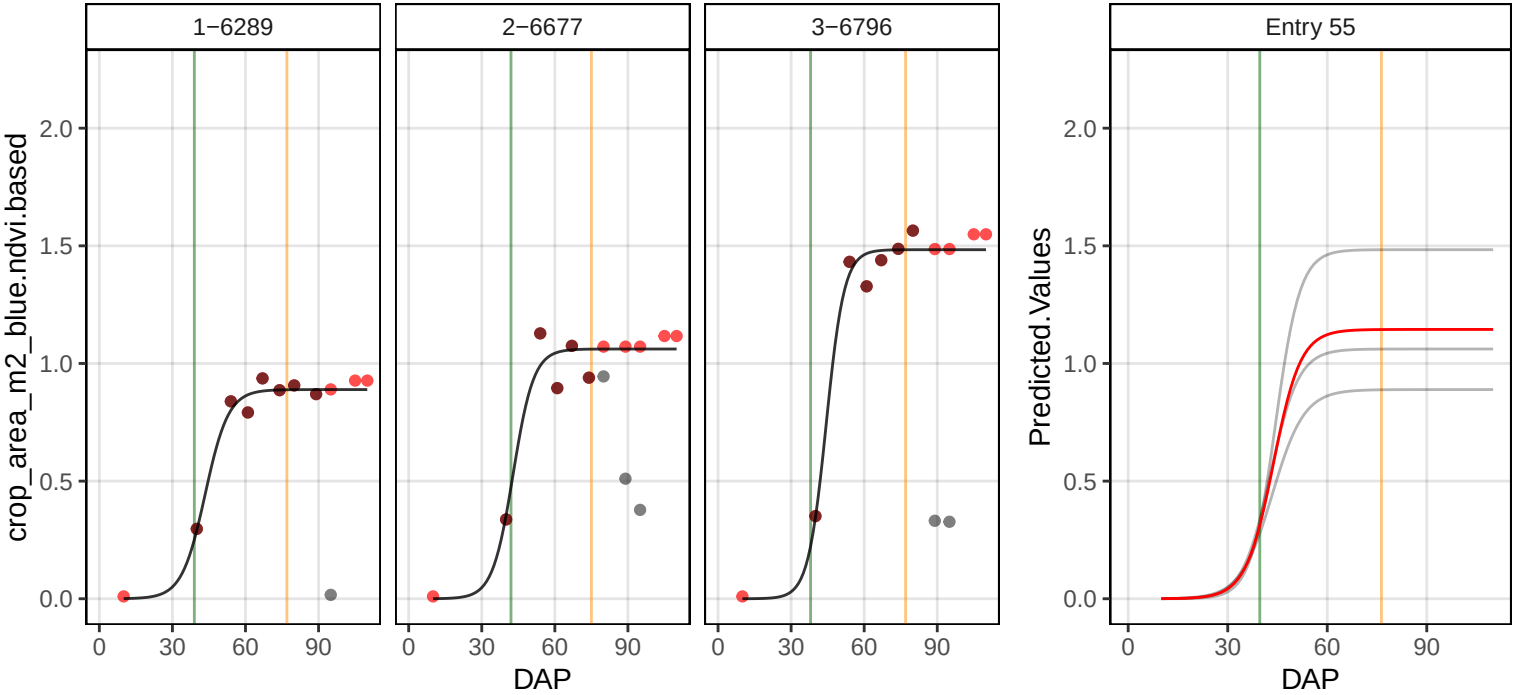

056 | ILL 11553 AGL

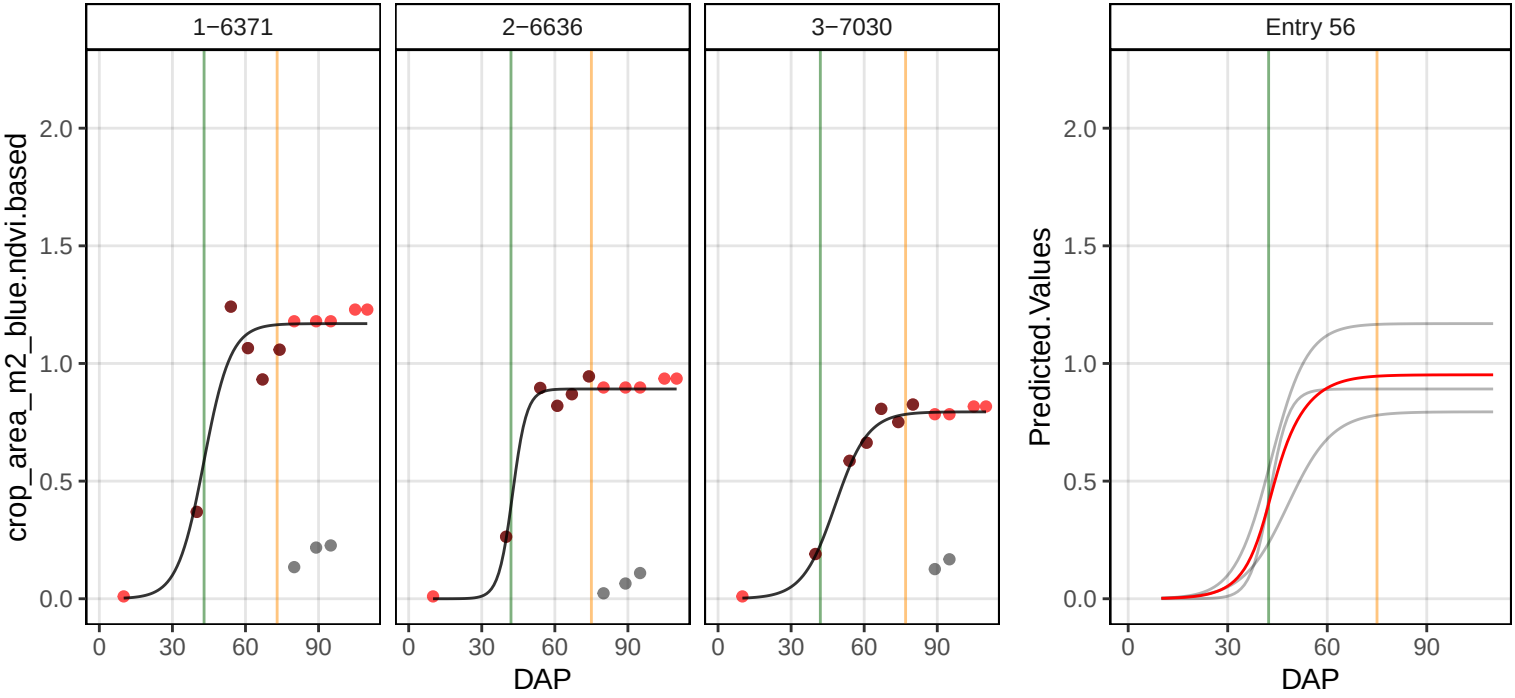

057 | ILL 11555 AGL

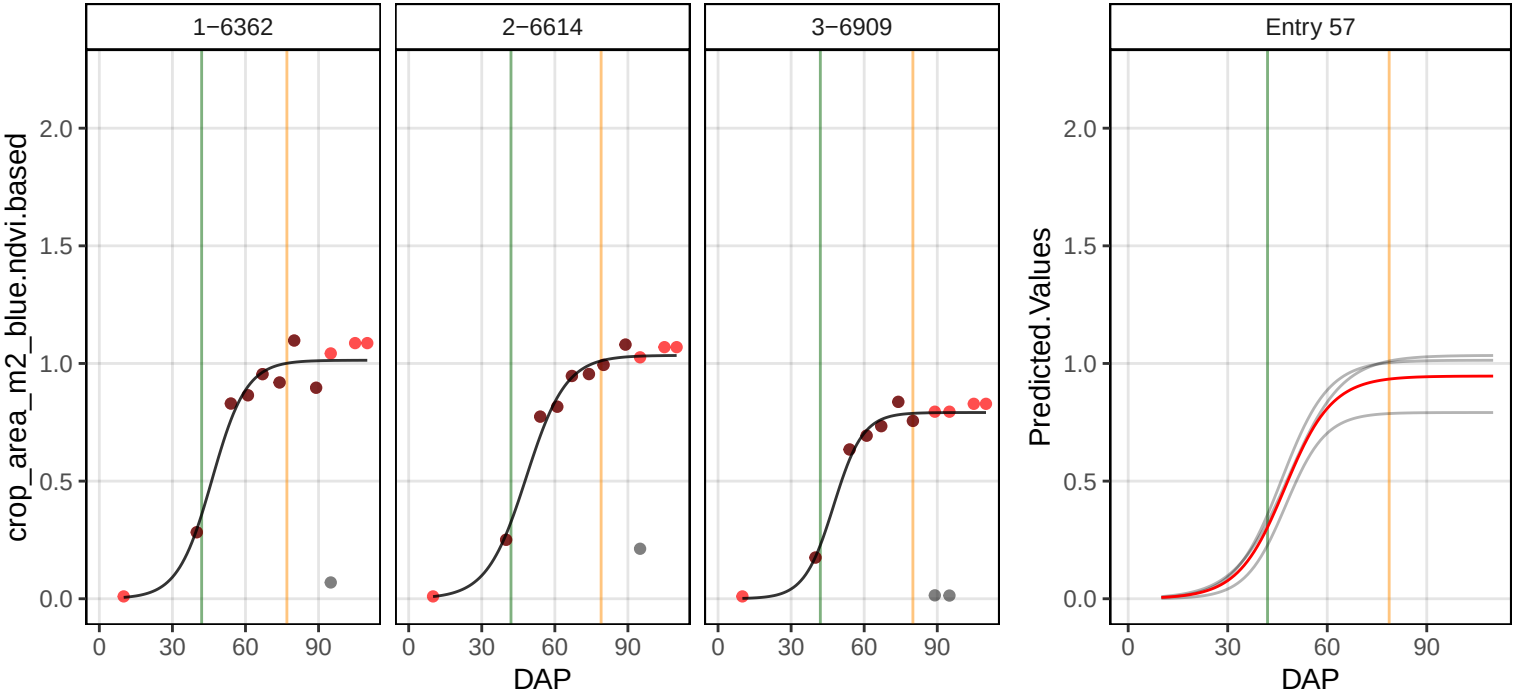

058 | ILL 11557 AGL

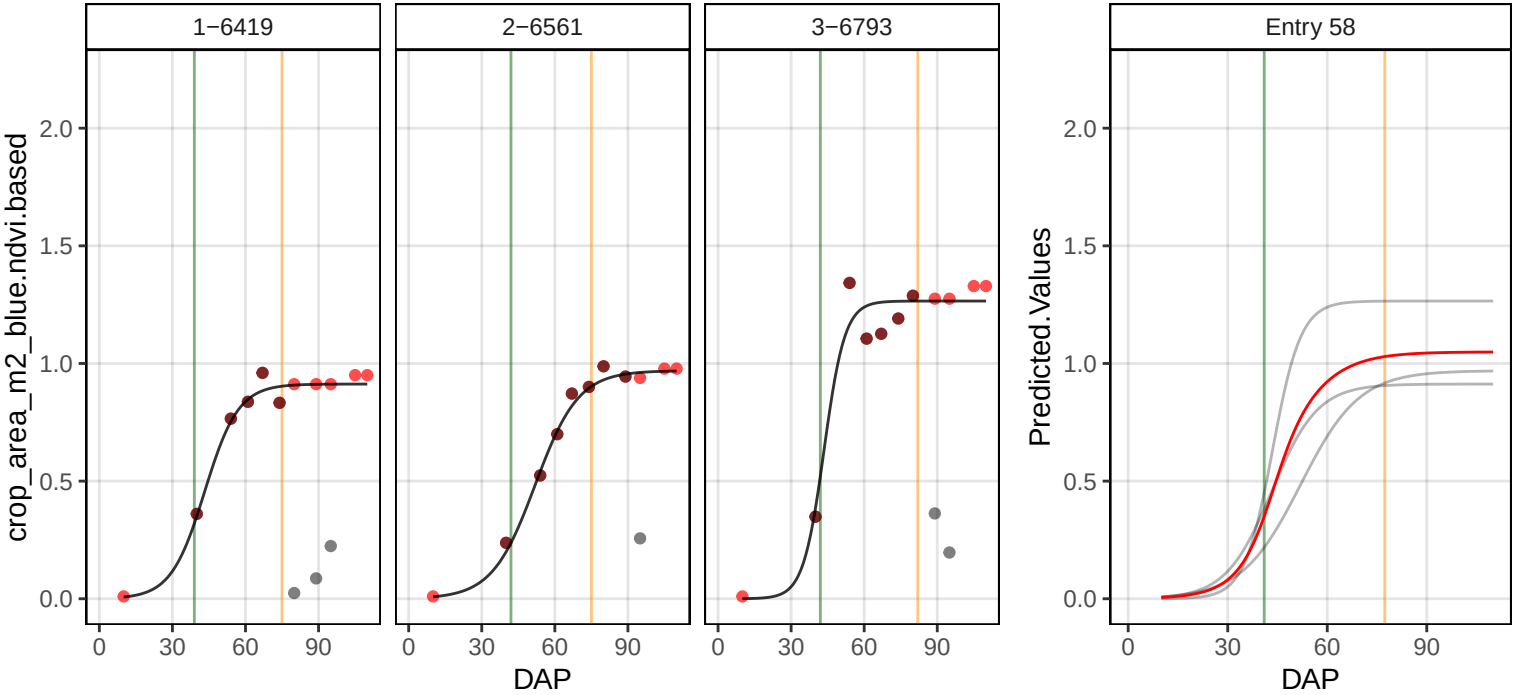

059 | ILL 11558 AGL

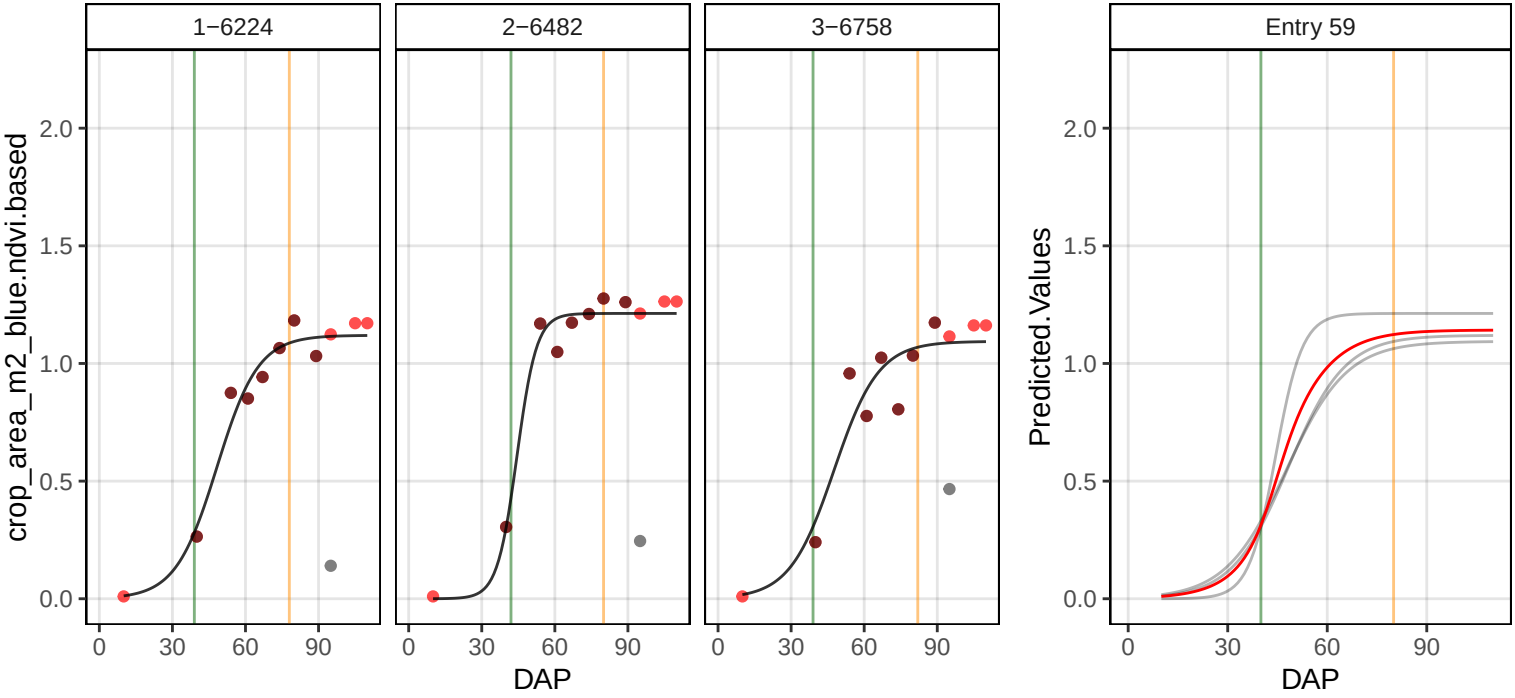

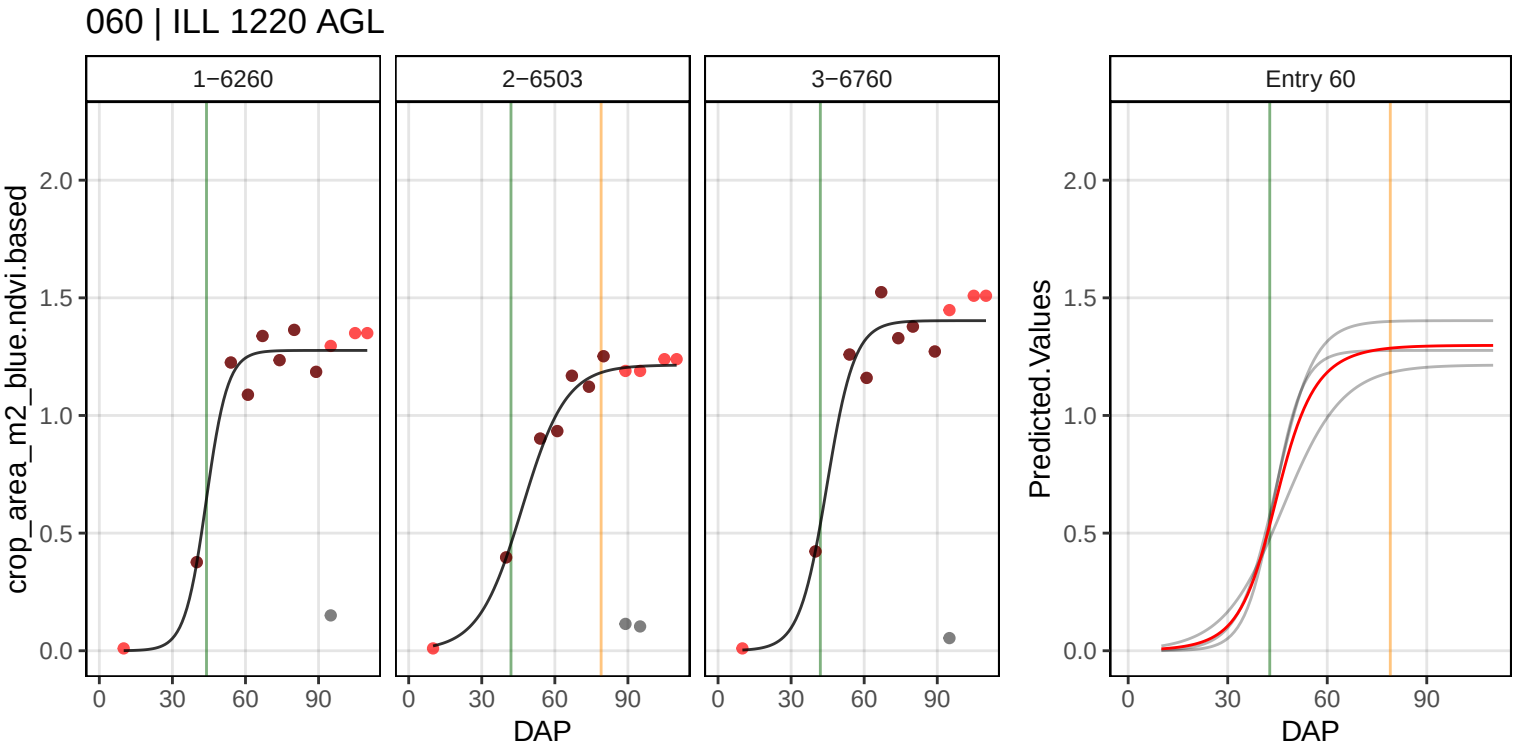
060 | ILL 1220 AGL
1−6260
2−6503
3−6760
Entry 60
crop_area_m2_blue.ndvi.based
Predicted.Values
DAP
DAP
0.0
0.5
1.0
1.5
2.0
0
30
60
90

061 | ILL 1553 AGL

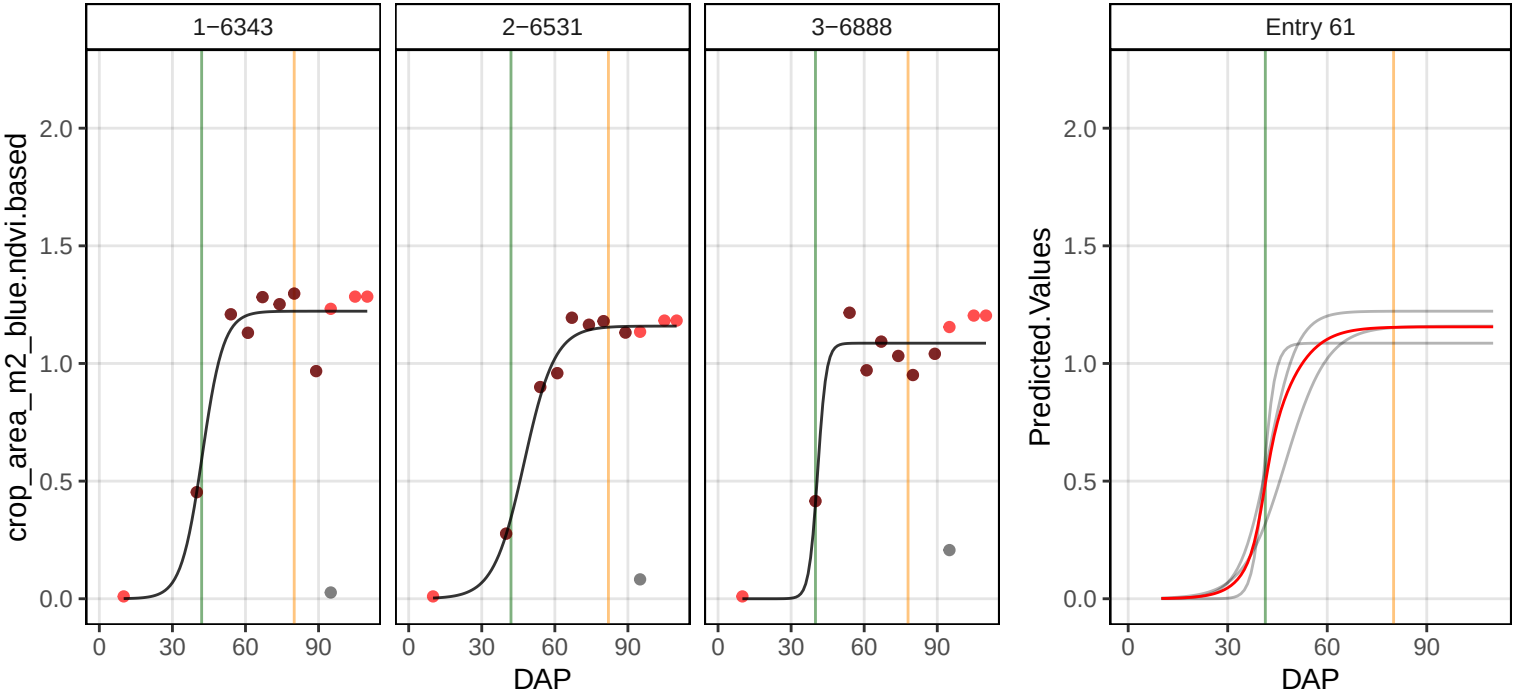

062 | ILL 1762 AGL

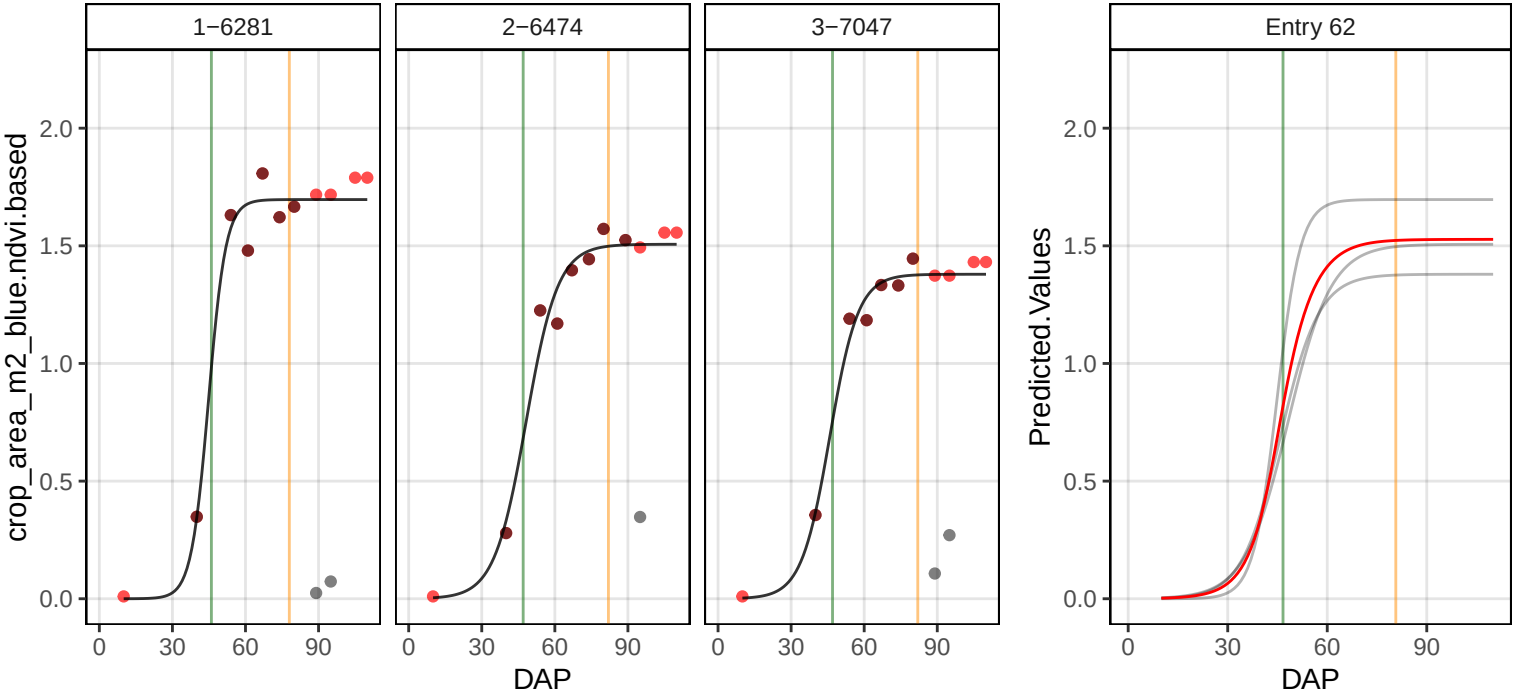

063 | ILL 1983 AGL

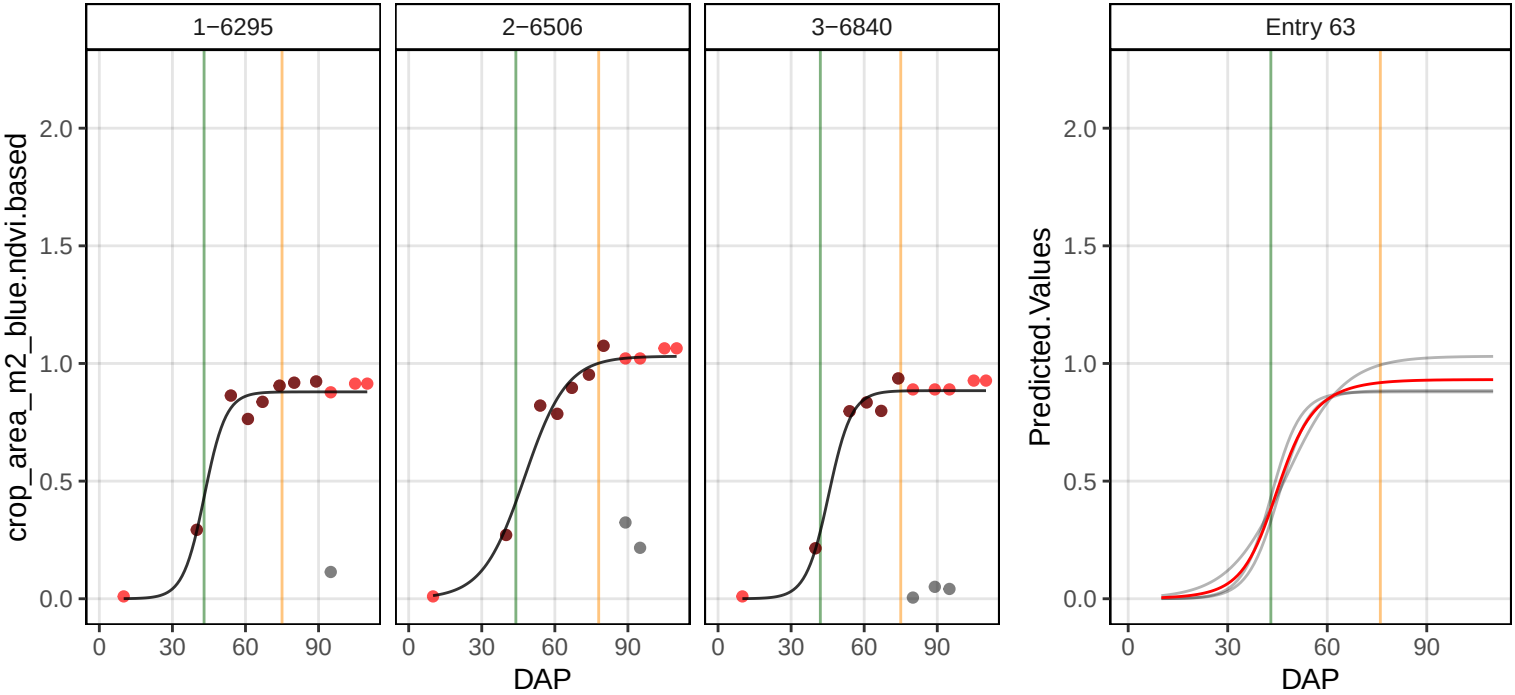

064 | ILL 213 AGL

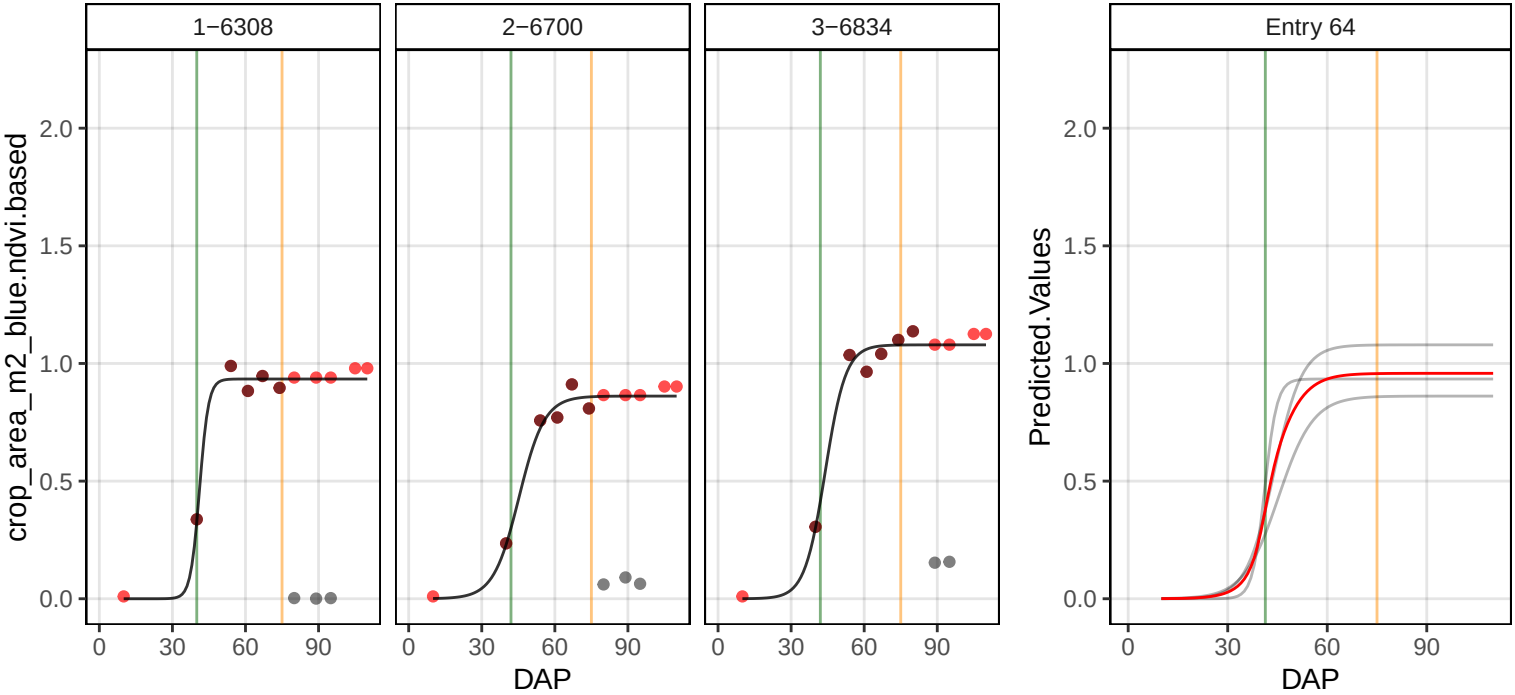

065 | ILL 2194 AGL

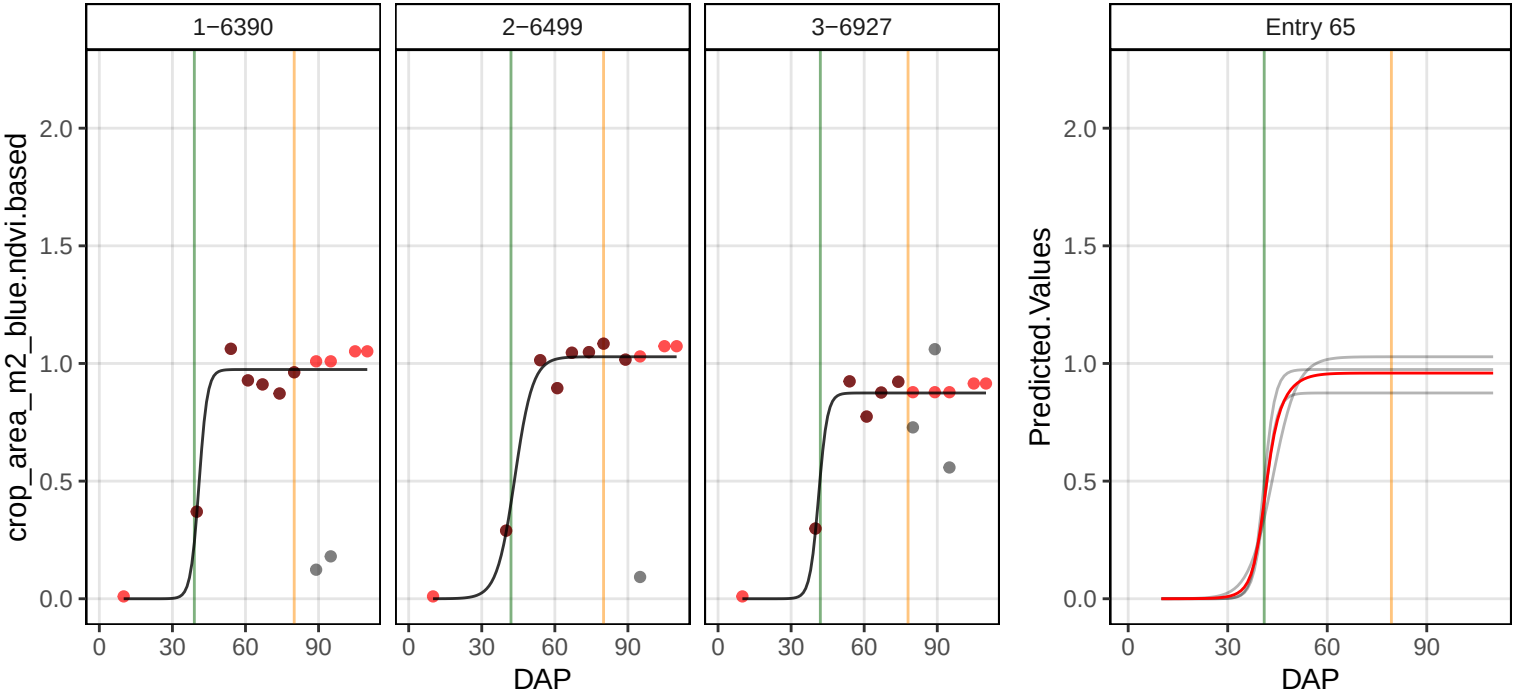

066 | PI 431893 LSP AGL

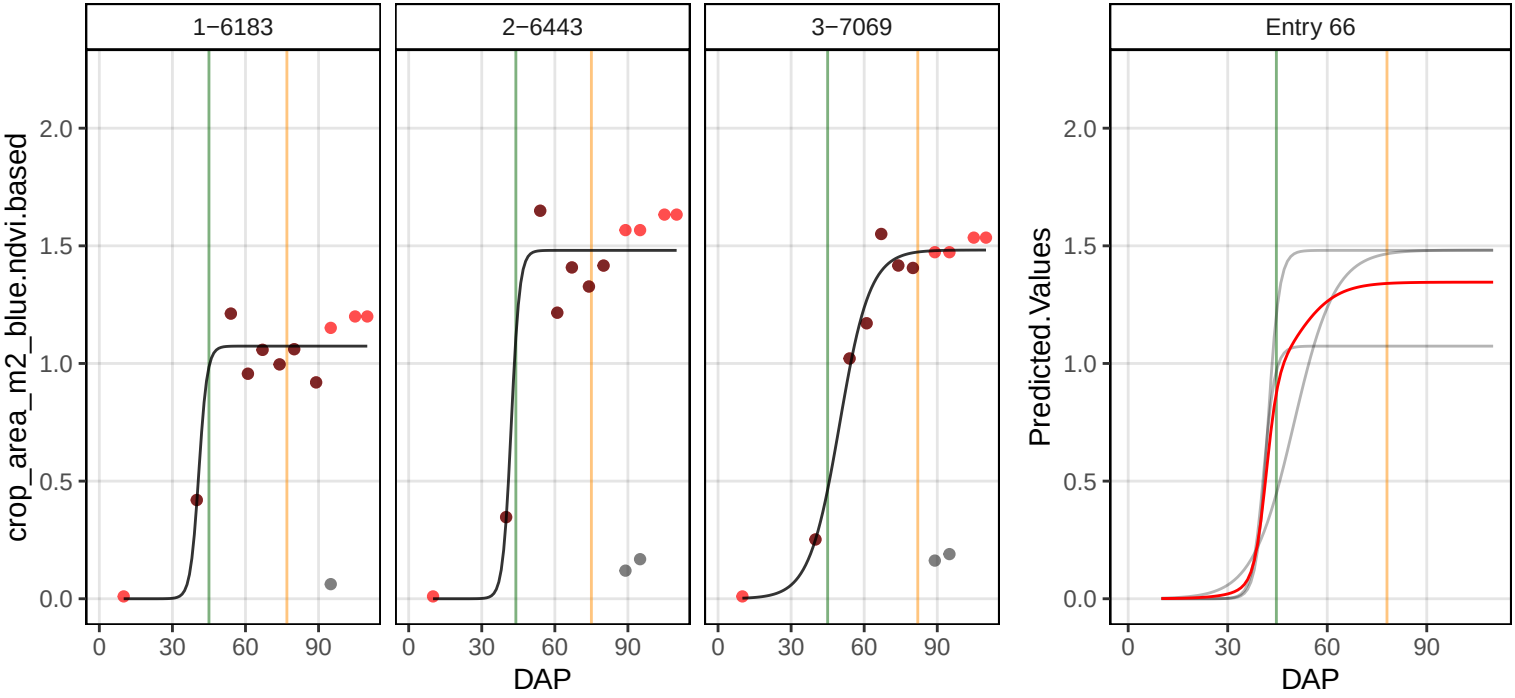

067 | ILL 2507 AGL

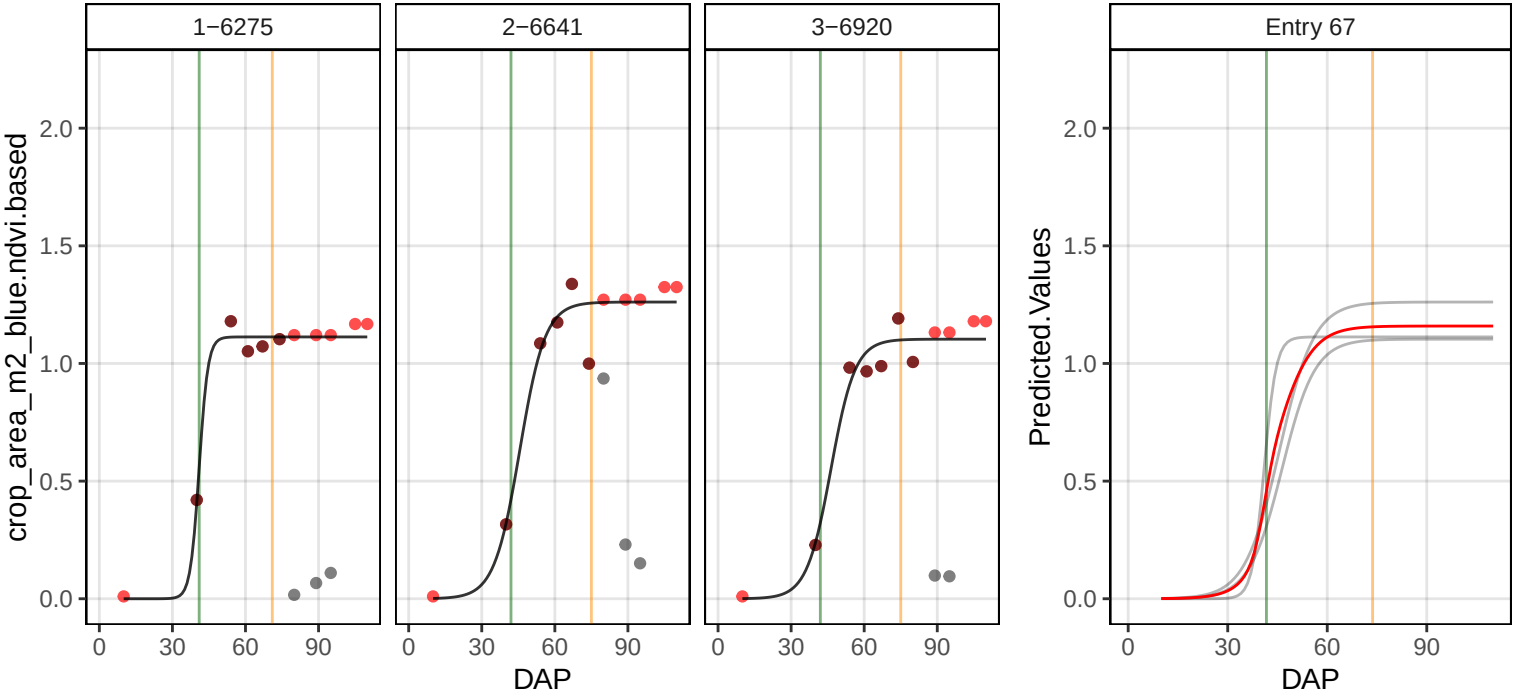

068 | ILL 2580 AGL

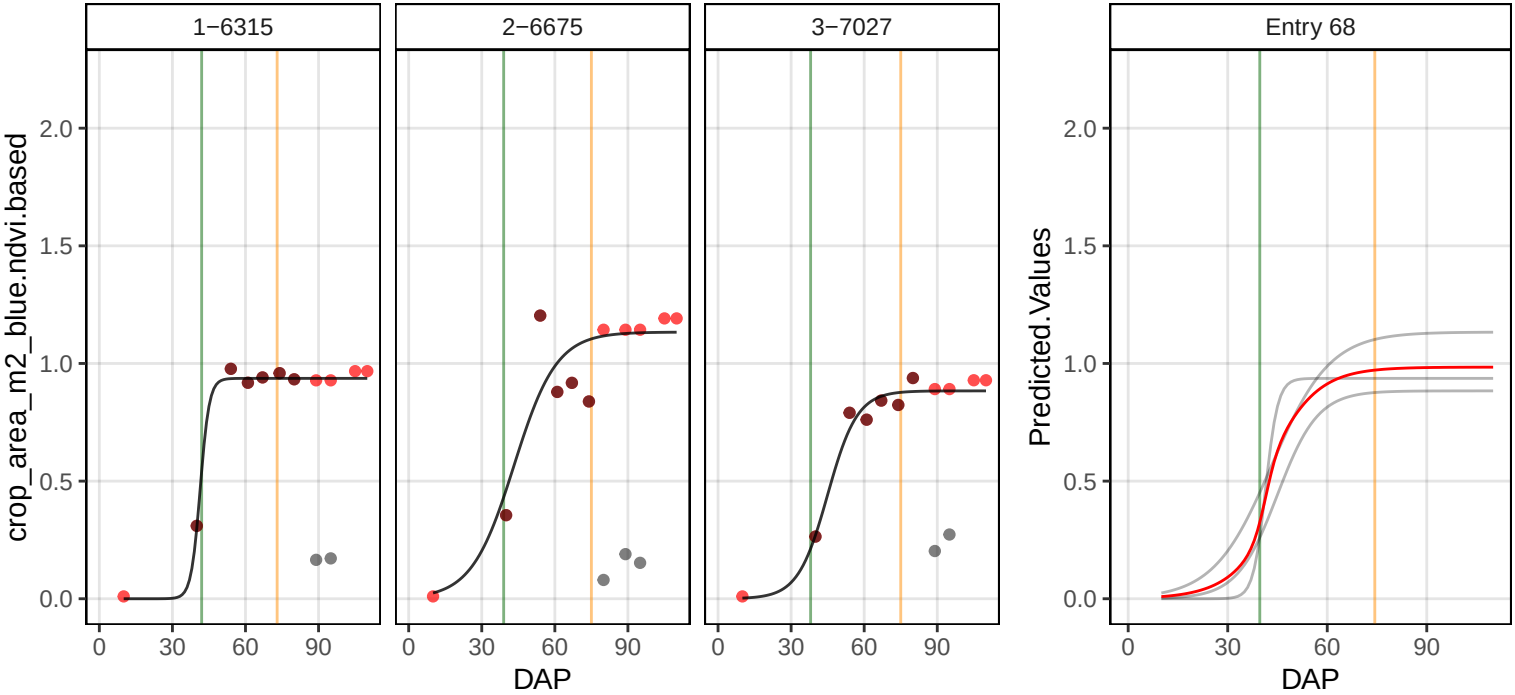

069 | ILL 28 AGL

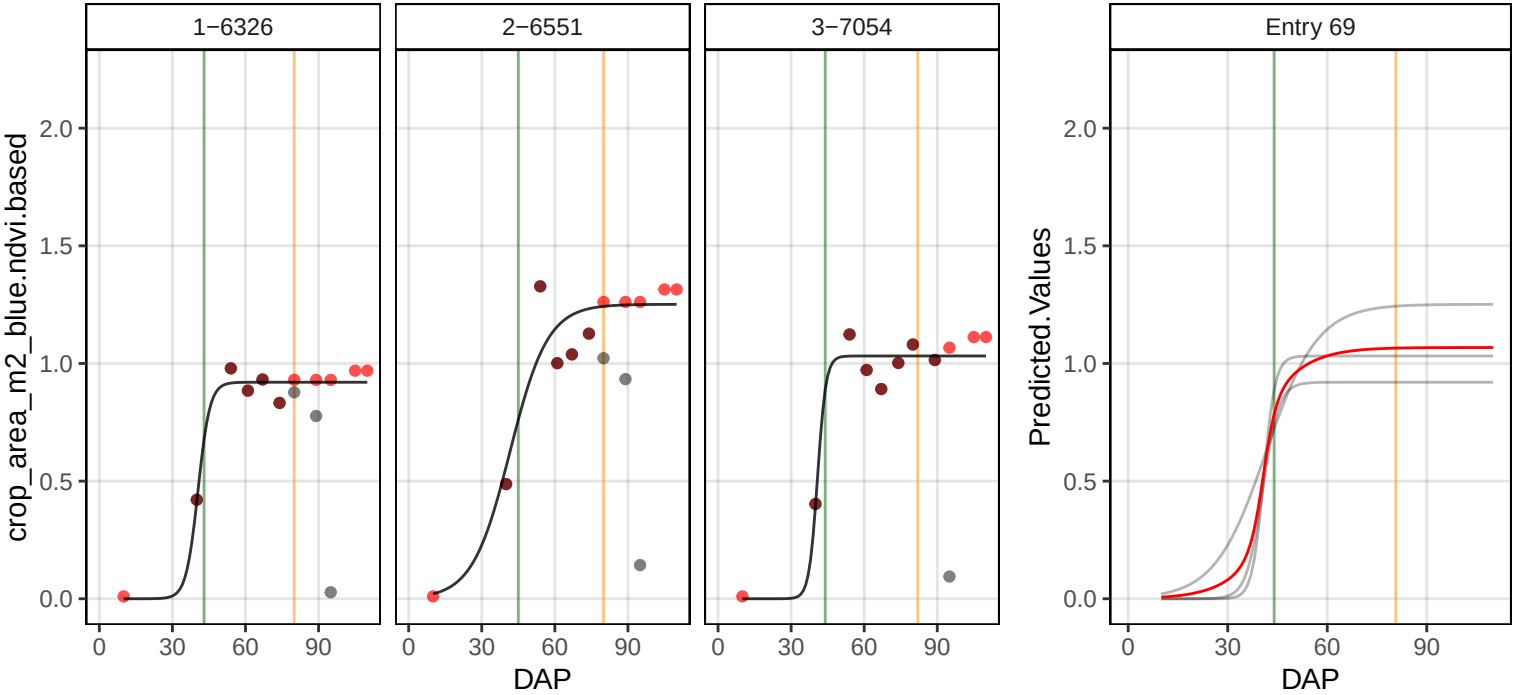

070 | ILL 3025 AGL

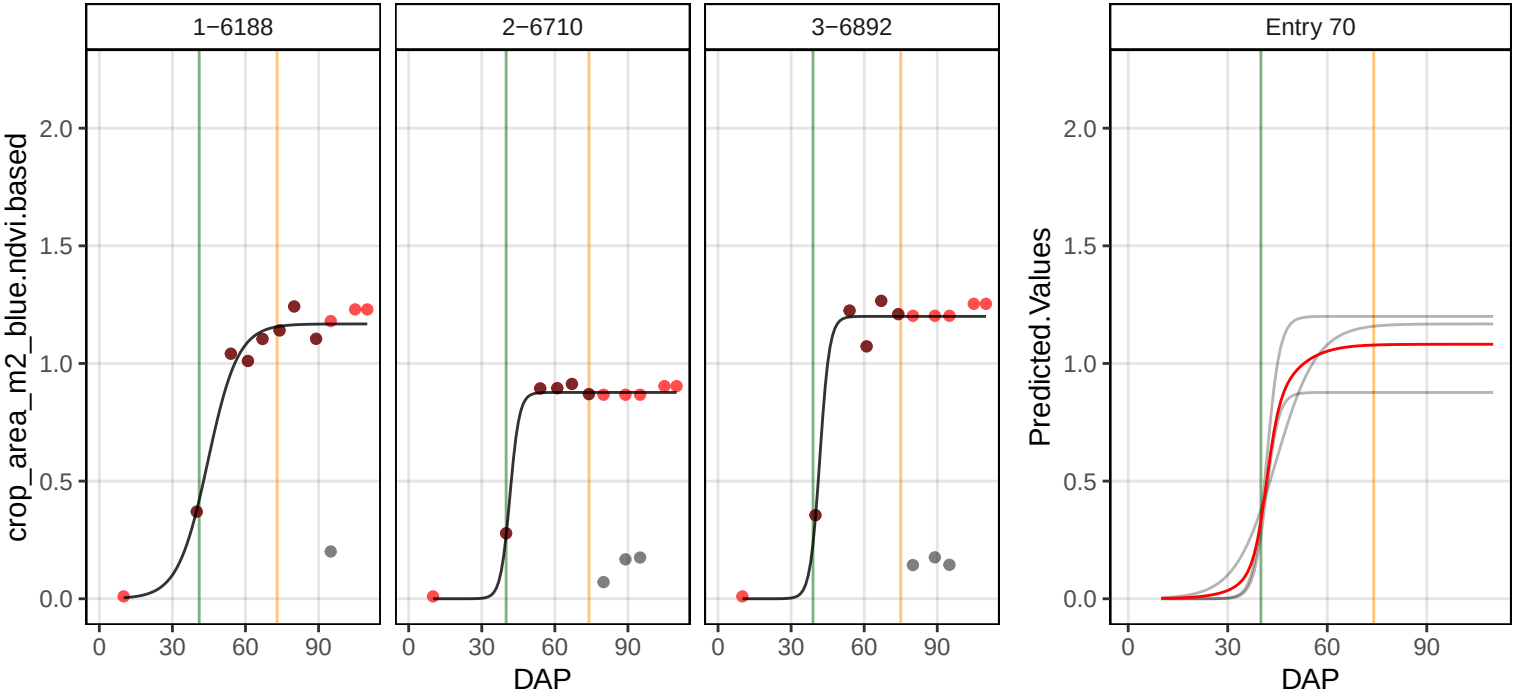

071 | ILL 313 AGL

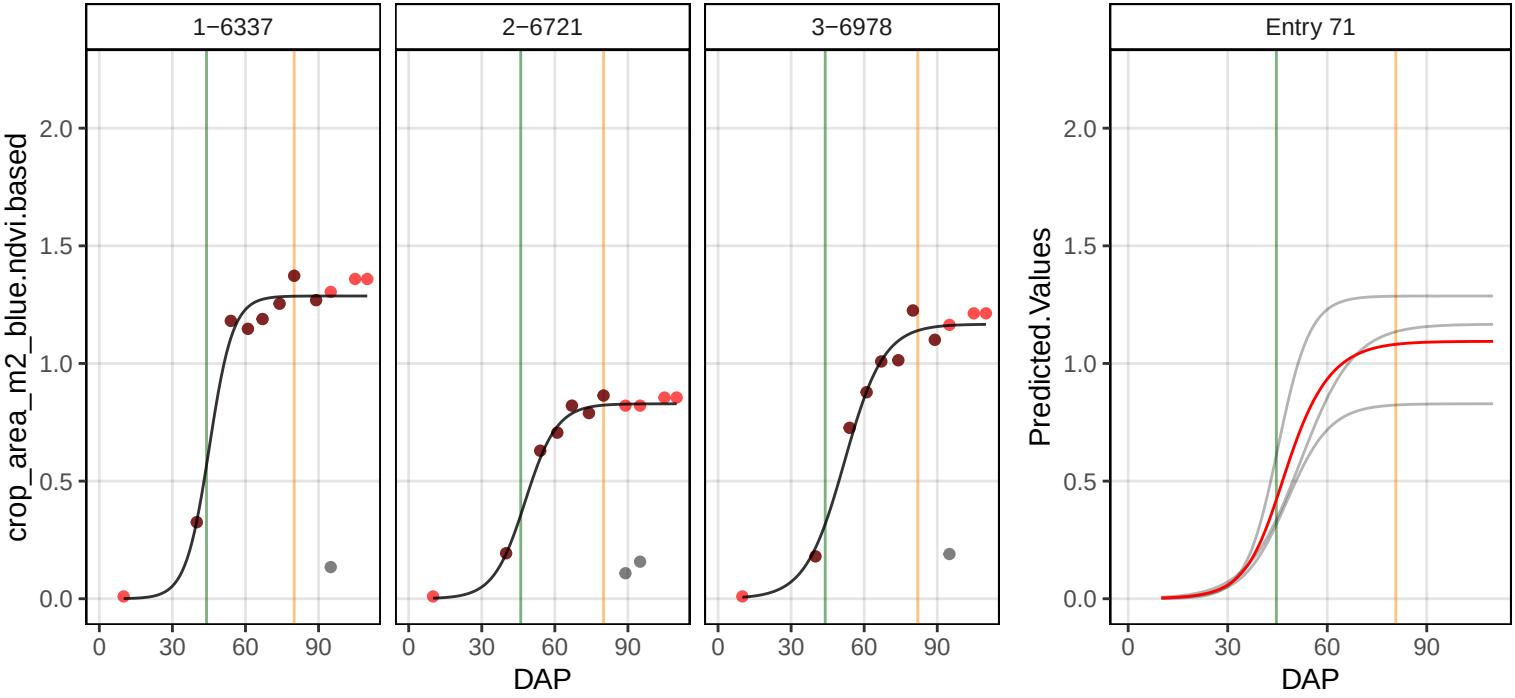

072 | ILL 3347 AGL

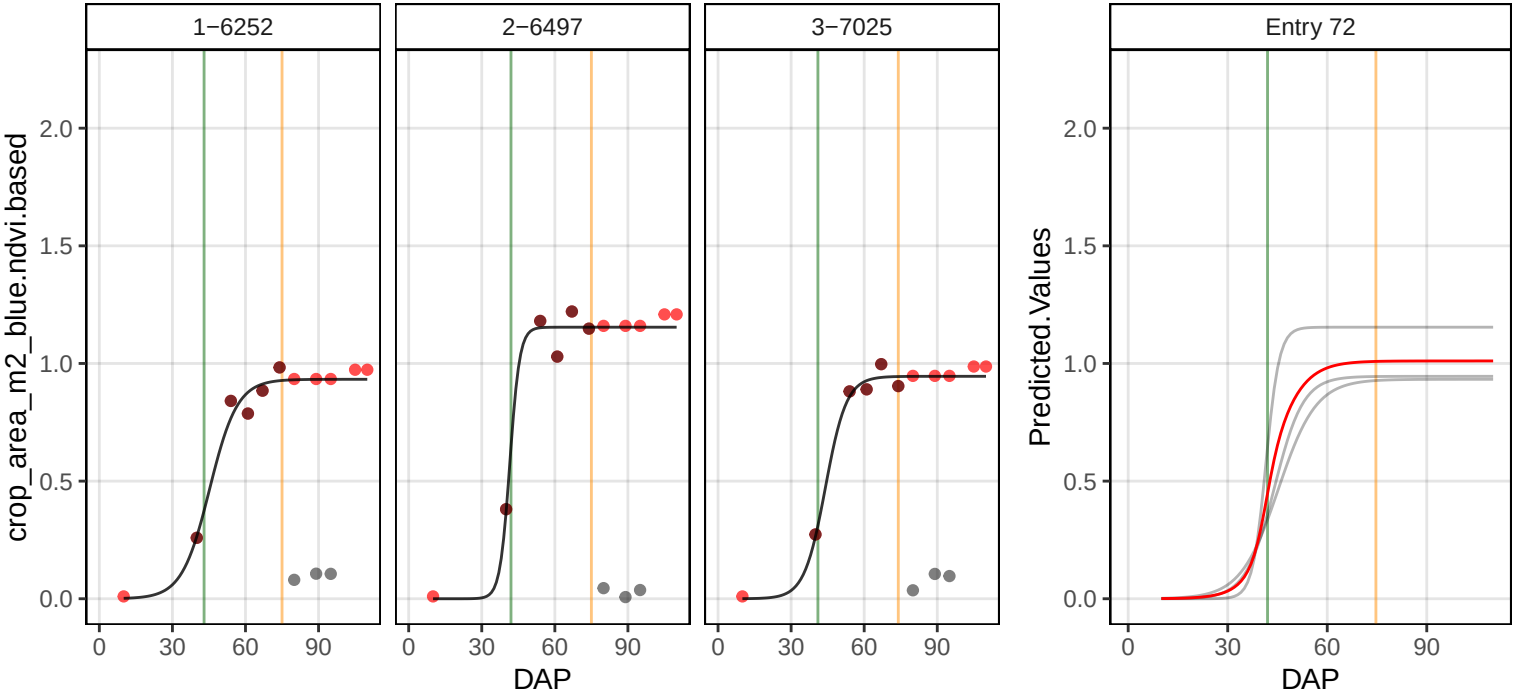

073 | ILL 358 AGL

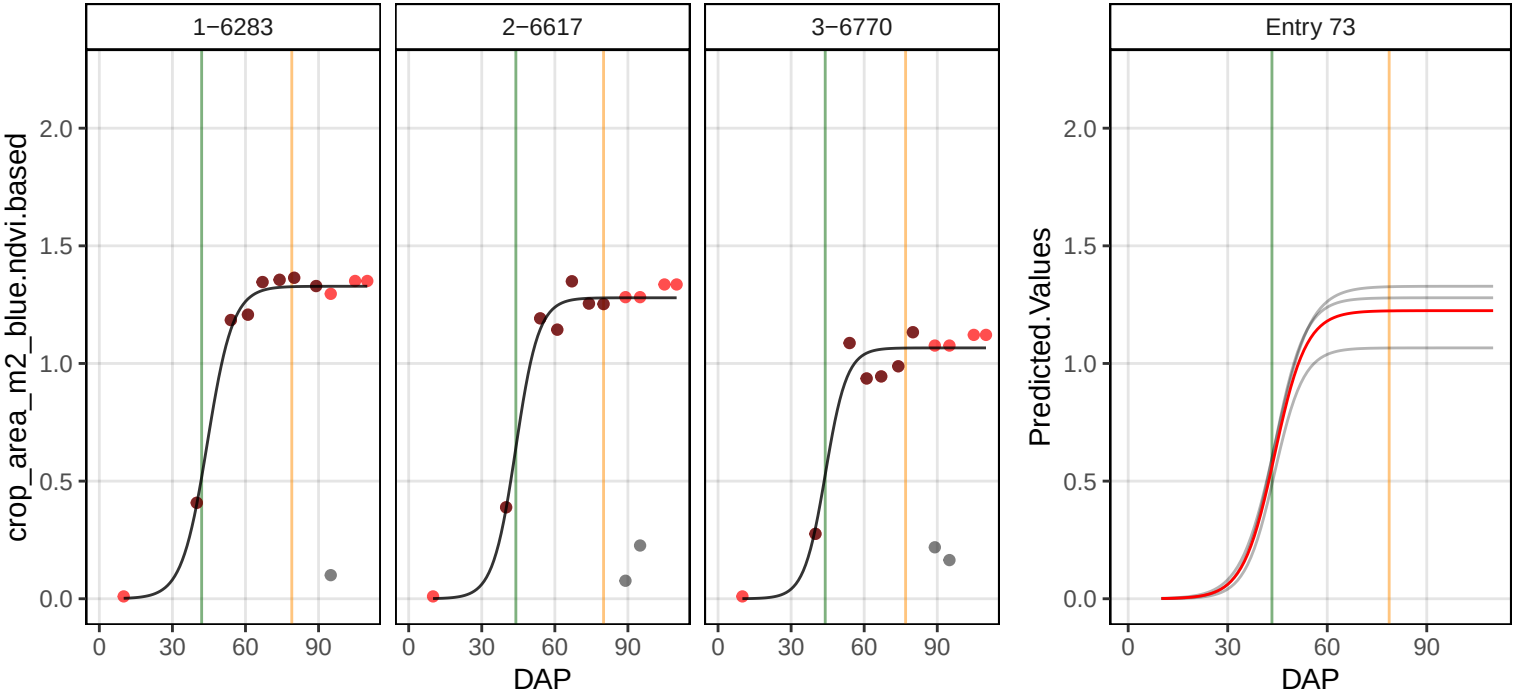

074 | ILL 3597 AGL

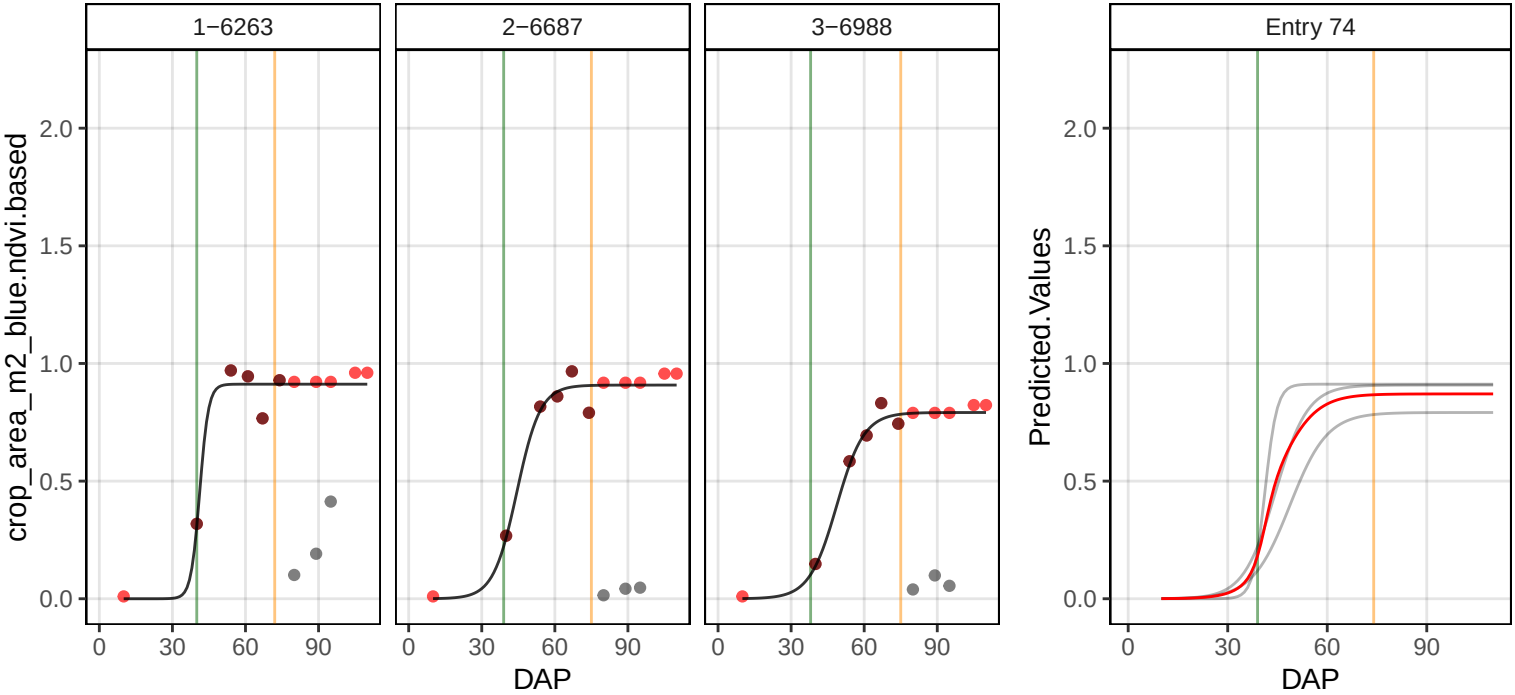

075 | ILL 4164 AGL

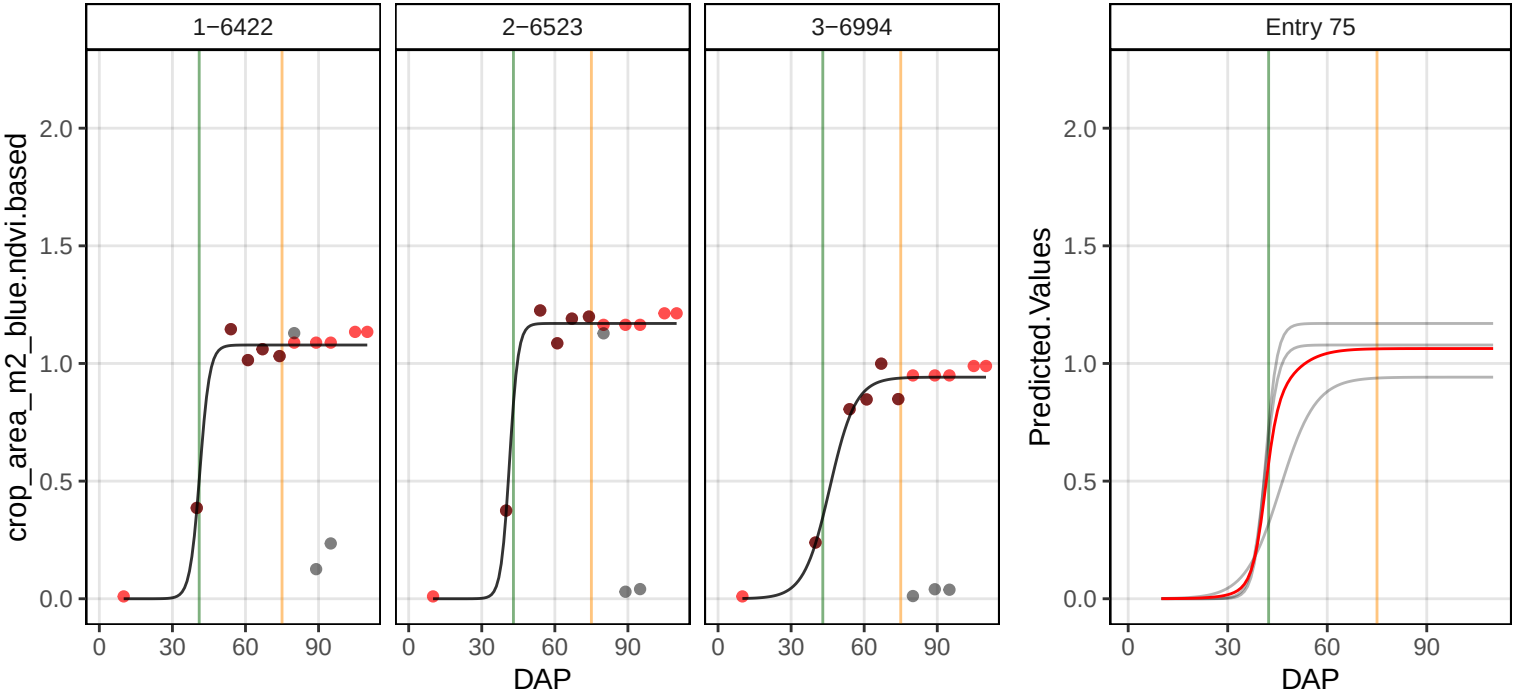

076 | ILL 4400 AGL

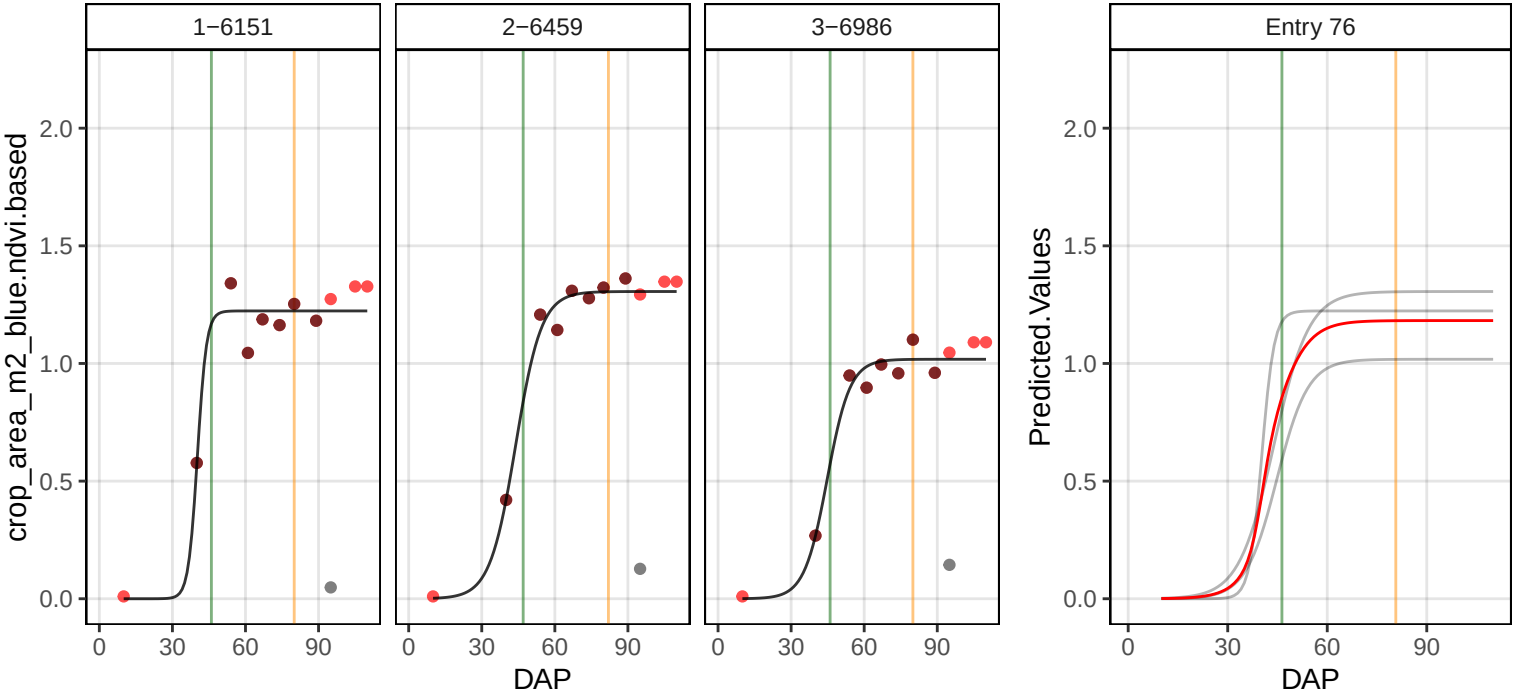

077 | ILL 4605 AGL

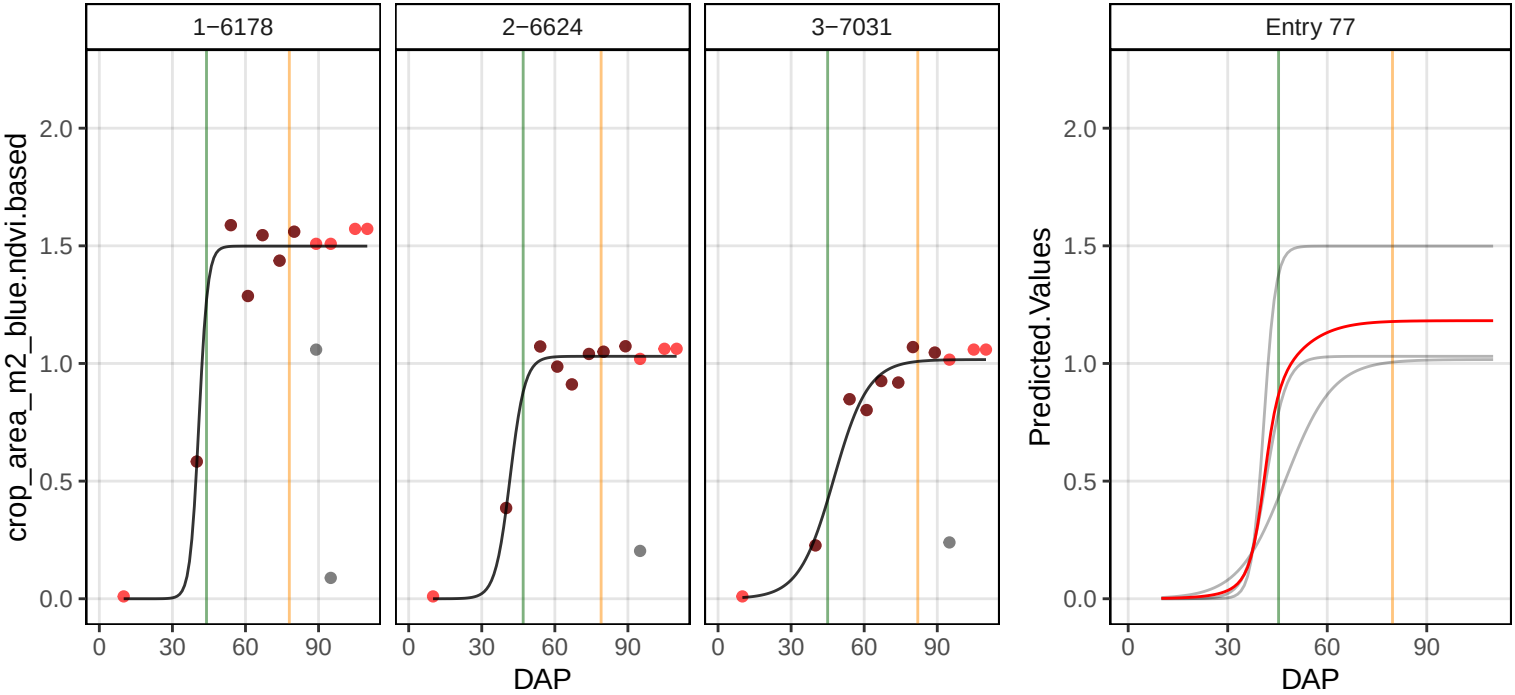

078 | ILL 4609 AGL

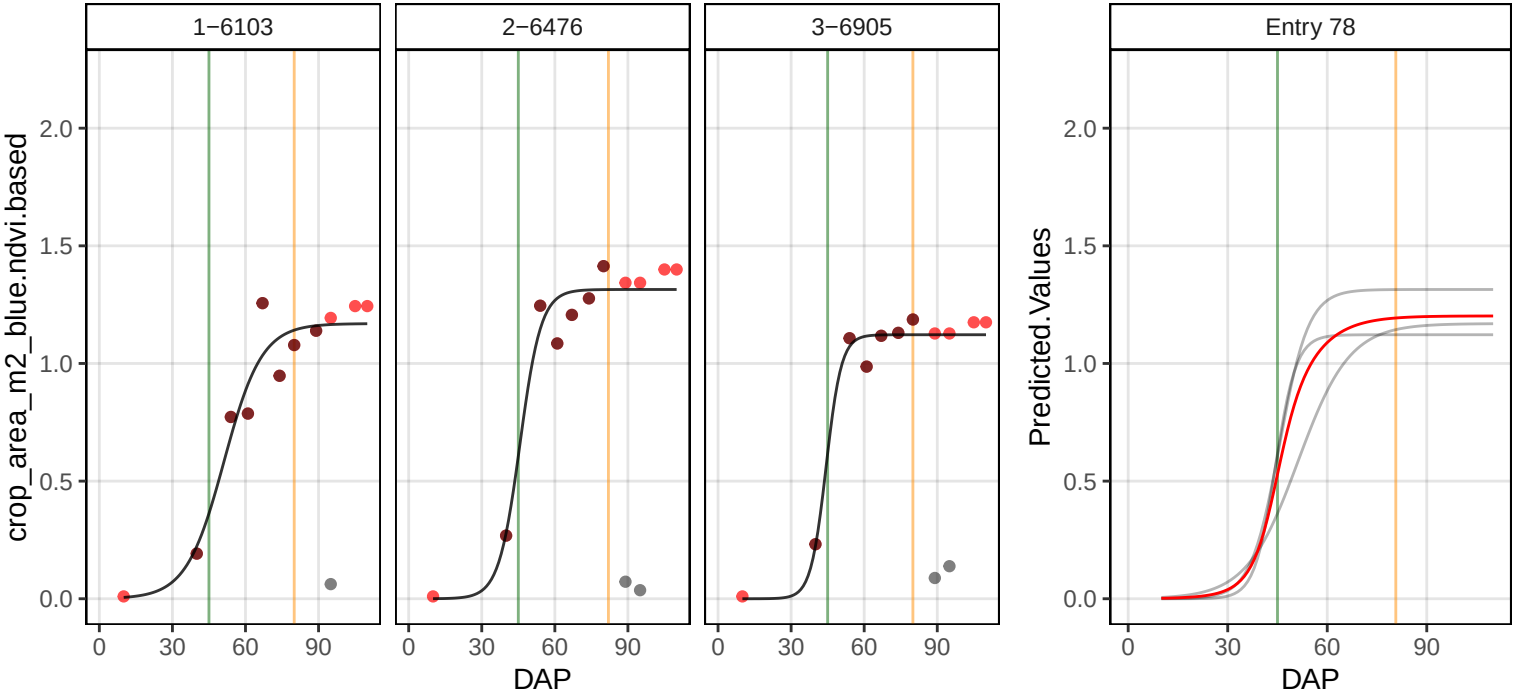

079 | ILL 4665 AGL

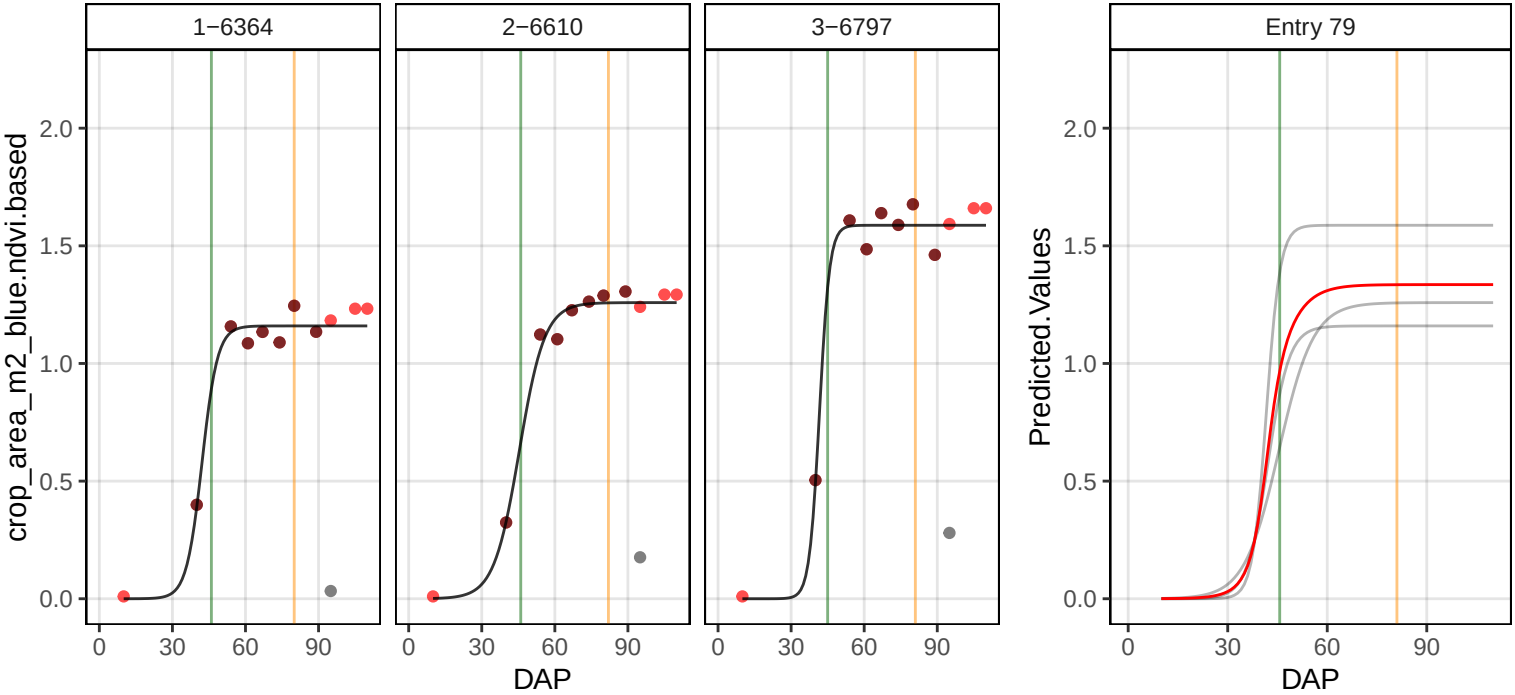

080 | ILL 4671 AGL

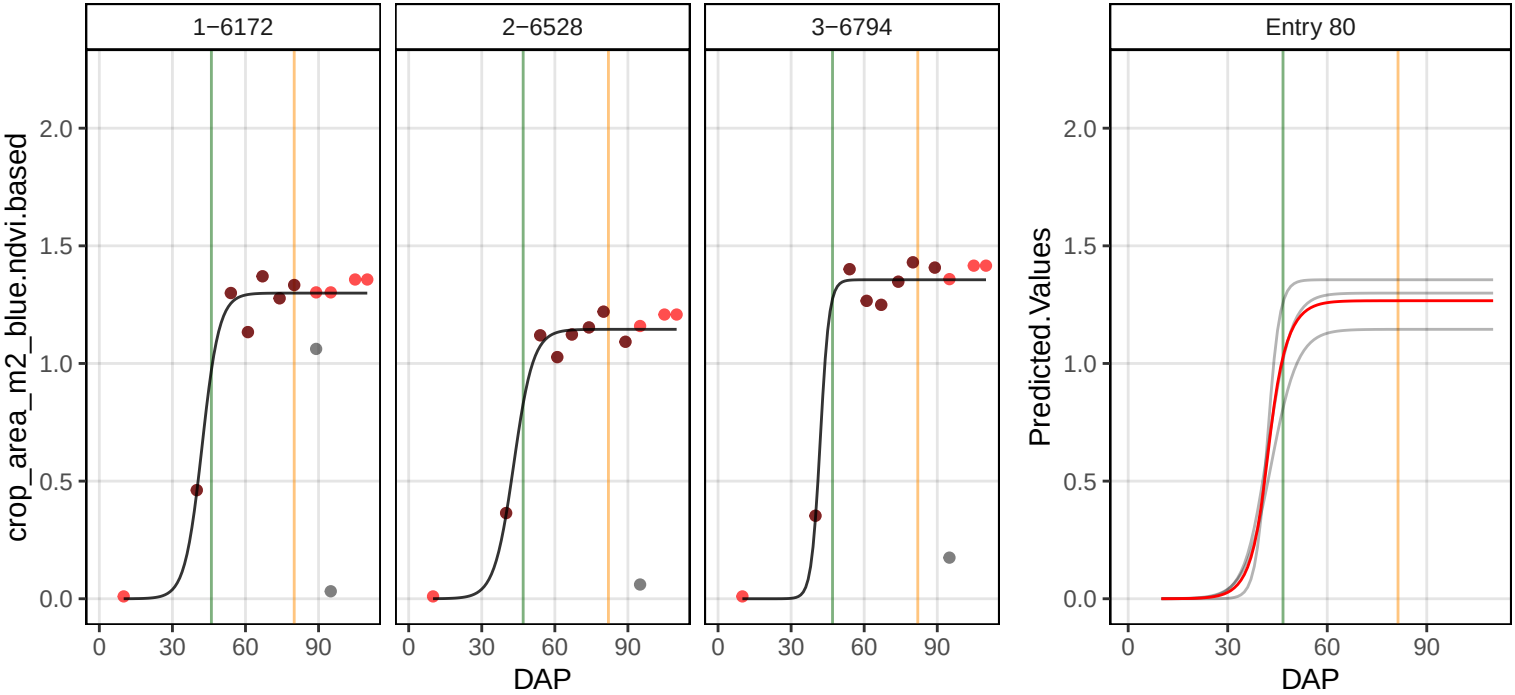

081 | ILL 4768 AGL

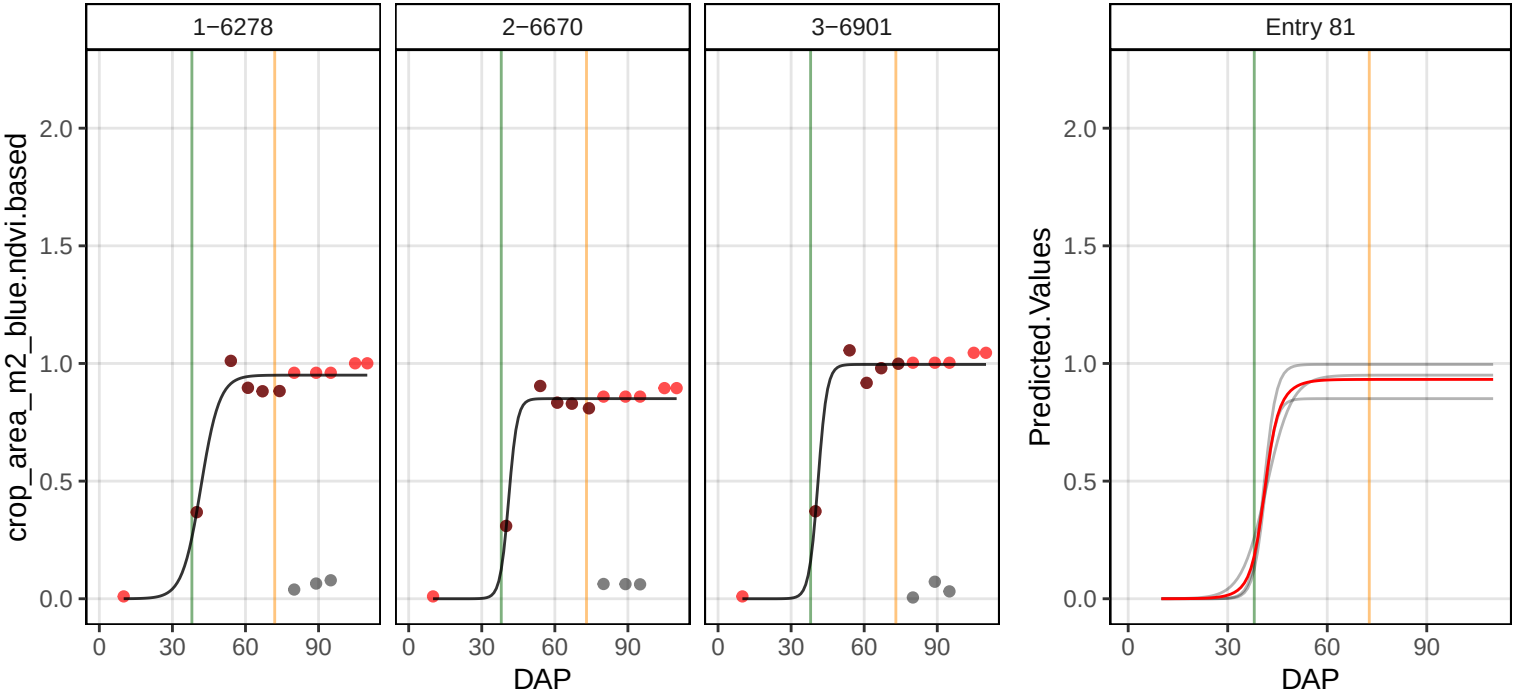

082 | ILL 4782 AGL

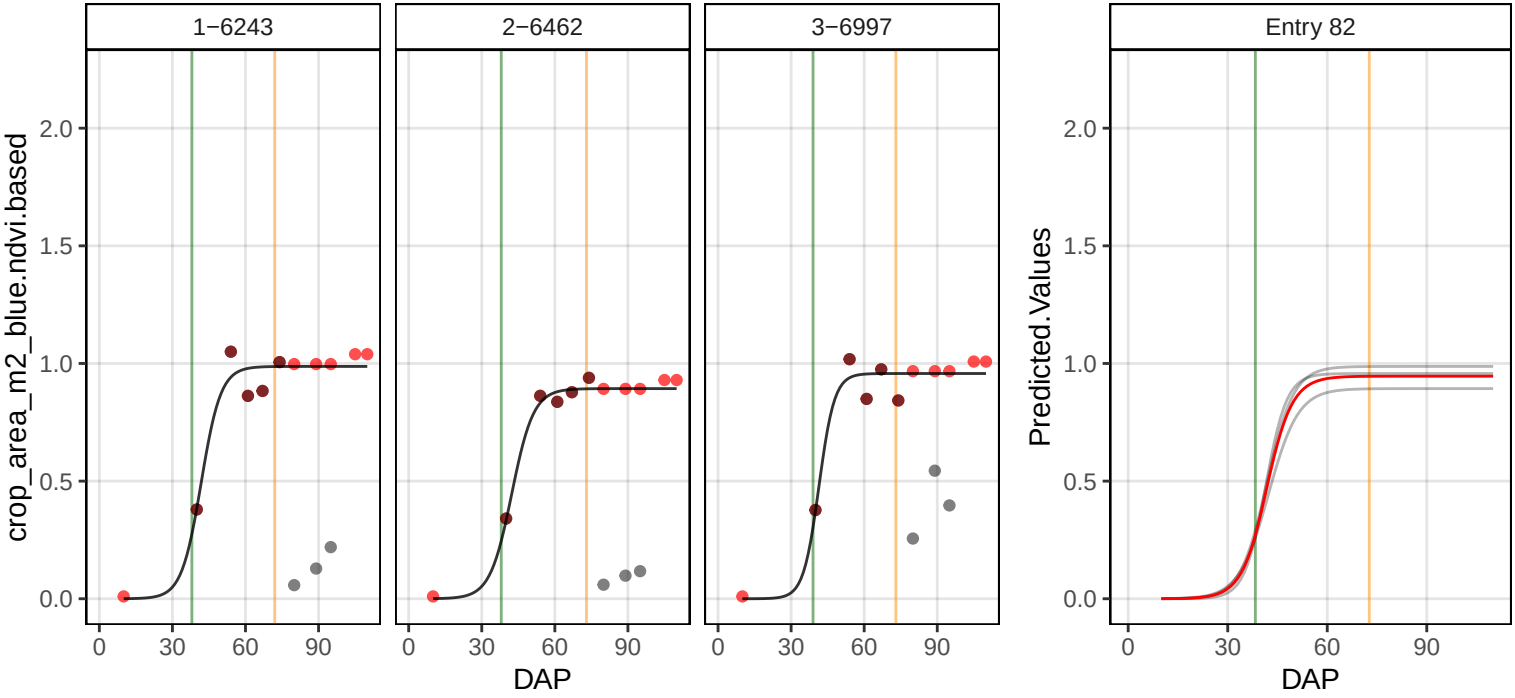

083 | ILL 4783 AGL

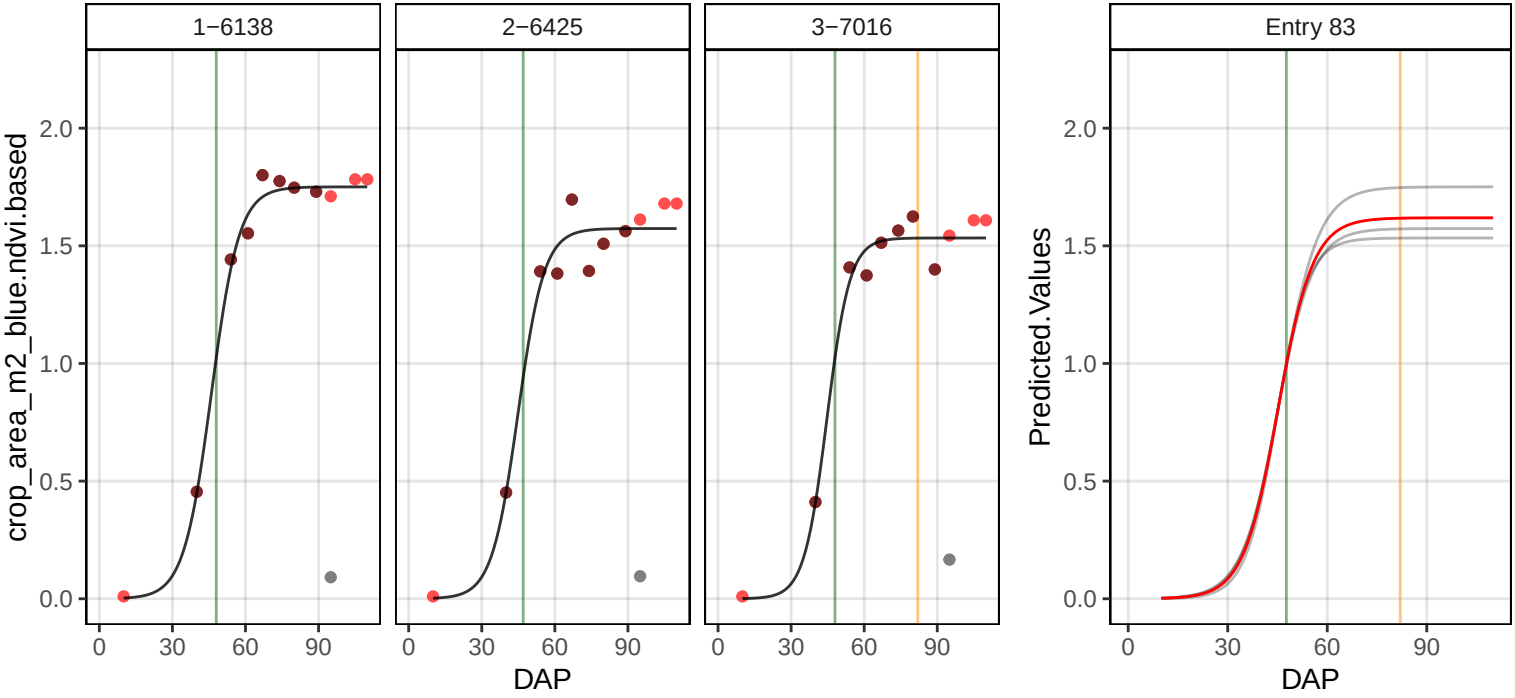

084 | ILL 4804 AGL

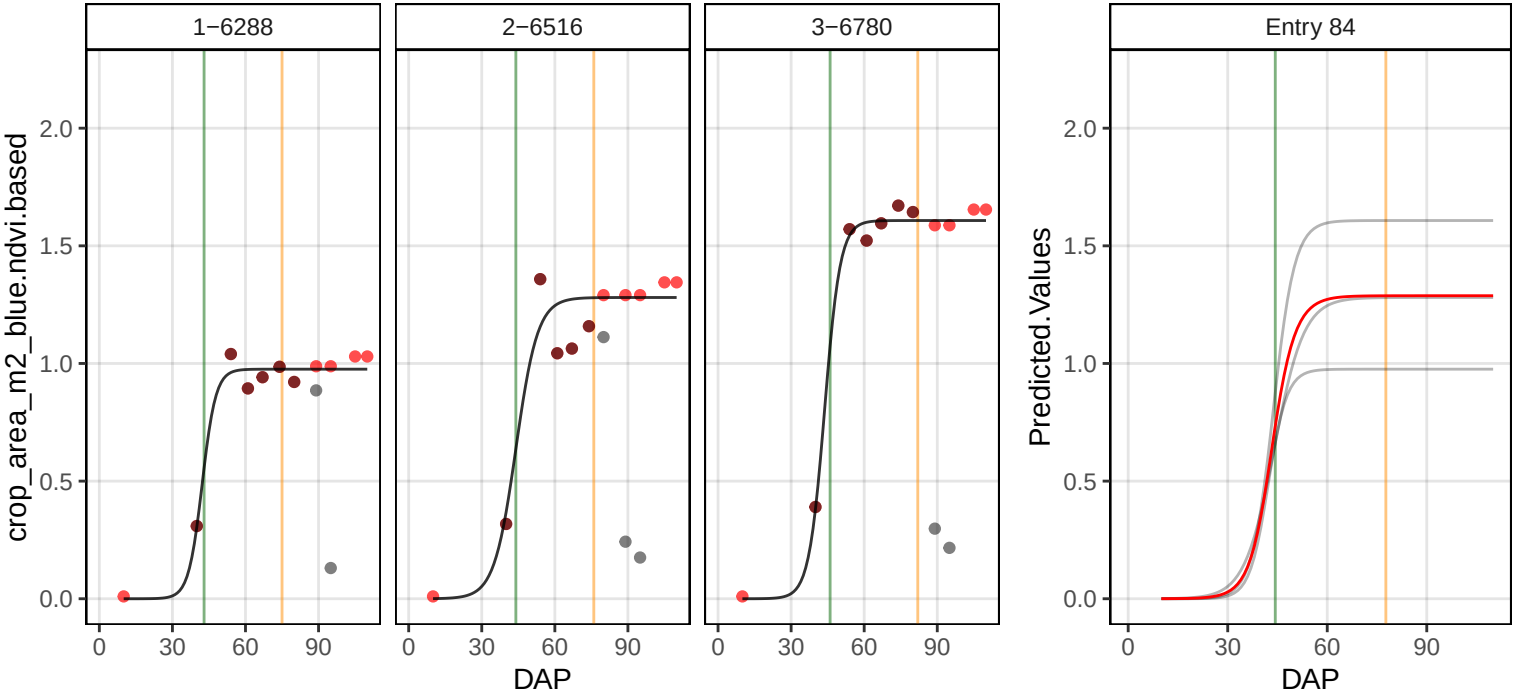

085 | ILL 4875 AGL

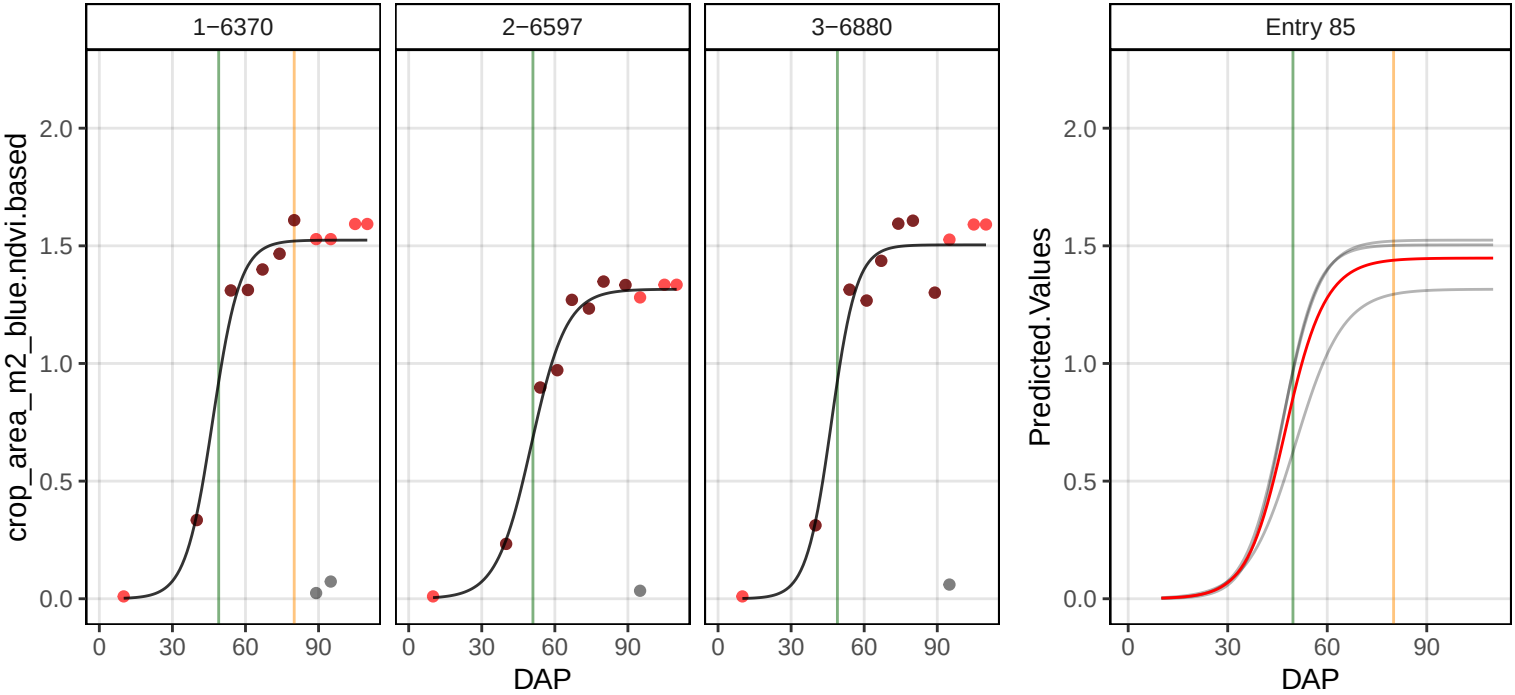

086 | ILL 4956 AGL

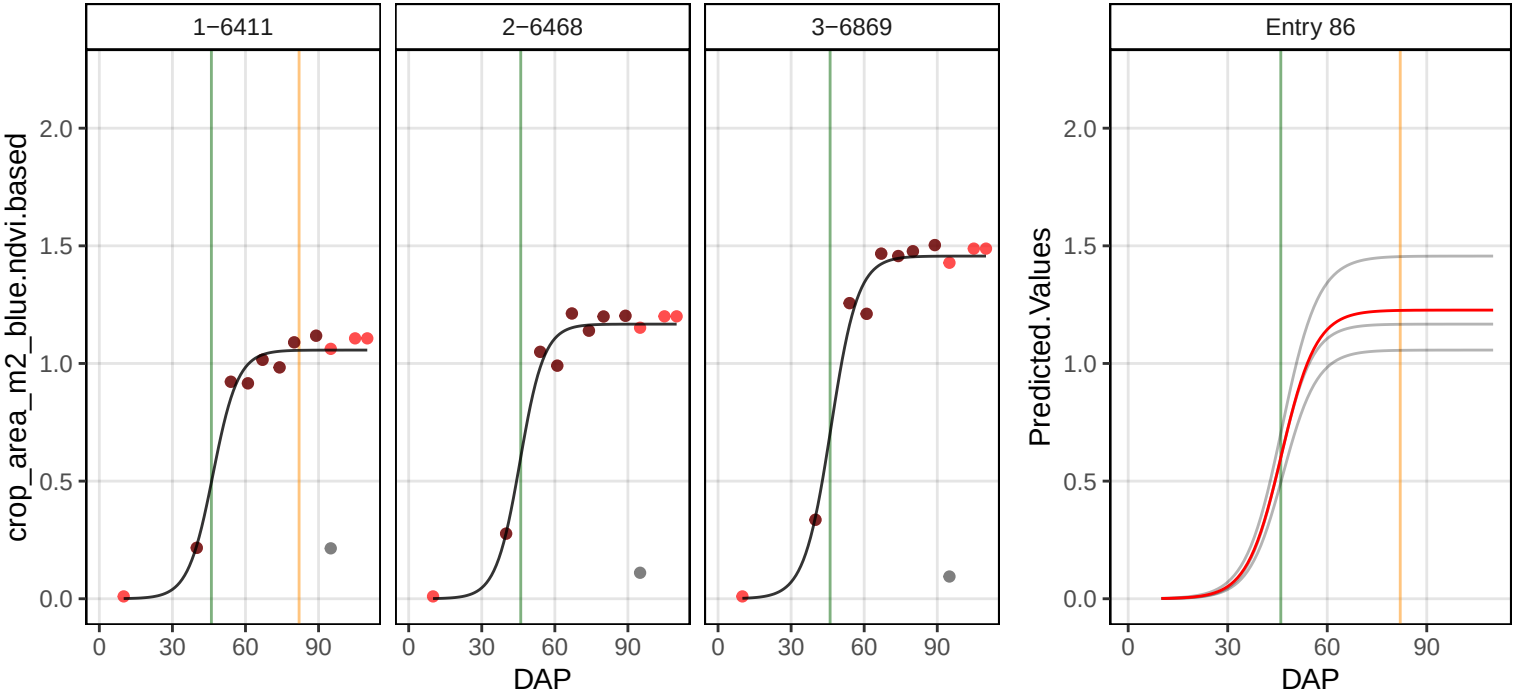

087 | ILL 5058 AGL

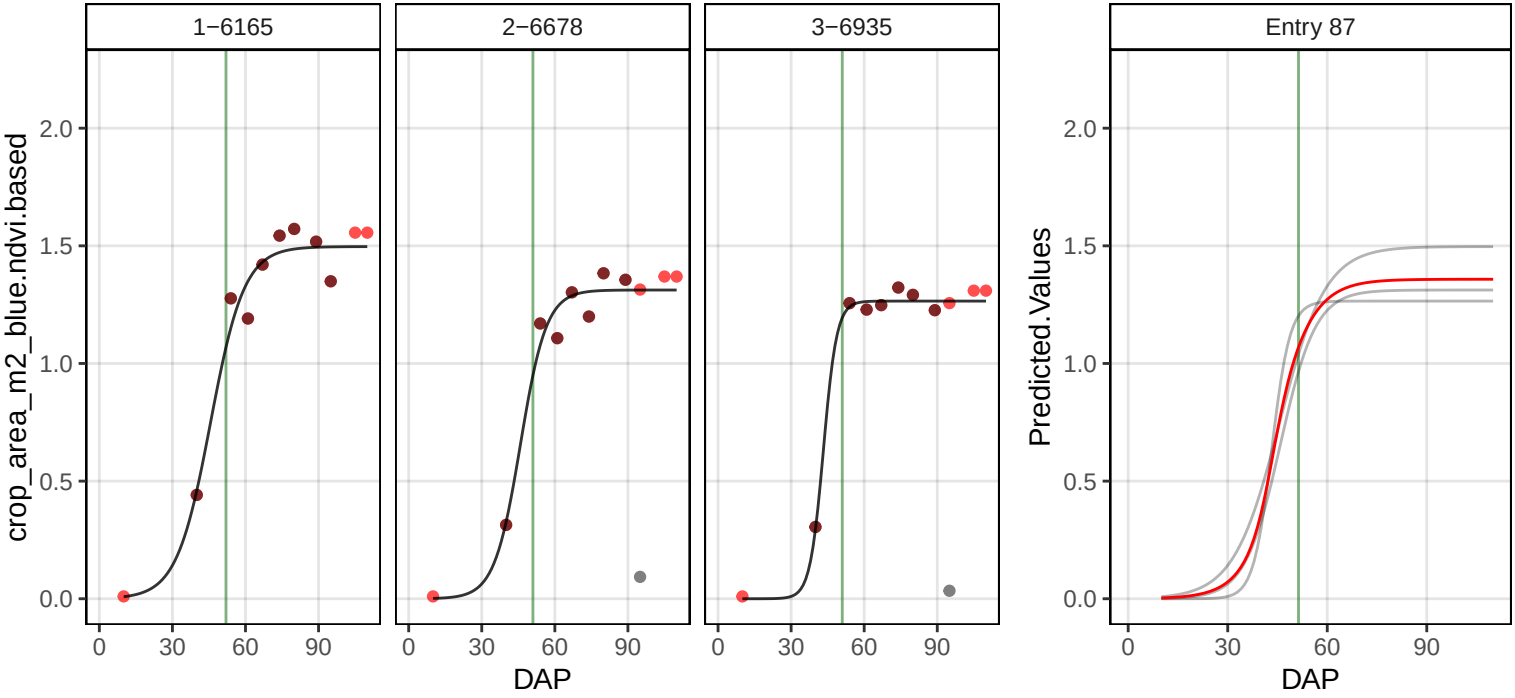

088 | ILL 5151 AGL

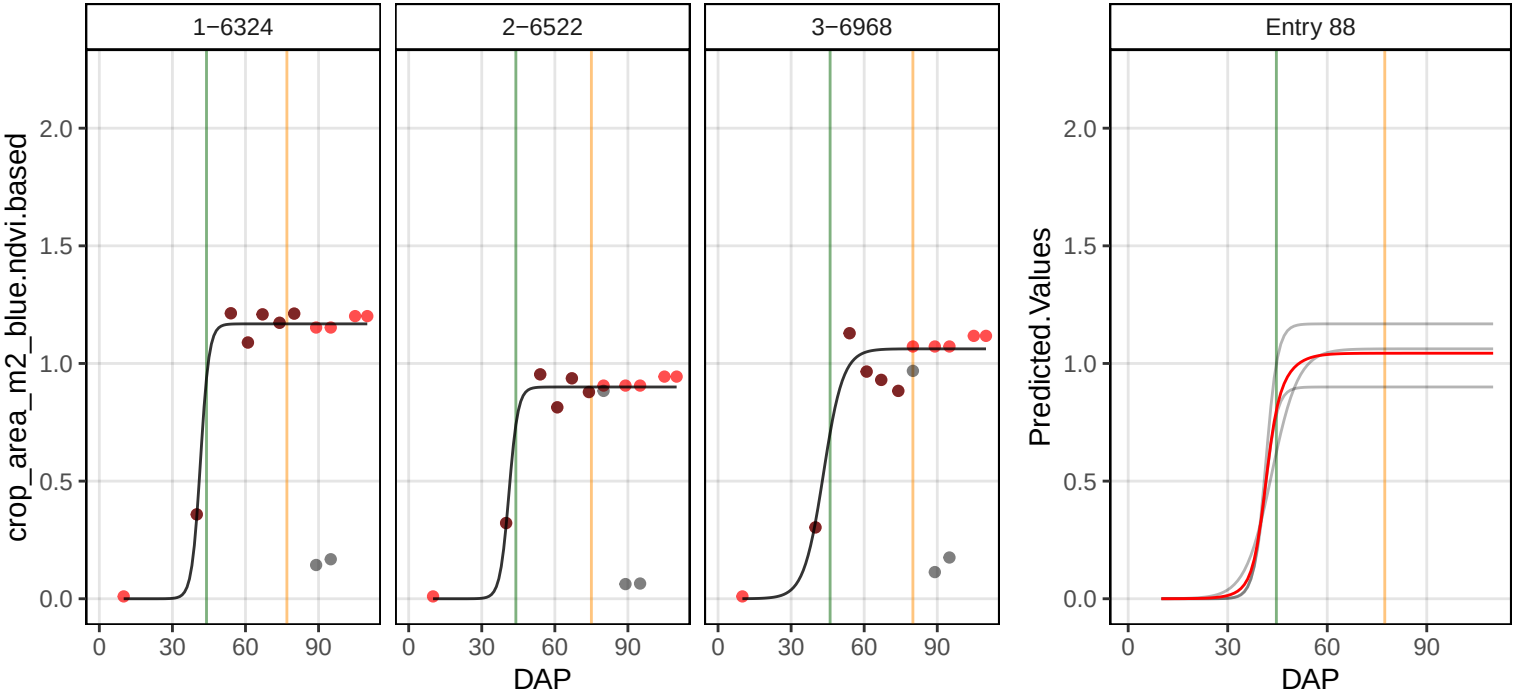

089 | ILL 5209 AGL

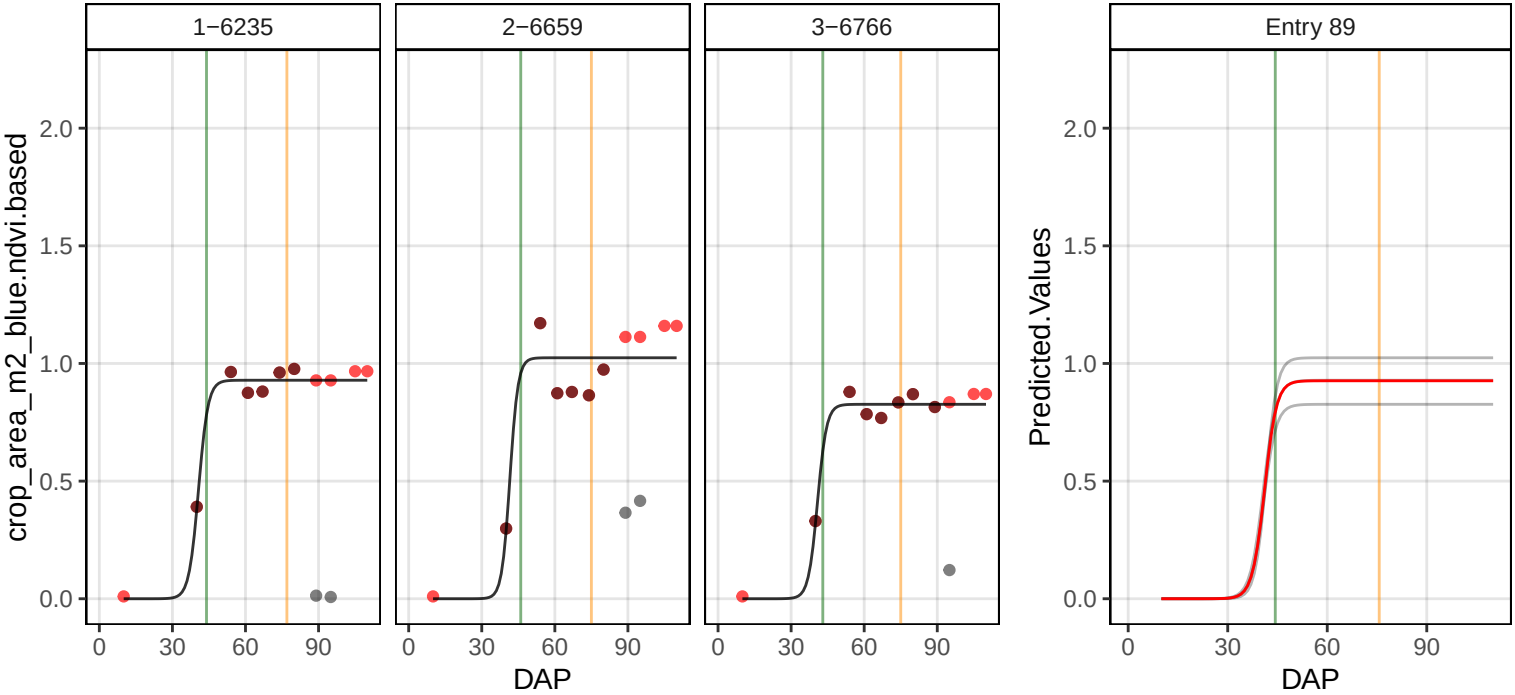

090 | ILL 5480 AGL

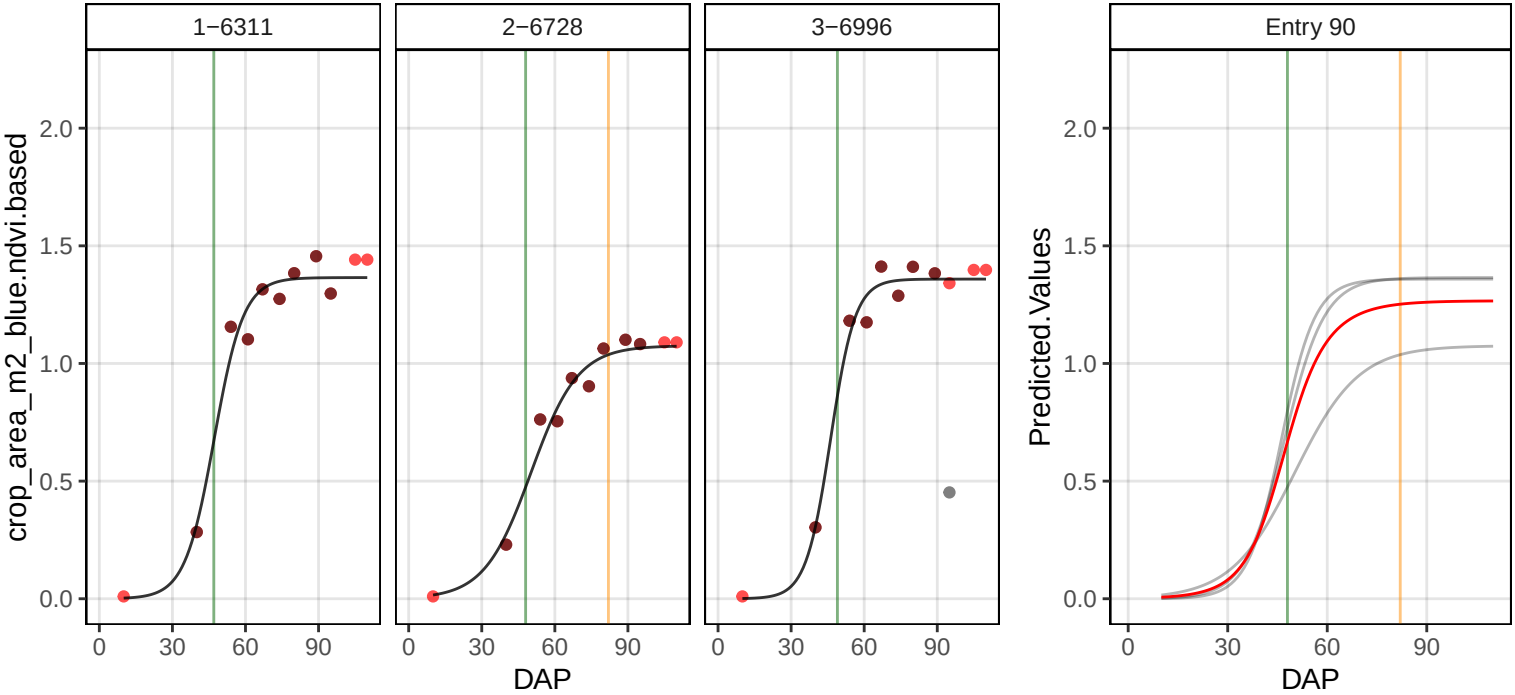

091 | ILL 5639 AGL

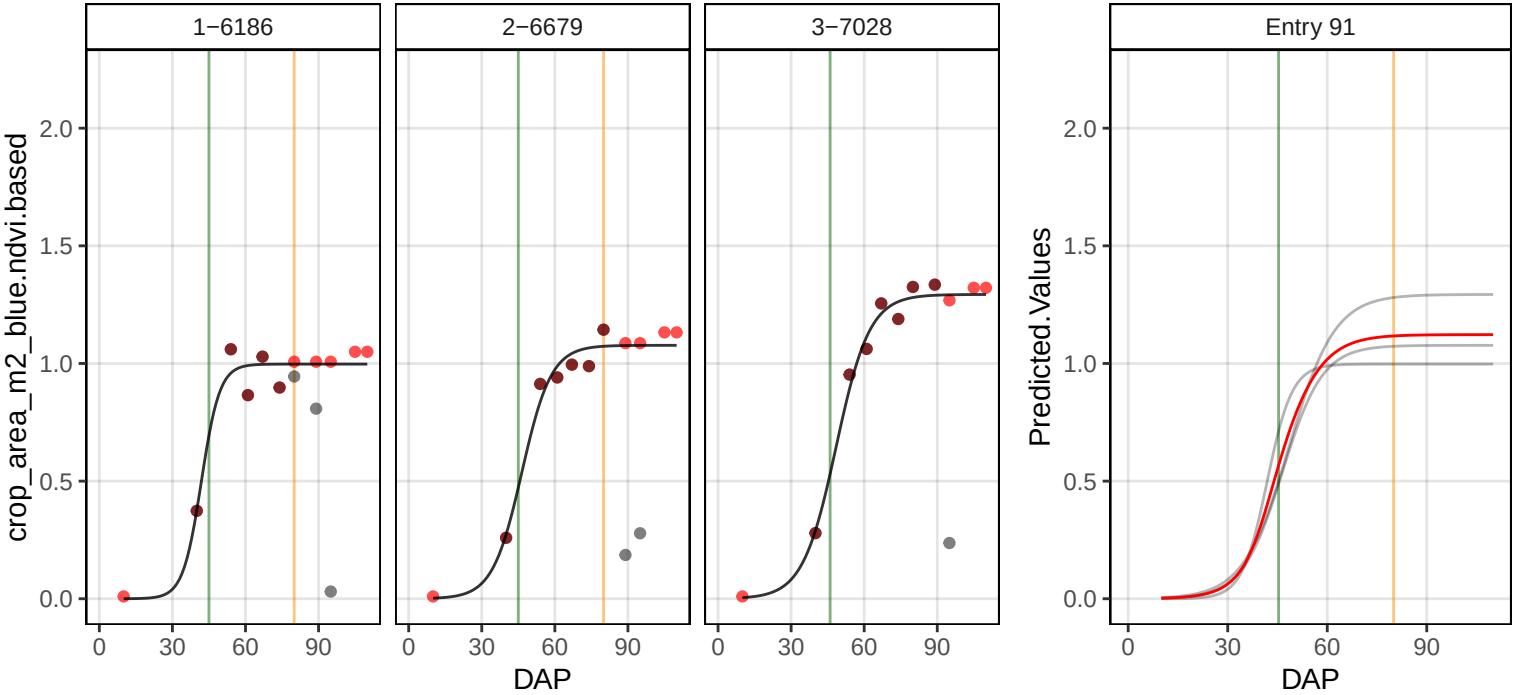

092 | ILL 5722 AGL

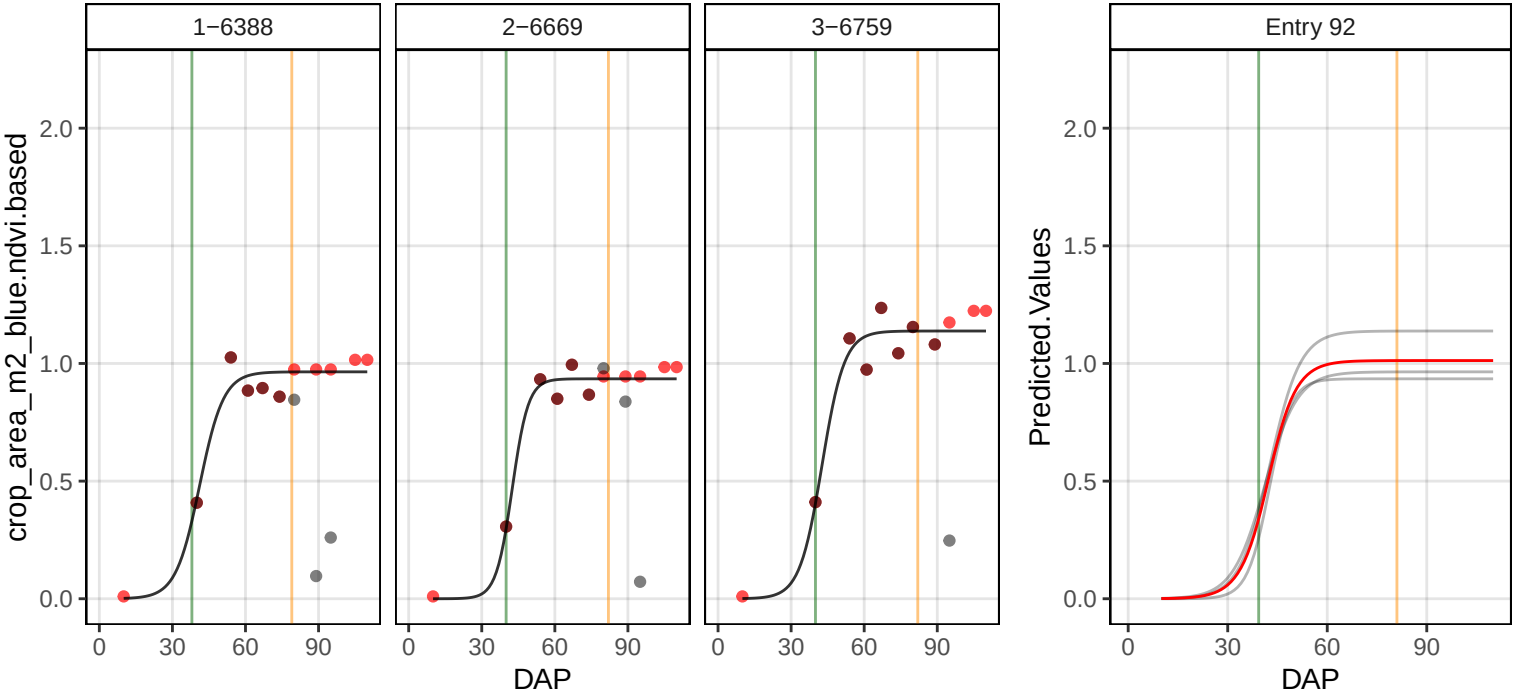

093 | ILL 5883 AGL

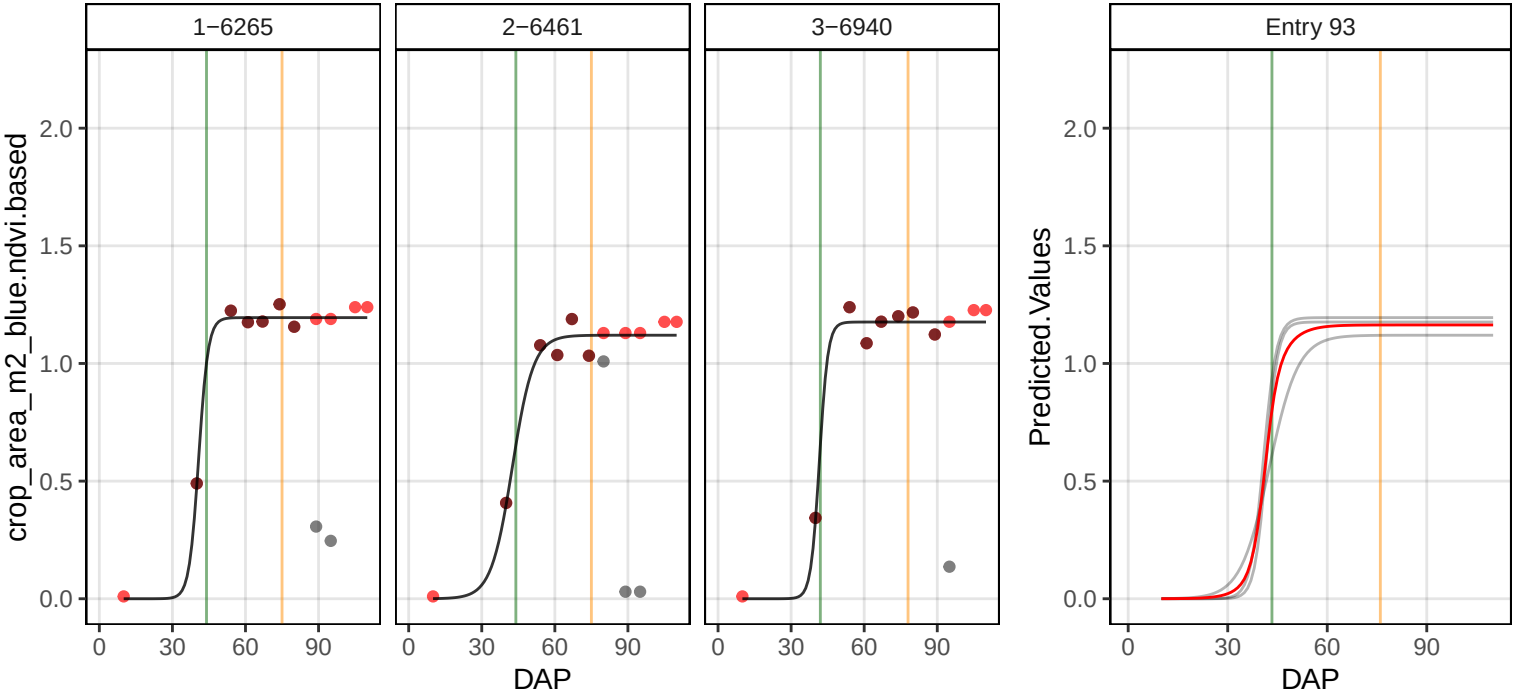

094 | ILL 5888 AGL

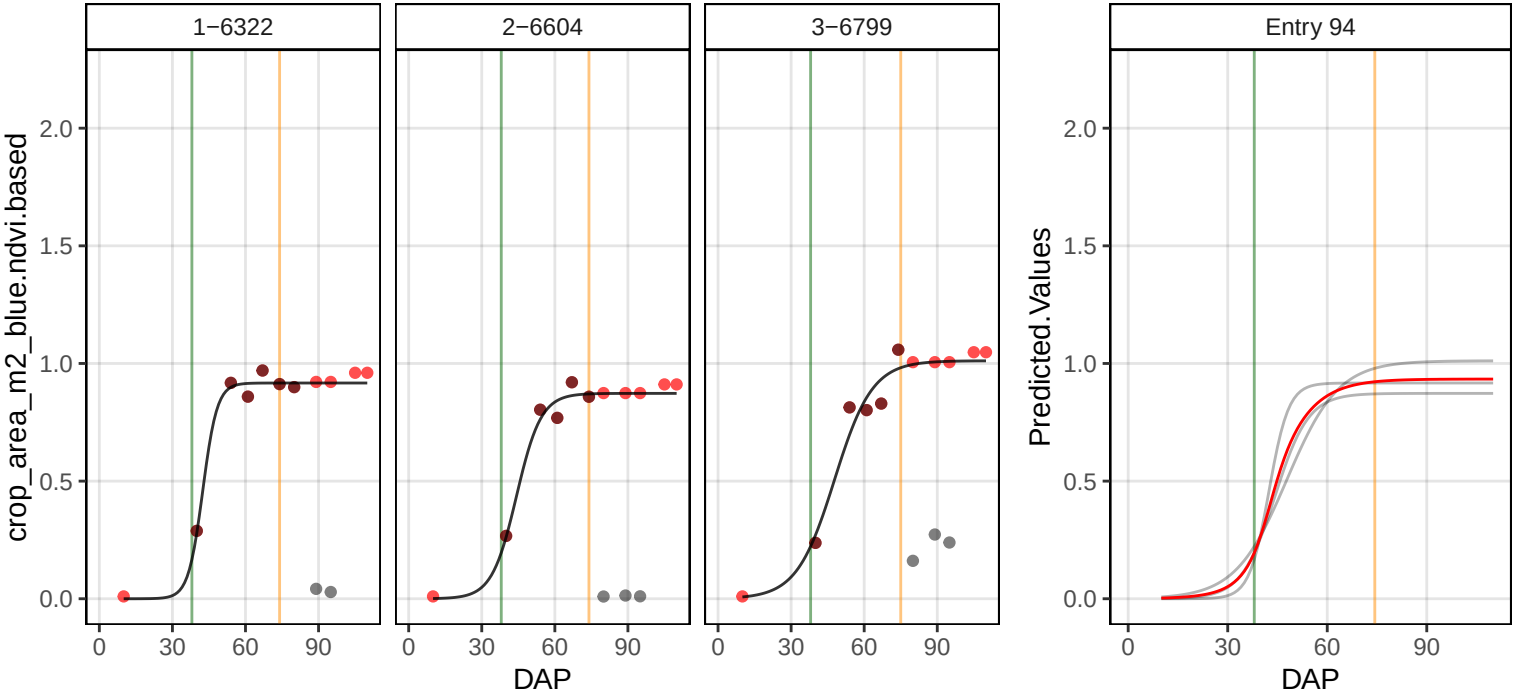

095 | ILL 5945 AGL

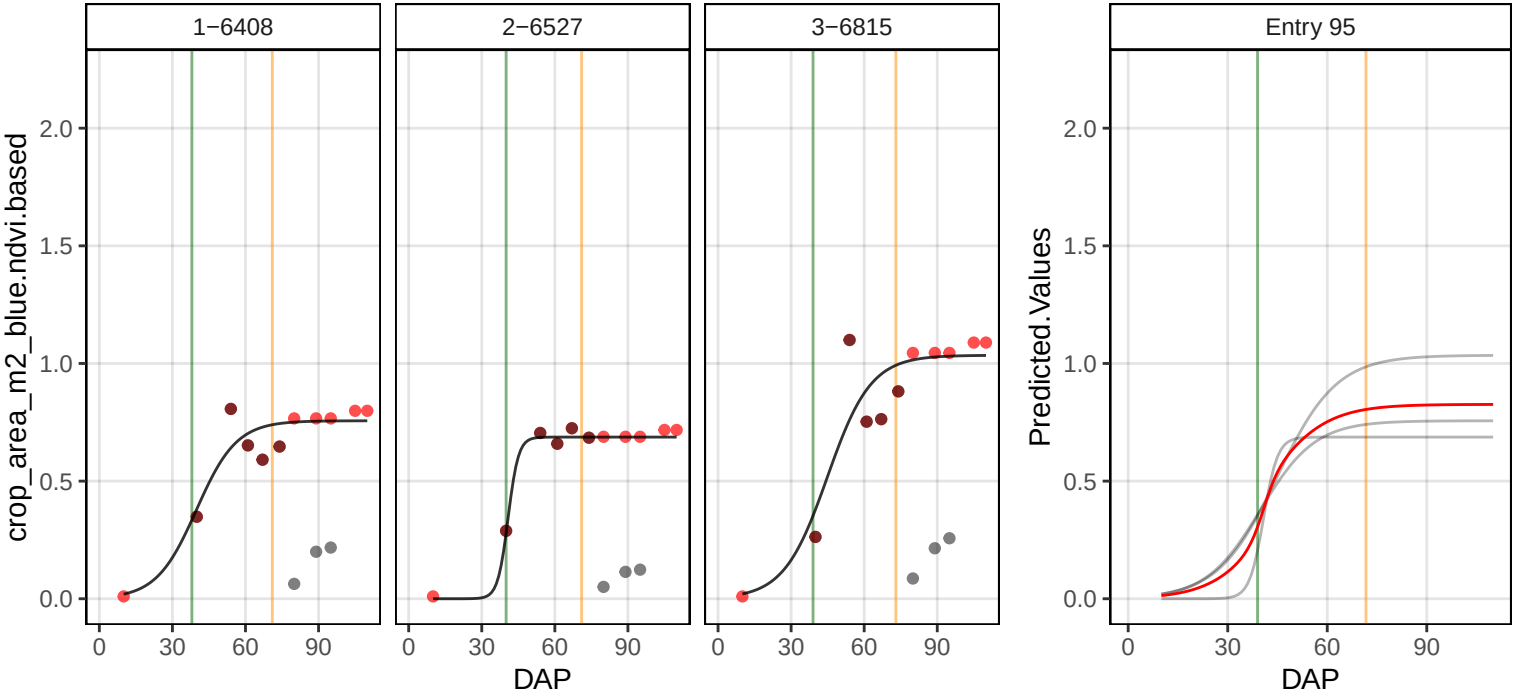

096 | ILL 6002 AGL

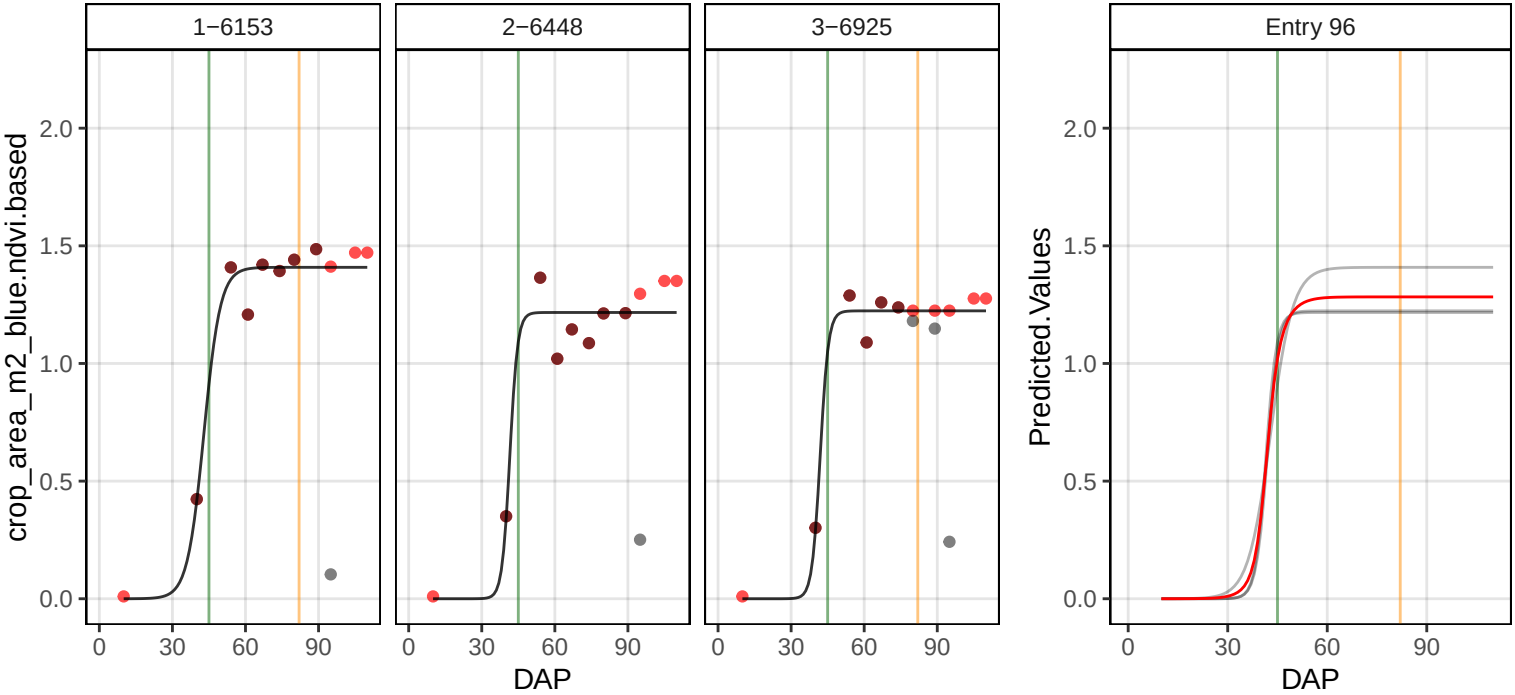

097 | ILL 618 AGL

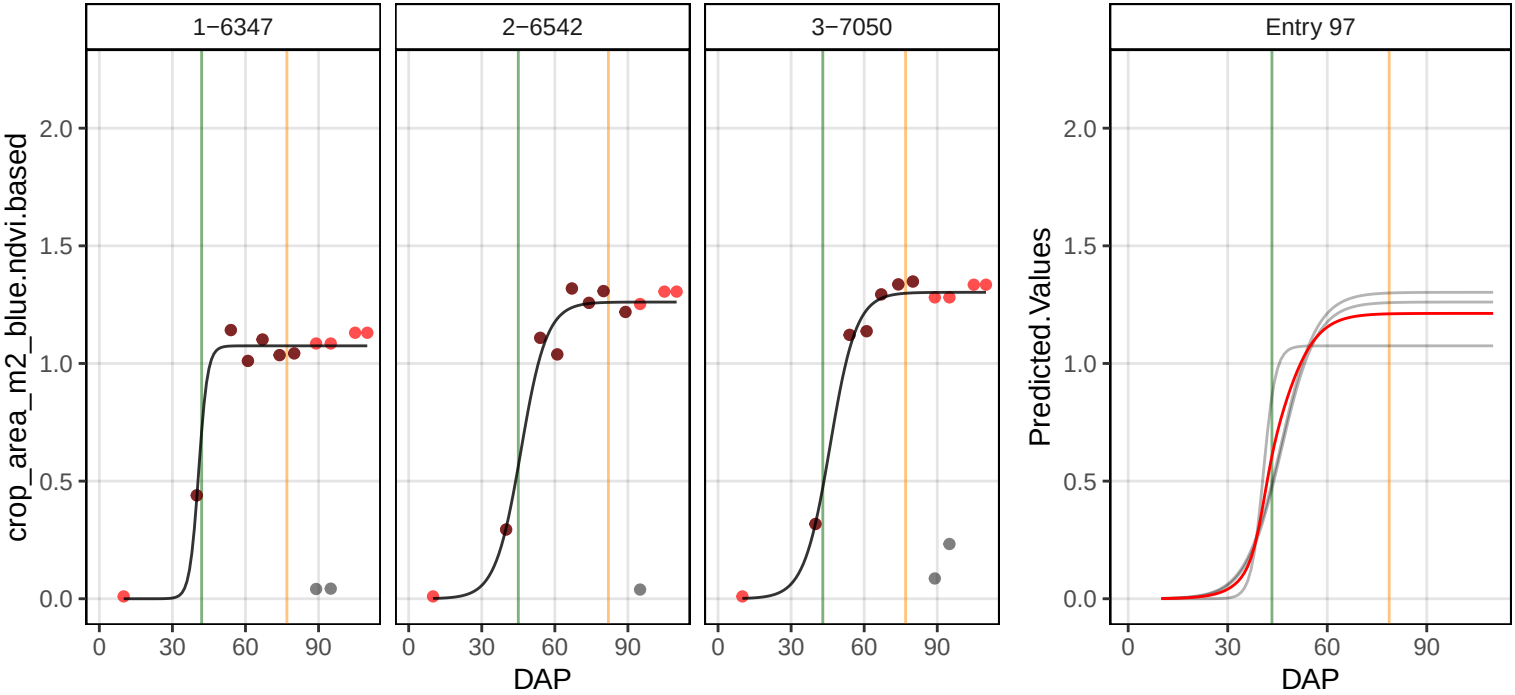

098 | ILL 6182 AGL

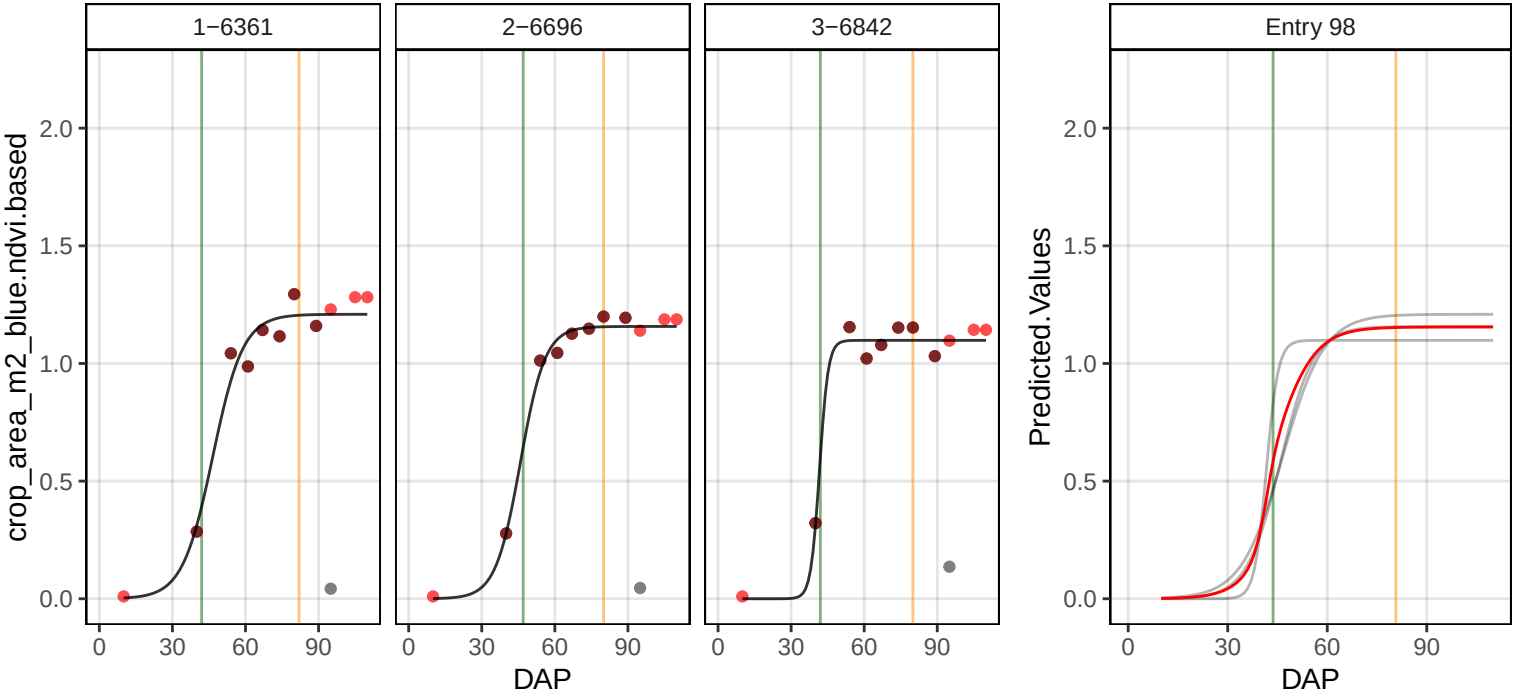

099 | ILL 6211 AGL

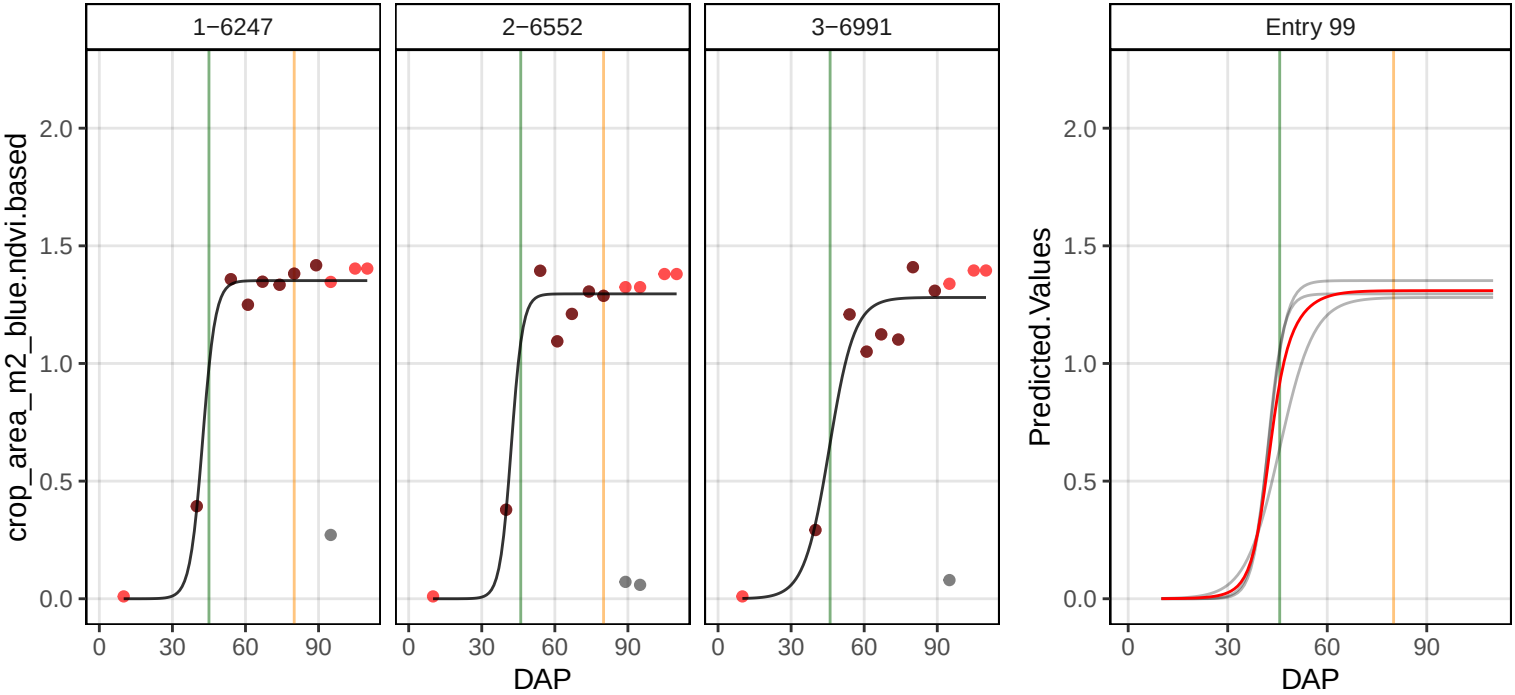

100 | ILL 624 AGL

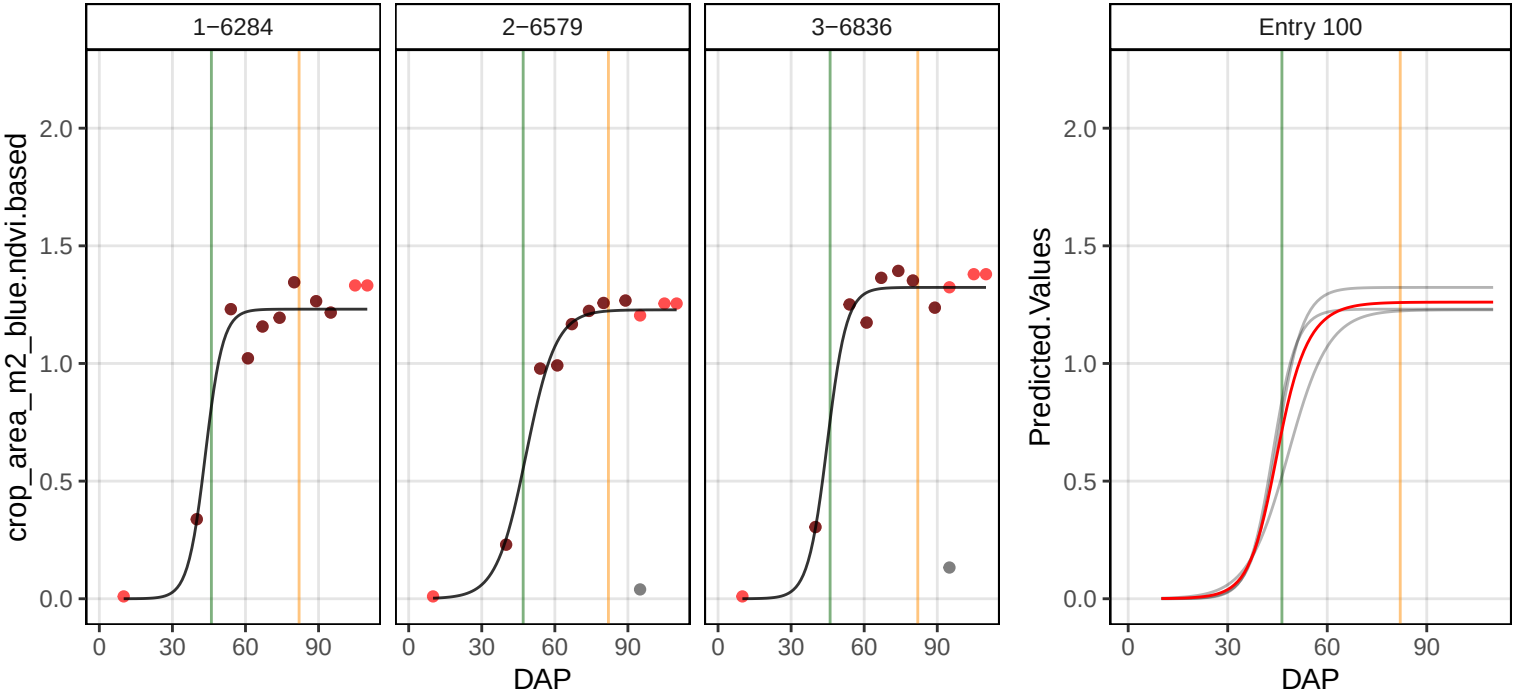

101 | ILL 6821 AGL

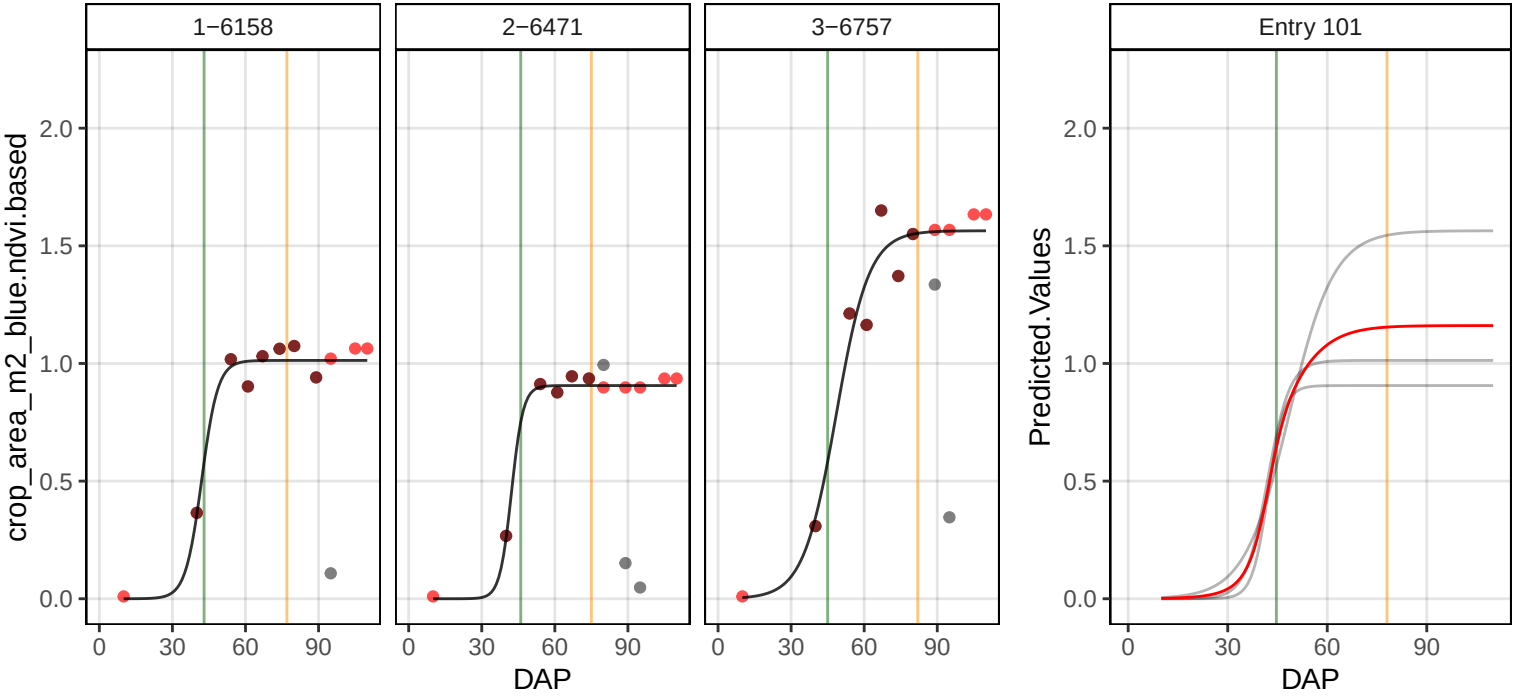

102 | ILL 6853 AGL

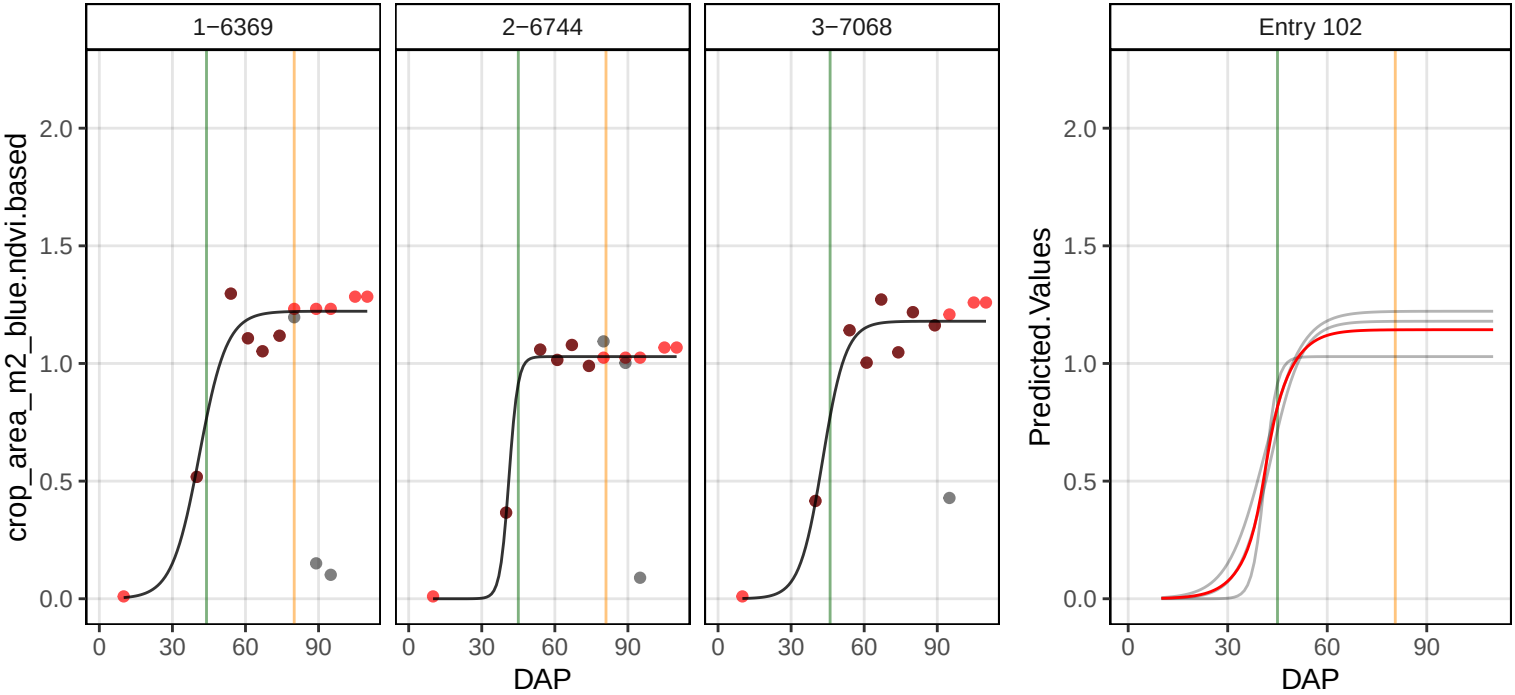

103 | ILL 7089 AGL

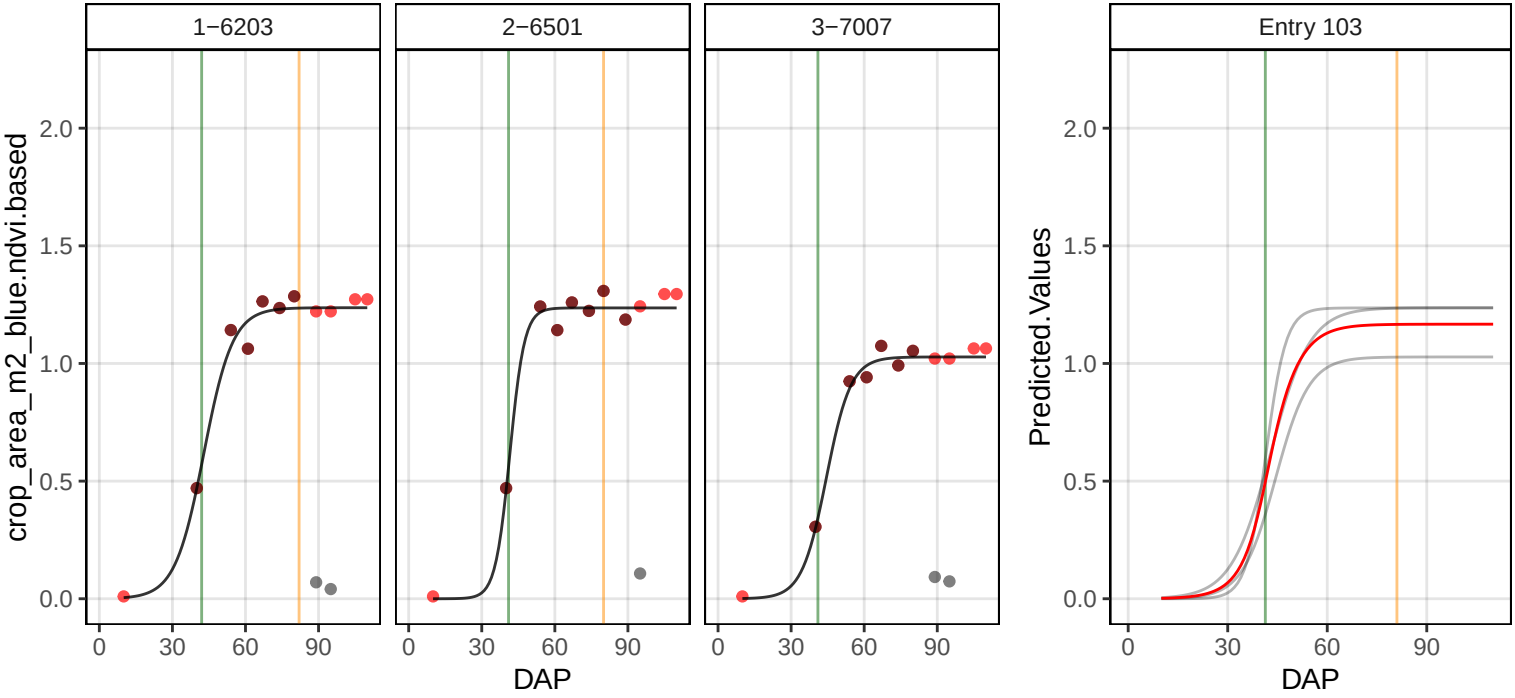

104 | ILL 7558 AGL

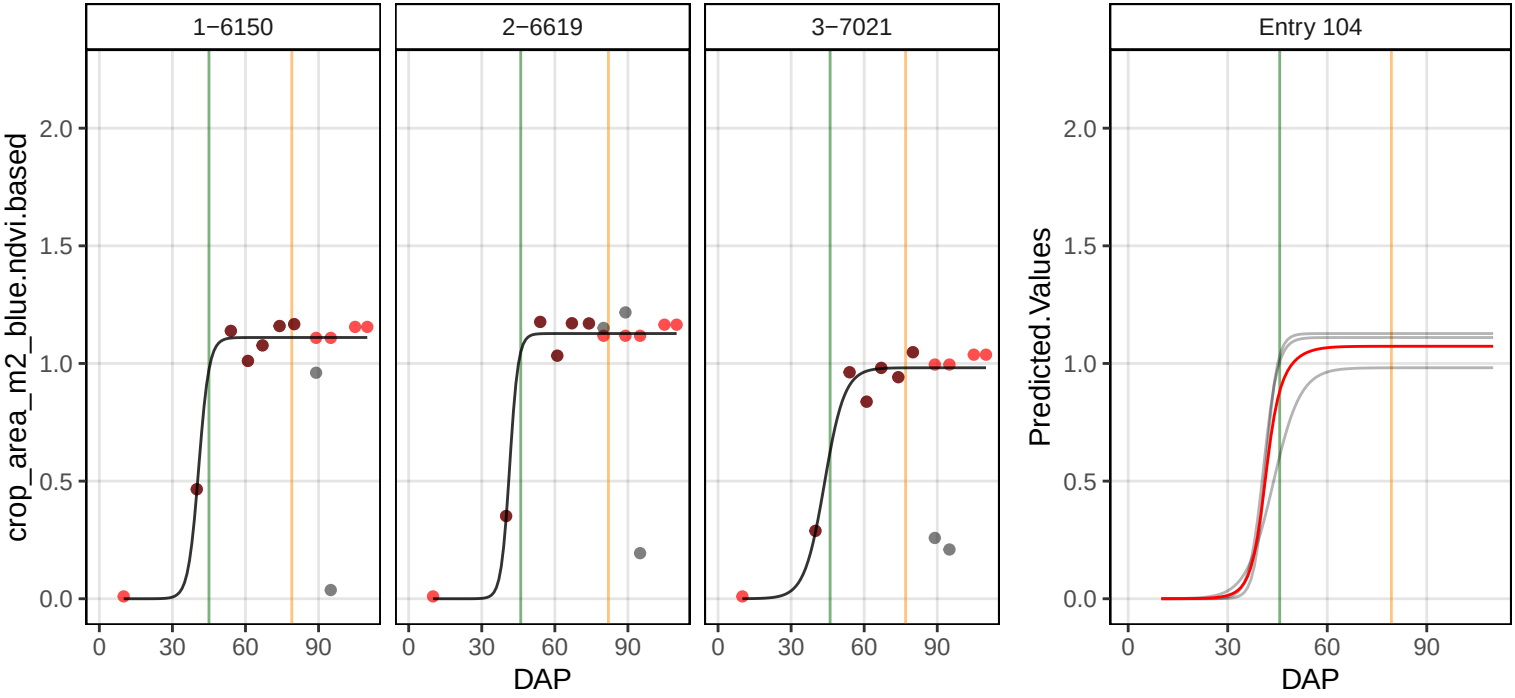

105 | ILL 7663 AGL

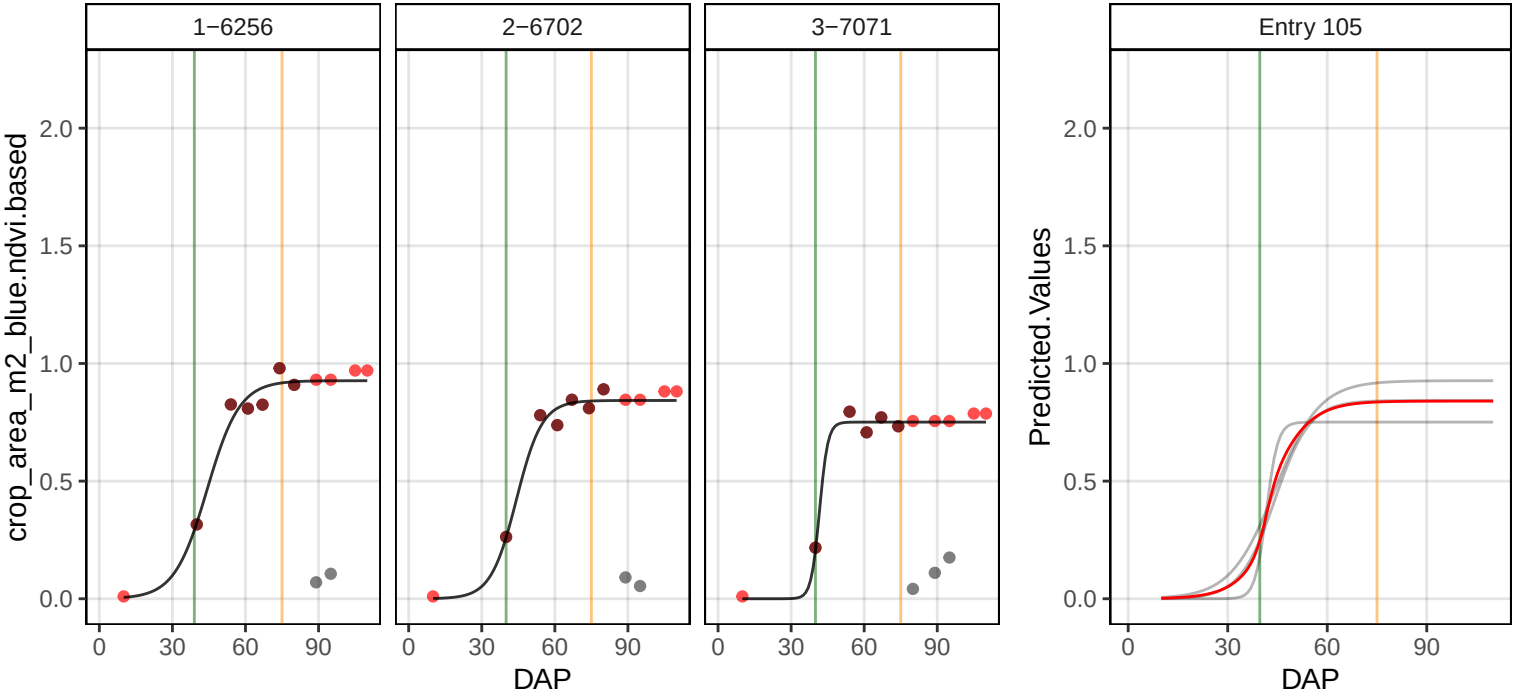

106 | ILL 7668 AGL

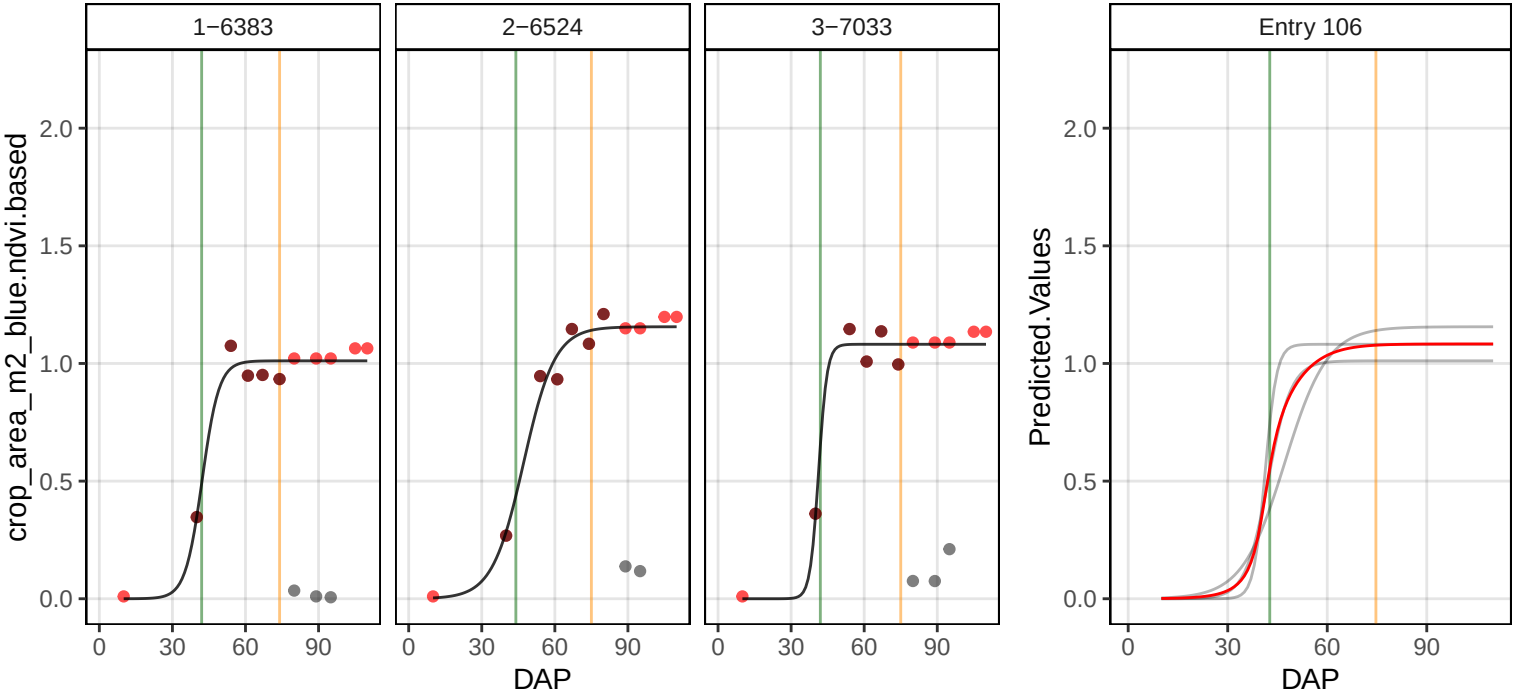

107 | ILL 7716 AGL

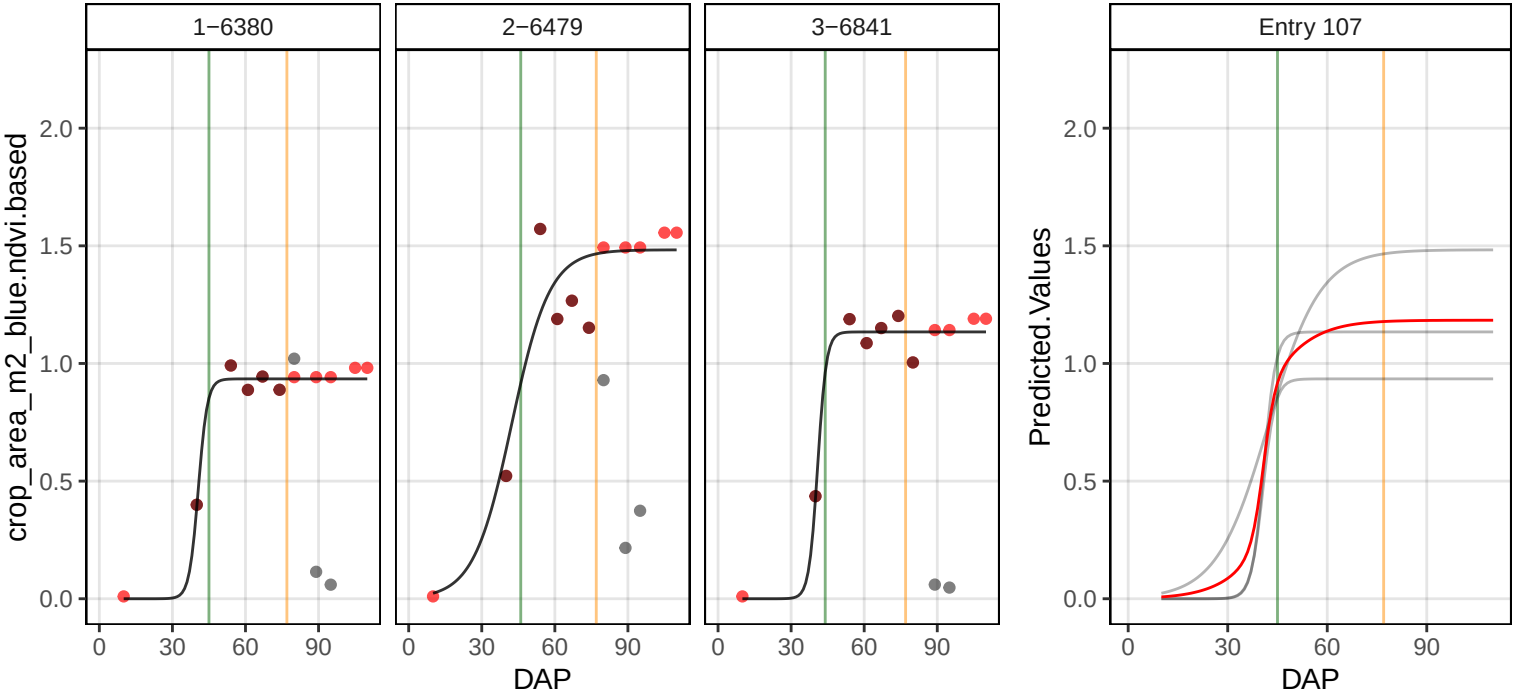

108 | ILL 7747 AGL

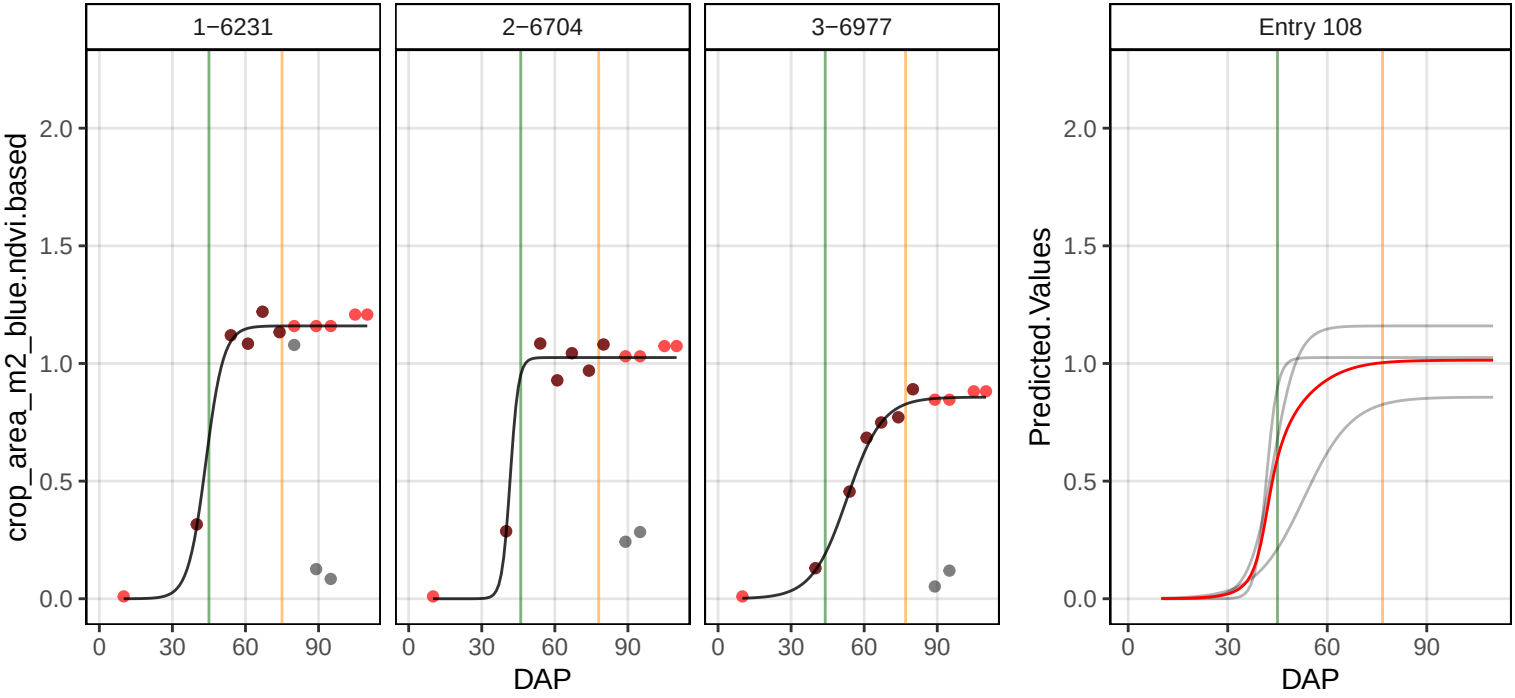

109 | ILL 7946 AGL

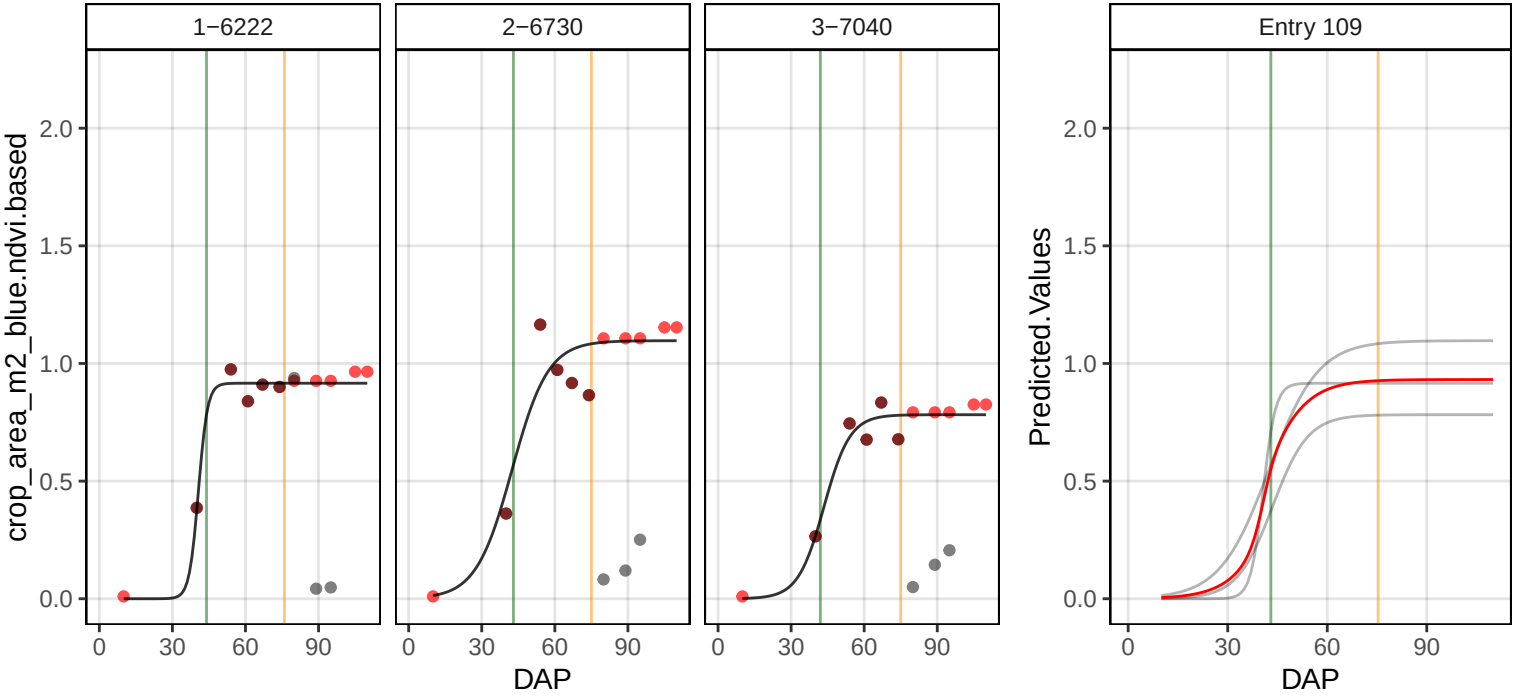

110 | ILL 7978 AGL

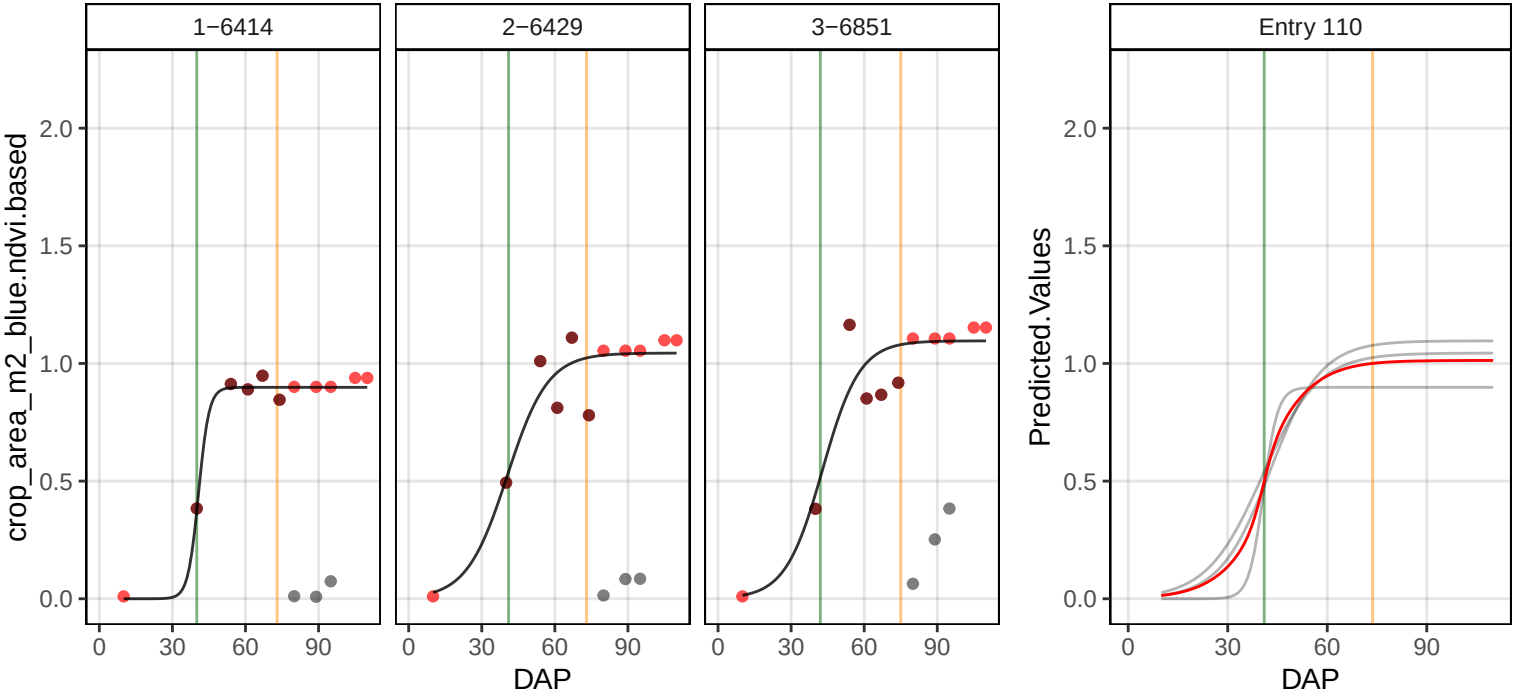

111 | ILL 7979 AGL

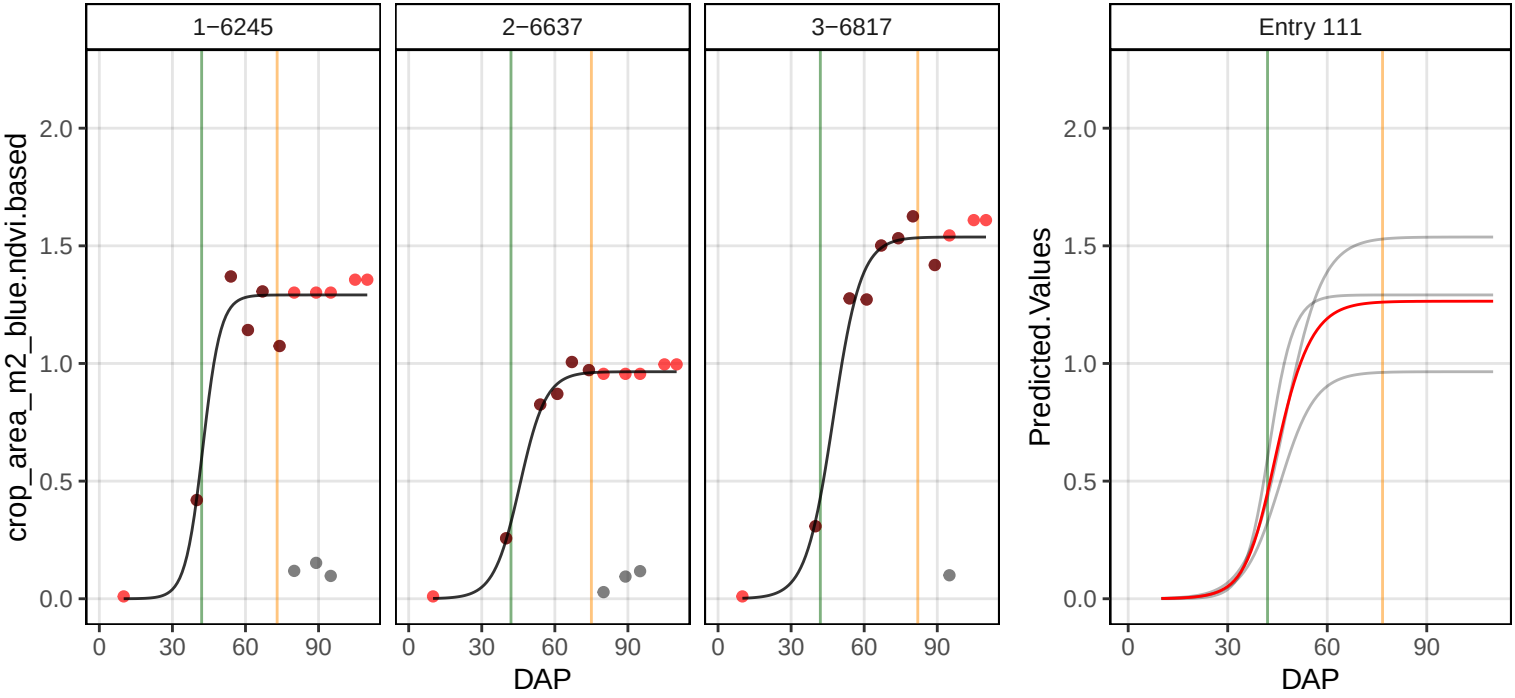

112 | ILL 8007 AGL

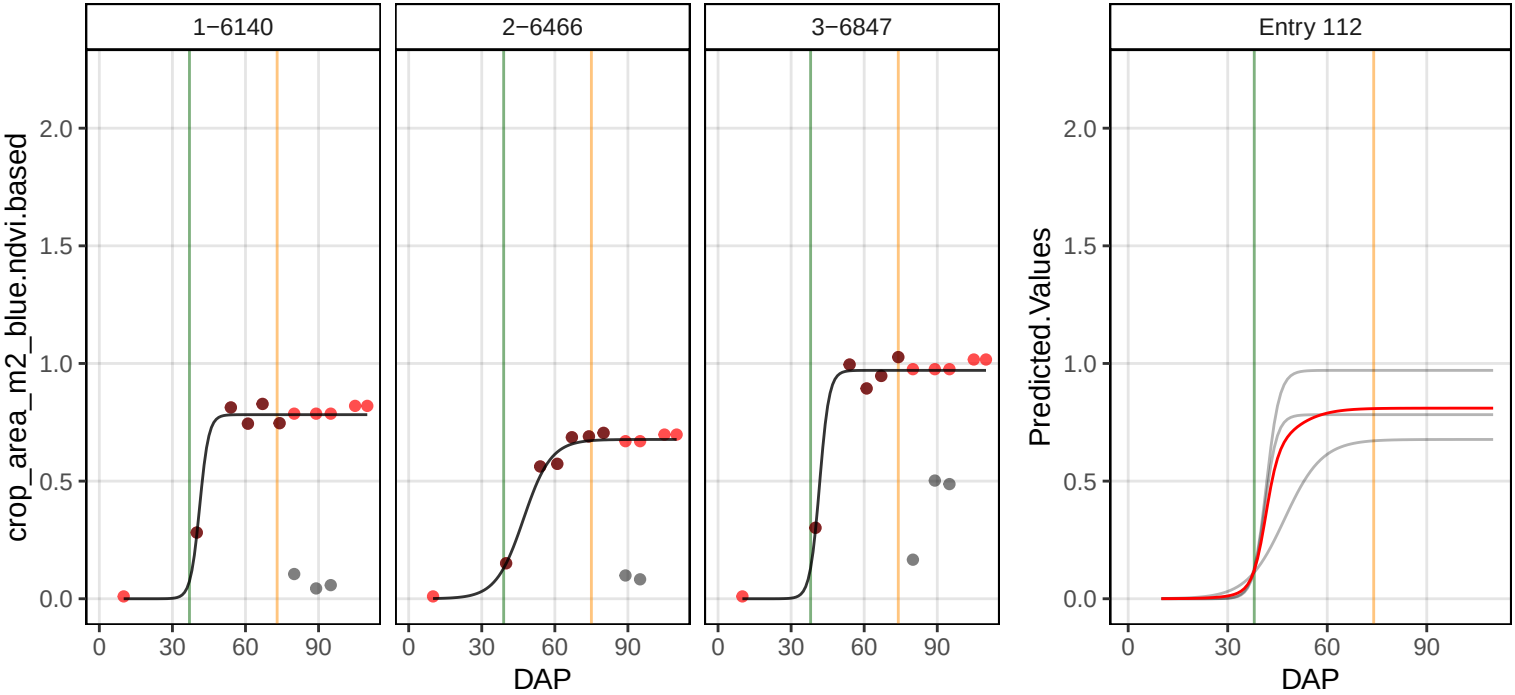

113 | ILL 8009 AGL

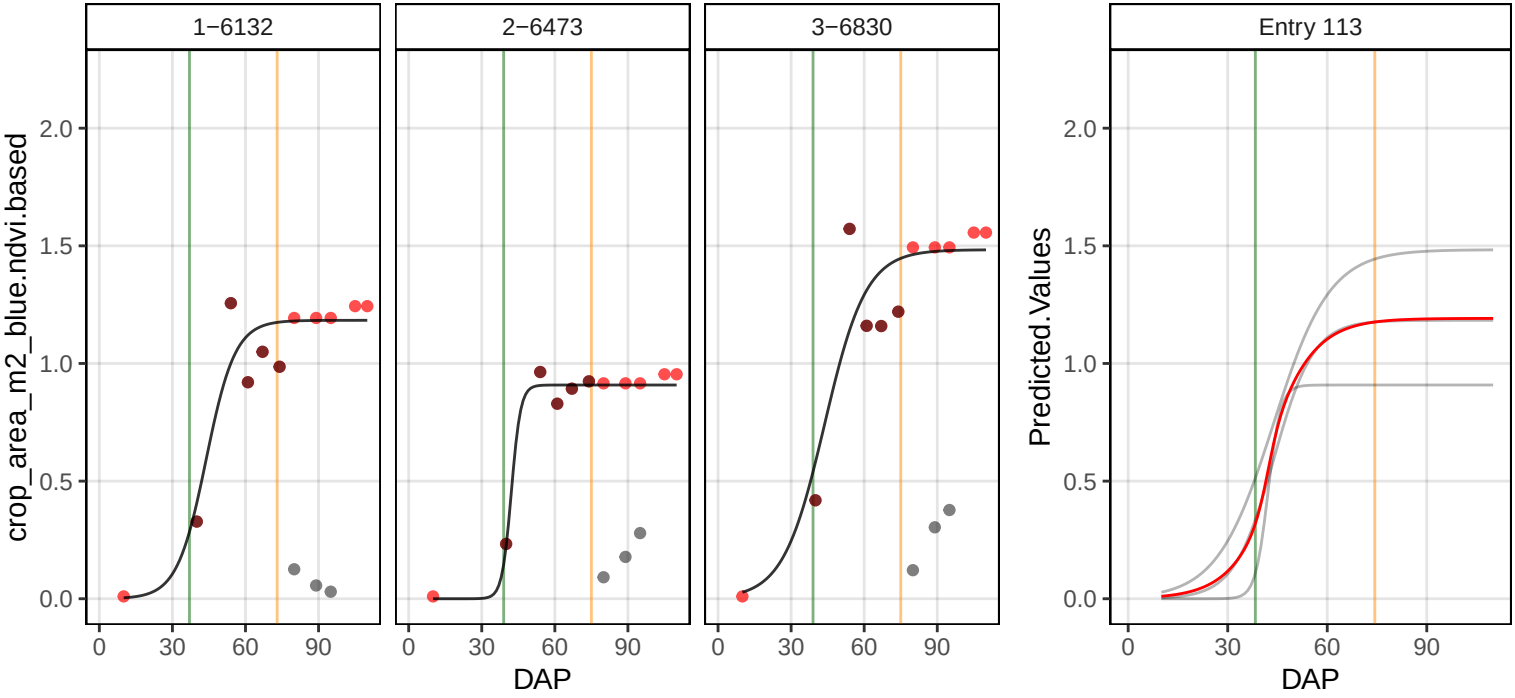

114 | ILL 8010 AGL

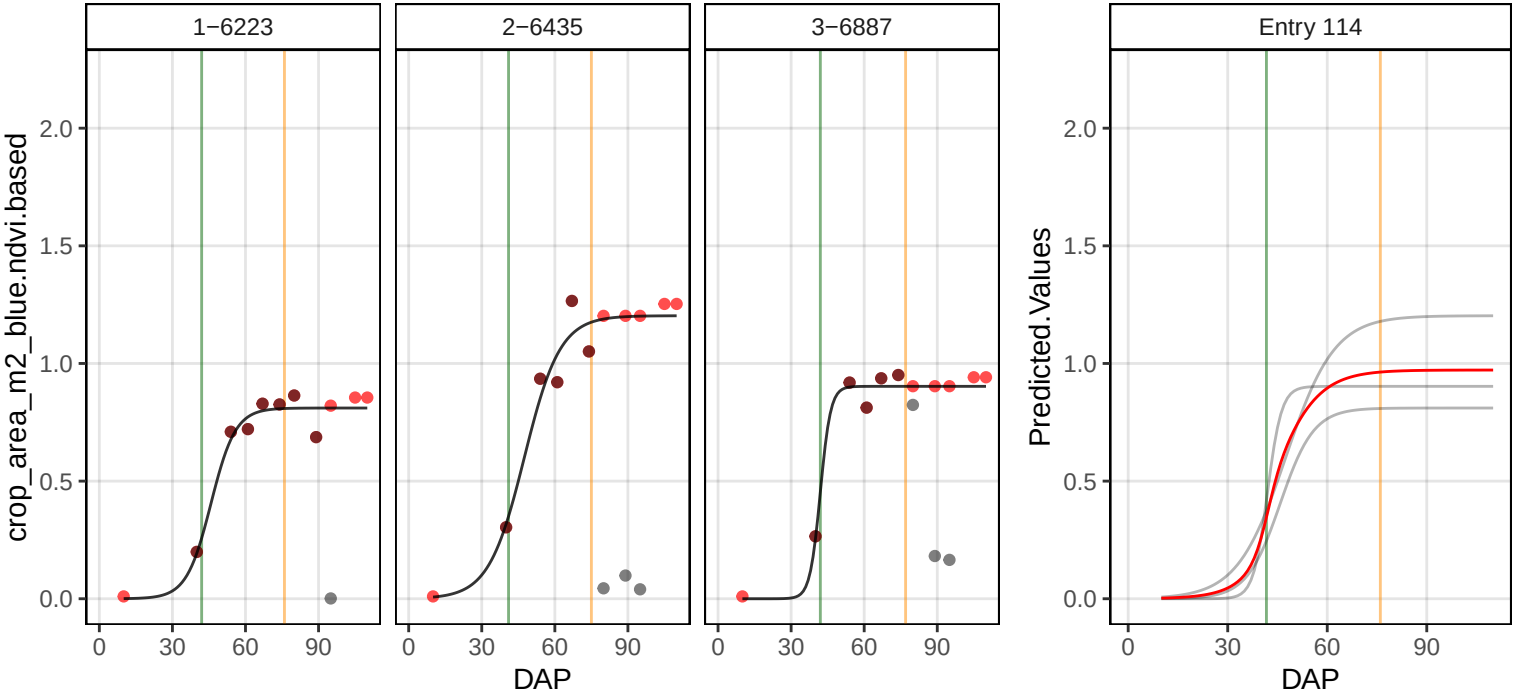

115 | ILL 8072 AGL

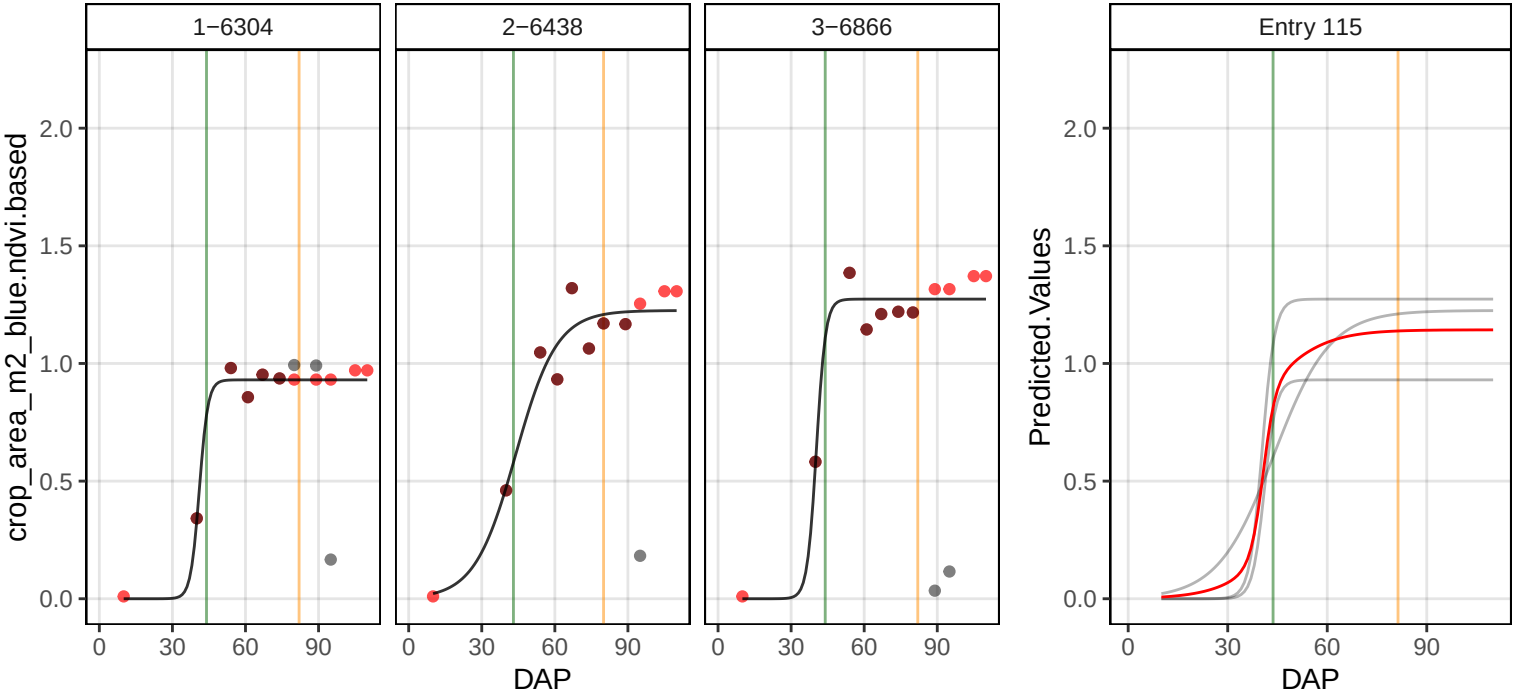

116 | ILL 8174 AGL

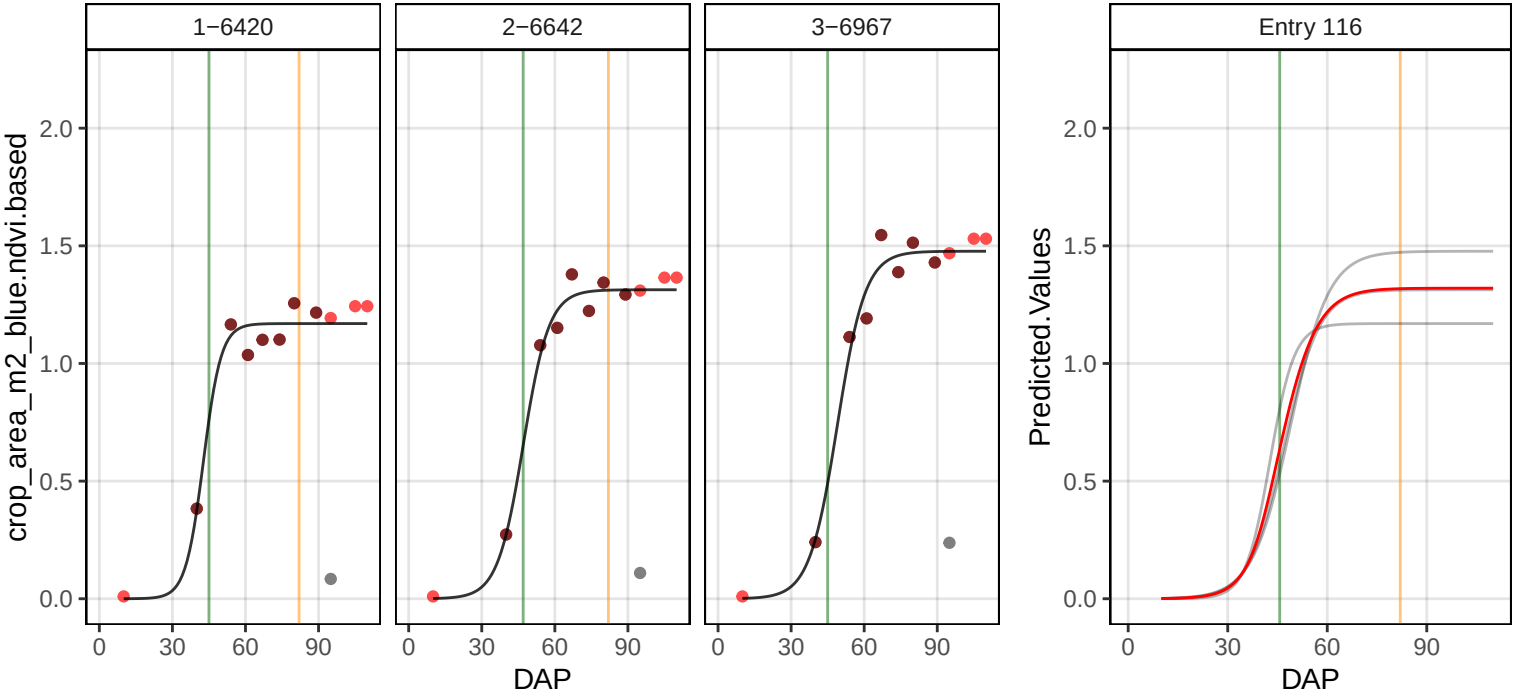

117 | ILL 8595 AGL

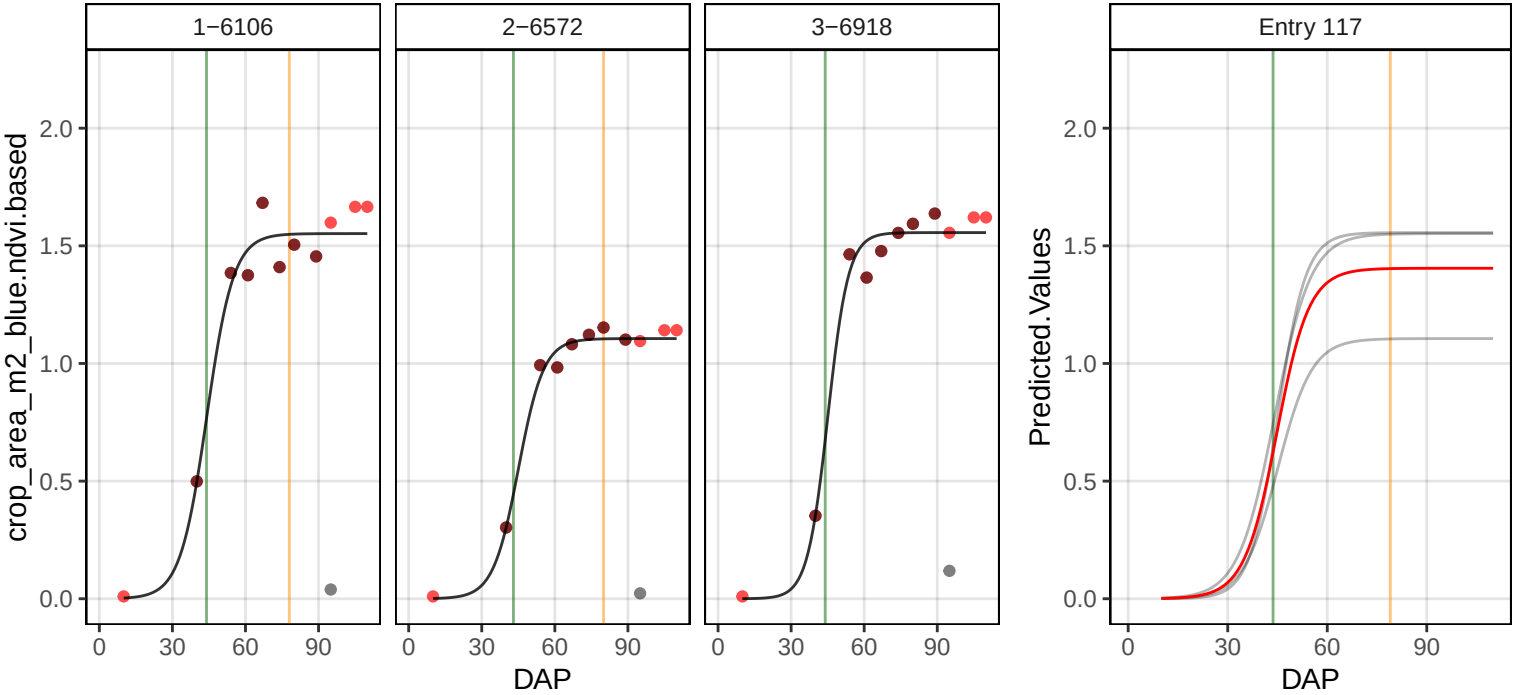

118 | ILL 9 AGL

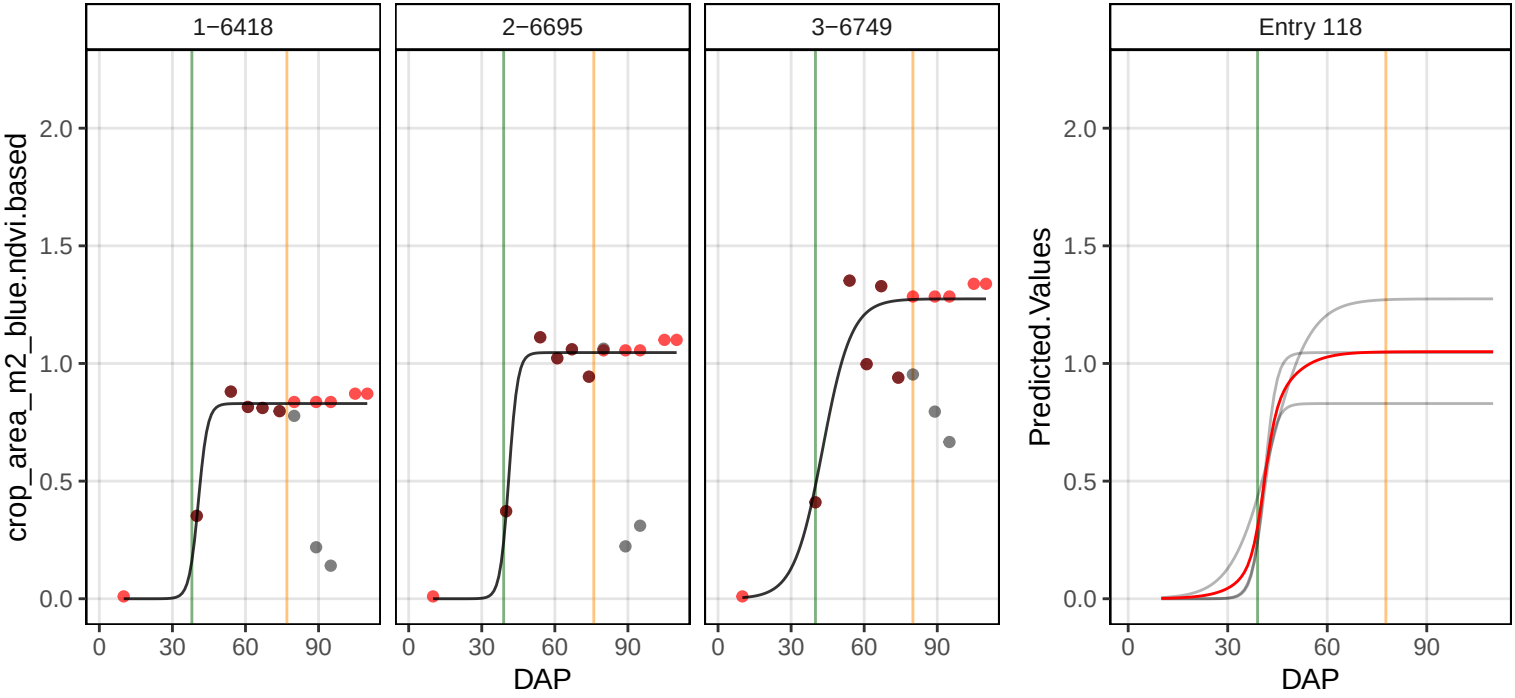
1−6418
2−6695
3−6749
Entry 118
crop_area_m2_blue.ndvi.based
Predicted.Values
DAP
DAP
0.0
0.5
1.0
1.5
2.0
0
30
60
90

119 | ILL 975 AGL

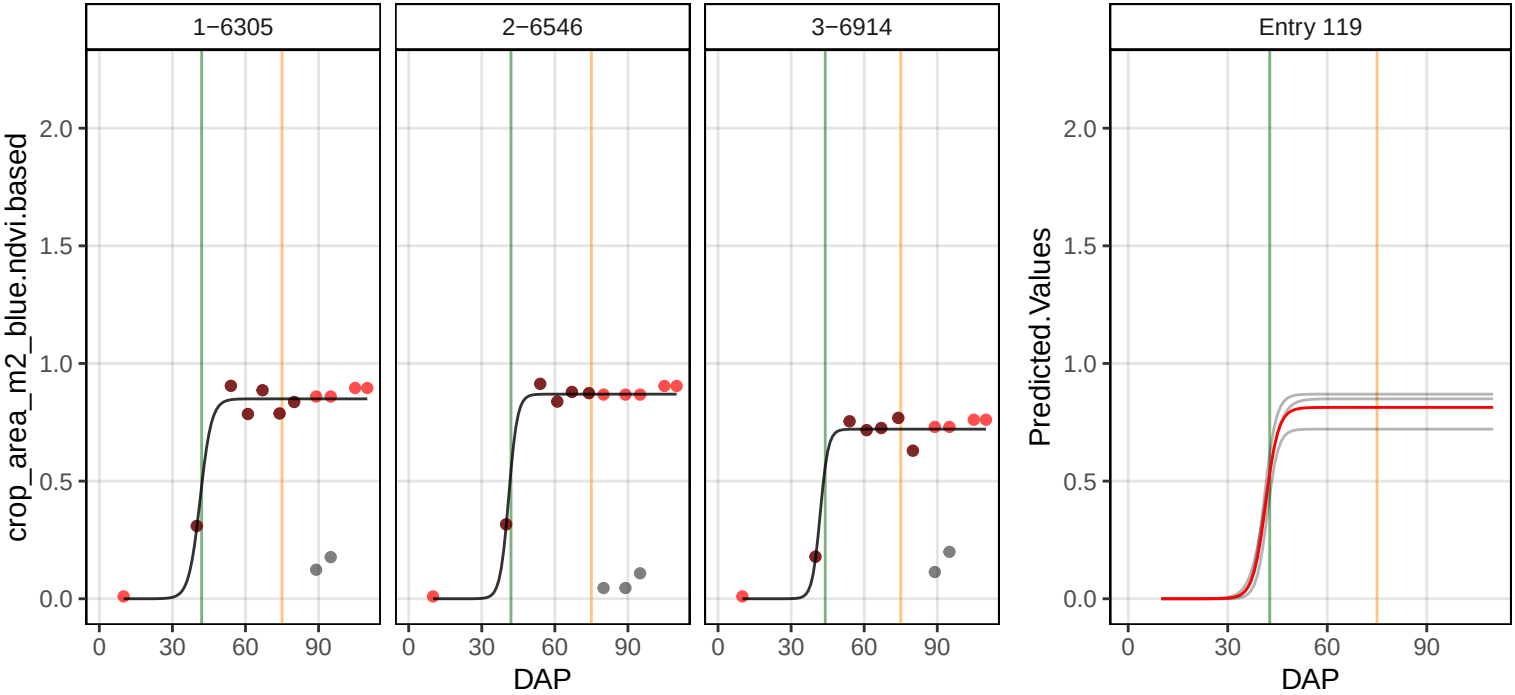

120 | ILL 9888 AGL

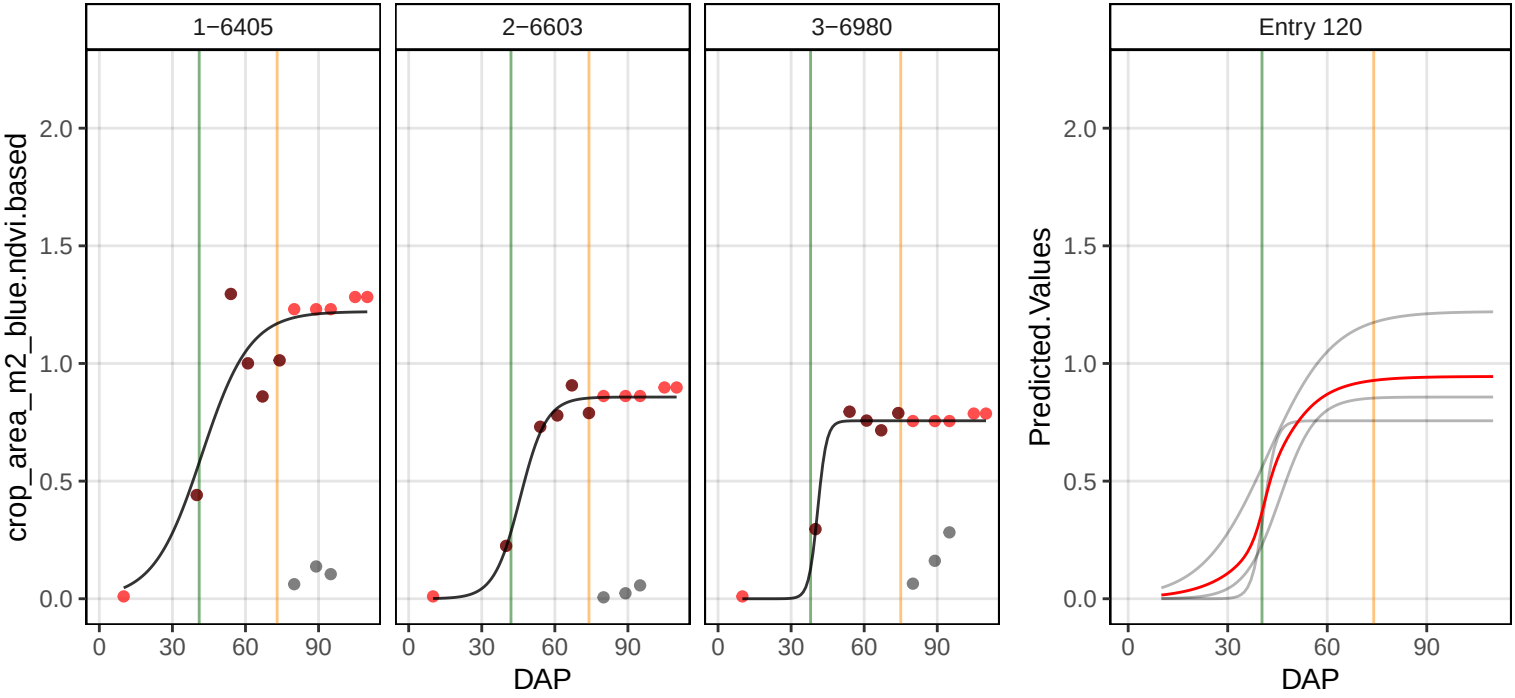

121 | ILL 9932 AGL

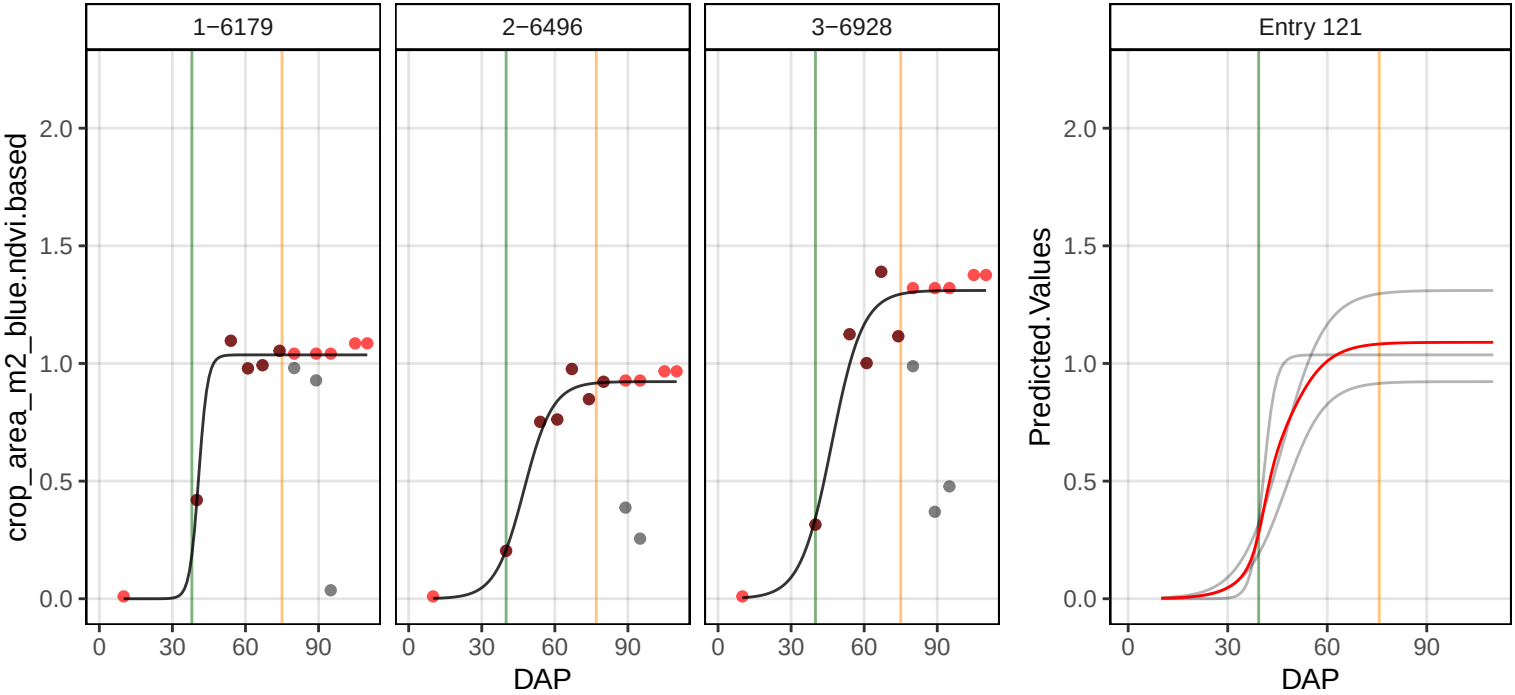

122 | ILL 9945 AGL

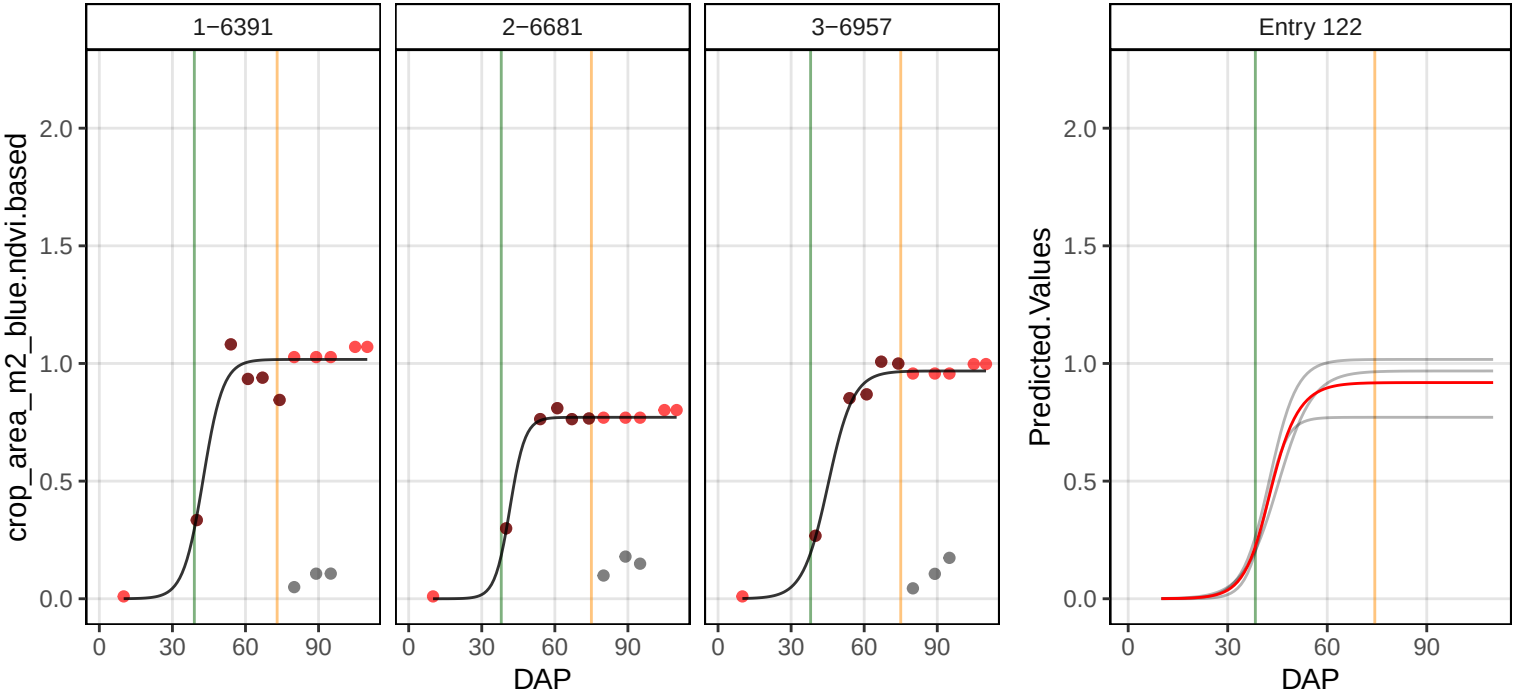

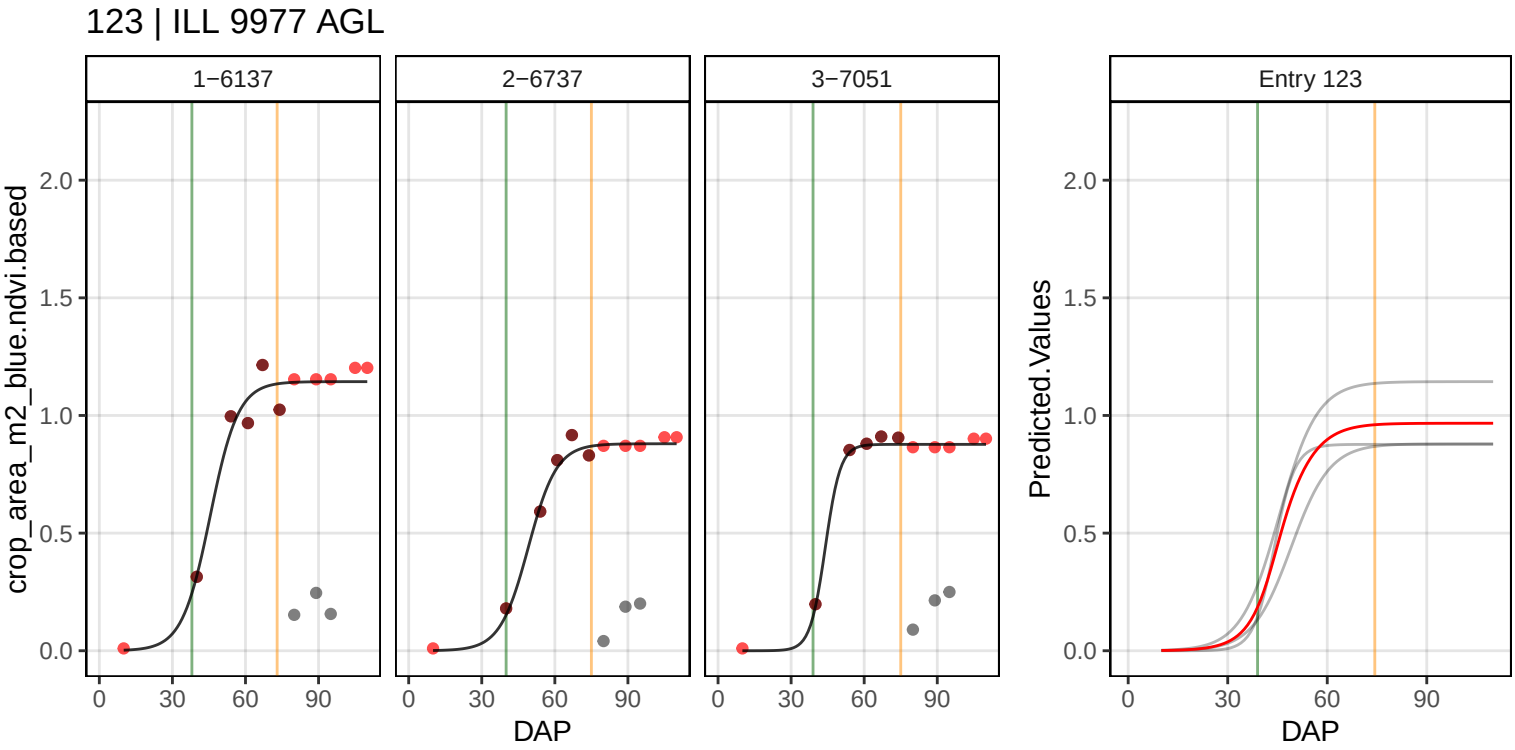
123 | ILL 9977 AGL
1−6137
2−6737
3−7051
Entry 123
crop_area_m2_blue.ndvi.based
Predicted.Values
DAP
DAP
0.0
0.5
1.0
1.5
2.0
0
30
60
90

124 | ILL 9997 AGL

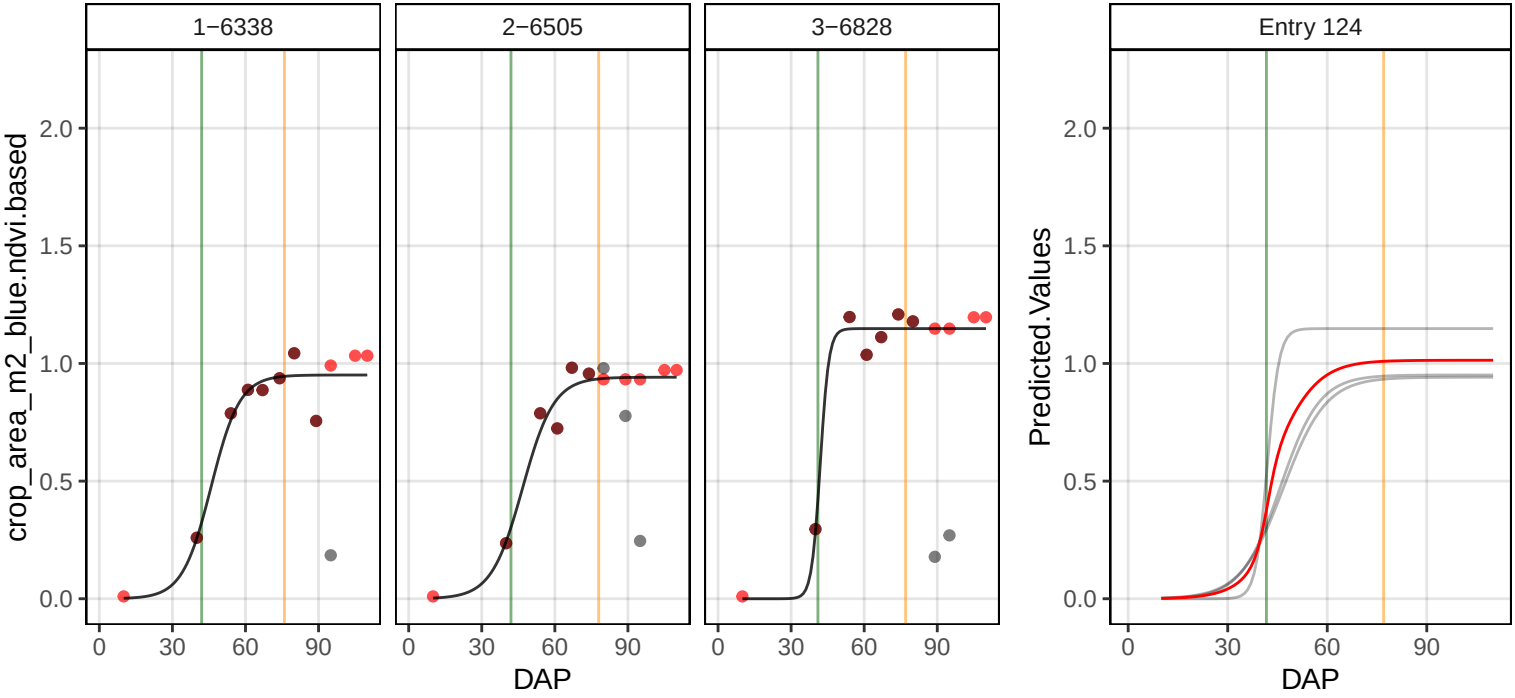

125 | ILWL 118 AGL

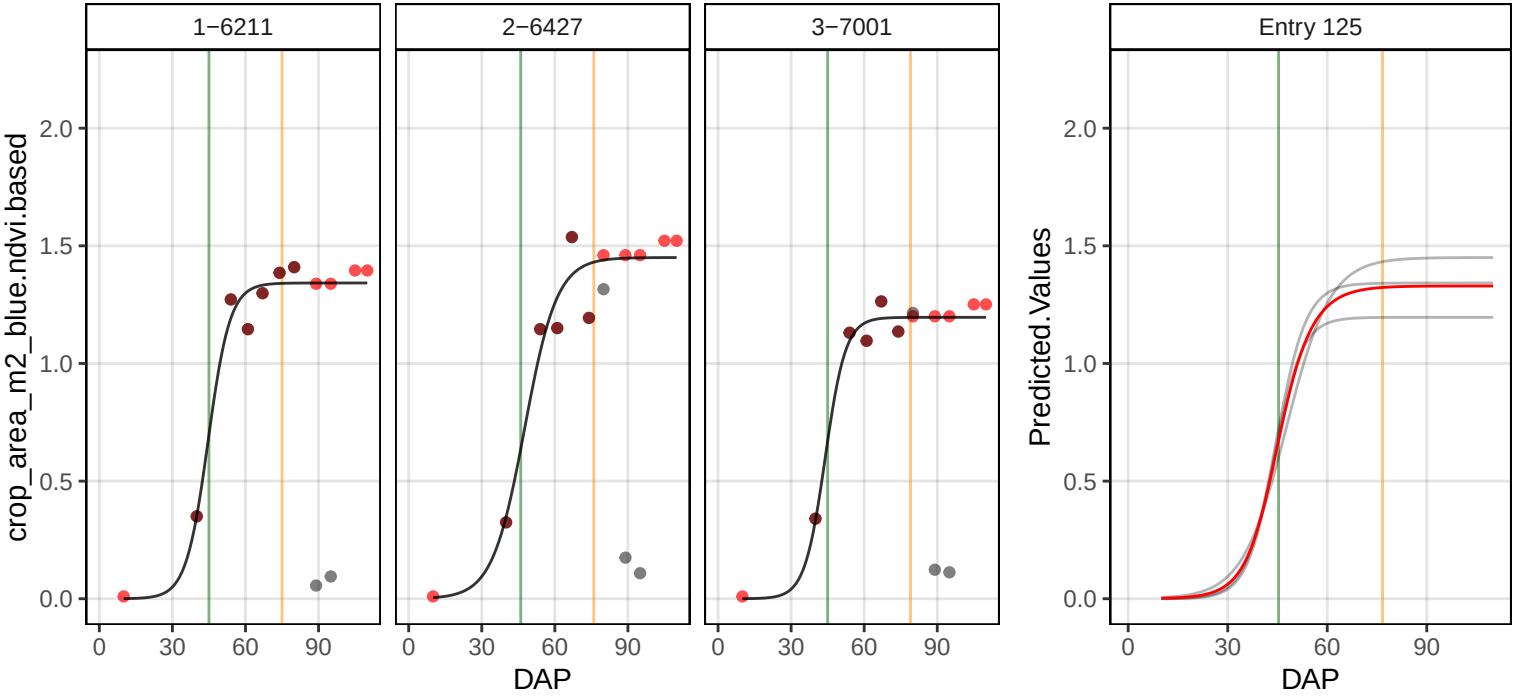

126 | Indianhead AGL

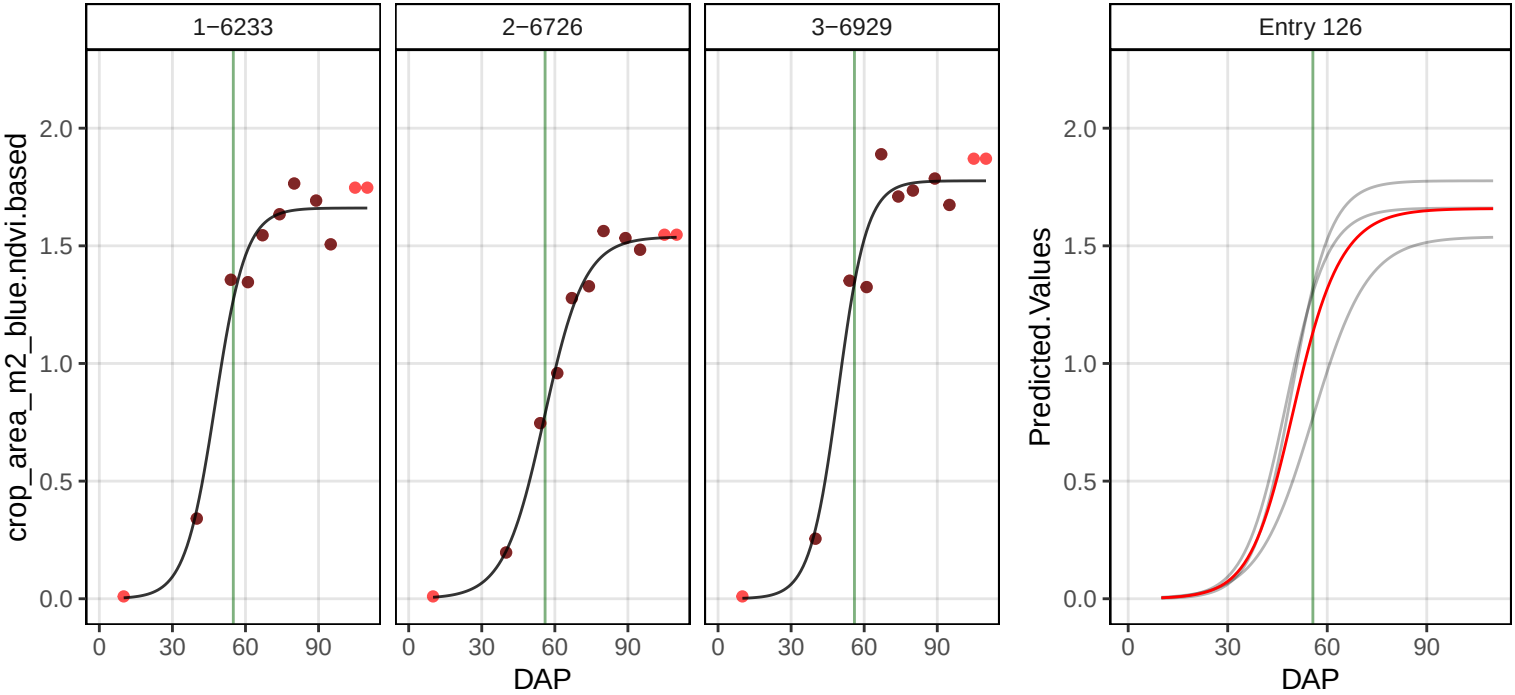

127 | IPL 220 AGL

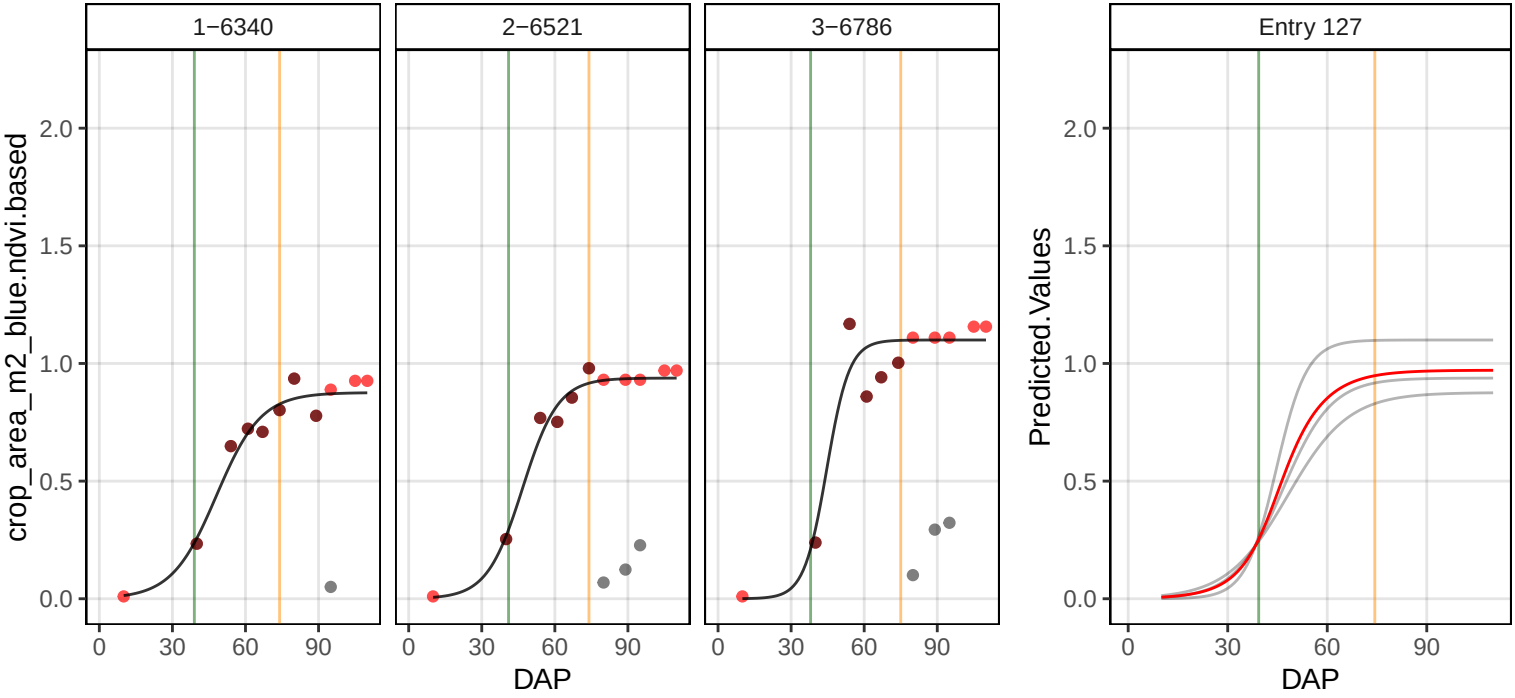

128 | Laird AGL

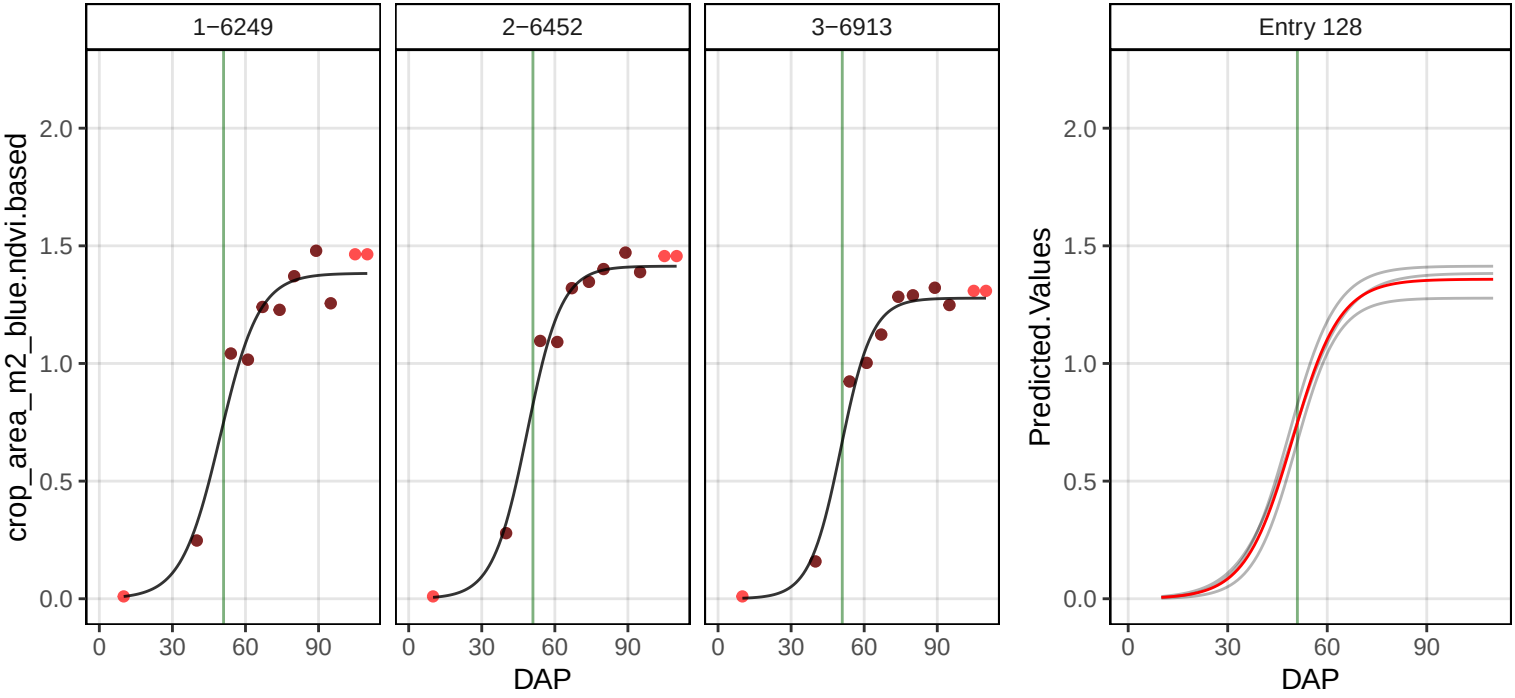

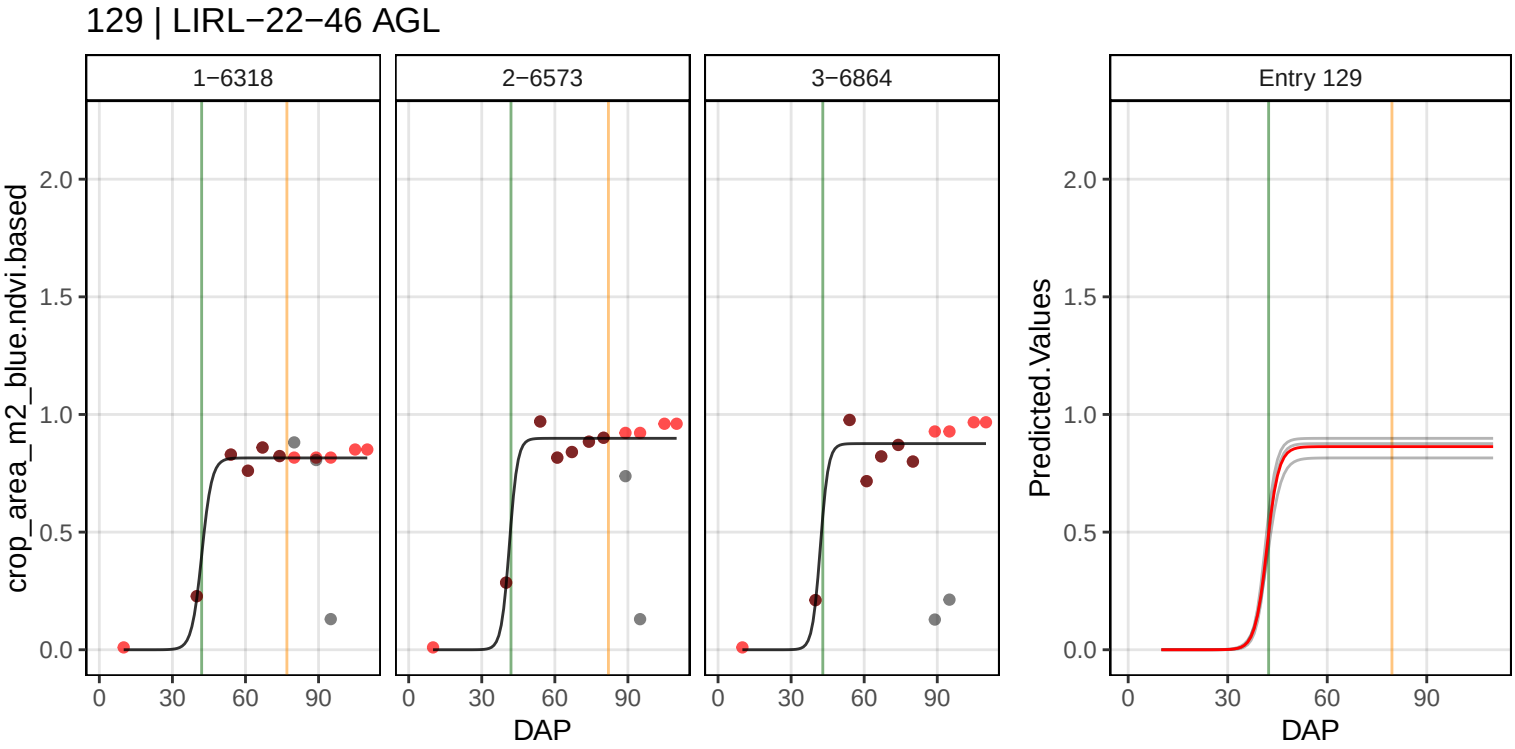
129 | LIRL−22−46 AGL
1−6318
2−6573
3−6864
Entry 129
crop_area_m2_blue.ndvi.based
Predicted.Values
DAP
DAP
0.0
0.5
1.0
1.5
2.0
0
30
60
90

130 | PI 163589 AGL

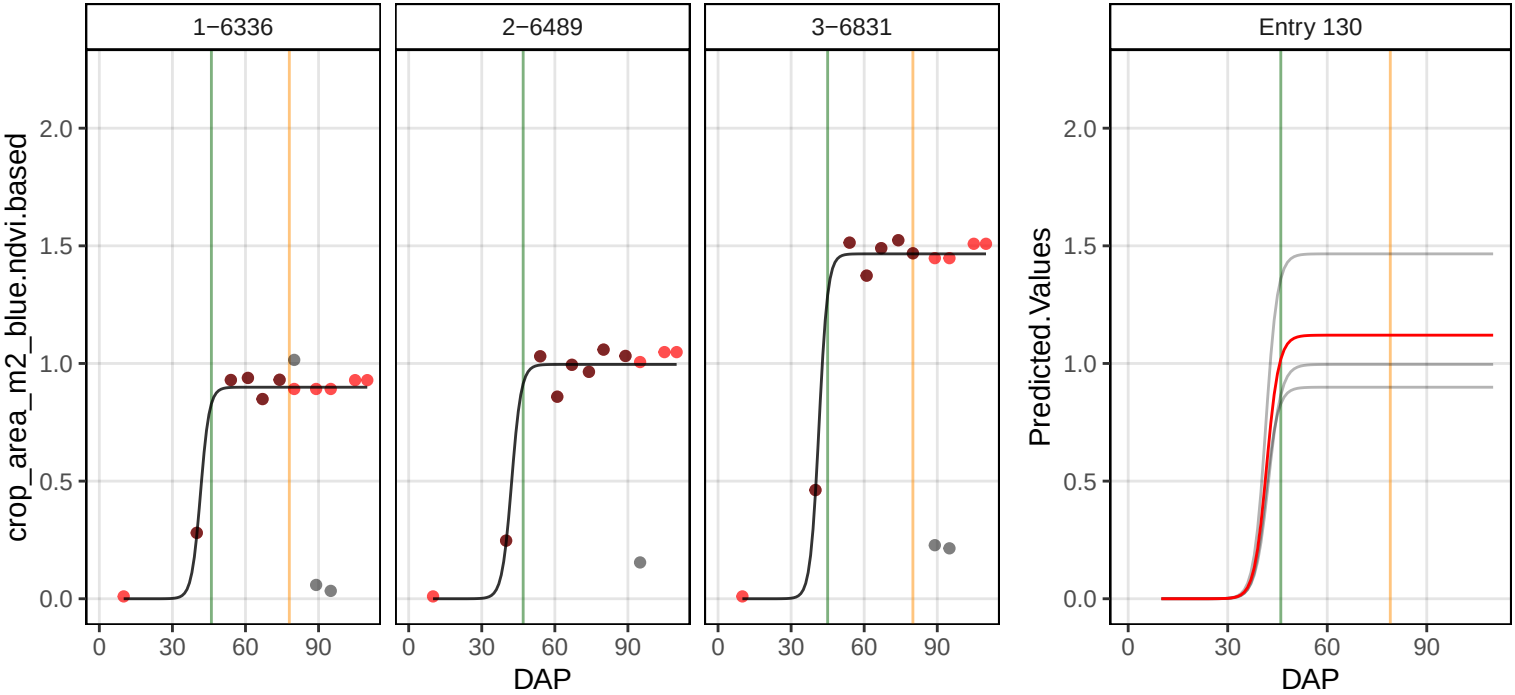

131 | PI 169534 LSP AGL

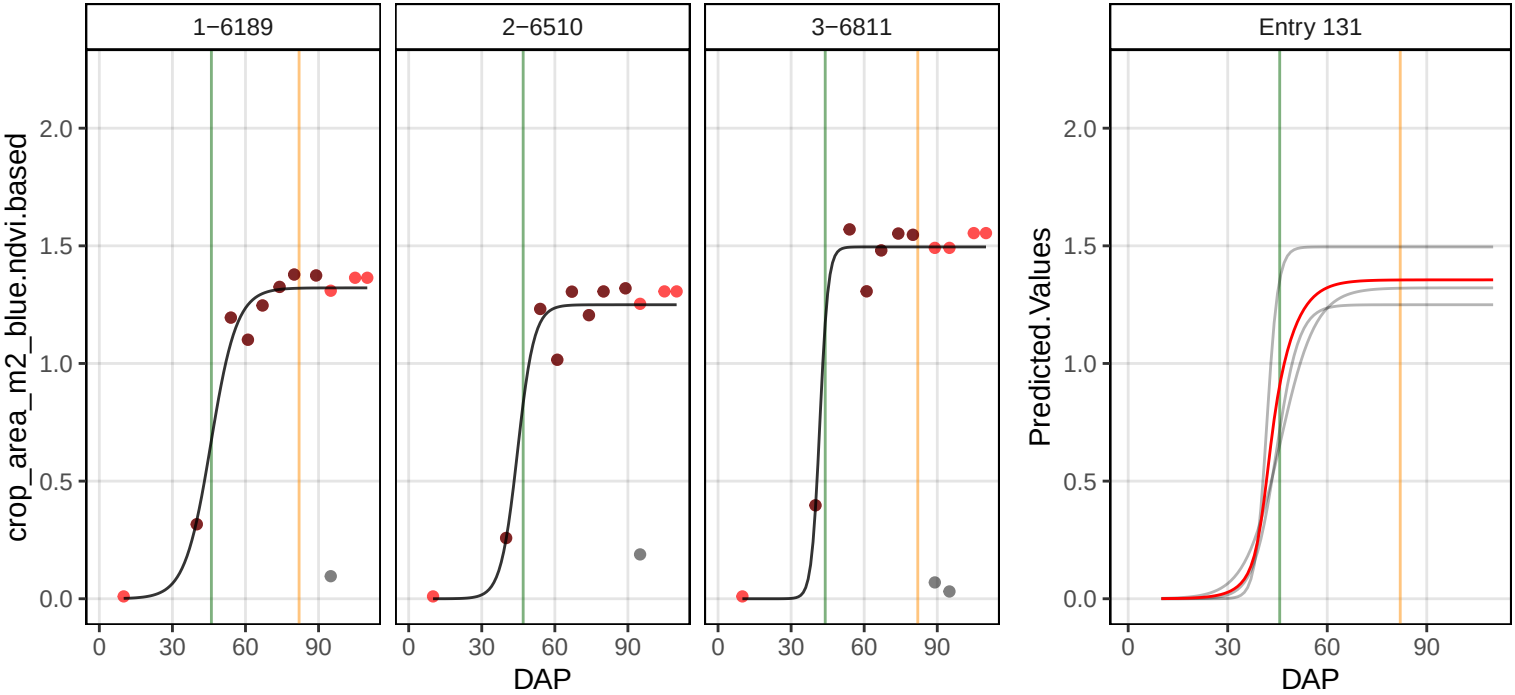

132 | PI 175754 LSP AGL

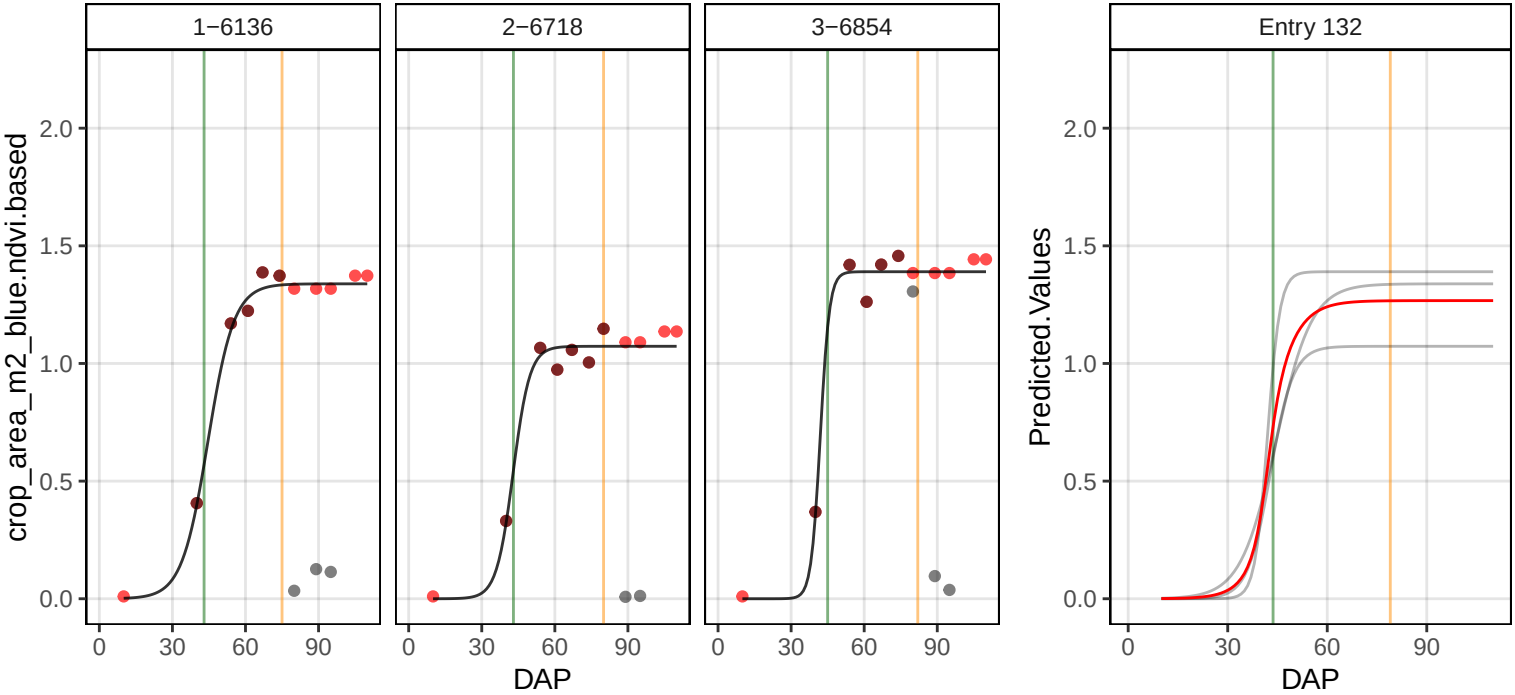

133 | PI 177430 LSP AGL

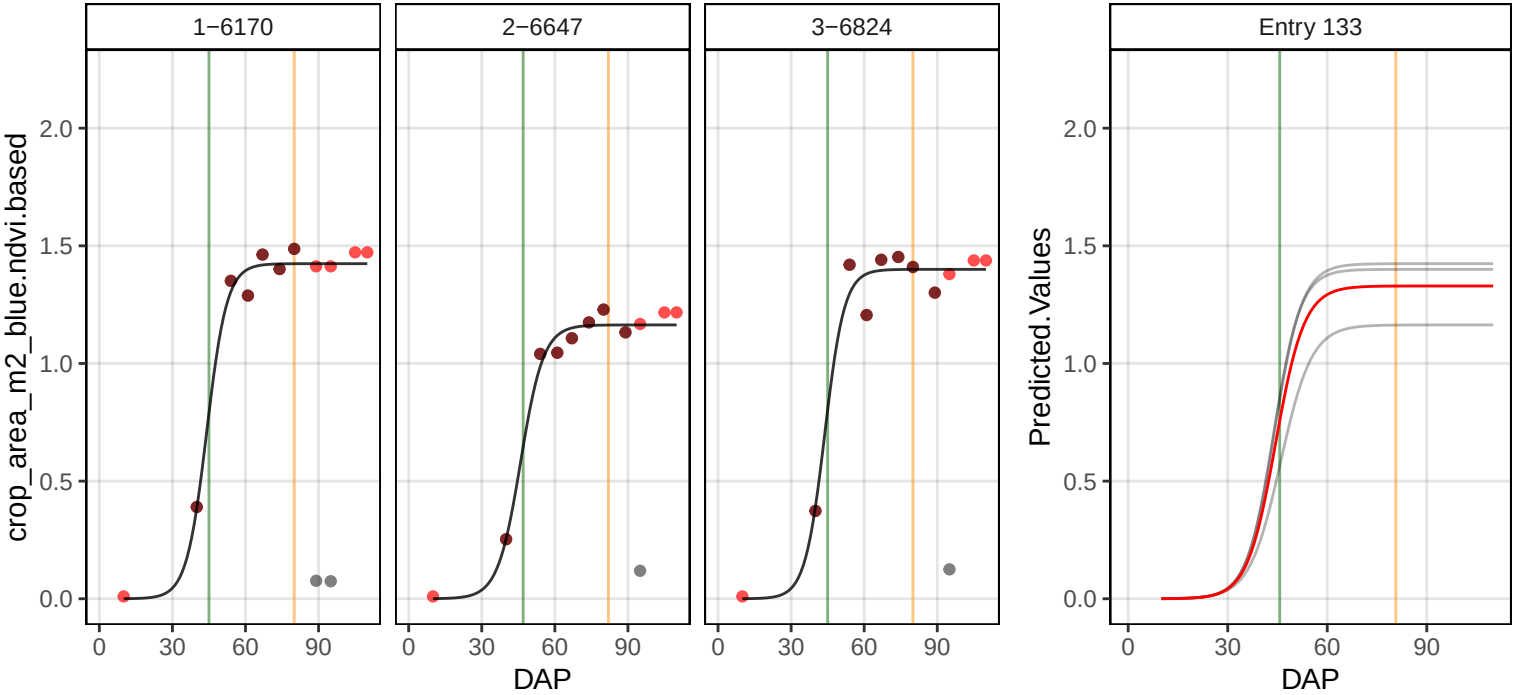

134 | PI 178939 LSP AGL

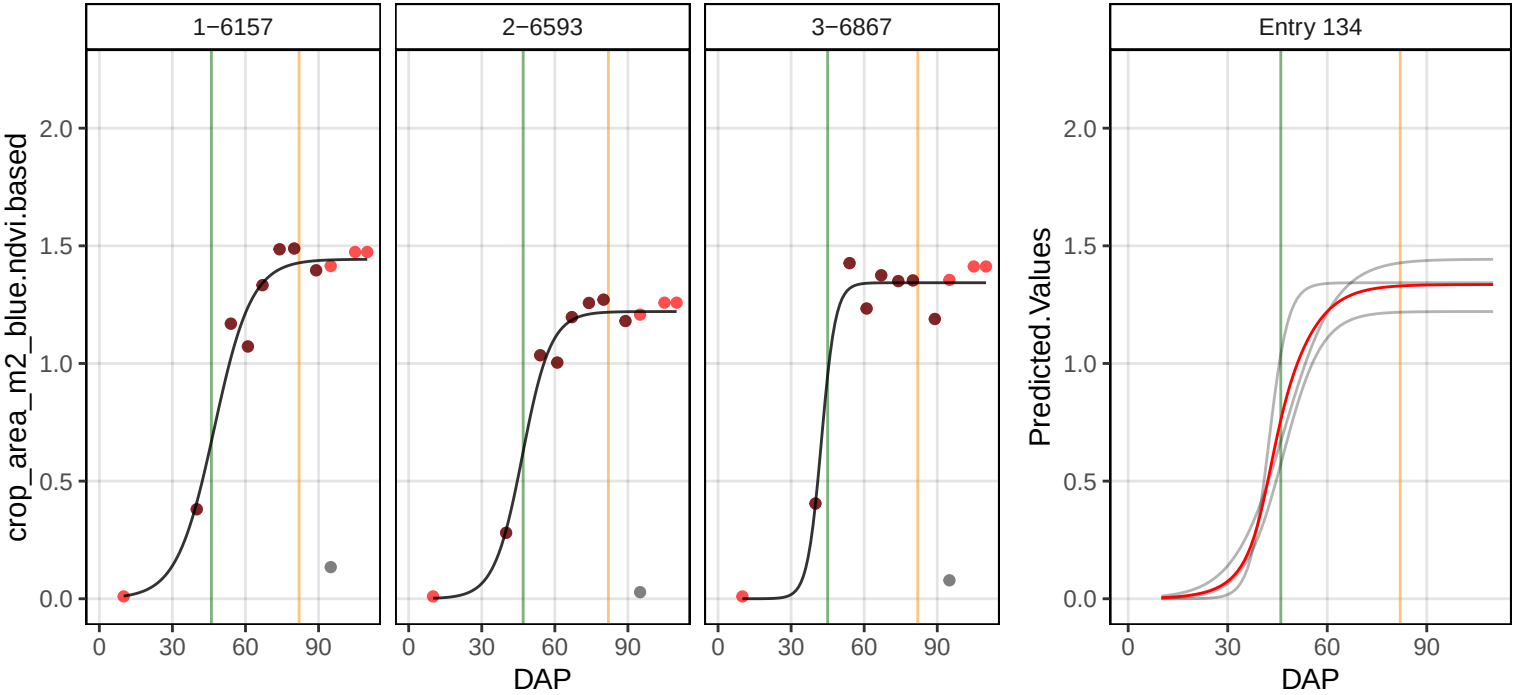

135 | PI 178952 AGL

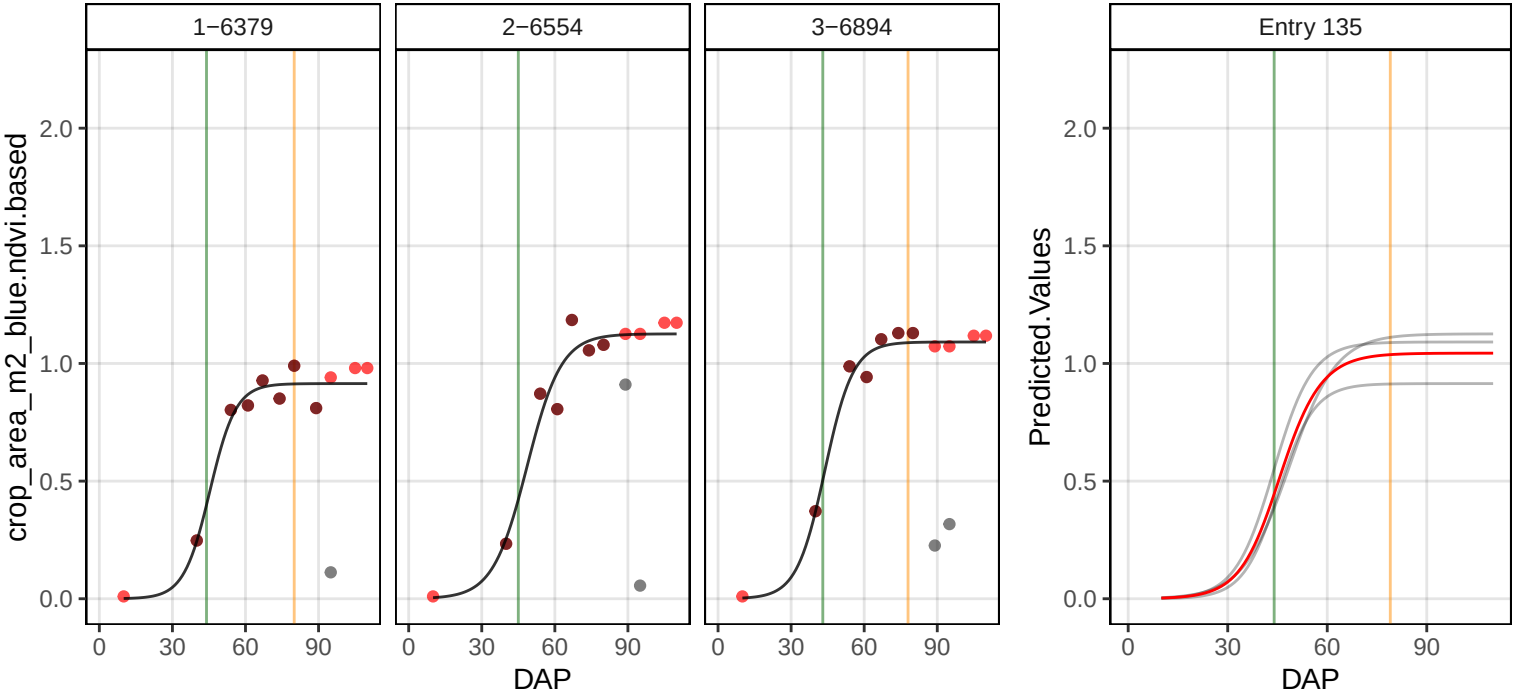

136 | PI 178971 LSP AGL

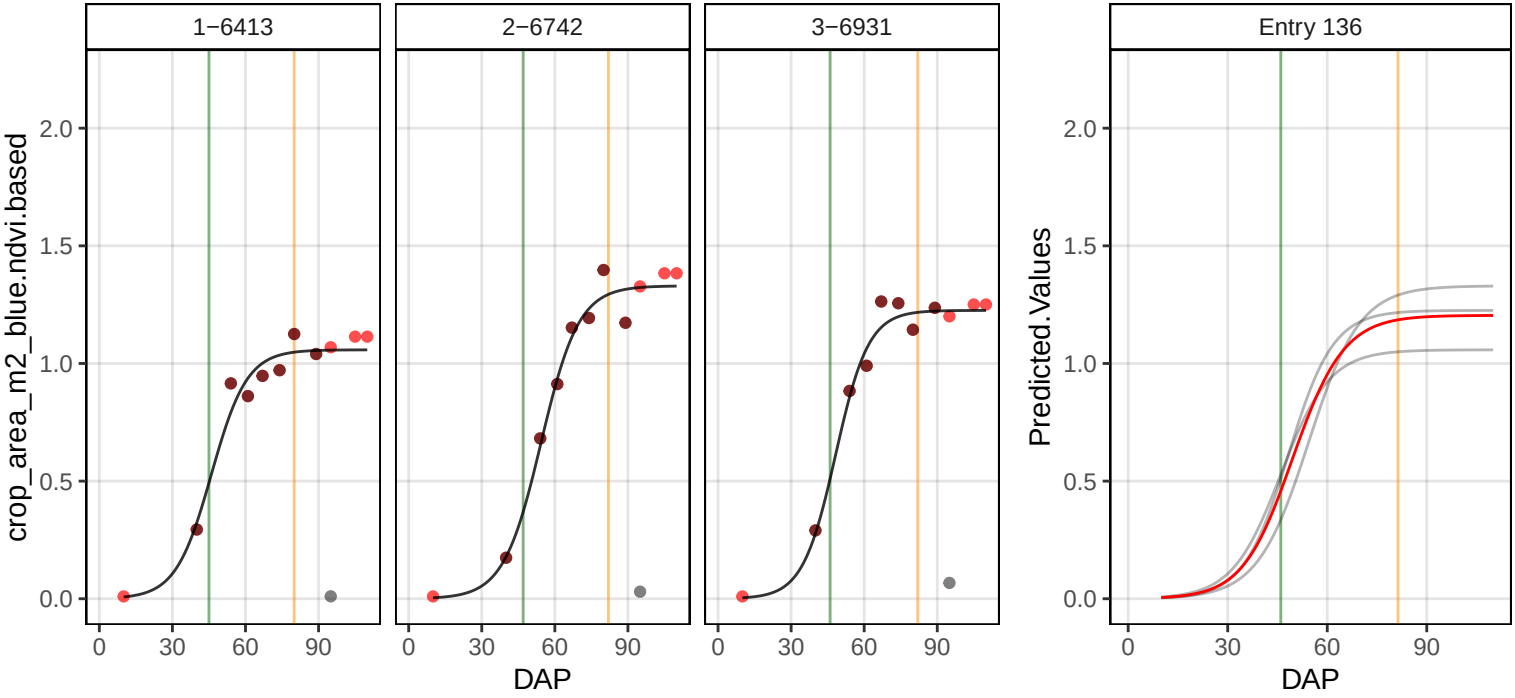

137 | PI 179324 LSP AGL

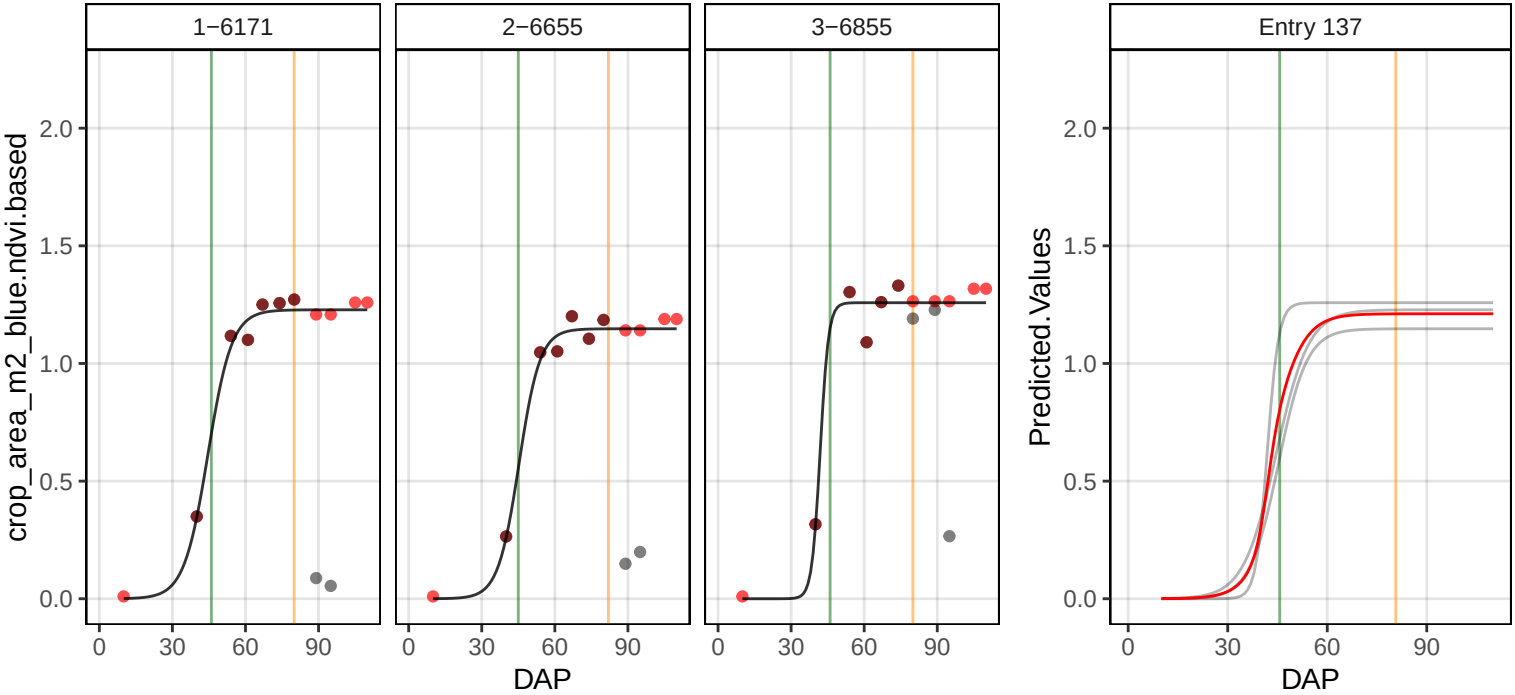

138 | PI 179330 AGL

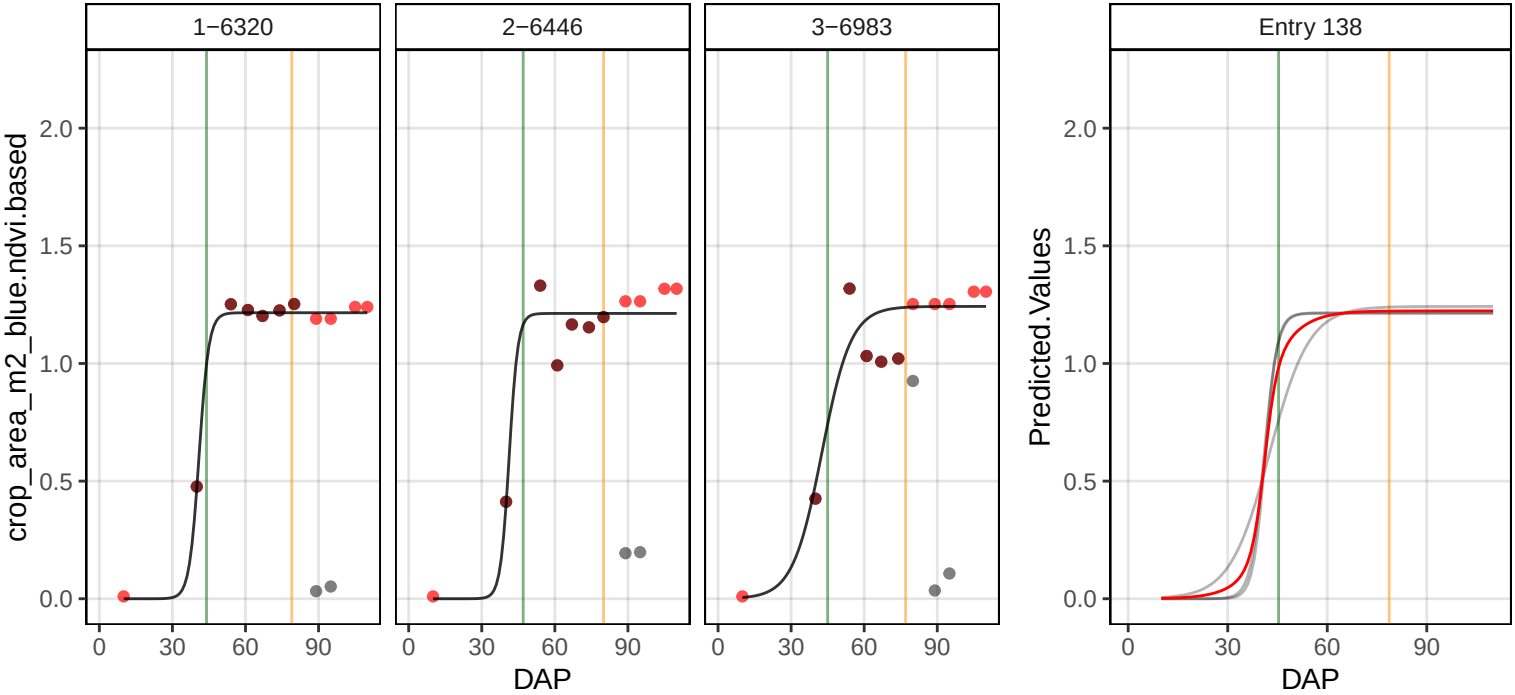

139 | PI 181771 LSP AGL

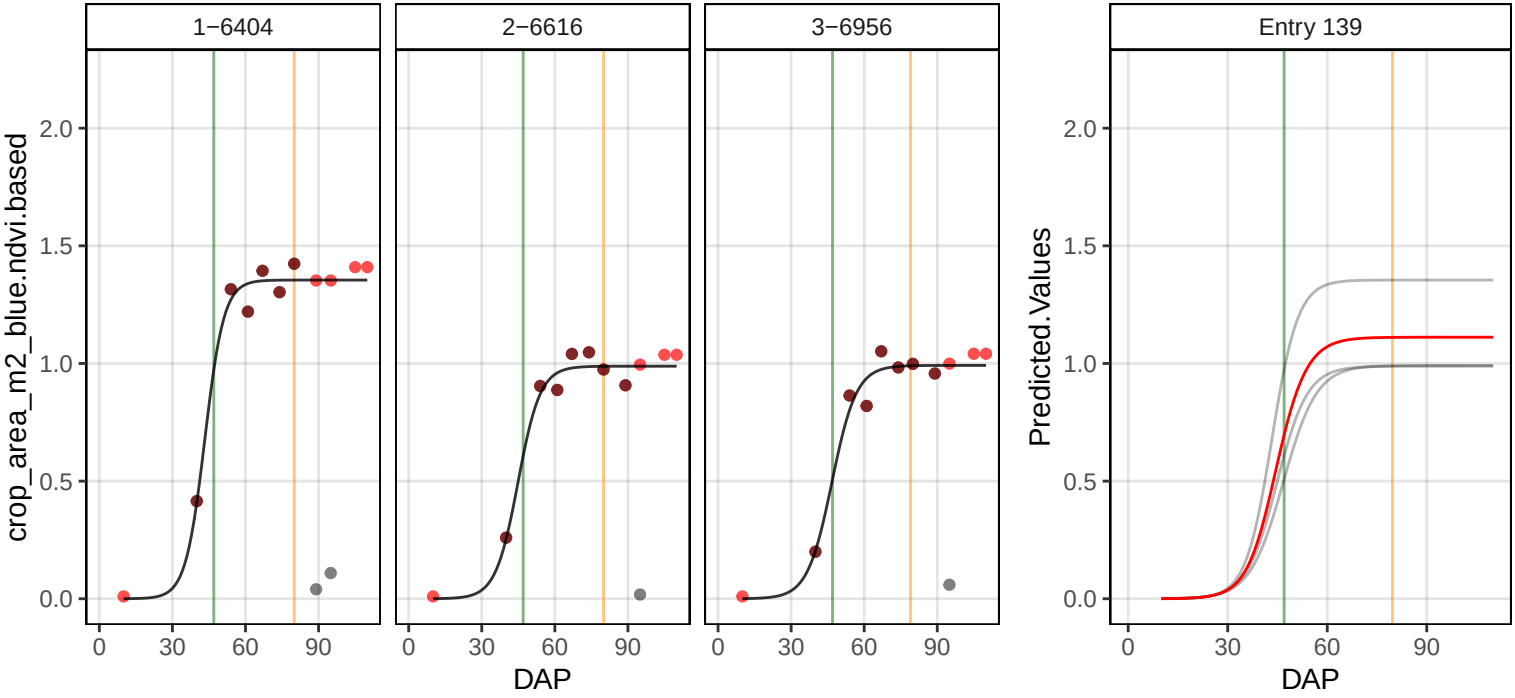

140 | PI 181886 LSP AGL

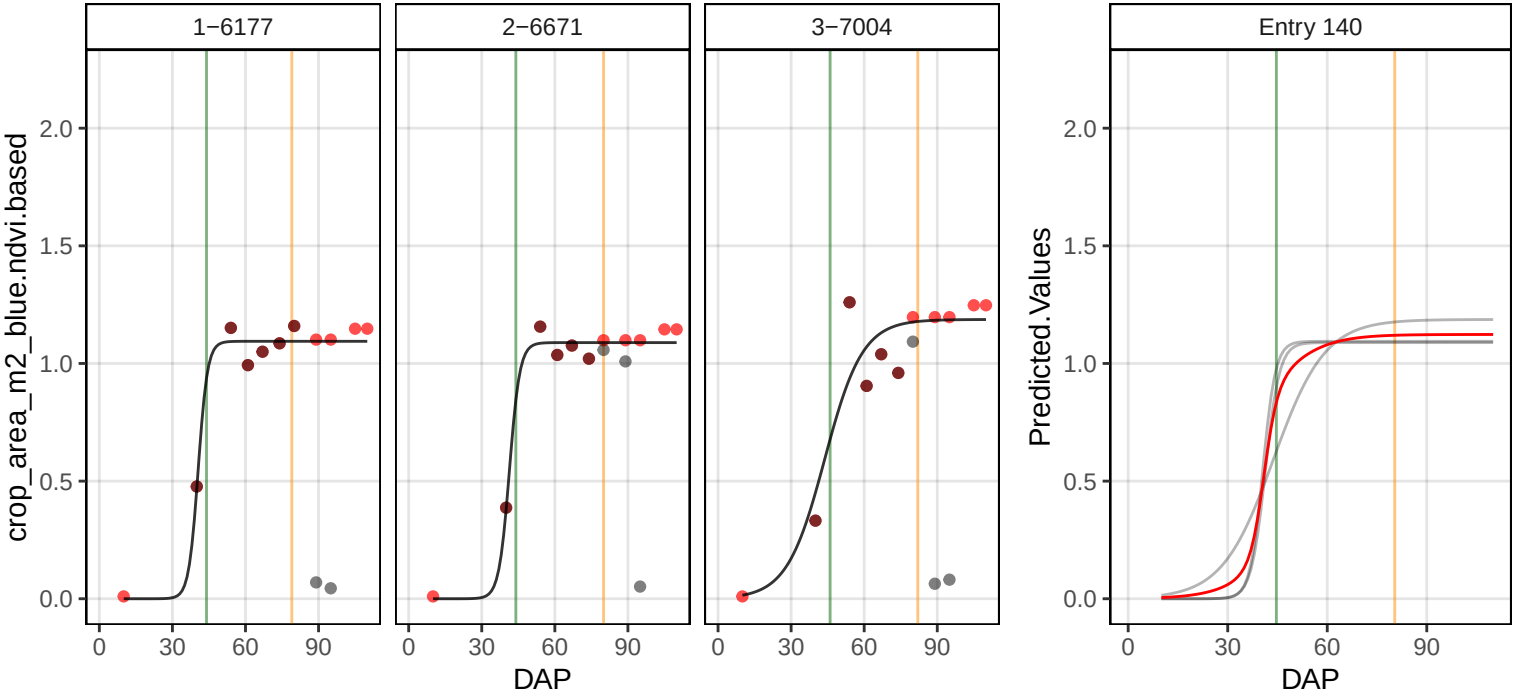

141 | PI 182217 LSP AGL

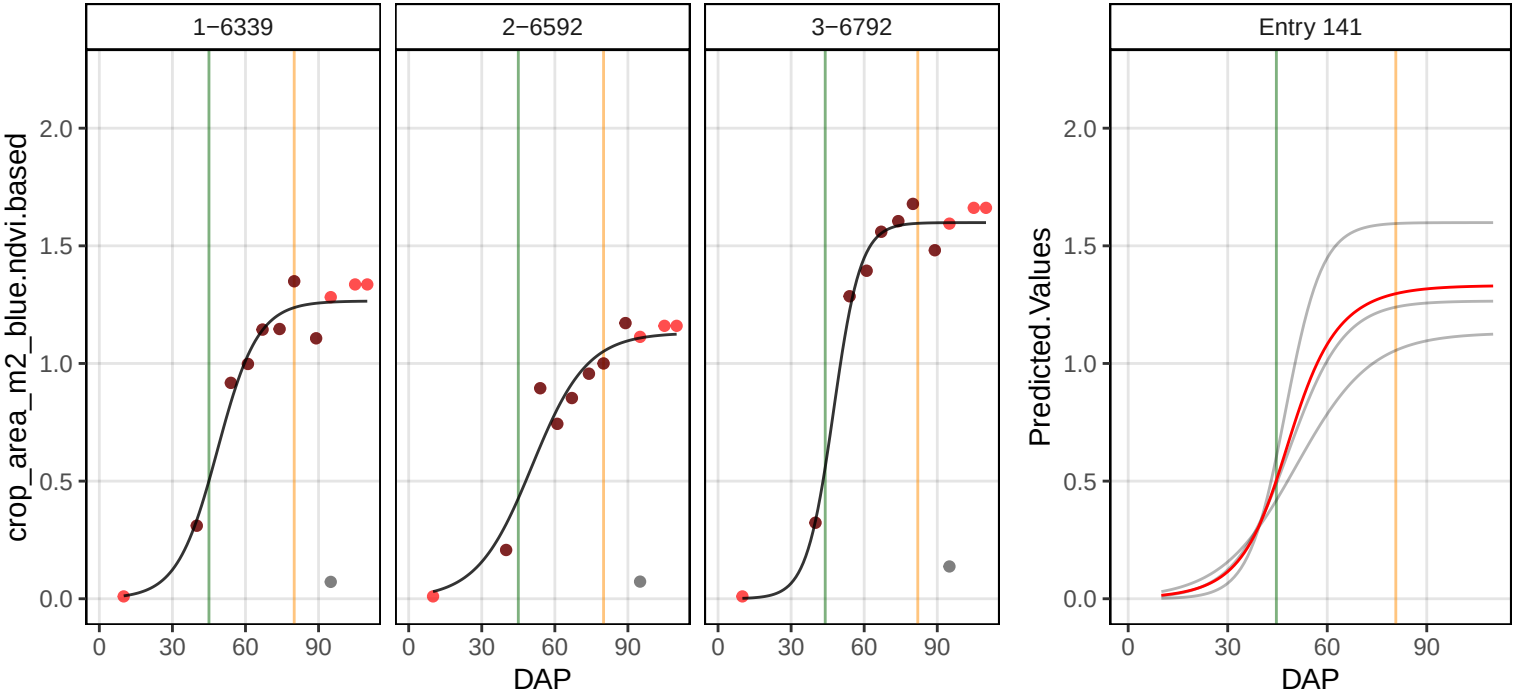

142 | PI 193546 AGL

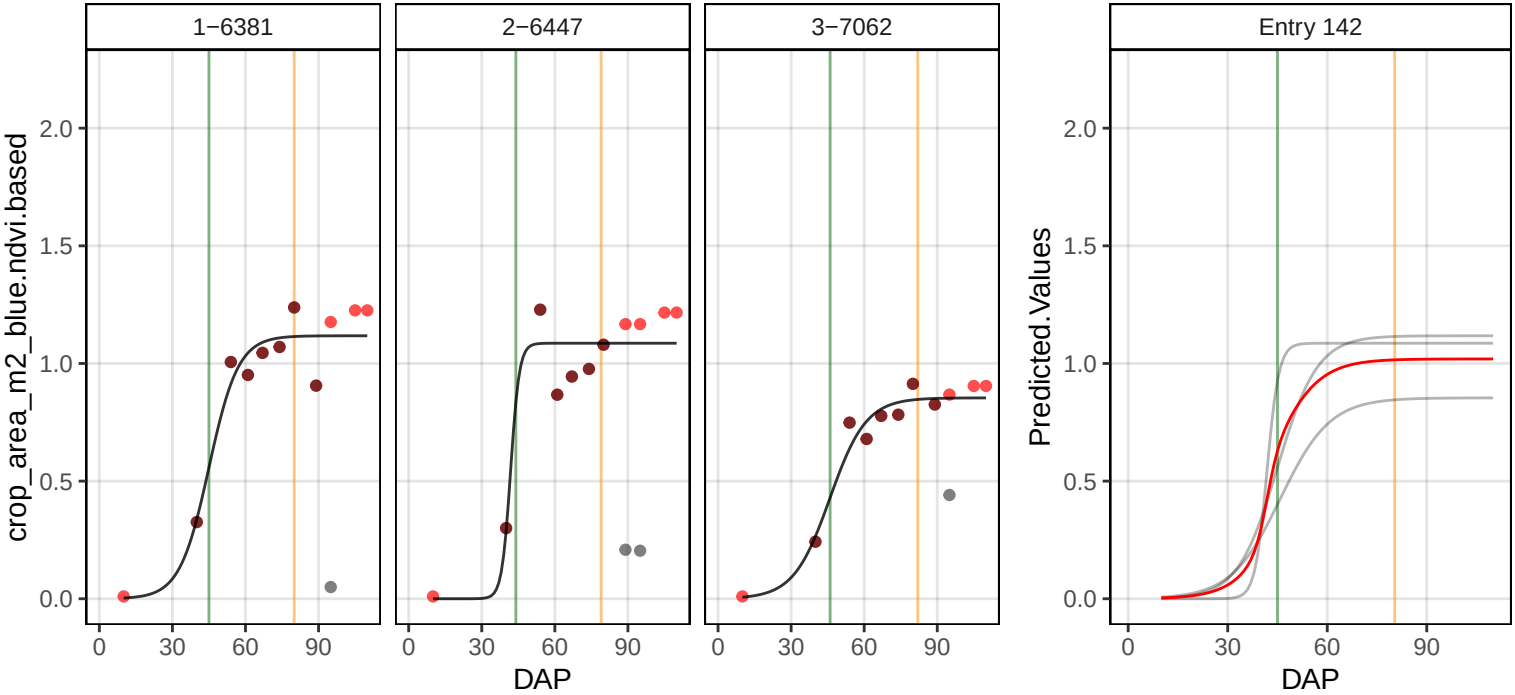

143 | PI 193547 LSP AGL

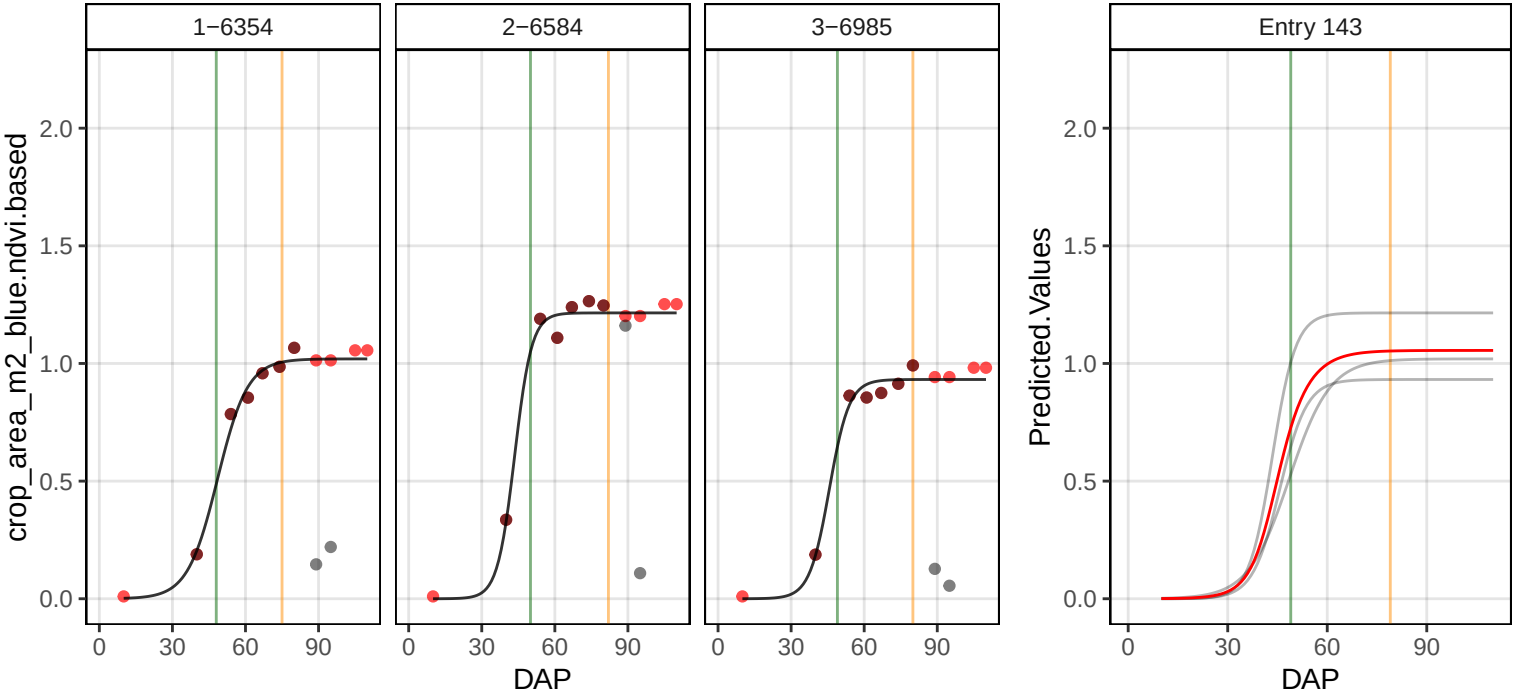

144 | PI 193548 LSP AGL

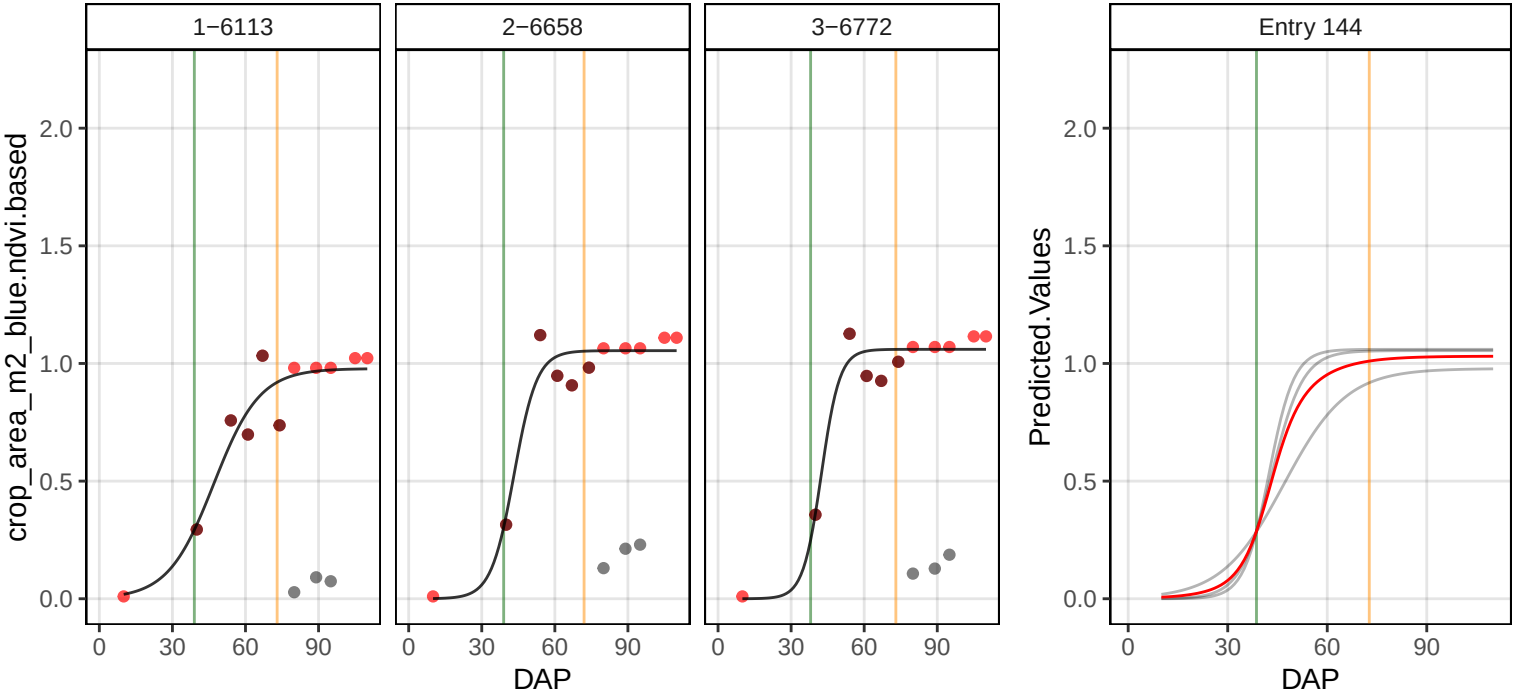

145 | PI 193550 AGL

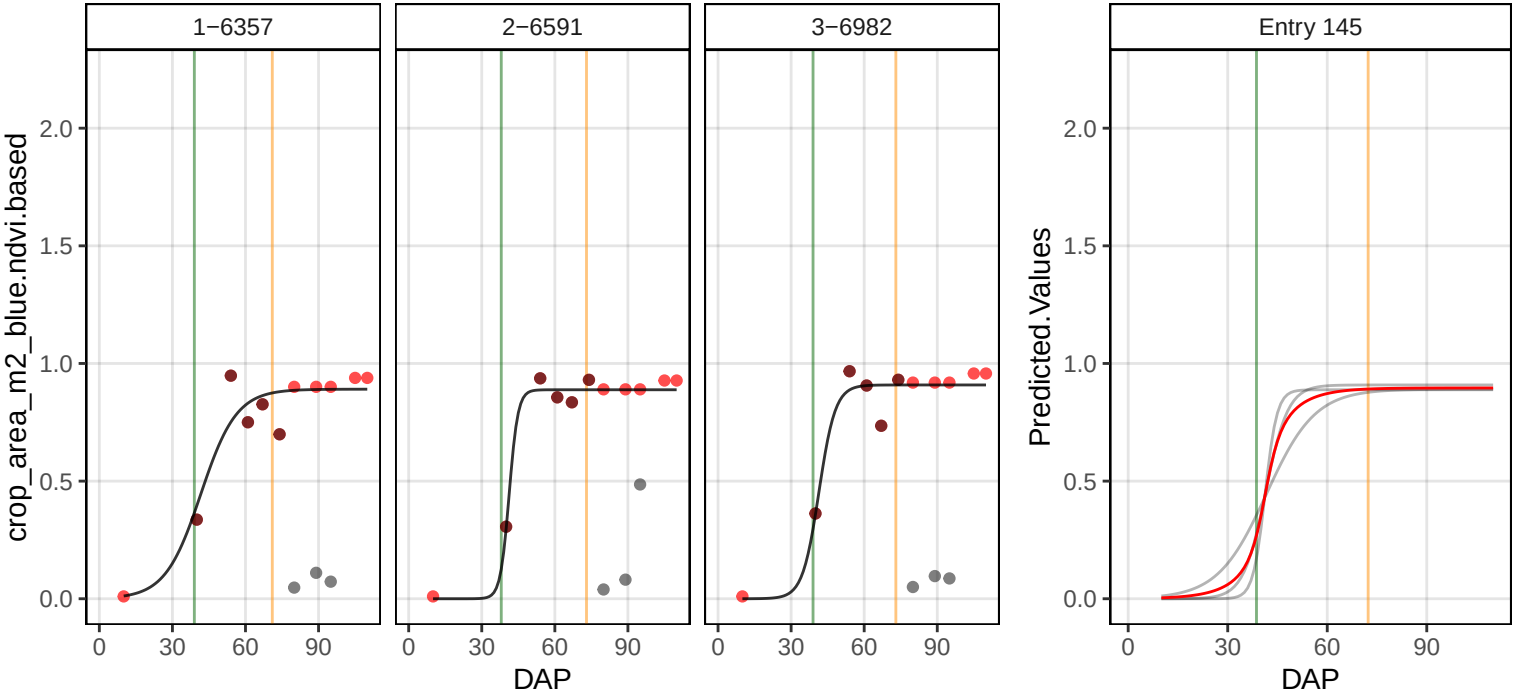

146 | PI 207492 LSP AGL

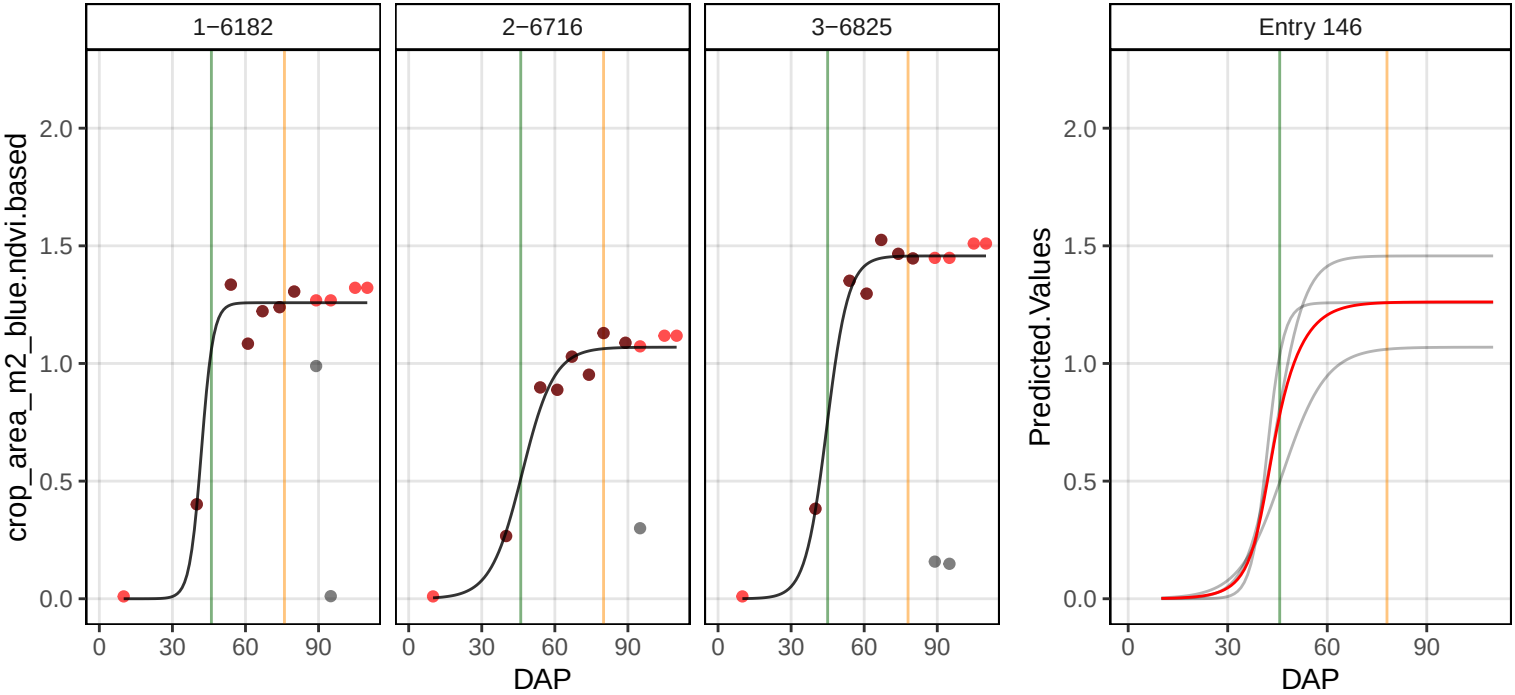

147 | PI 518731 LSP AGL

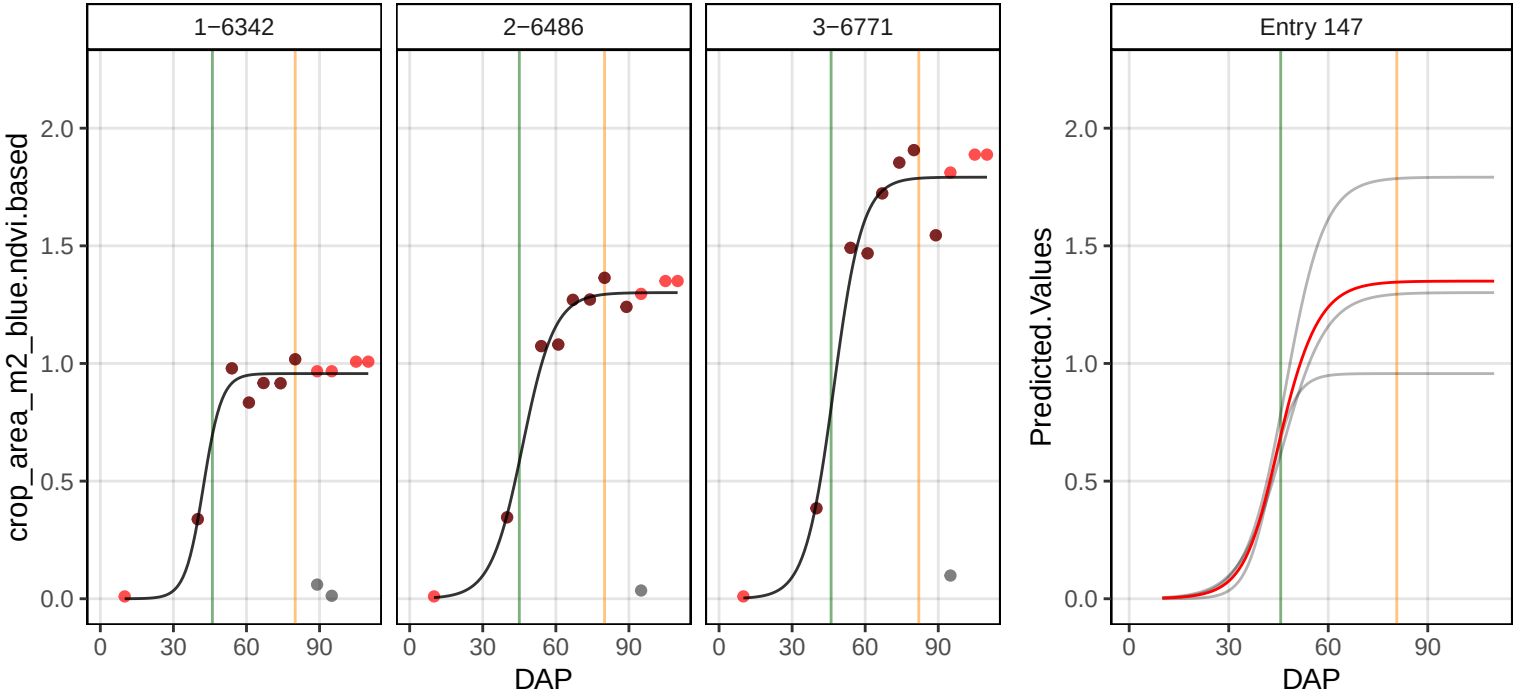

148 | PI 209858 LSP AGL

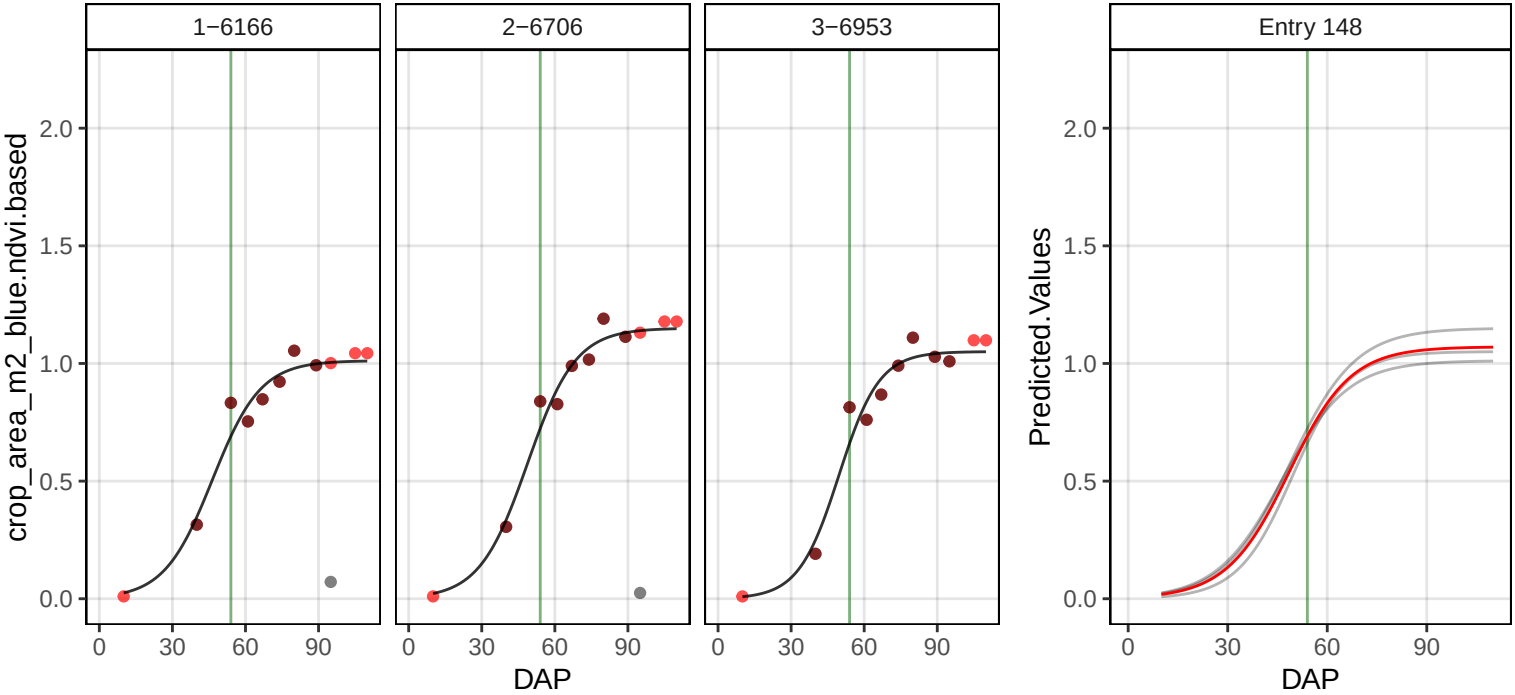

149 | PI 211052 LSP AGL

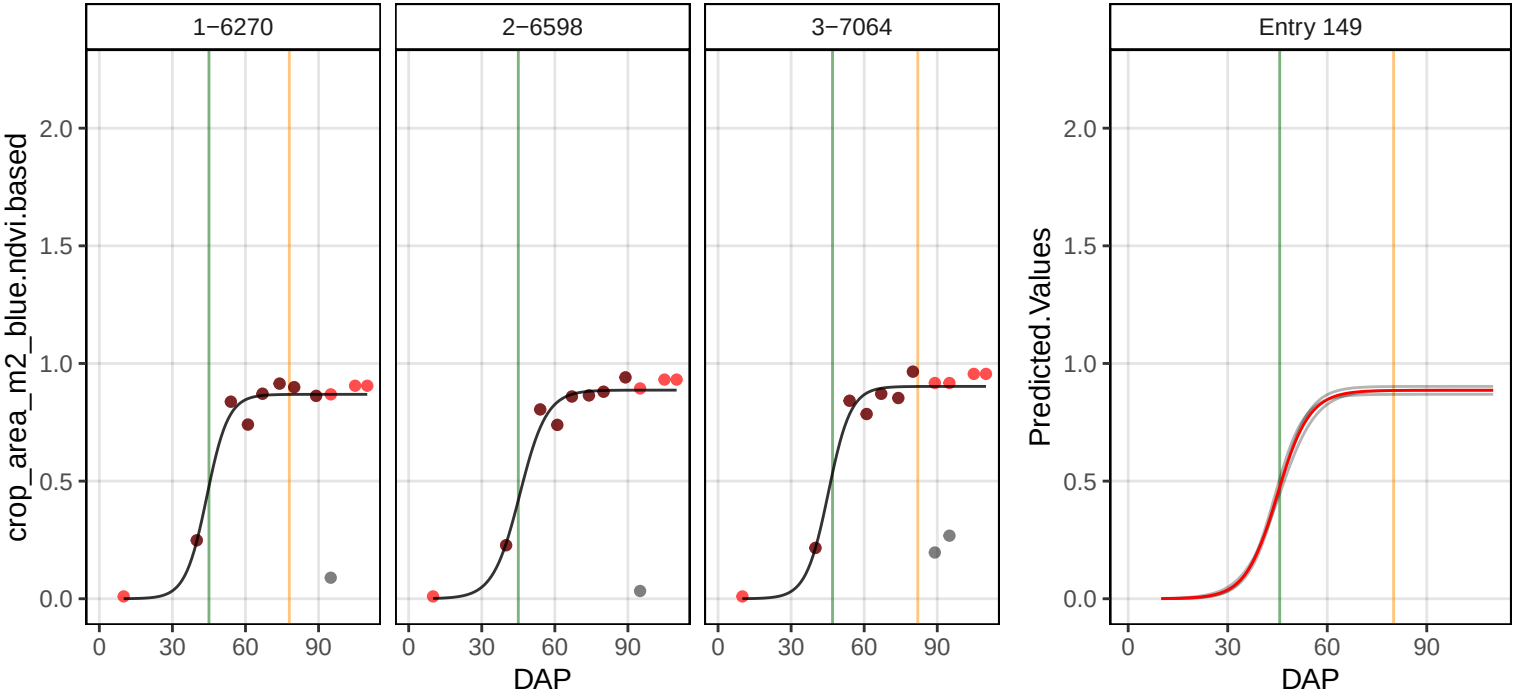

150 | PI 212100 LSP AGL

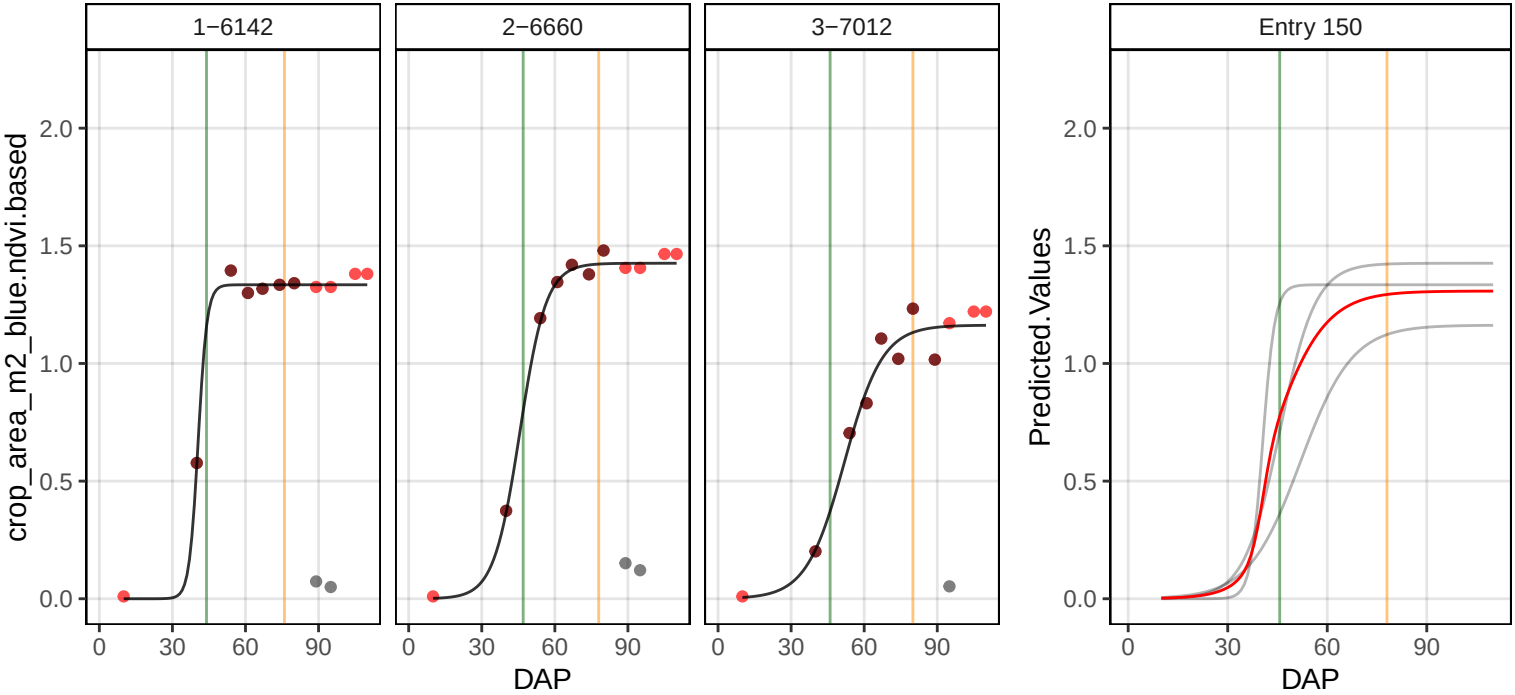

151 | PI 212610 LSP AGL

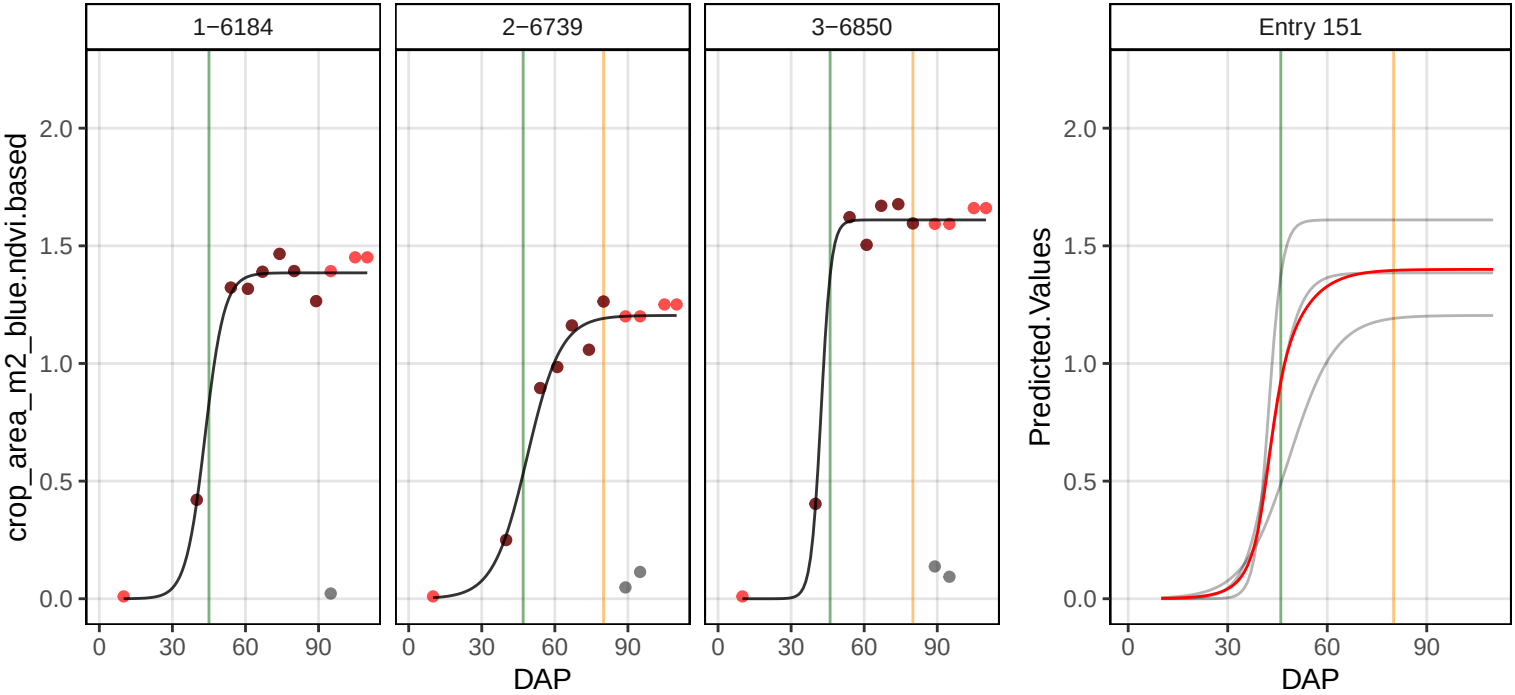

152 | PI 217949 LSP AGL

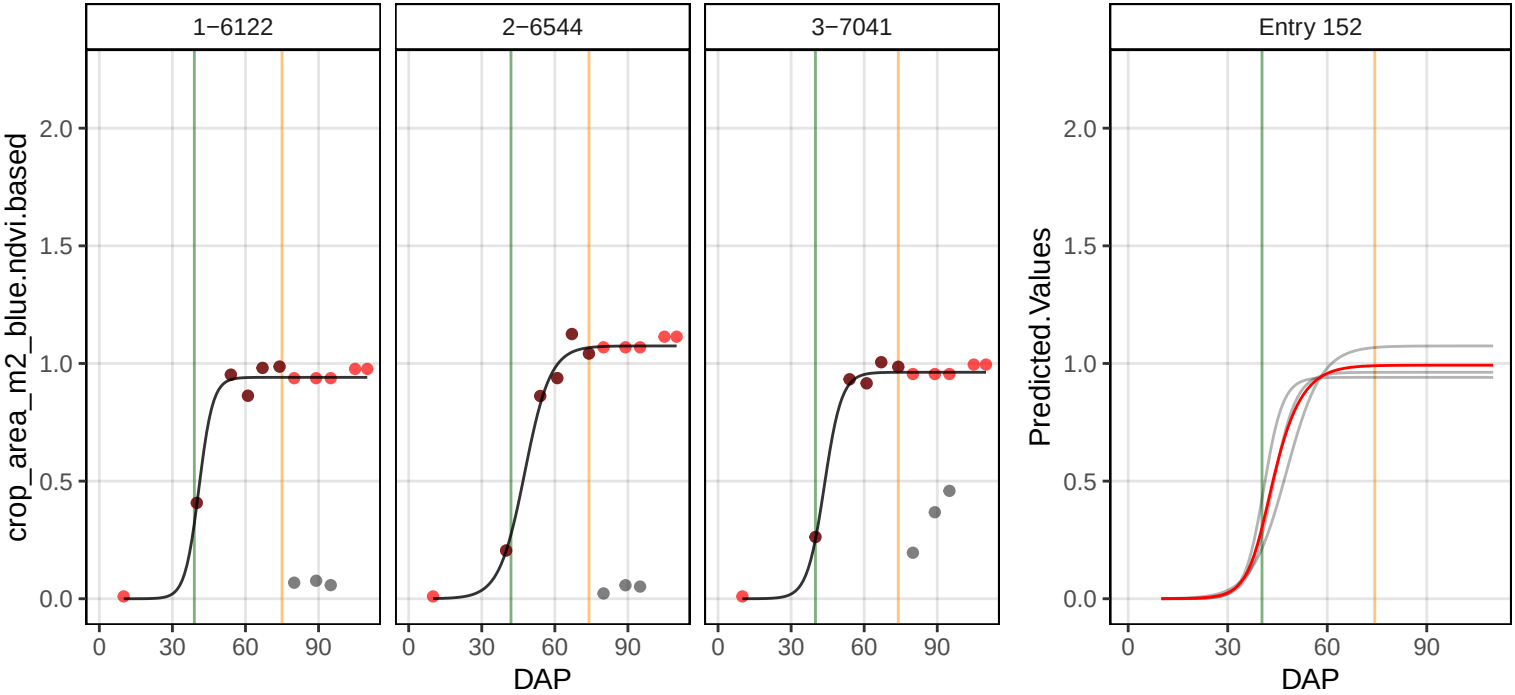

153 | PI 238758 LSP AGL

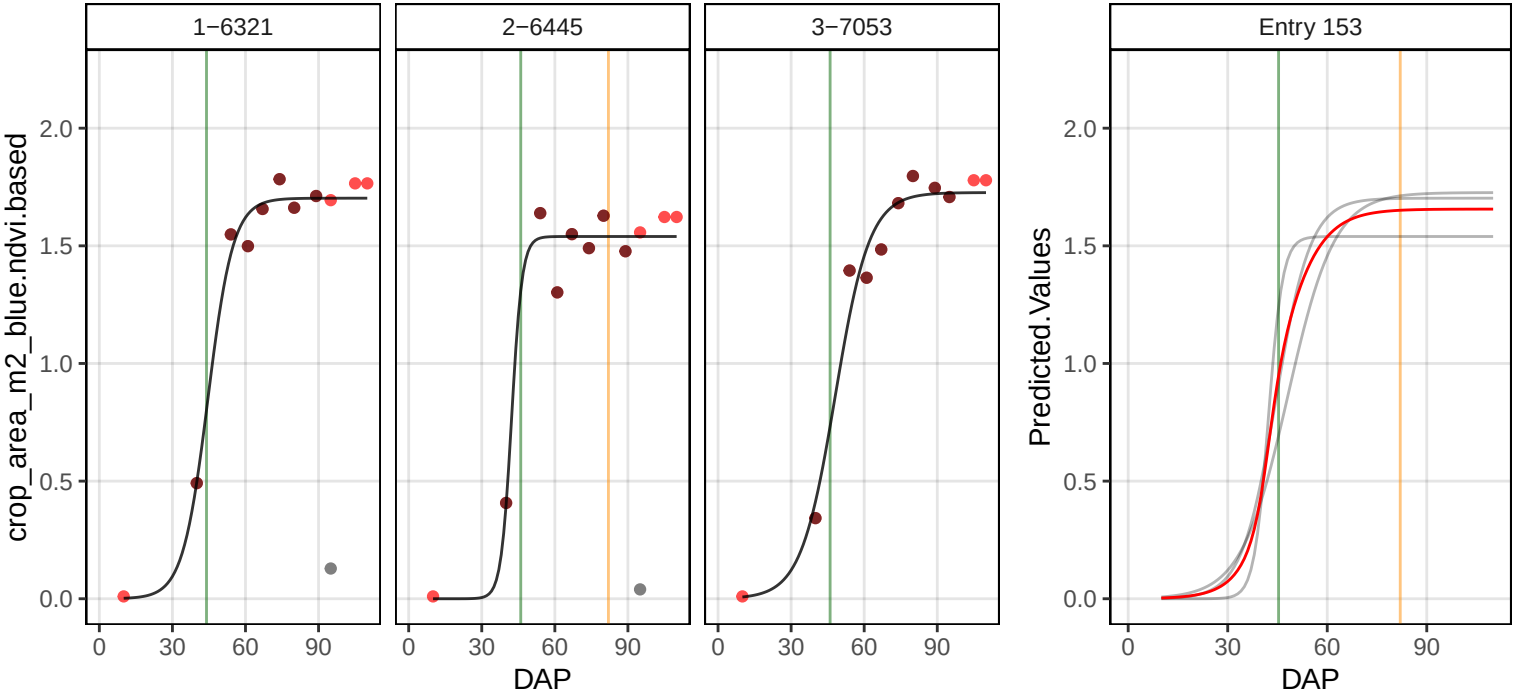

154 | PI 244046 AGL

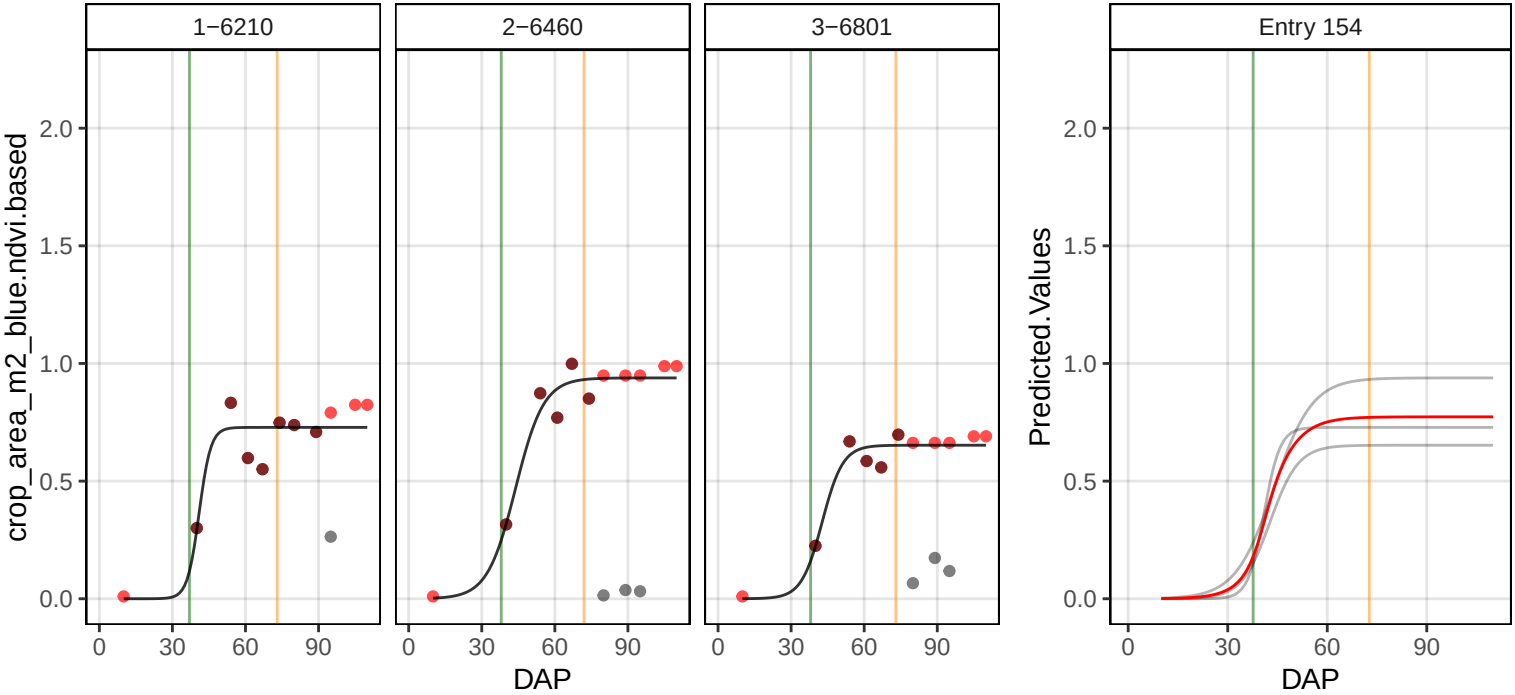

155 | PI 250156 LSP AGL

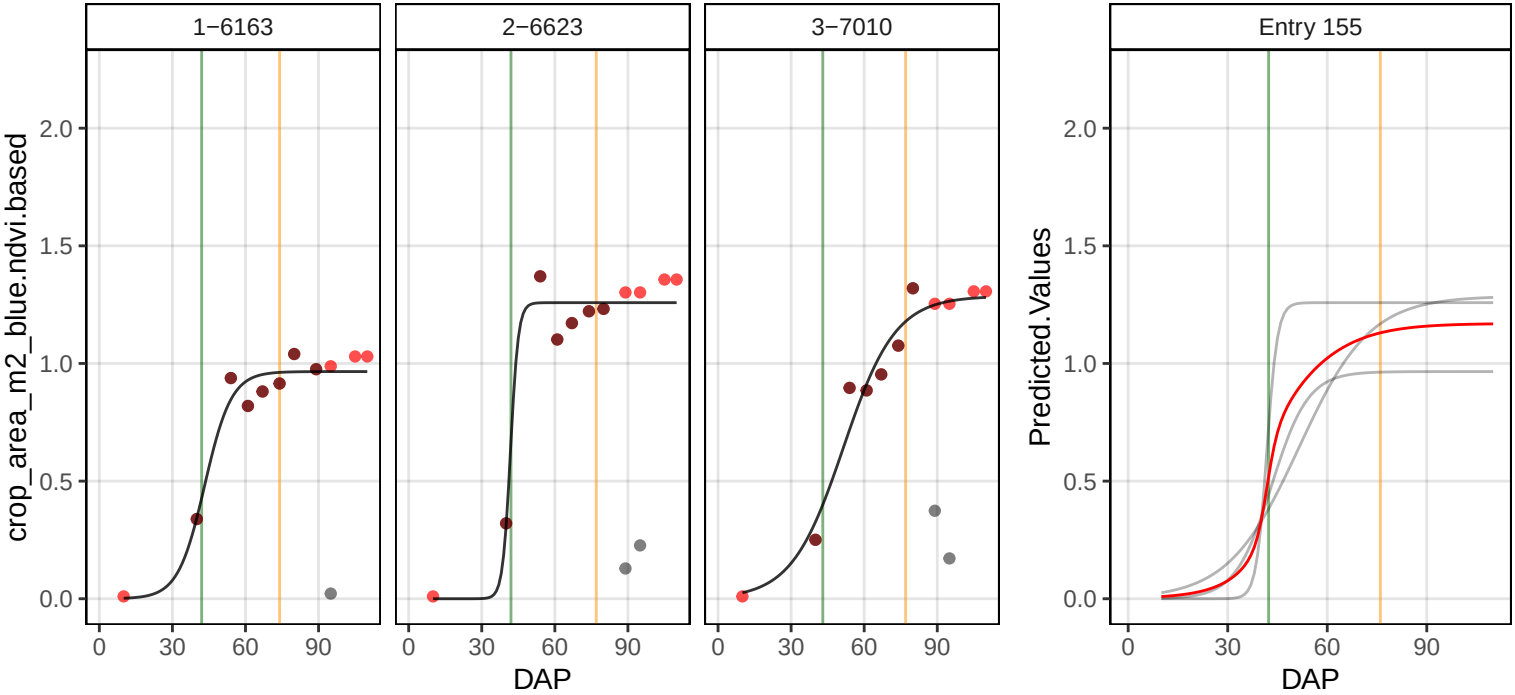

156 | PI 250158 LSP AGL

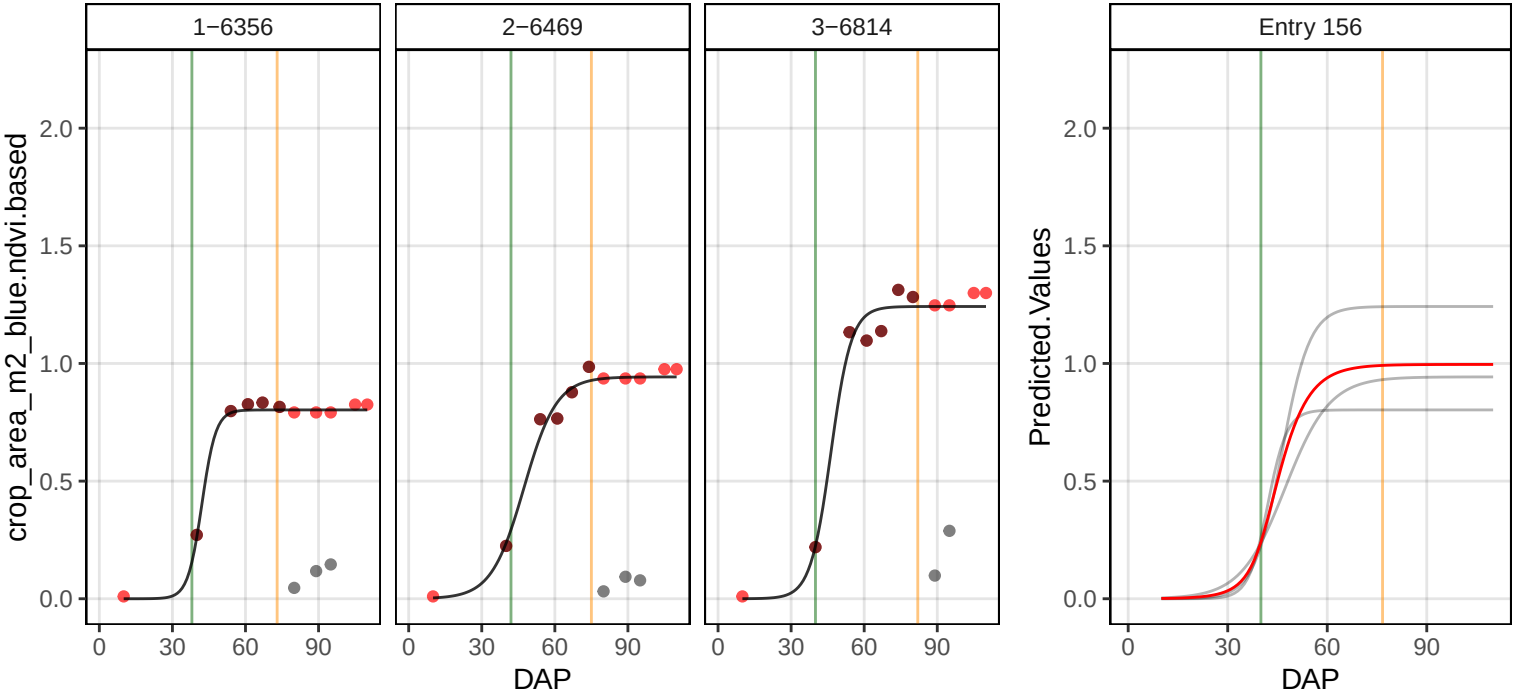

157 | PI 251248 LSP AGL

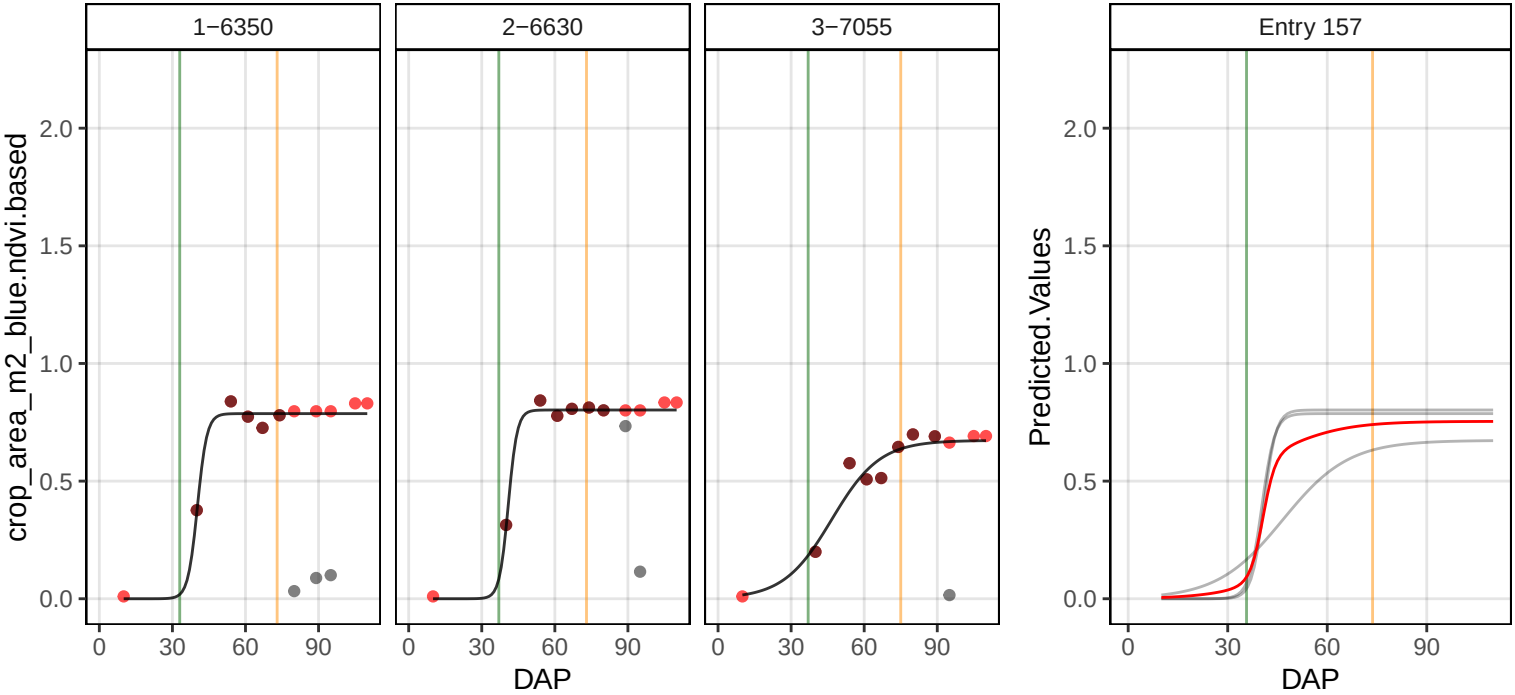

158 | PI 273664 LSP AGL

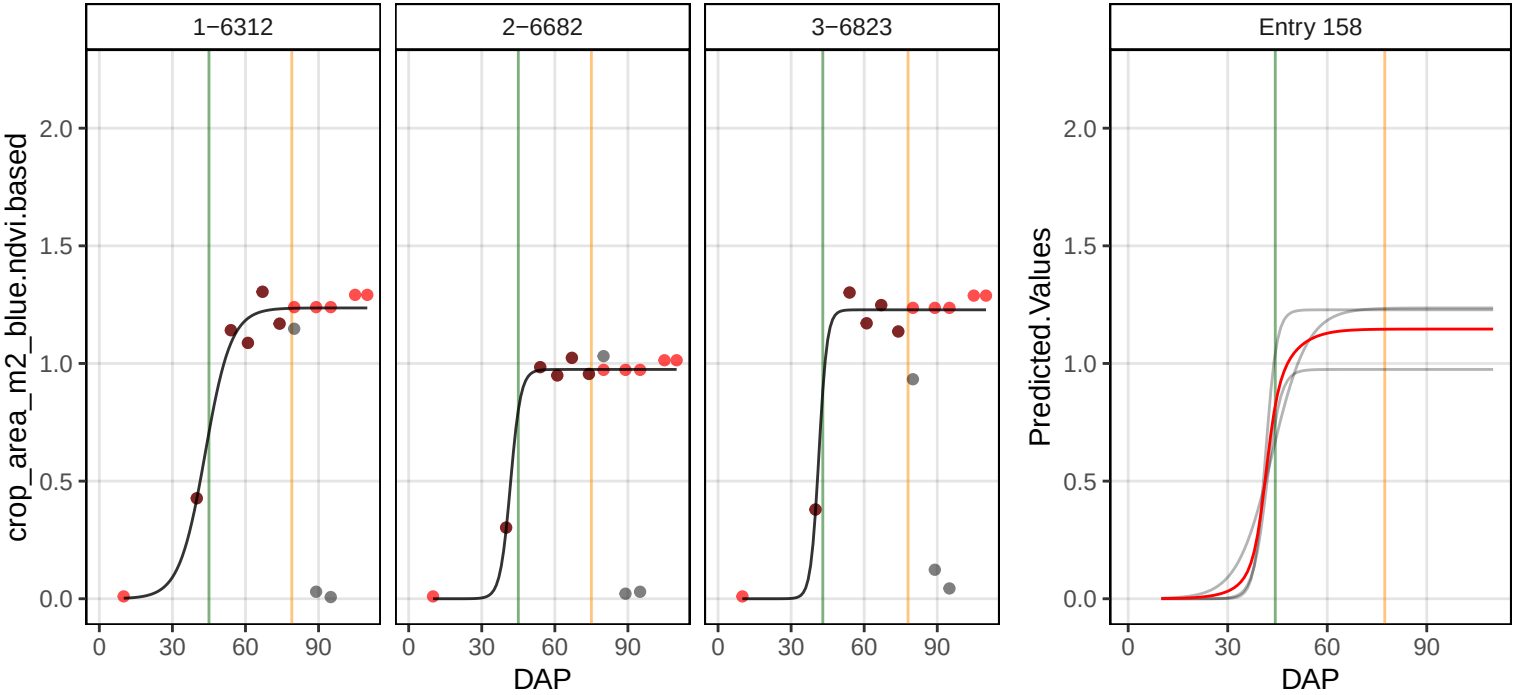

159 | PI 280686 AGL

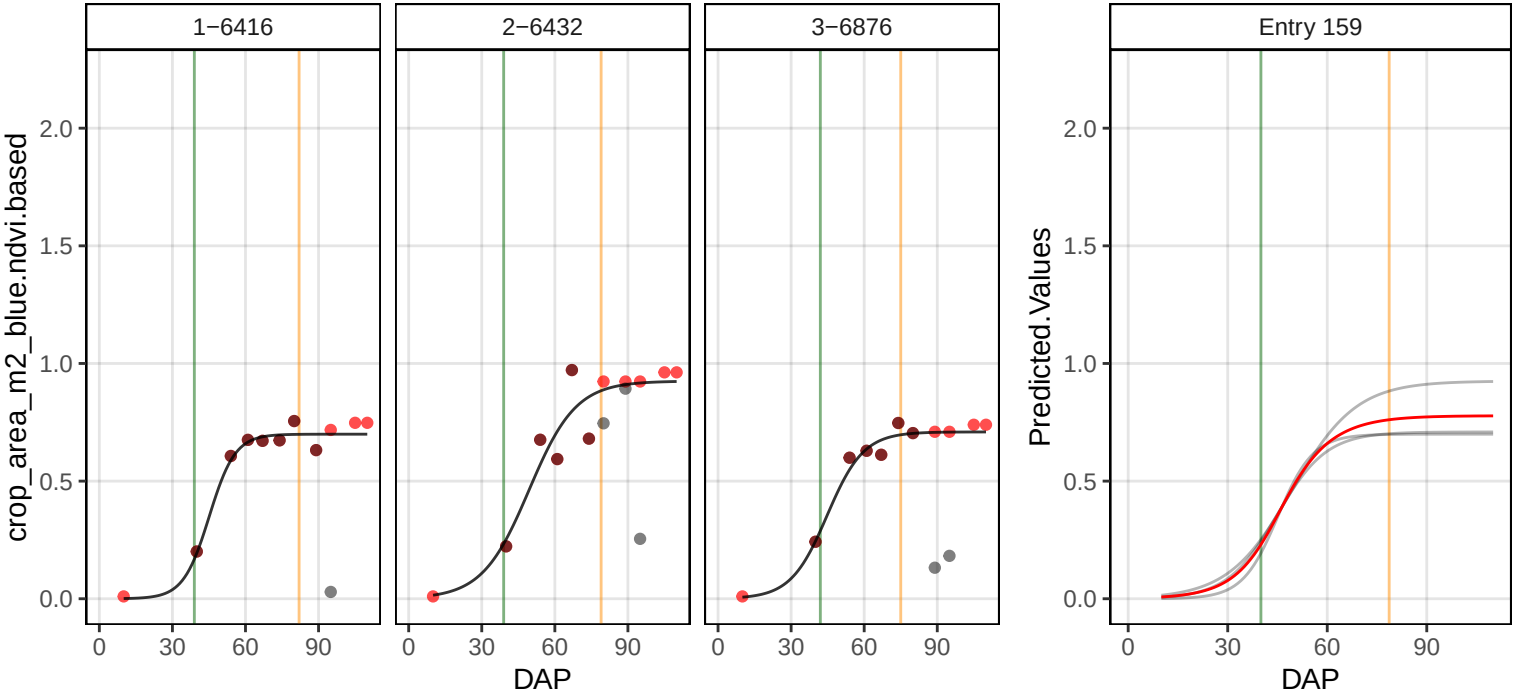

160 | PI 283604 LSP AGL

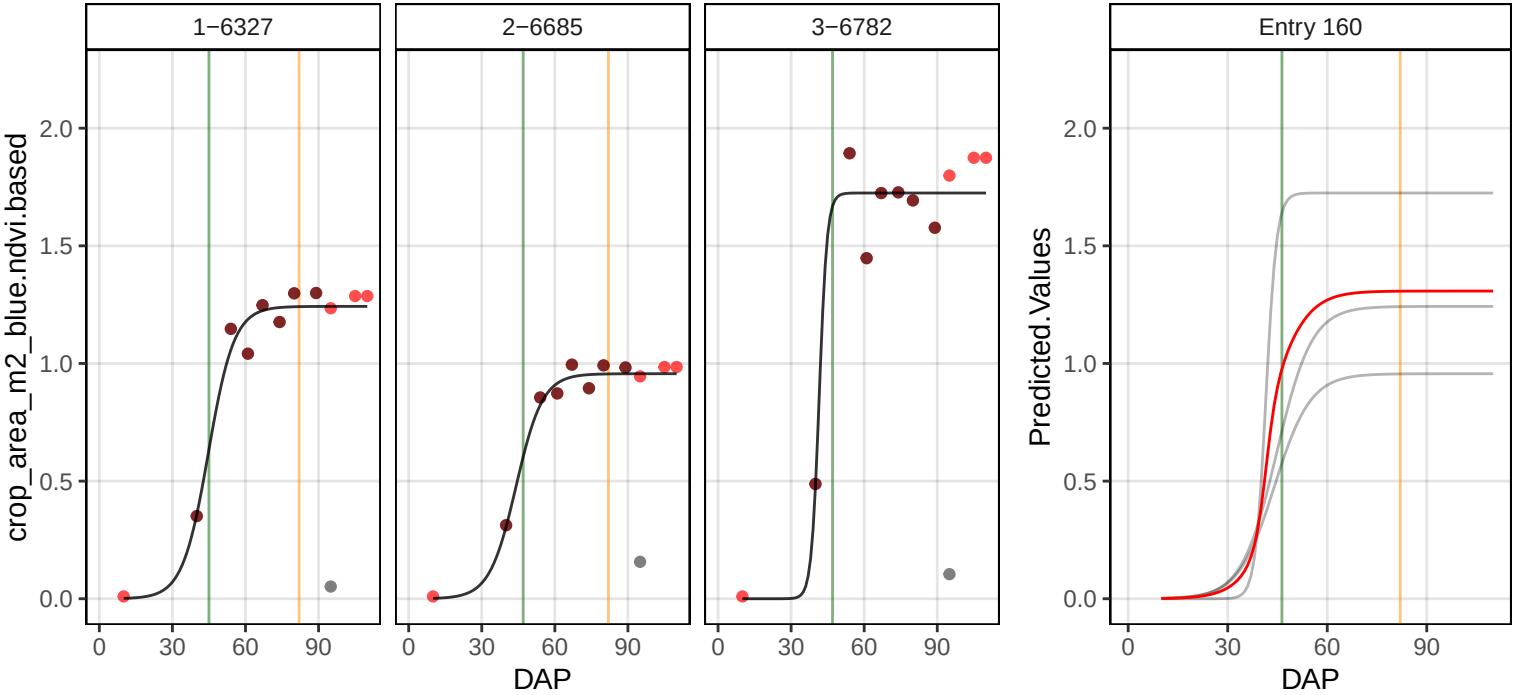

161 | PI 289066 AGL

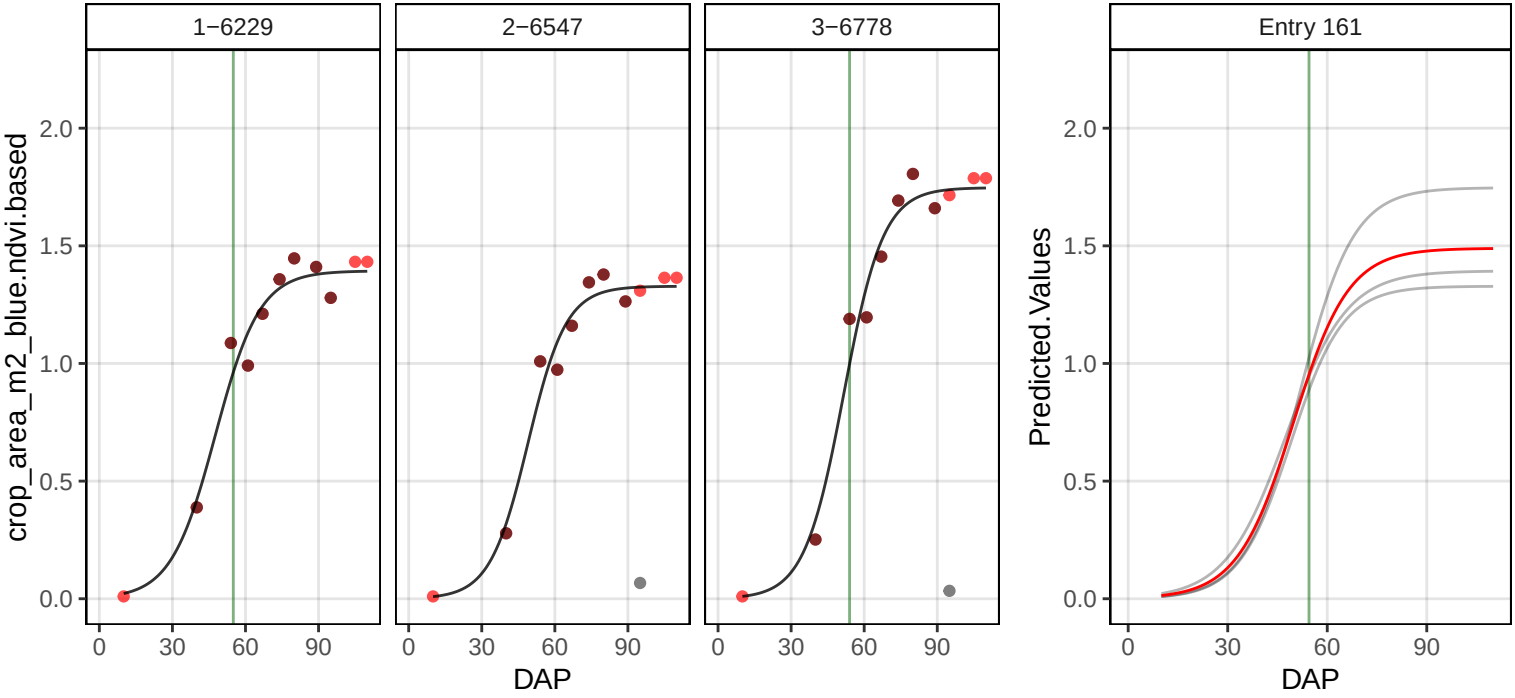

162 | PI 289073 LSP AGL

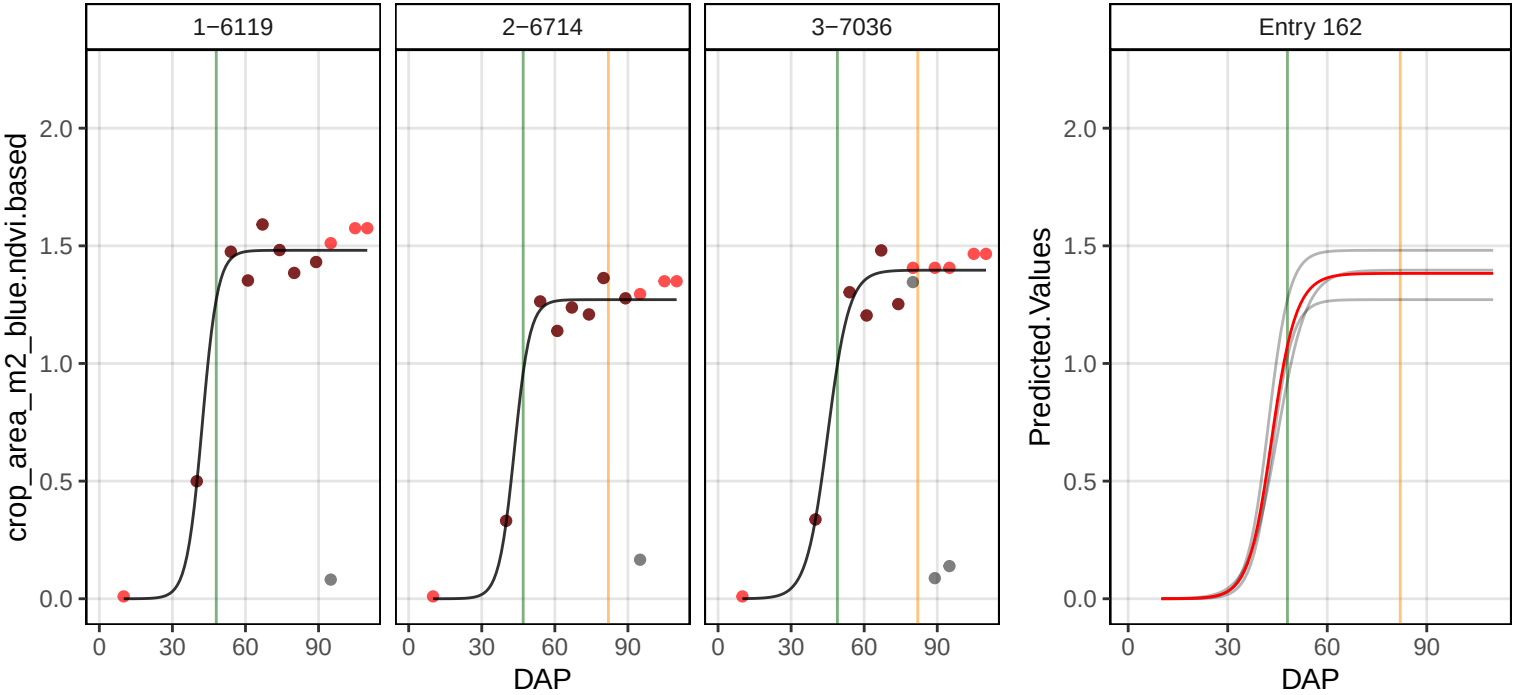

163 | PI 289079 LSP AGL

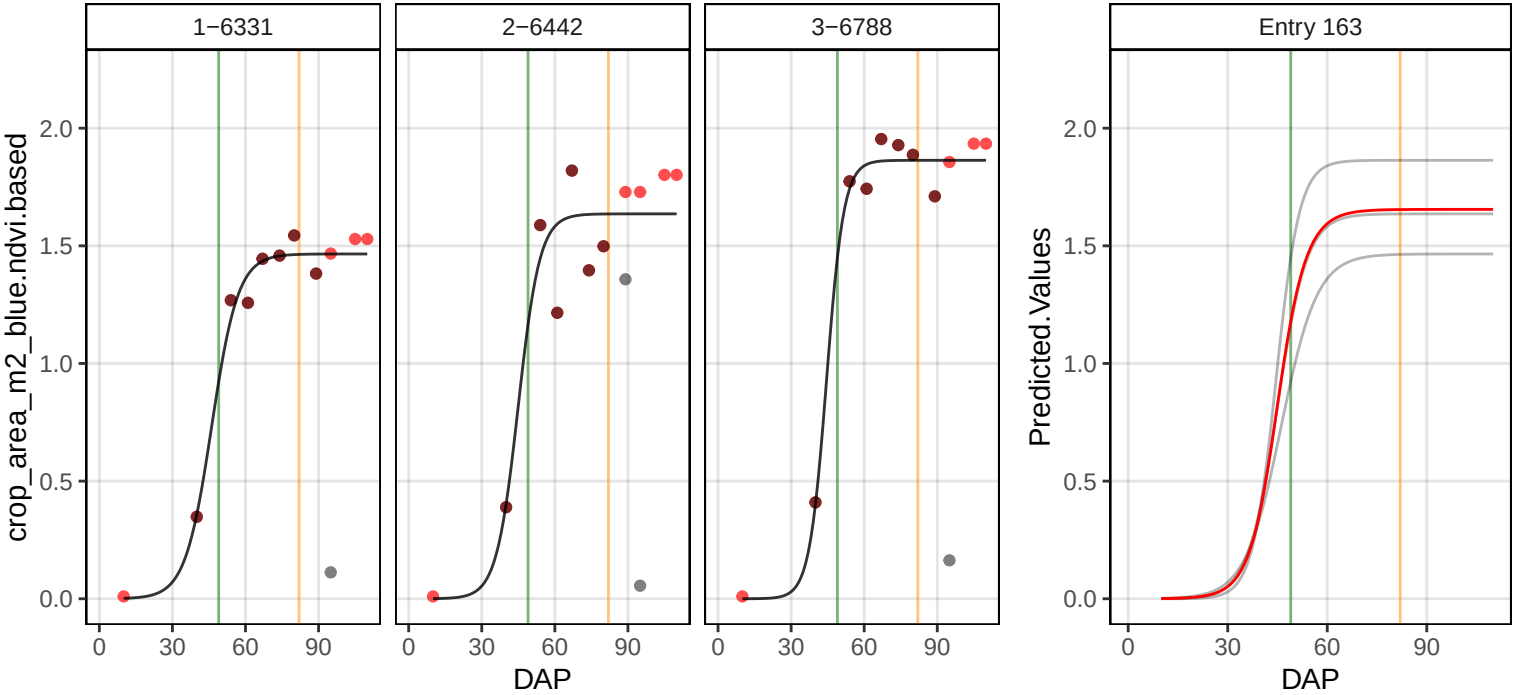

164 | PI 290716 LSP AGL

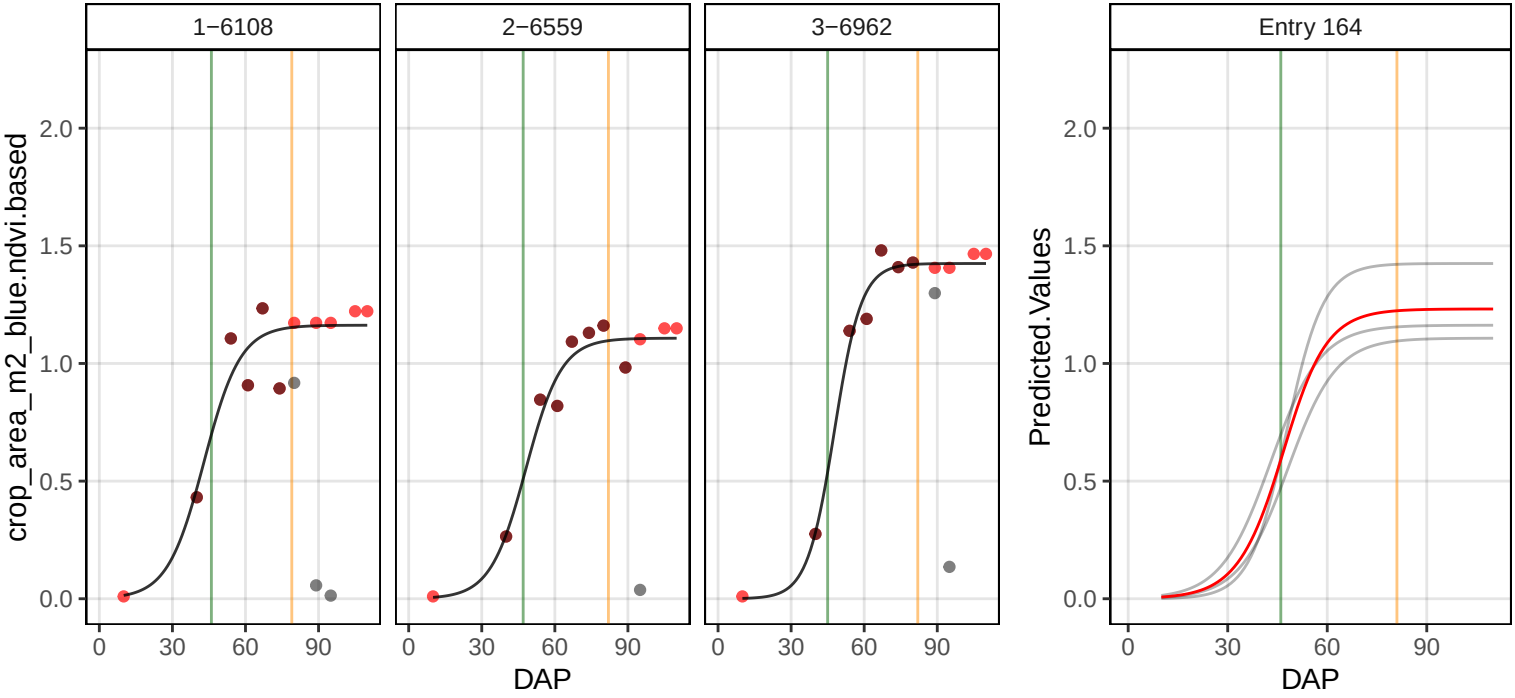

165 | PI 297285 LSP AGL

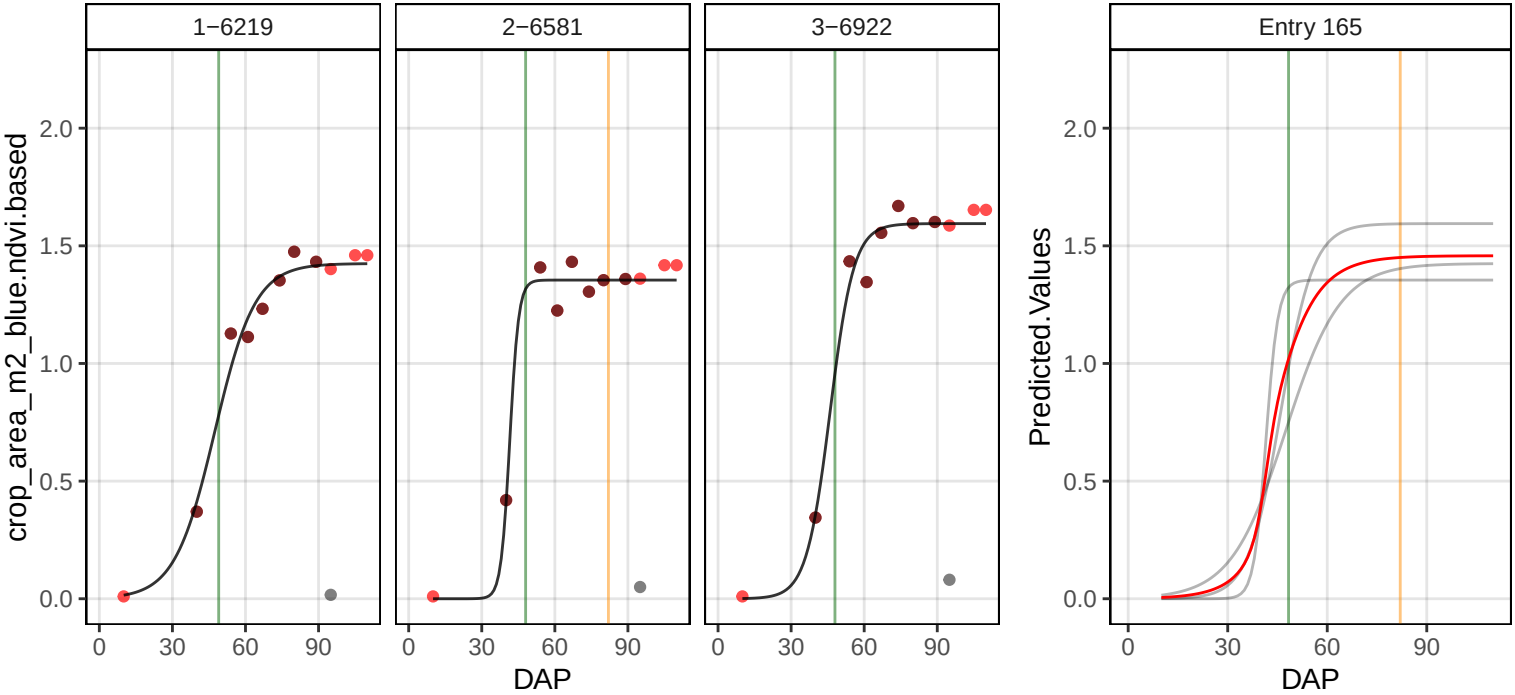

166 | PI 297287 AGL

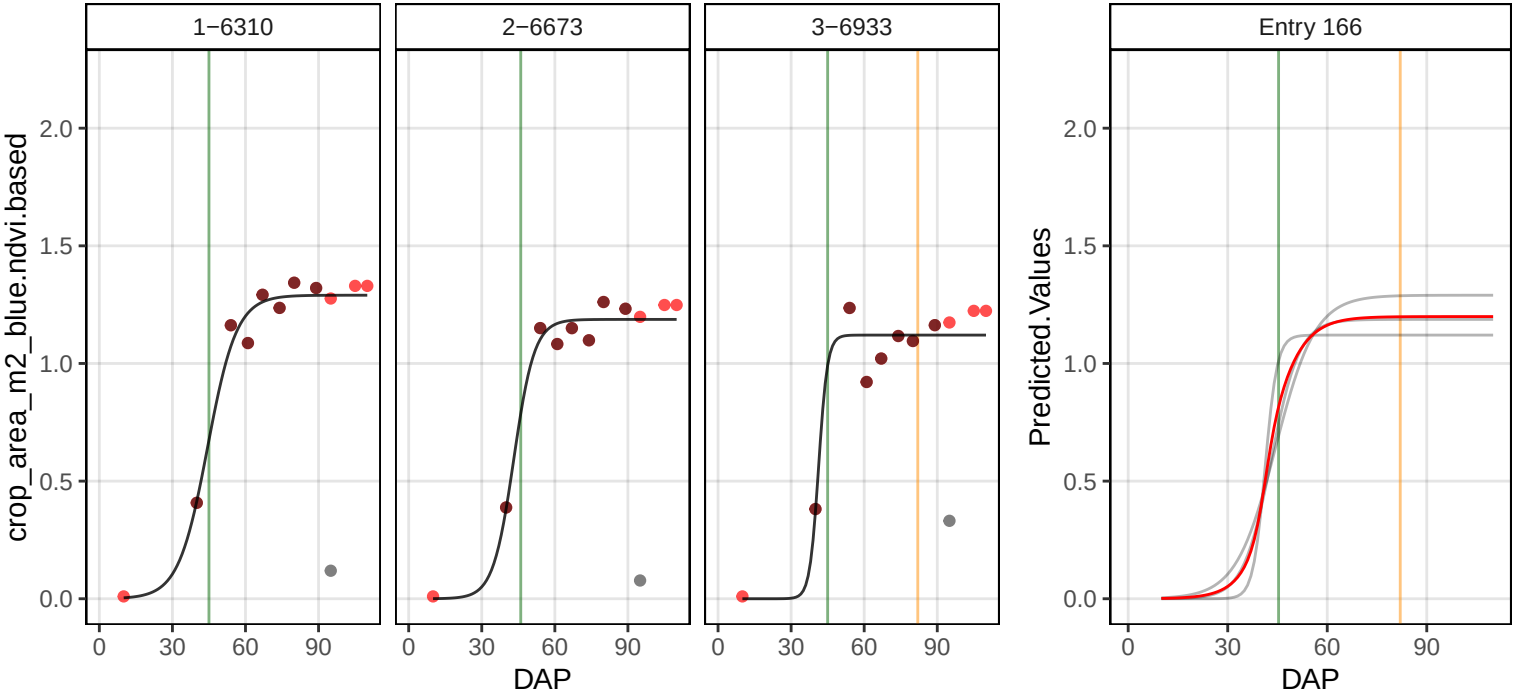

167 | PI 297754 LSP AGL

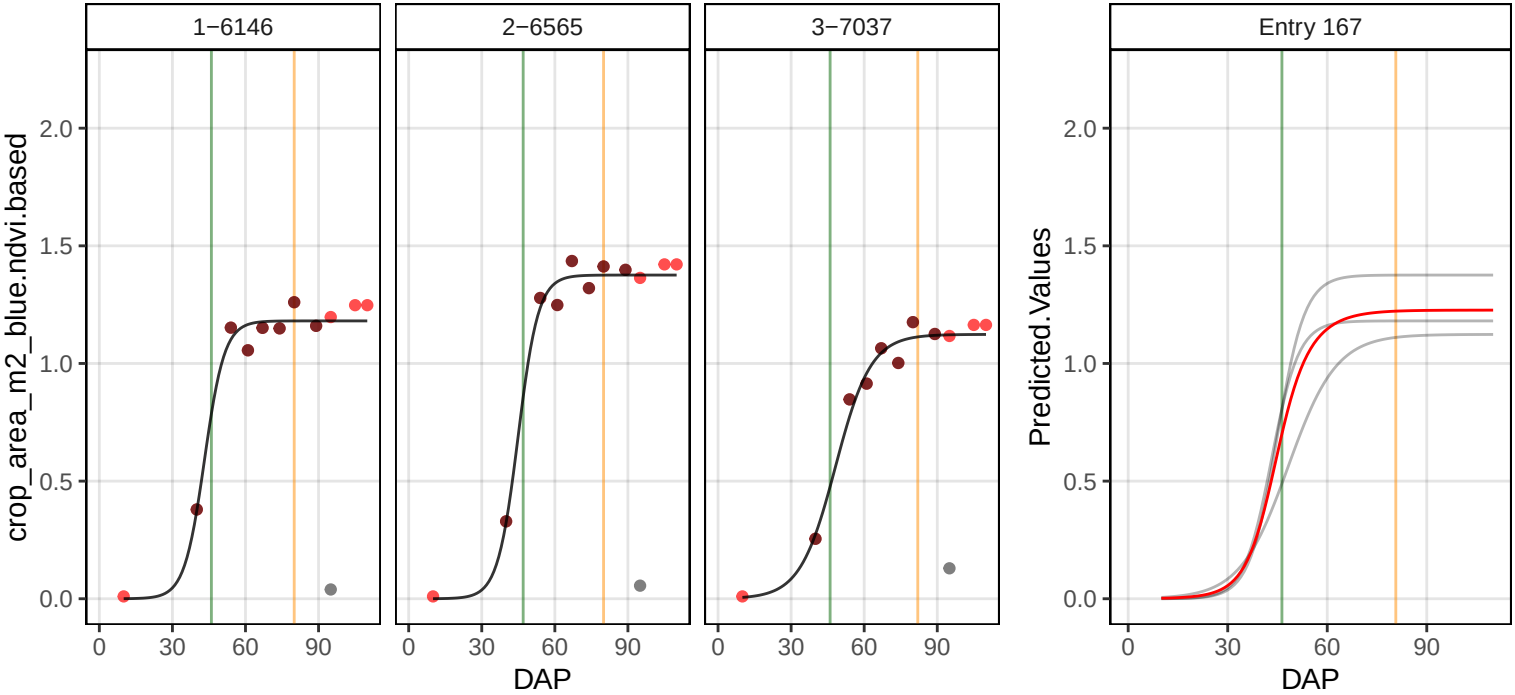

168 | PI 297767 AGL

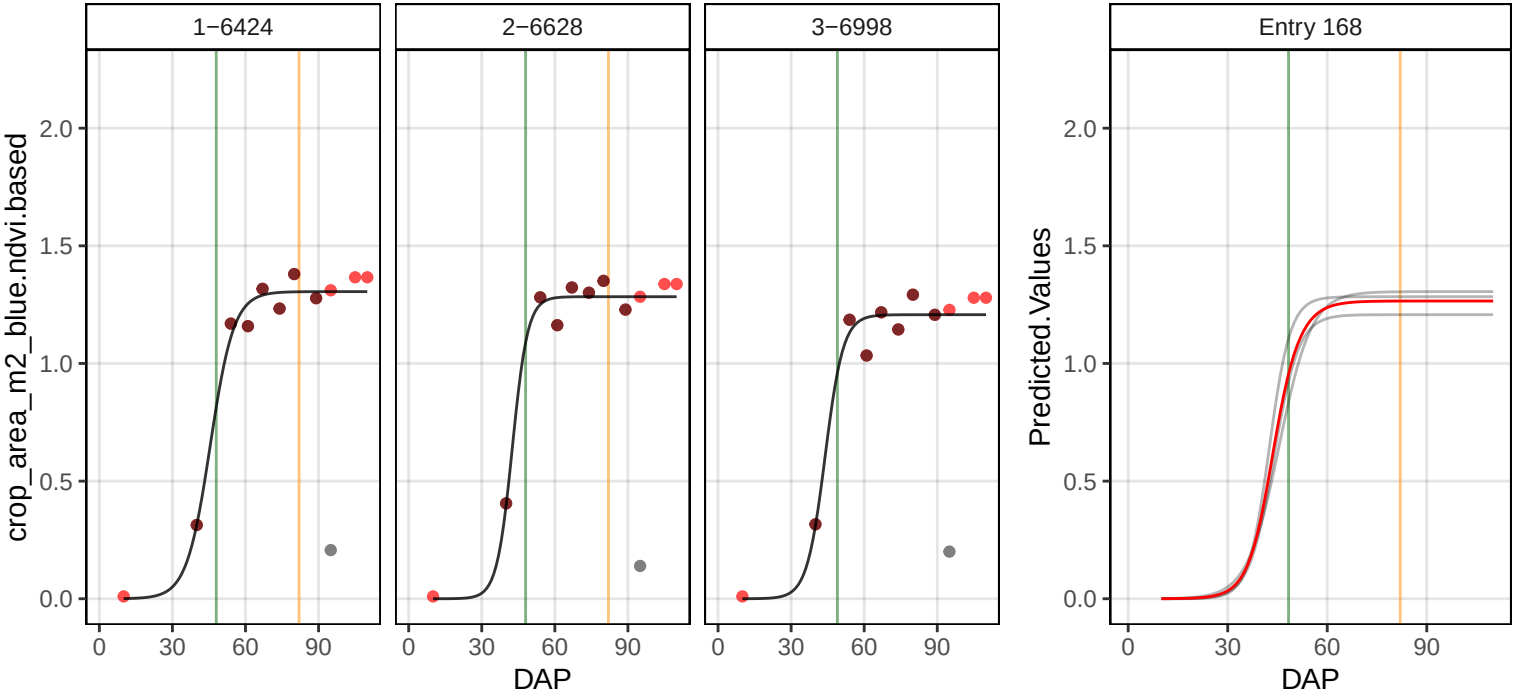

169 | PI 297772 LSP AGL

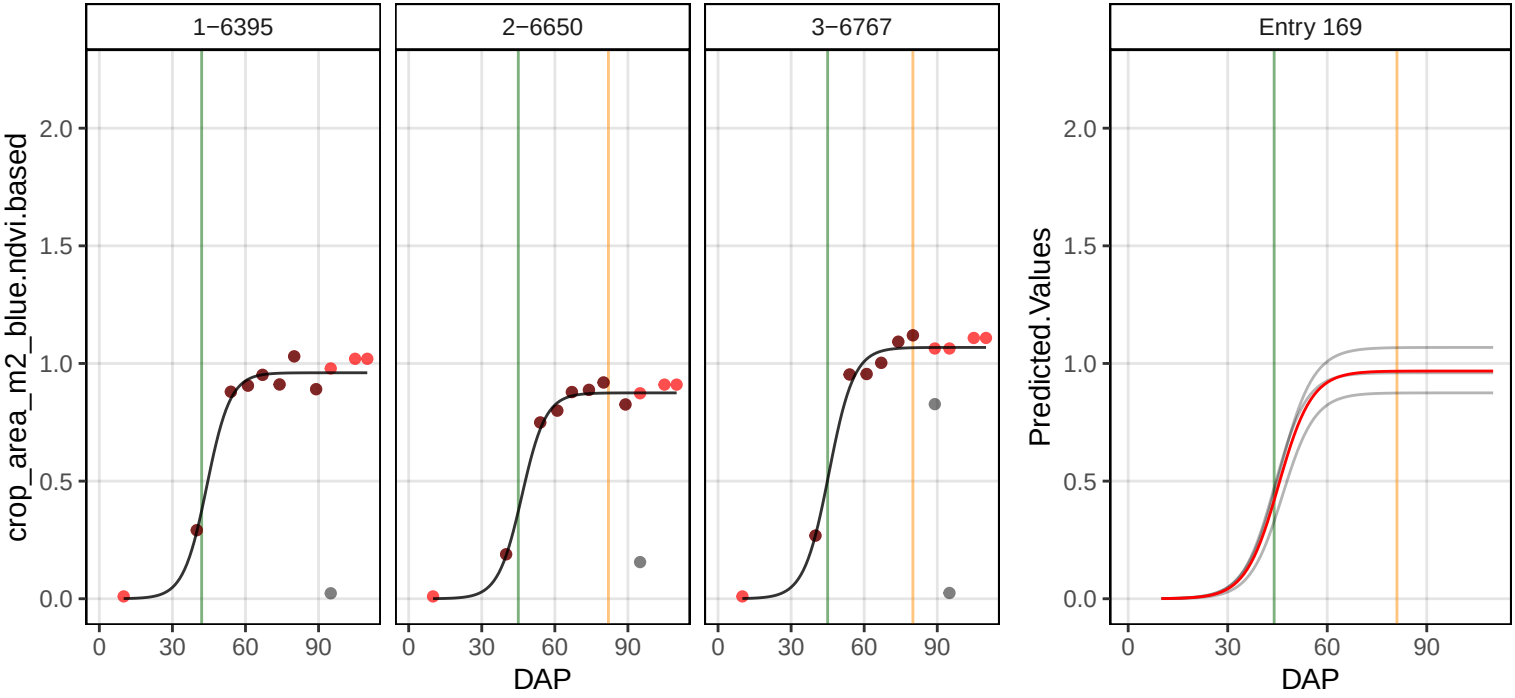

170 | PI 297783 AGL

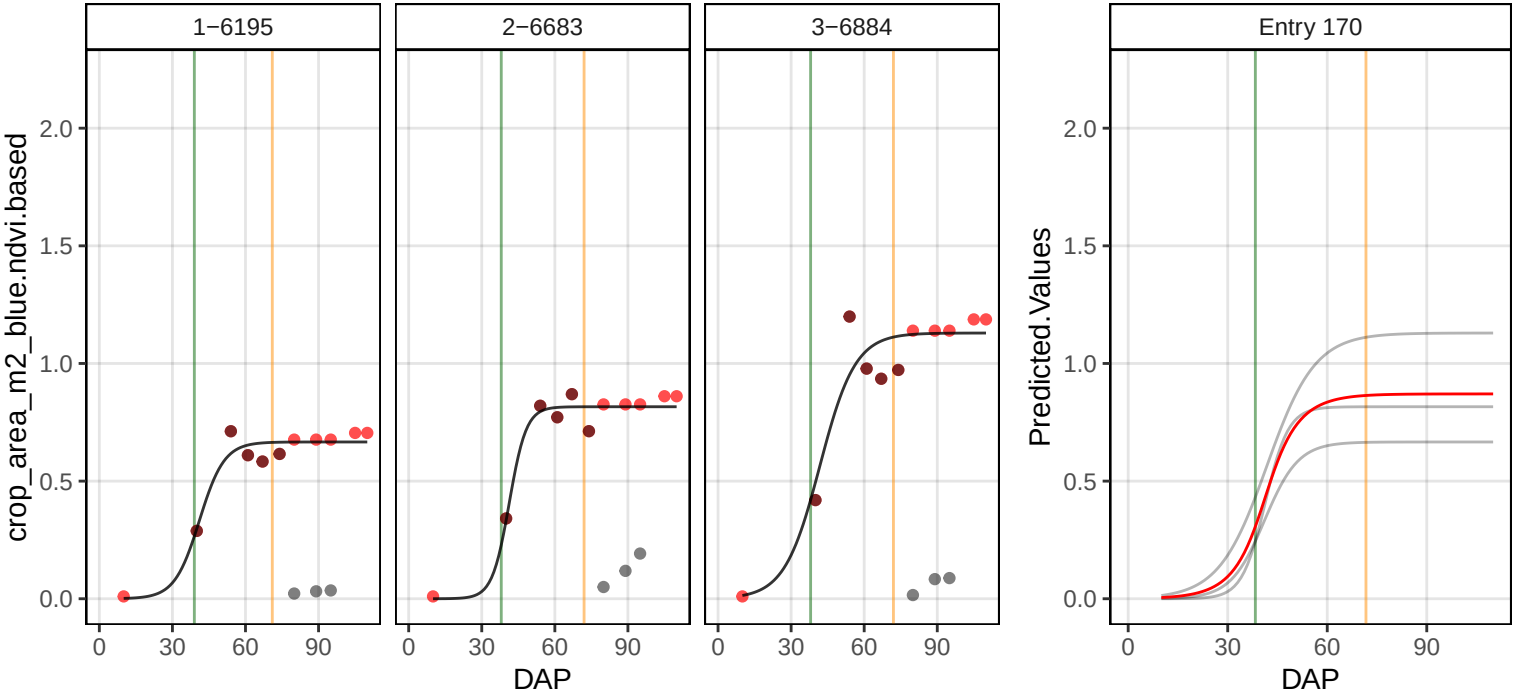

171 | PI 297787 LSP AGL

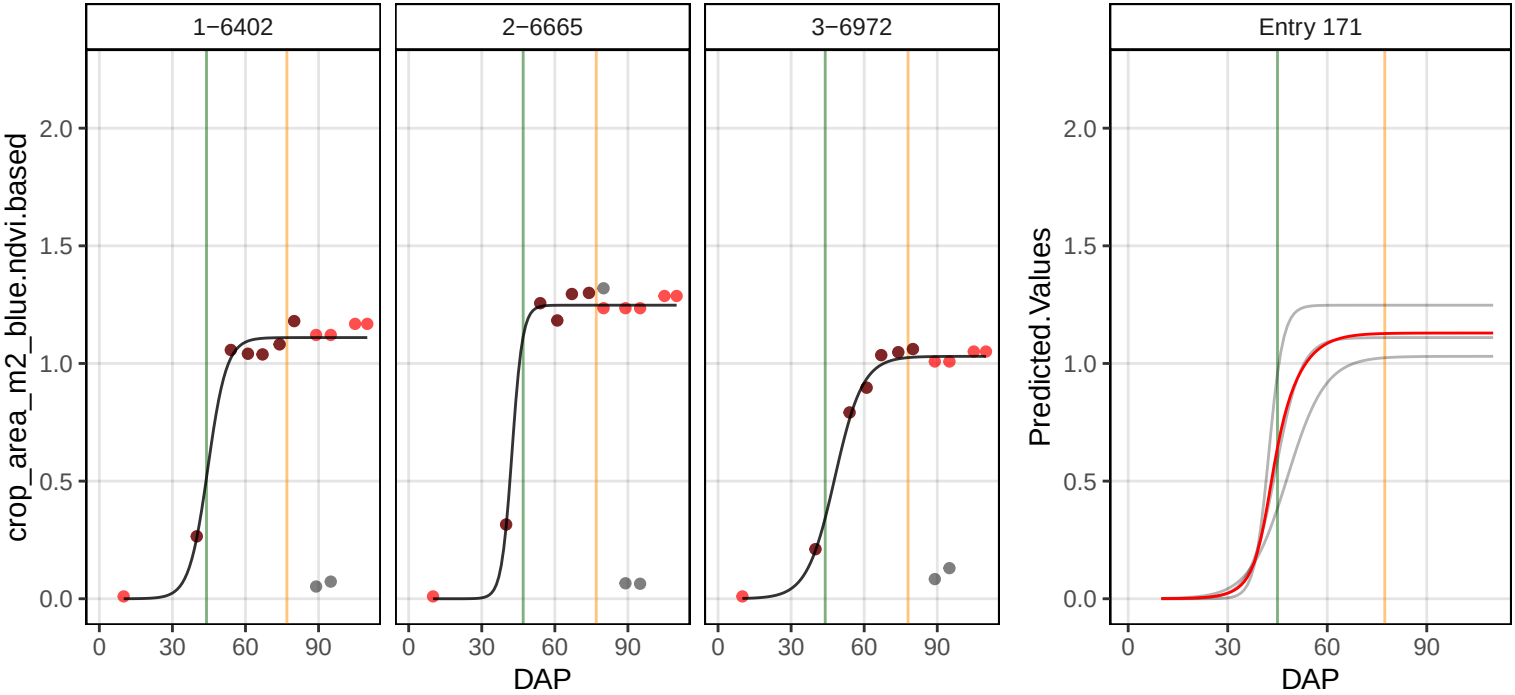

172 | PI 298023 LSP AGL

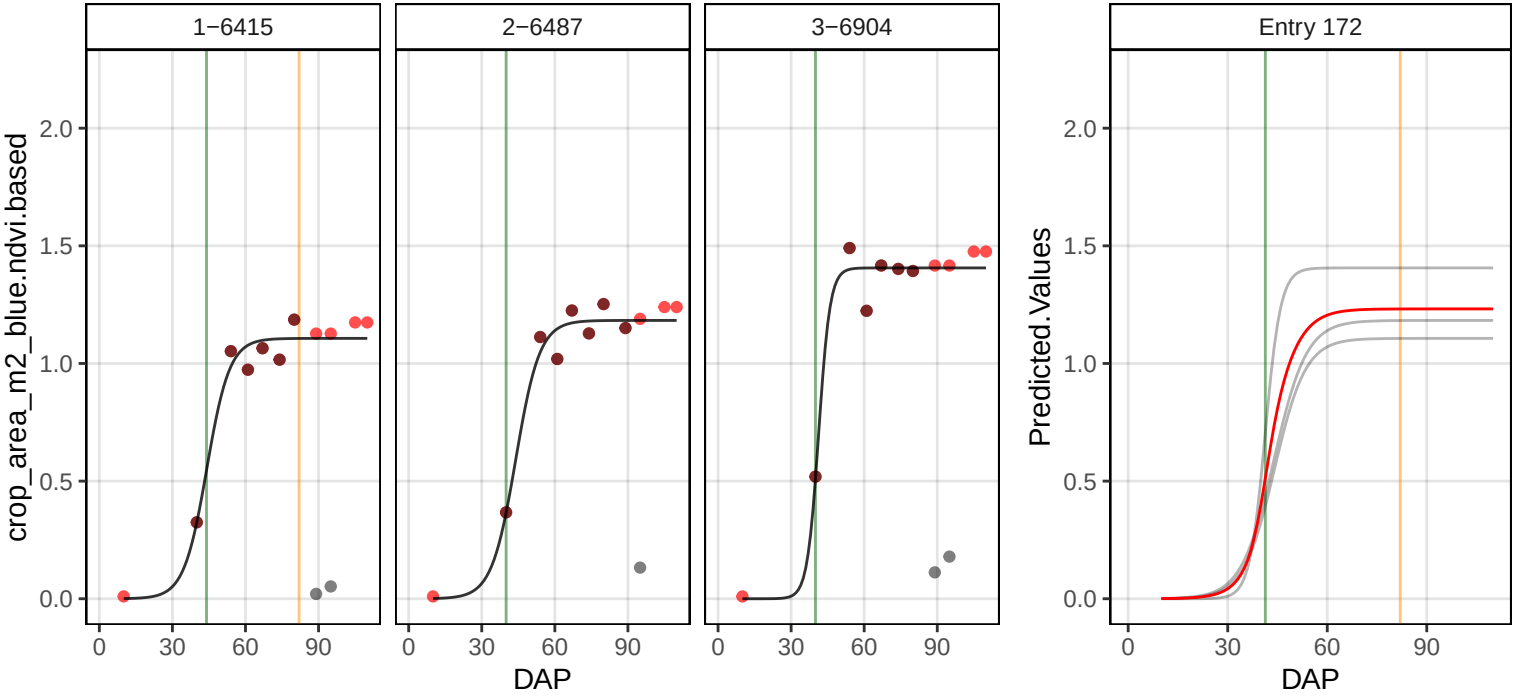

173 | PI 298121 LSP AGL

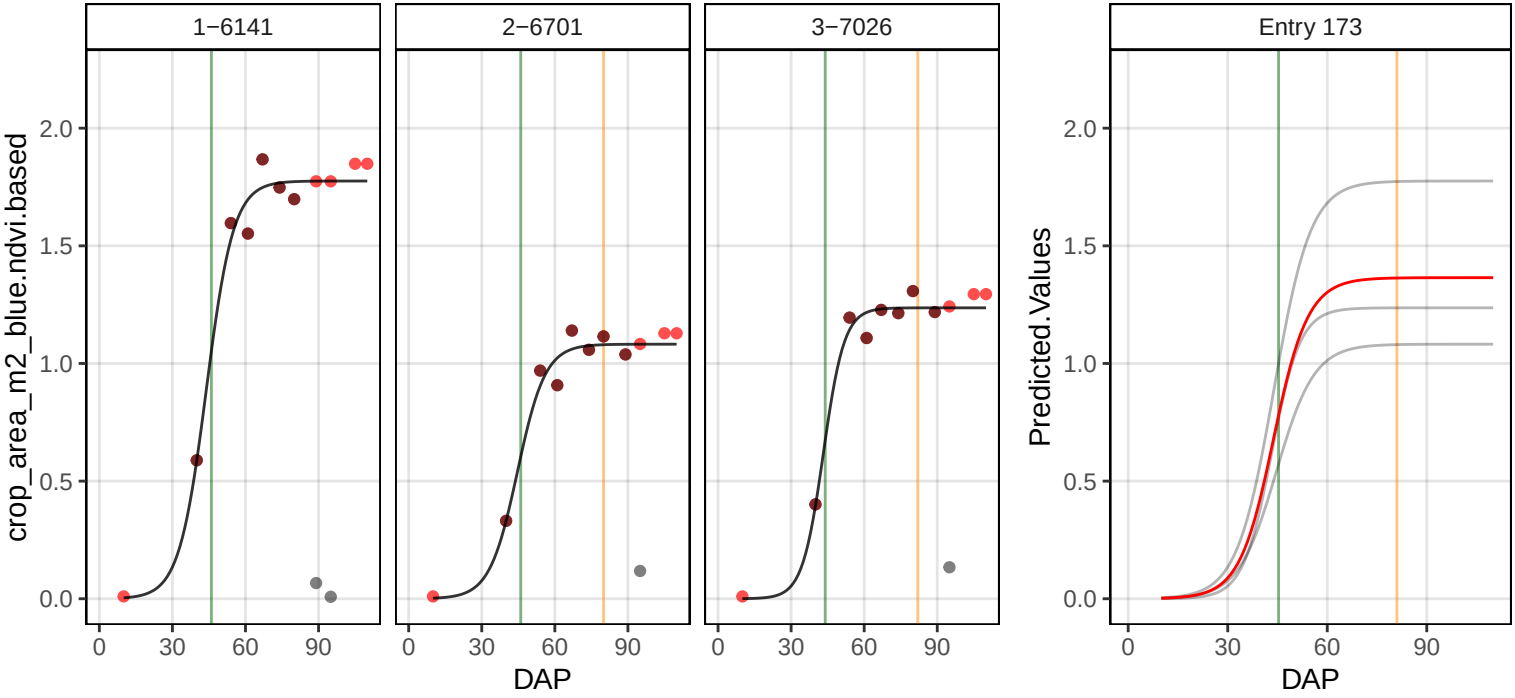

174 | PI 298122 LSP AGL

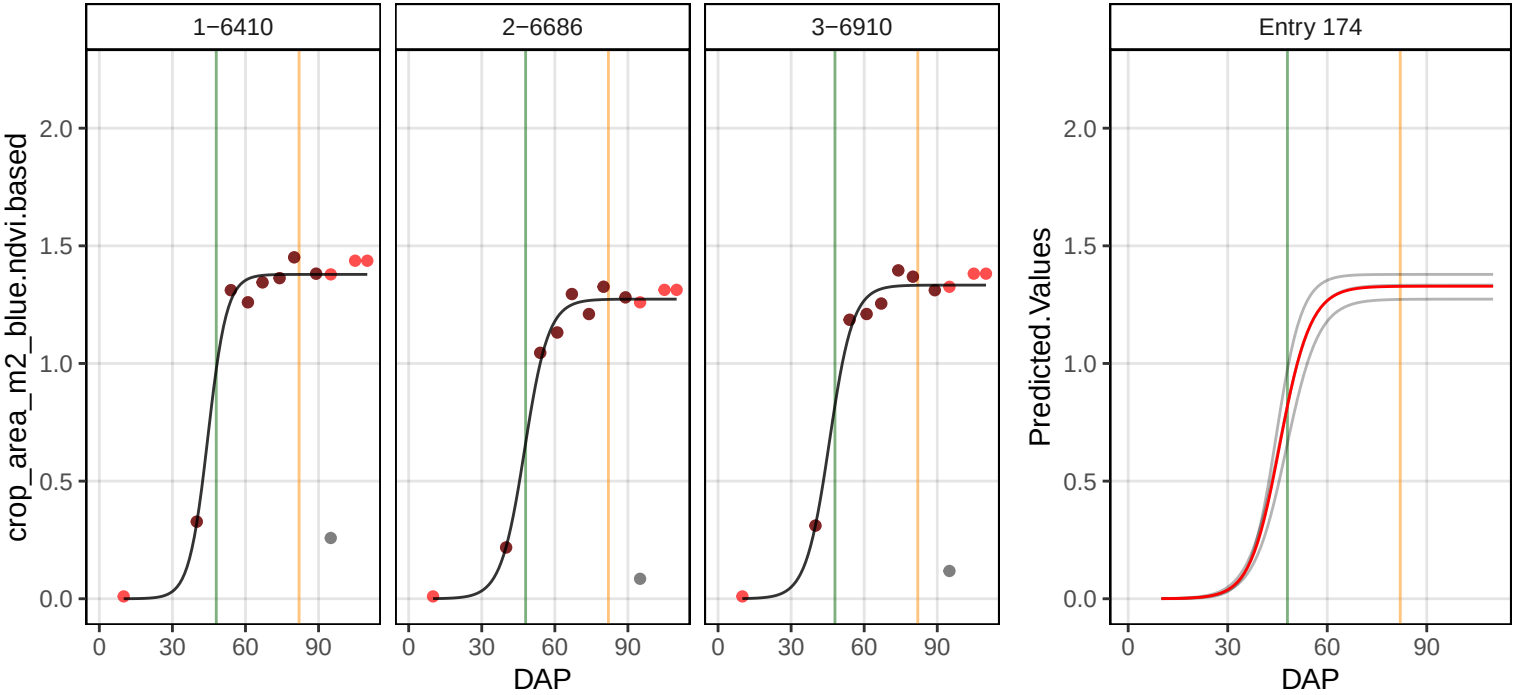

175 | PI 298357 LSP AGL

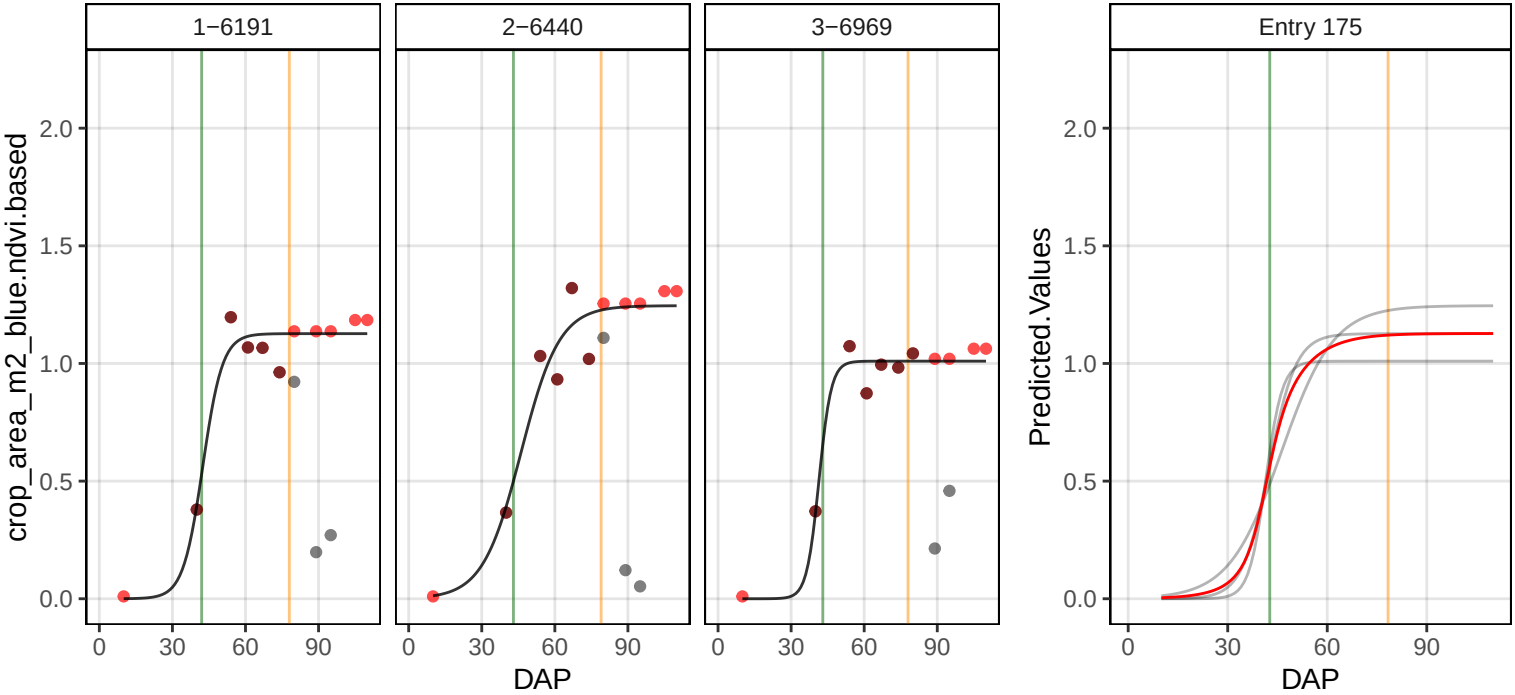

176 | PI 298631 LSP AGL

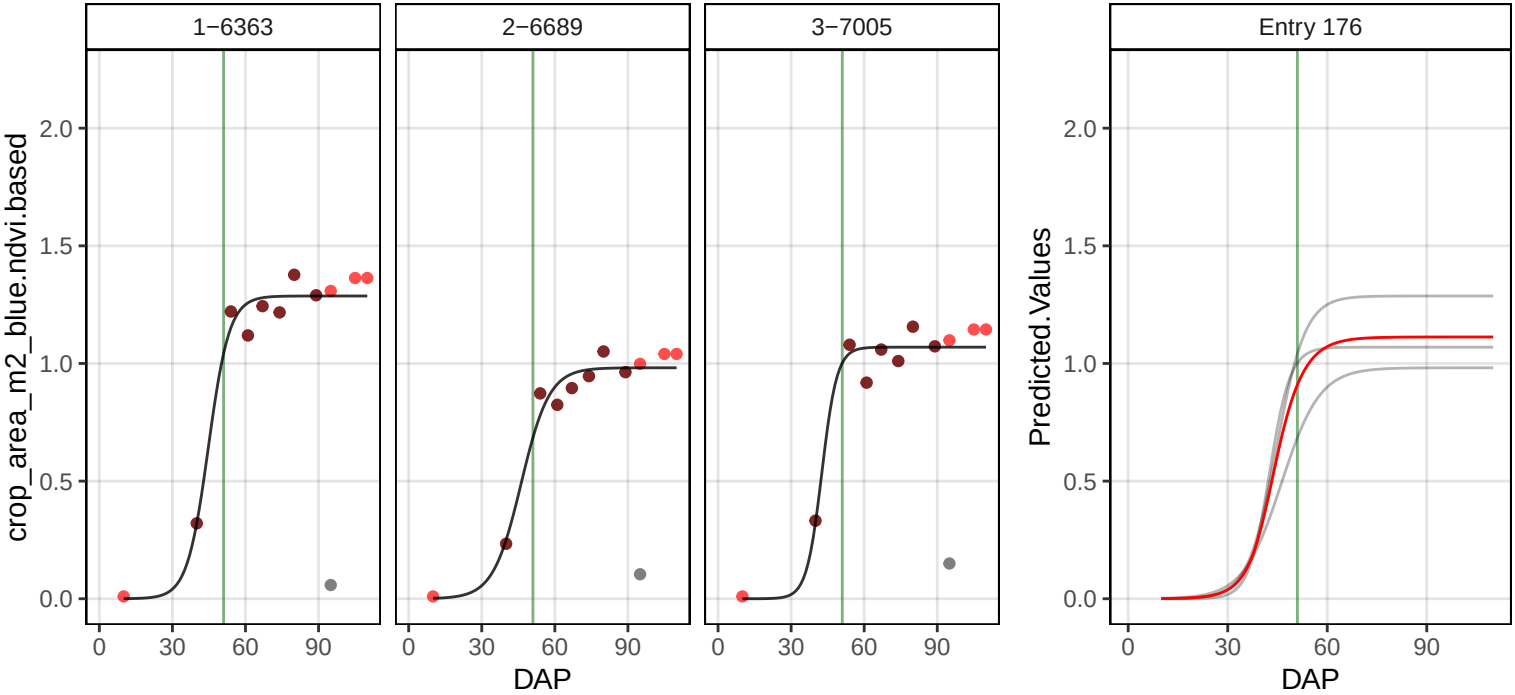

177 | PI 298644 LSP AGL

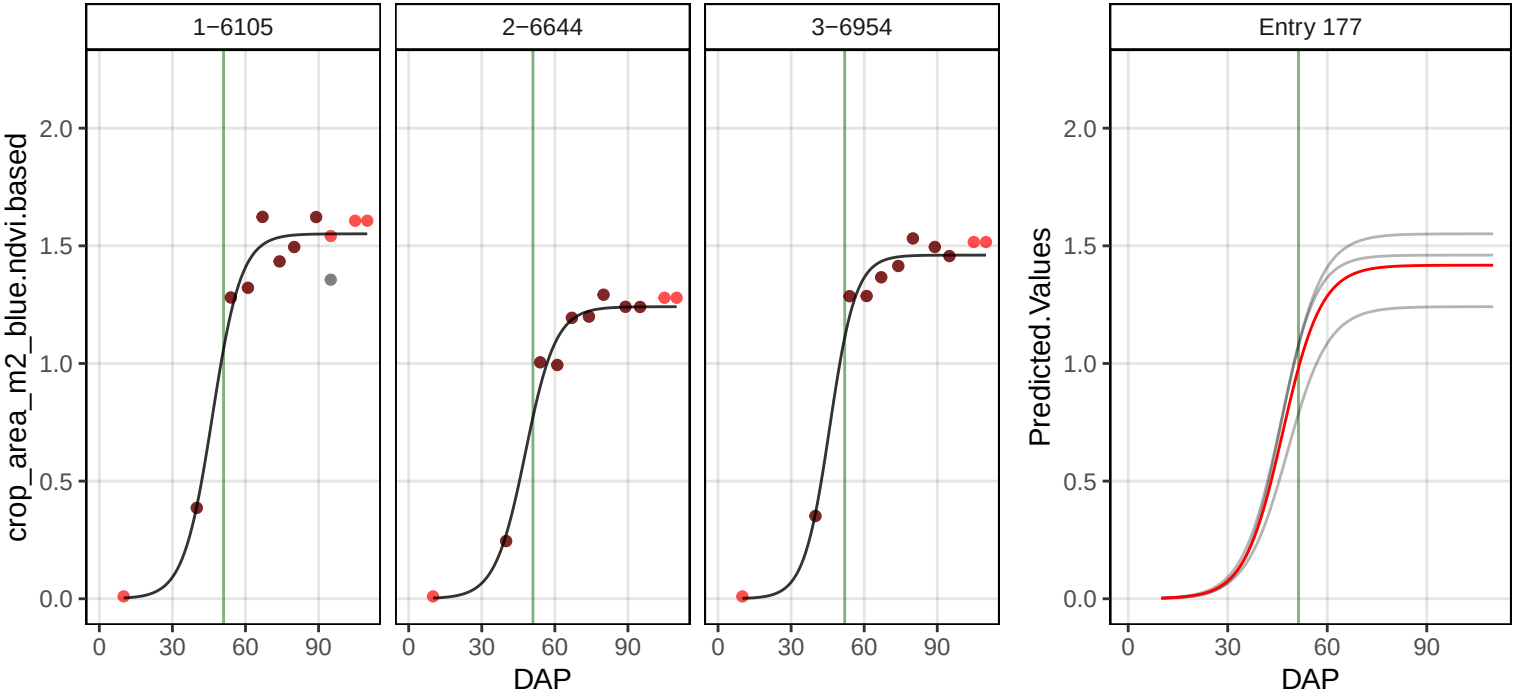

178 | PI 298645 AGL

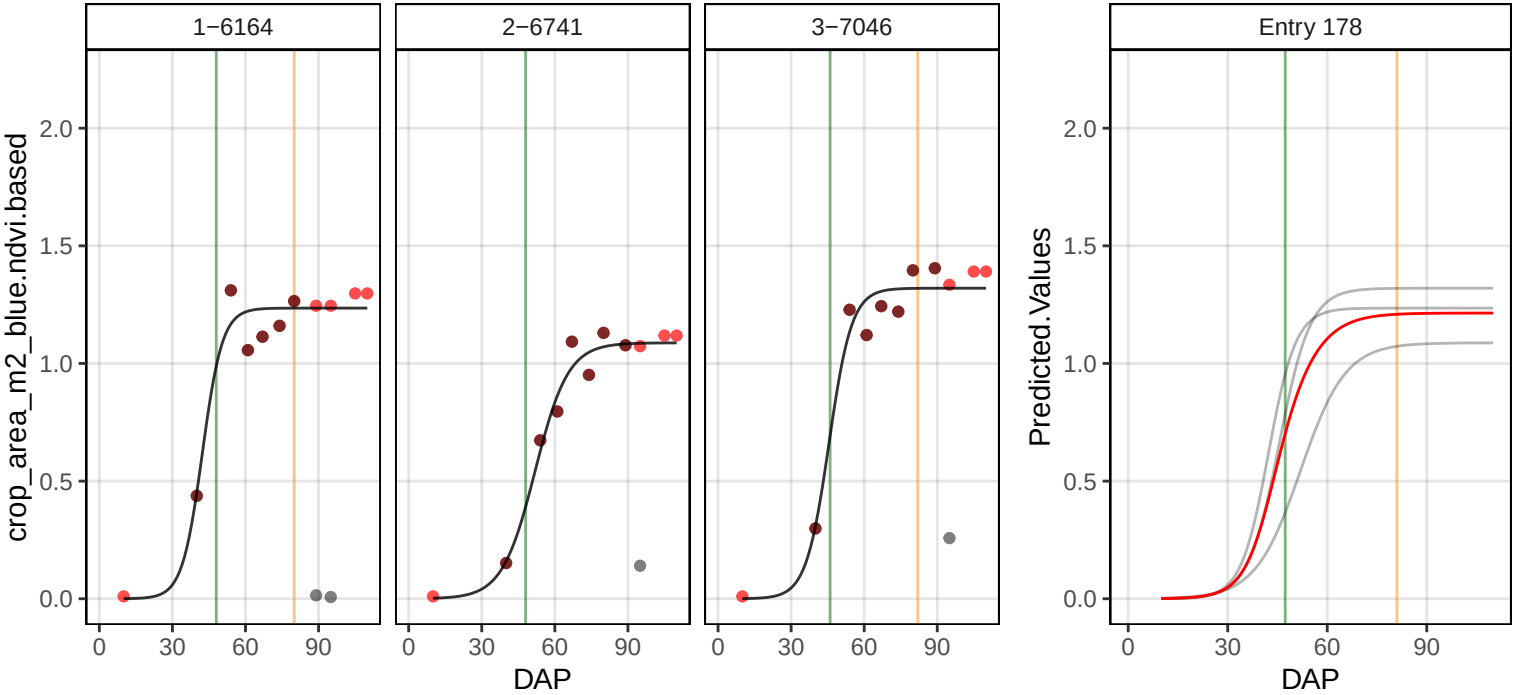

179 | PI 298921 AGL

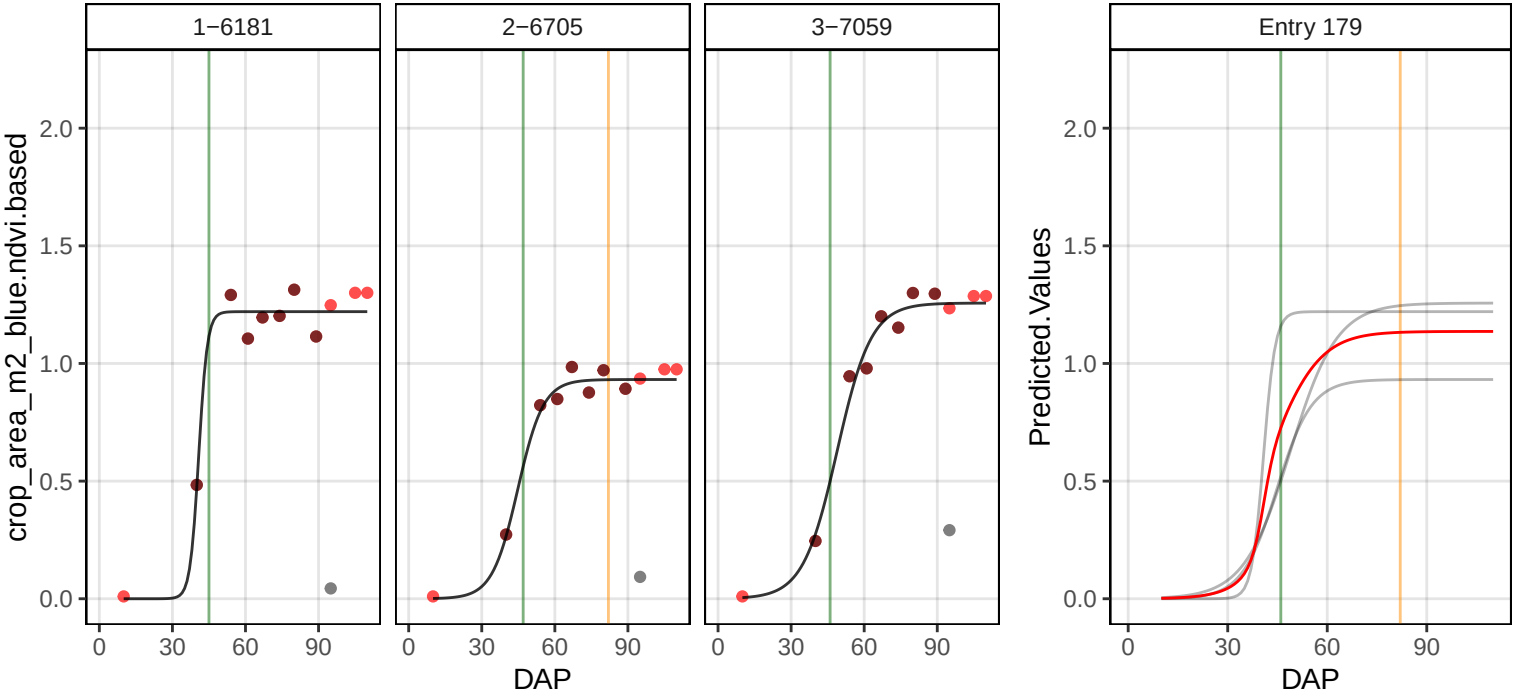

180 | PI 298922 LSP AGL

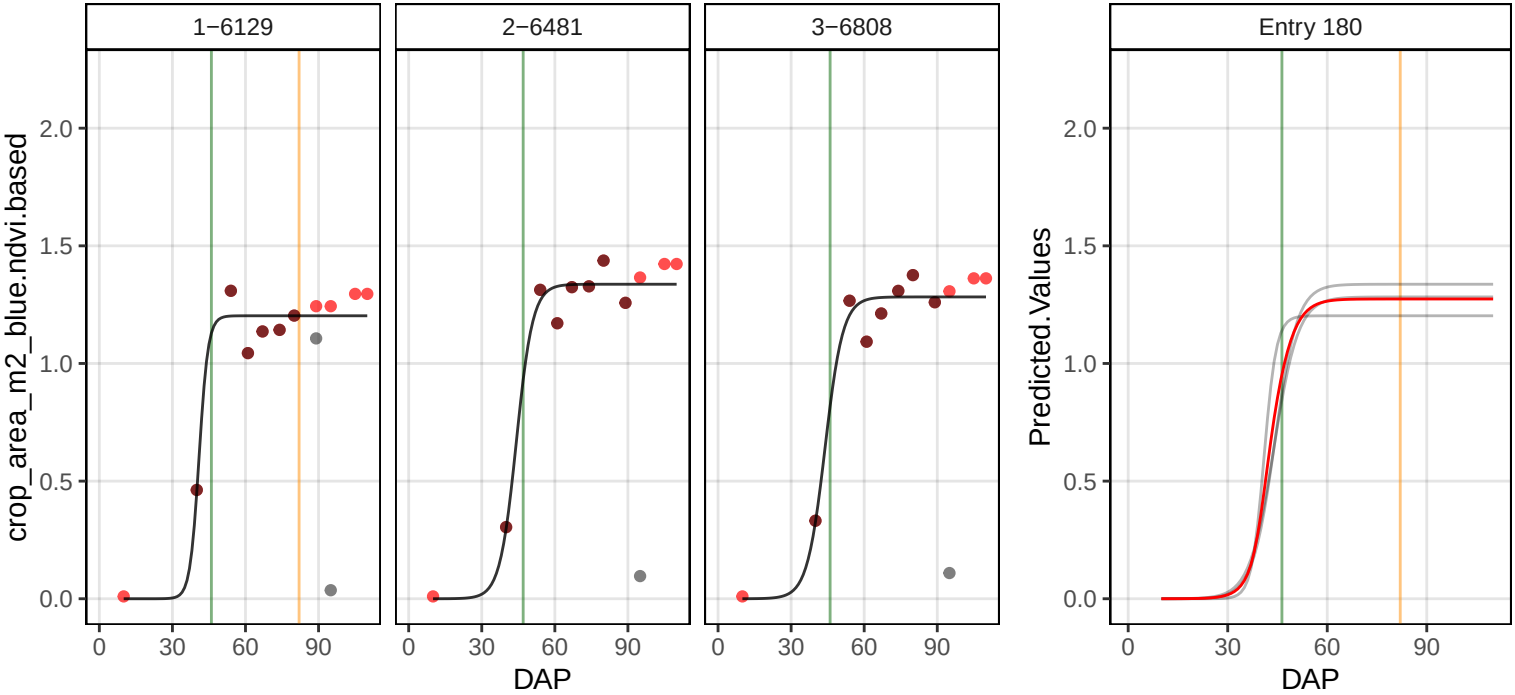

181 | PI 298923 LSP AGL

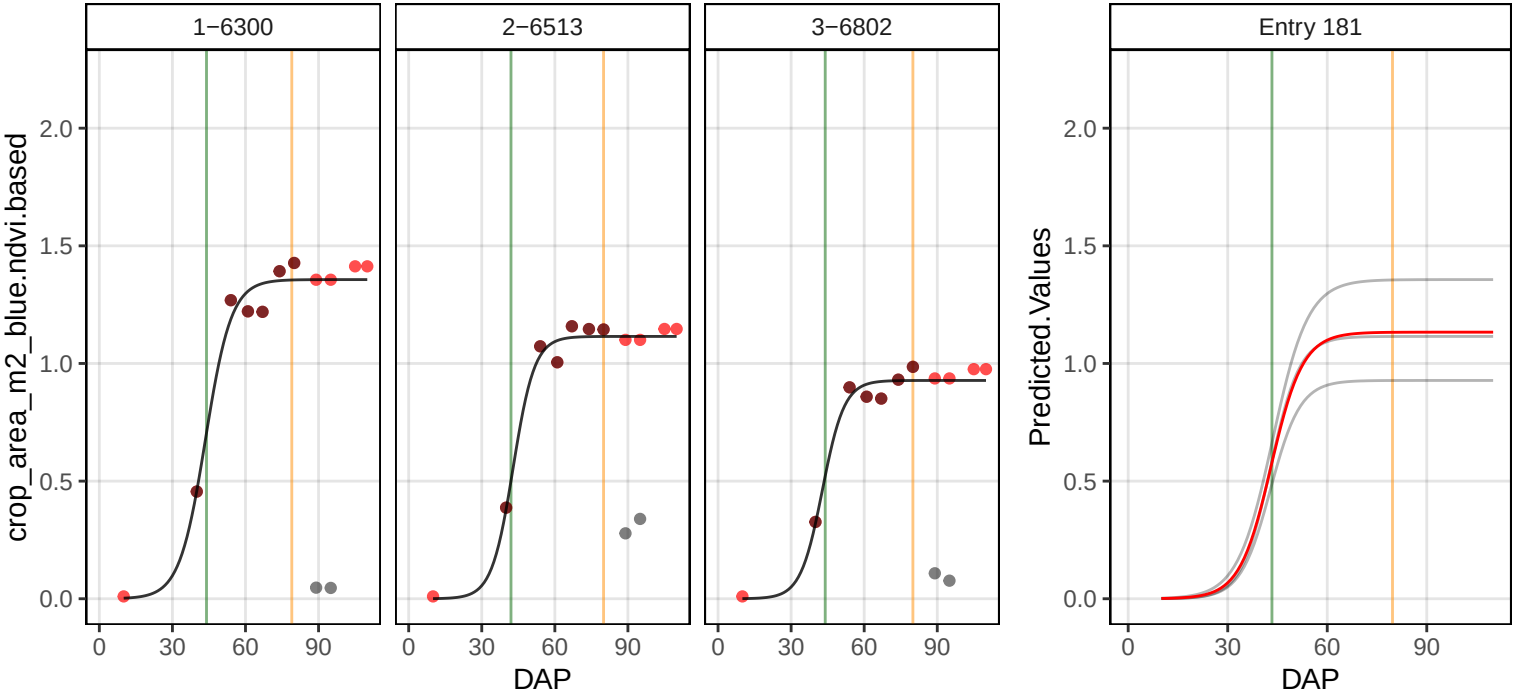

182 | PI 299116 LSP AGL

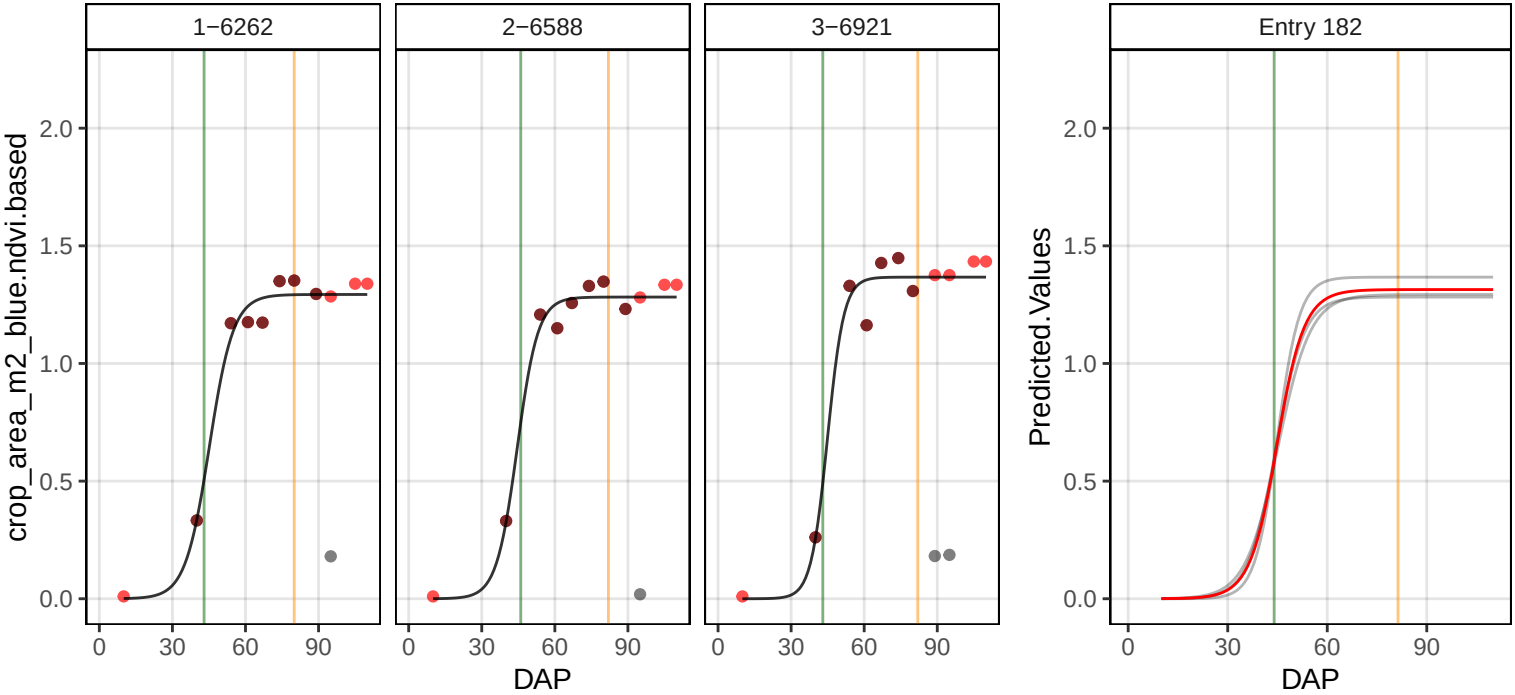

183 | PI 299120 LSP AGL

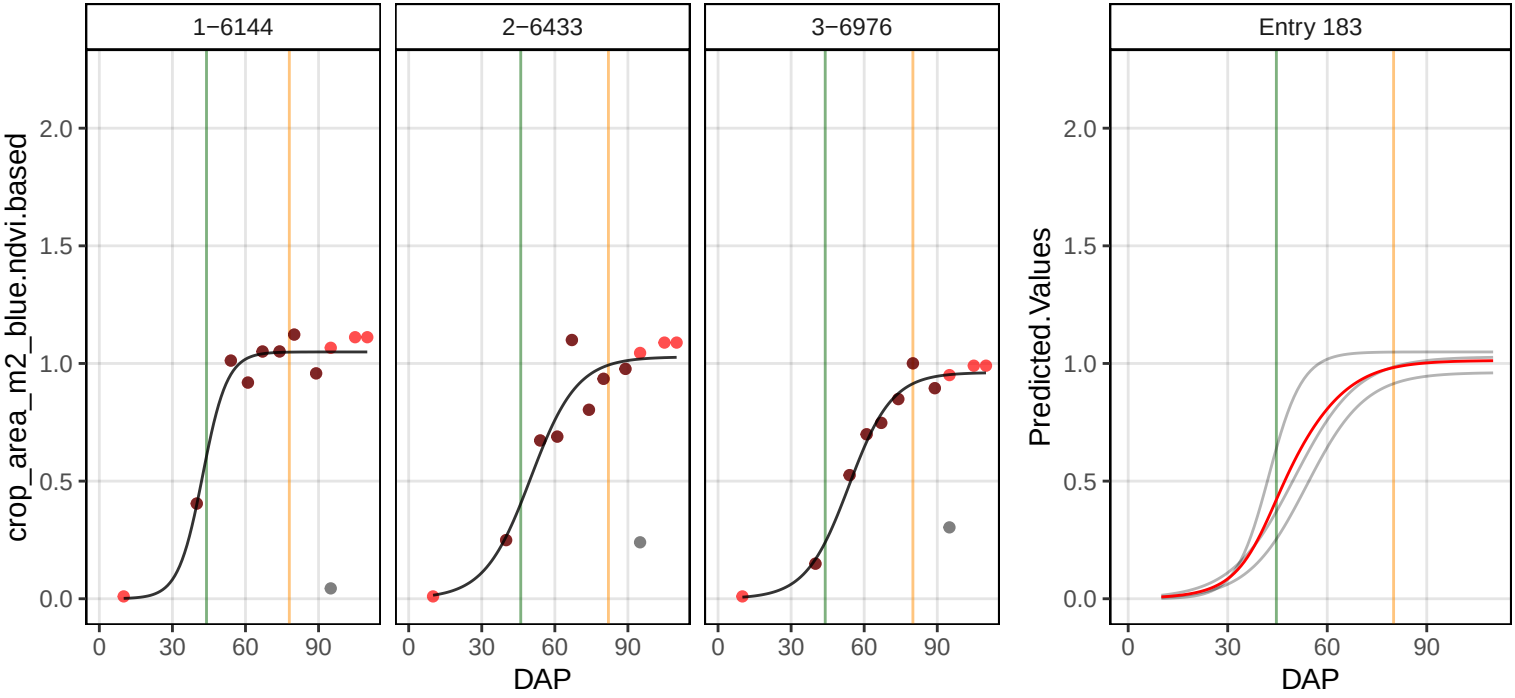

184 | PI 299121 LSP AGL

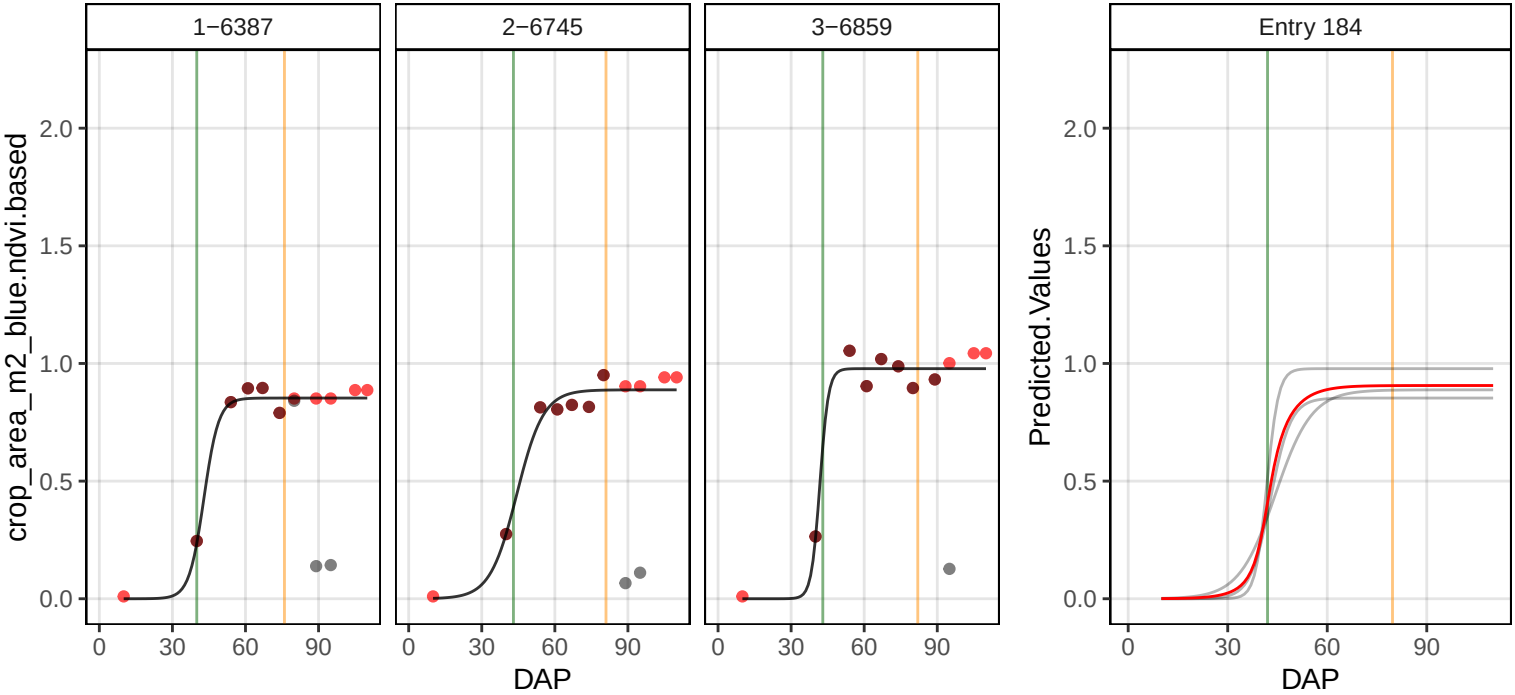

185 | PI 299126 LSP AGL

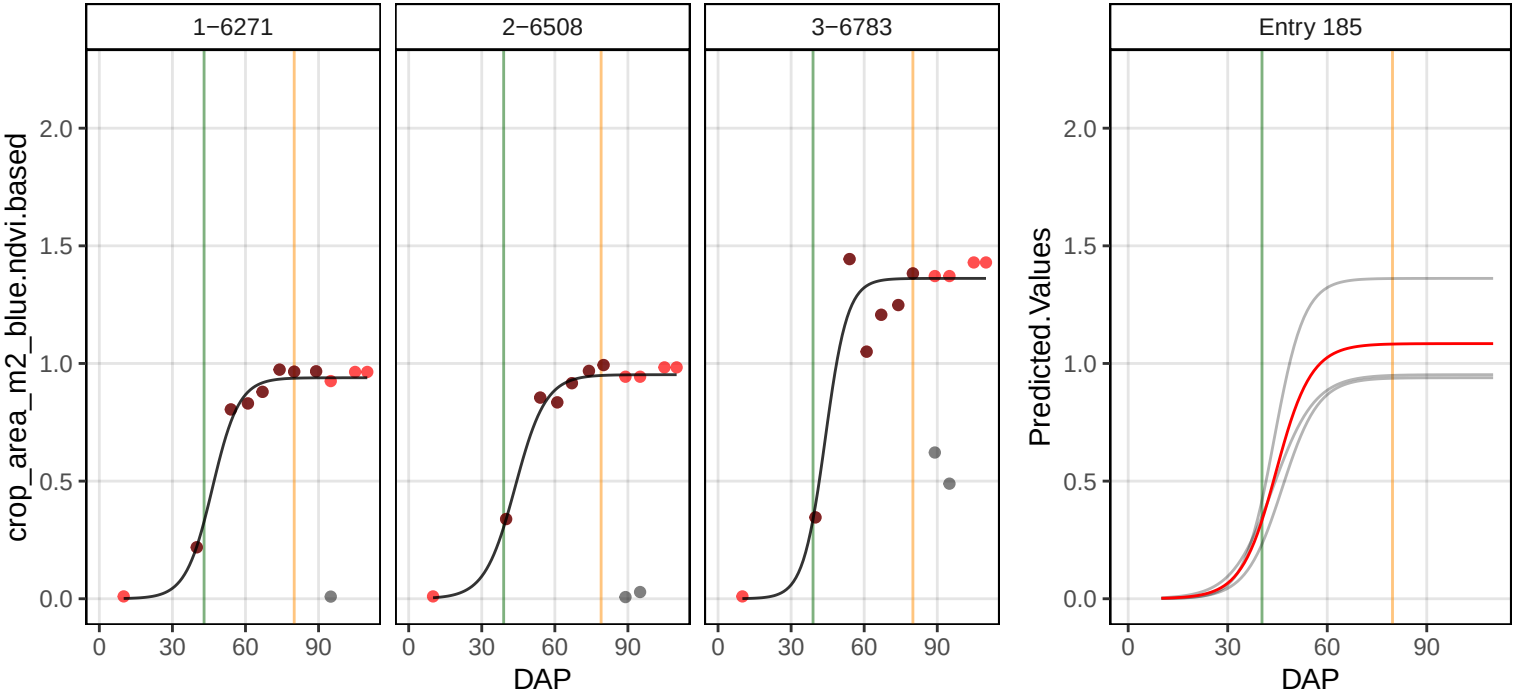

186 | PI 299163 LSP AGL

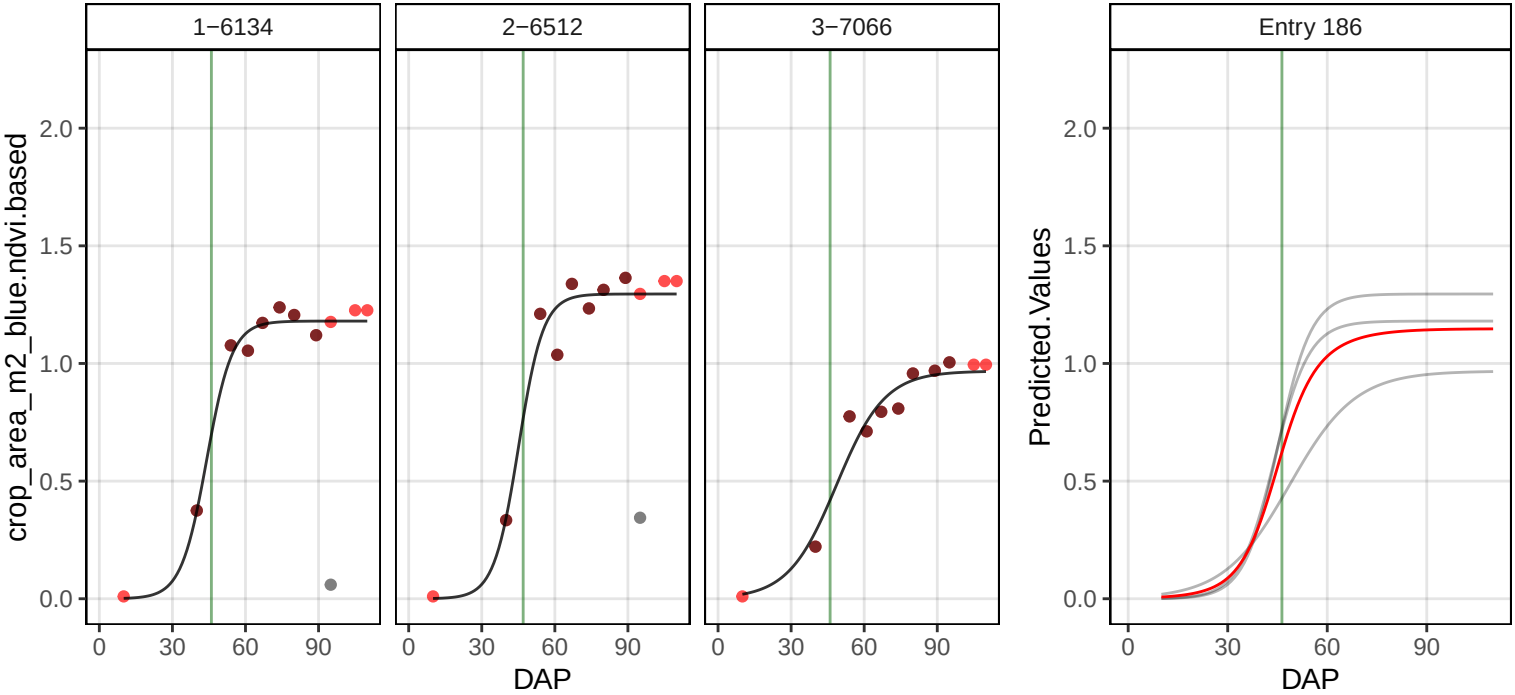

187 | PI 299164 LSP AGL

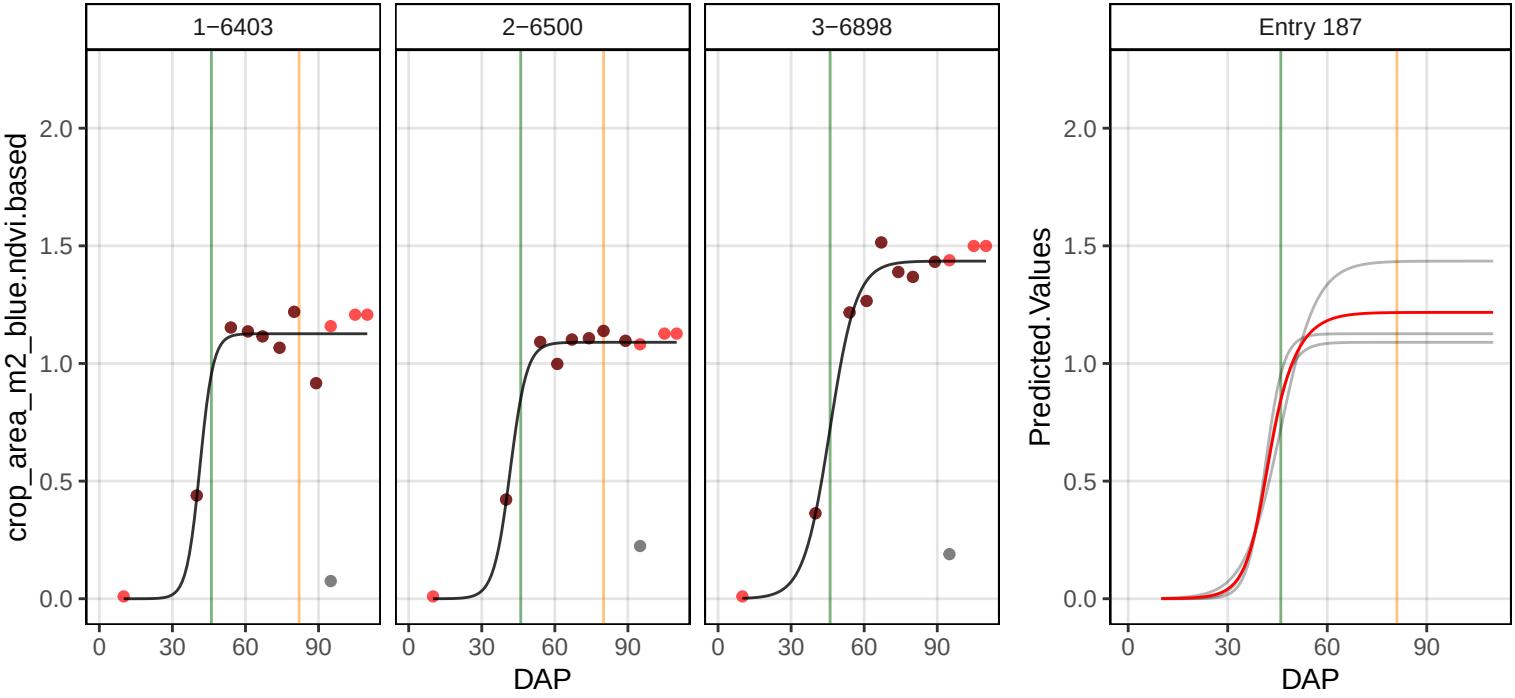

188 | PI 299165 AGL

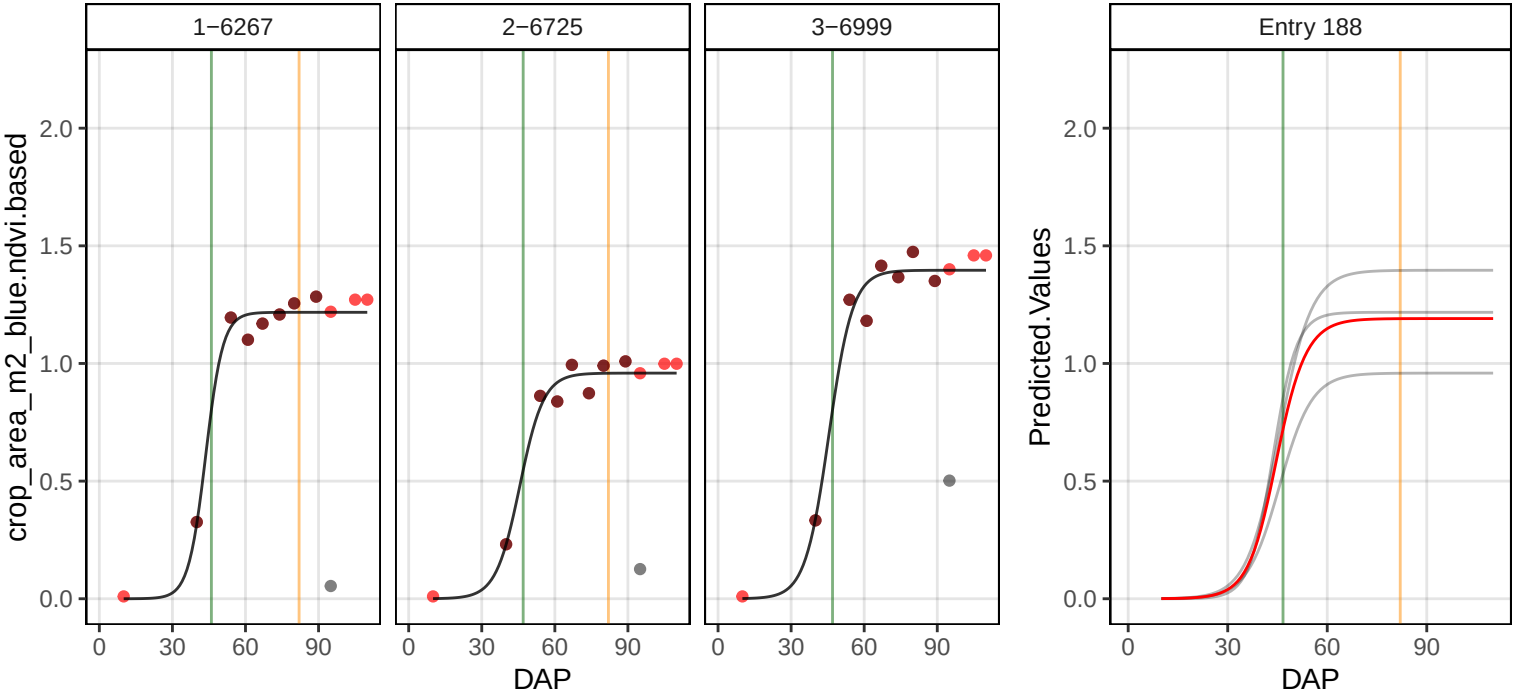

189 | PI 299177 LSP AGL

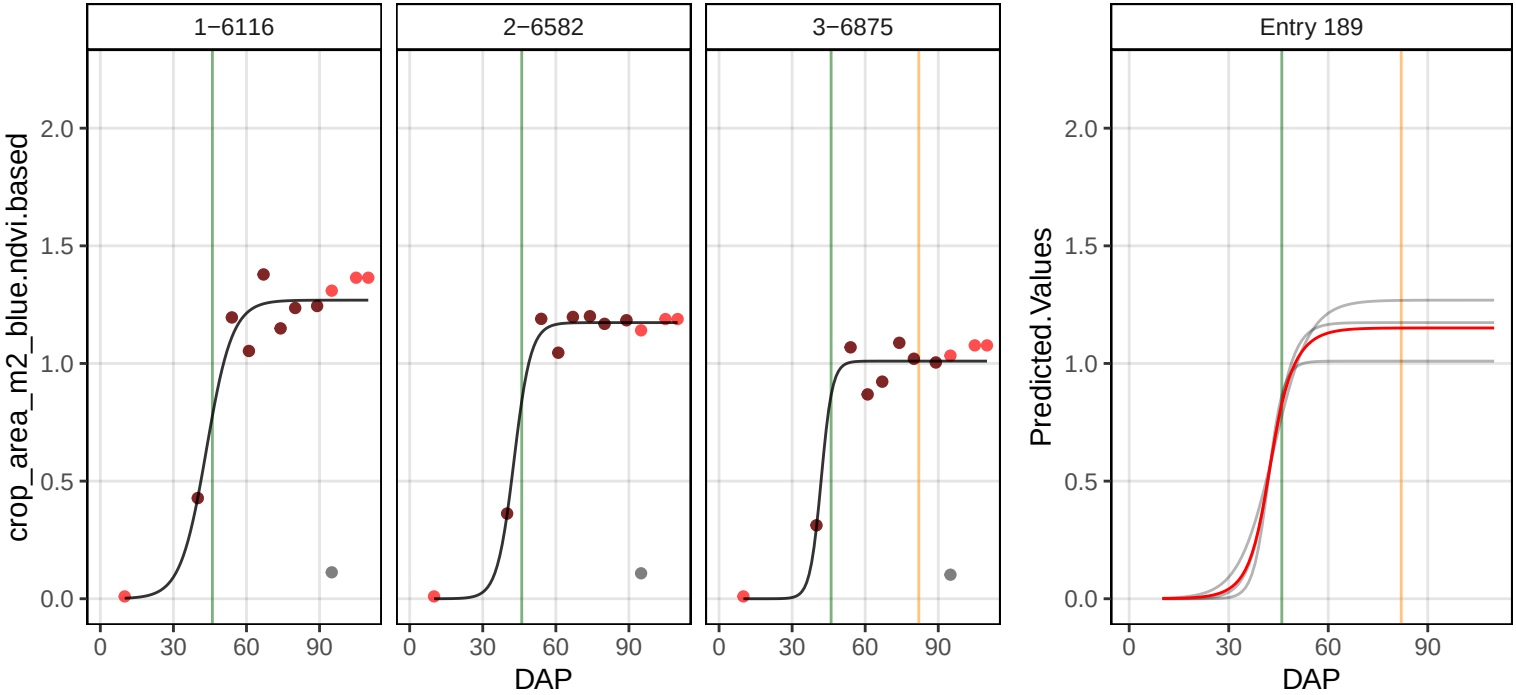

190 | PI 299237 LSP AGL

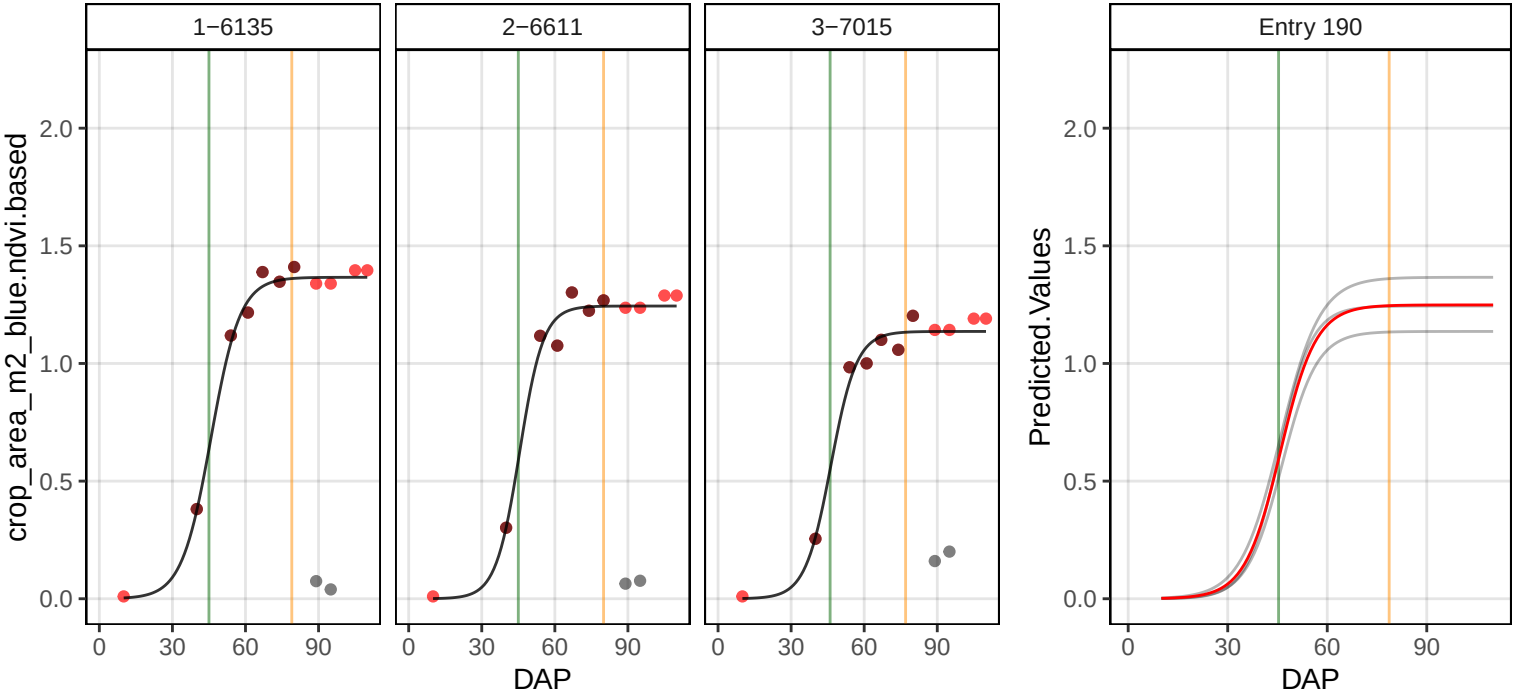

191 | PI 299289 AGL

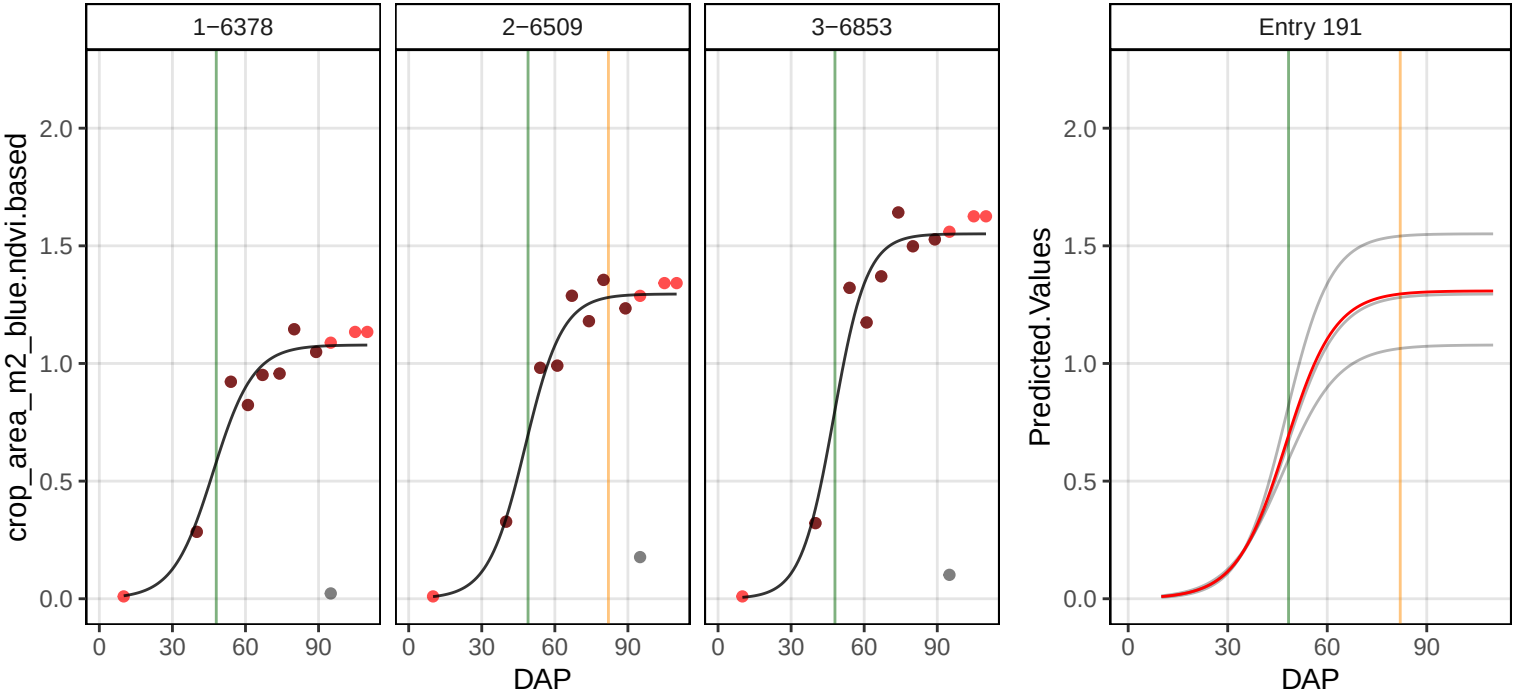

192 | PI 299312 AGL

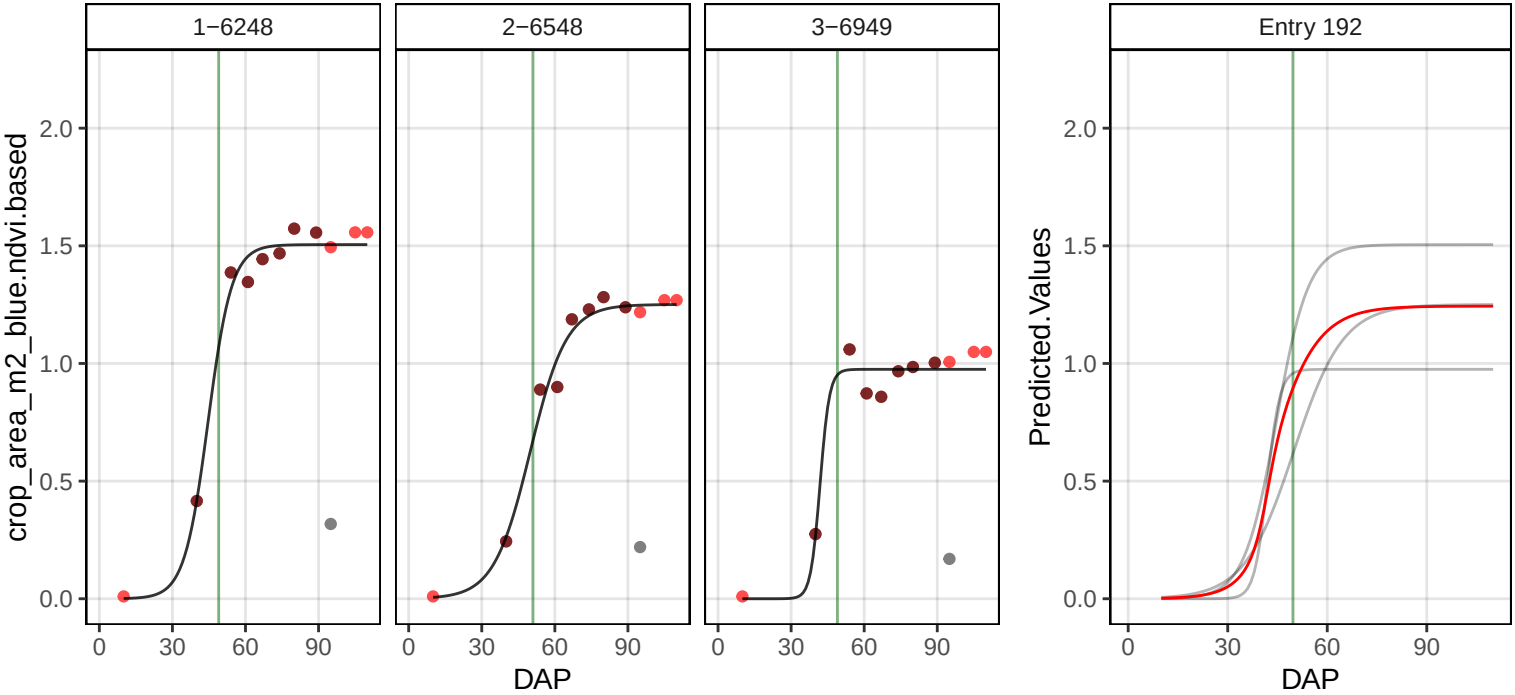

193 | PI 299345 AGL

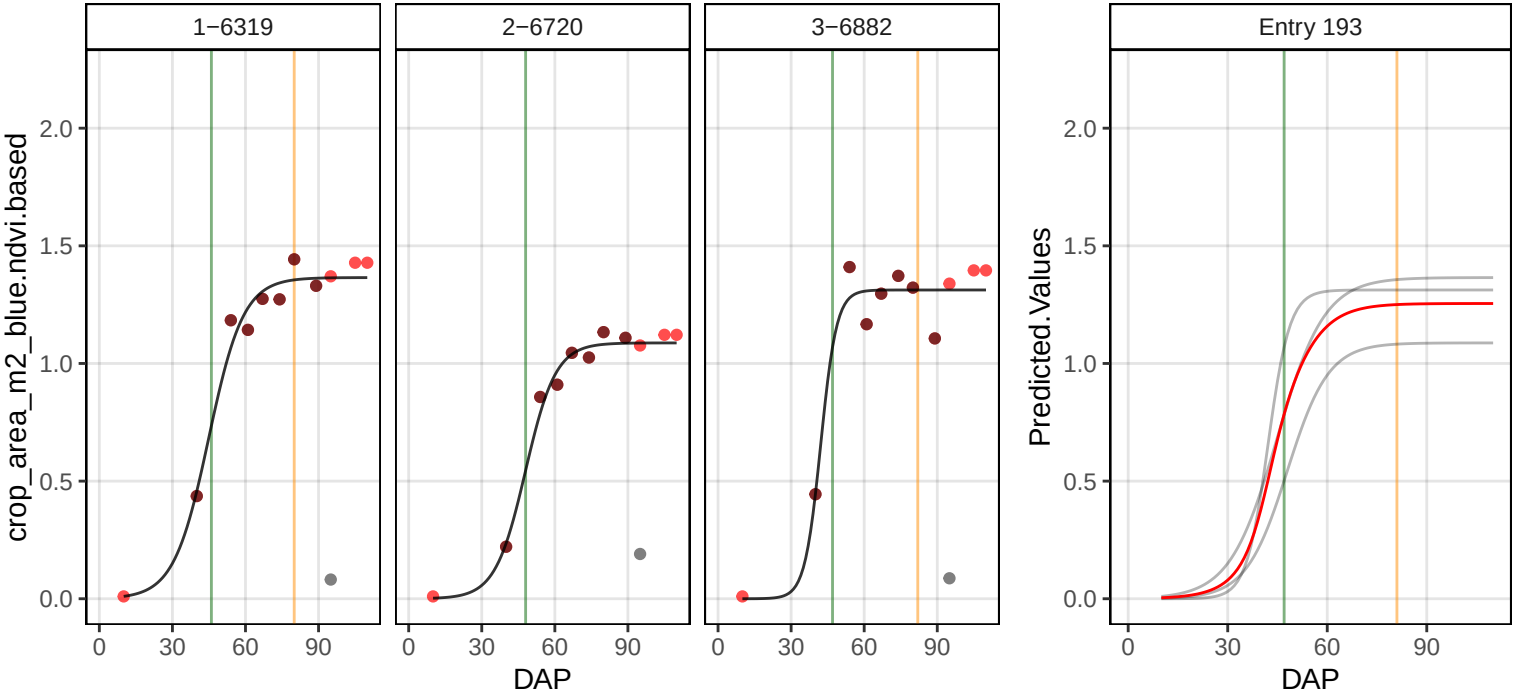

194 | PI 299351 LSP AGL

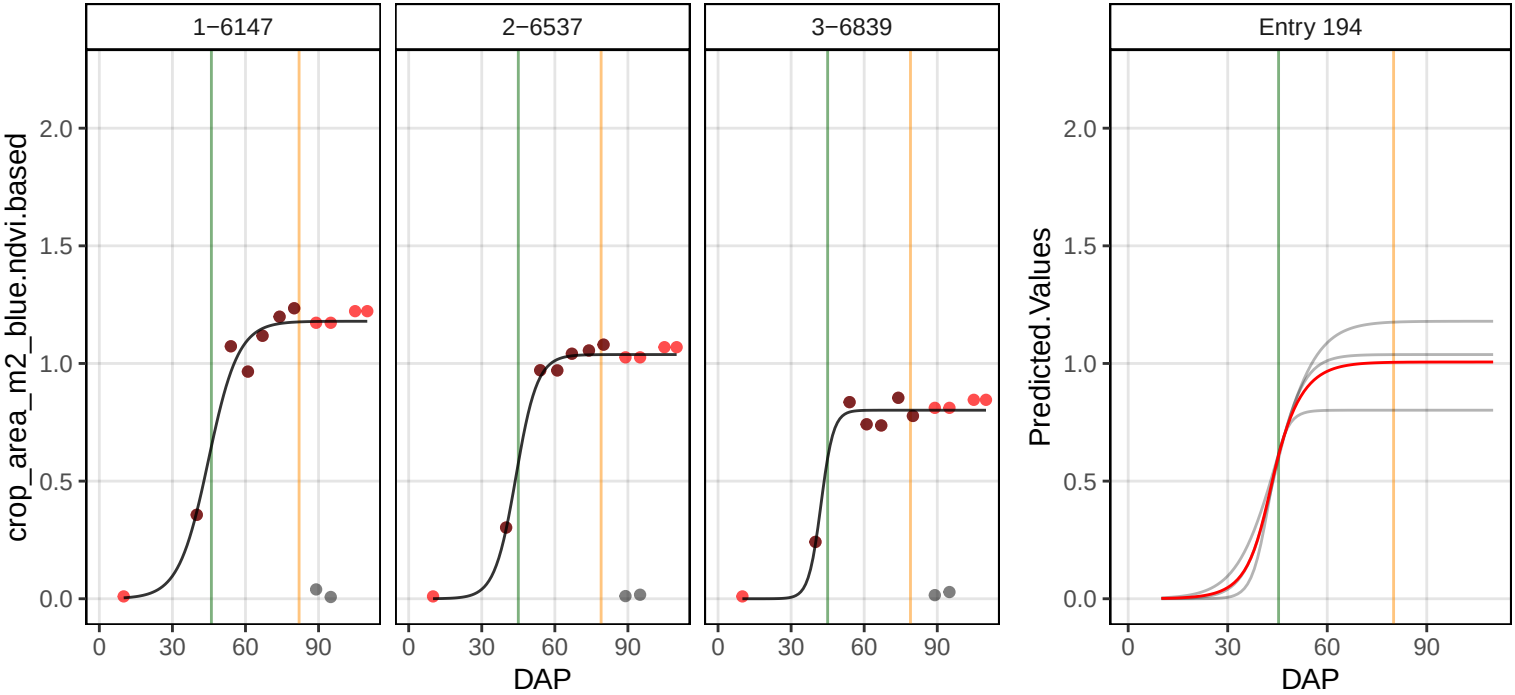

195 | PI 299366 LSP AGL

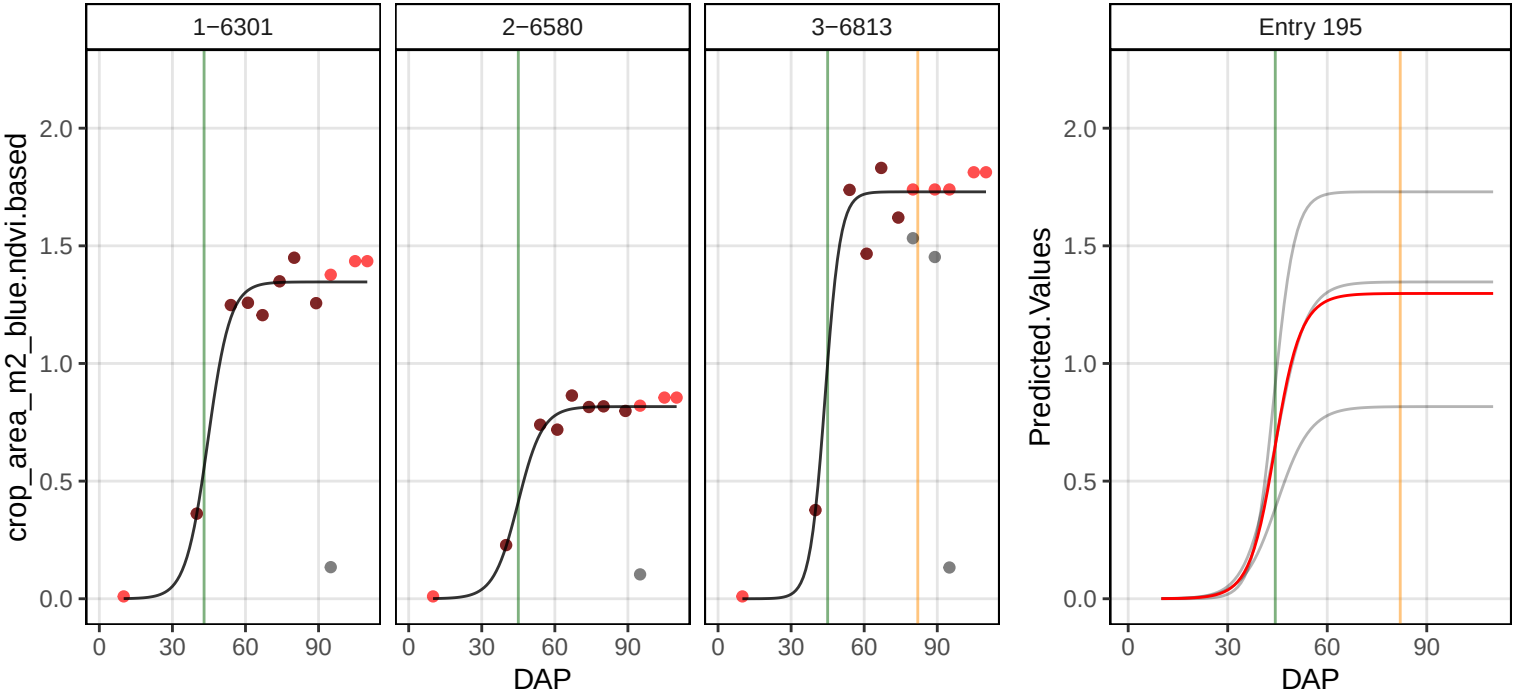

196 | PI 299375 LSP AGL

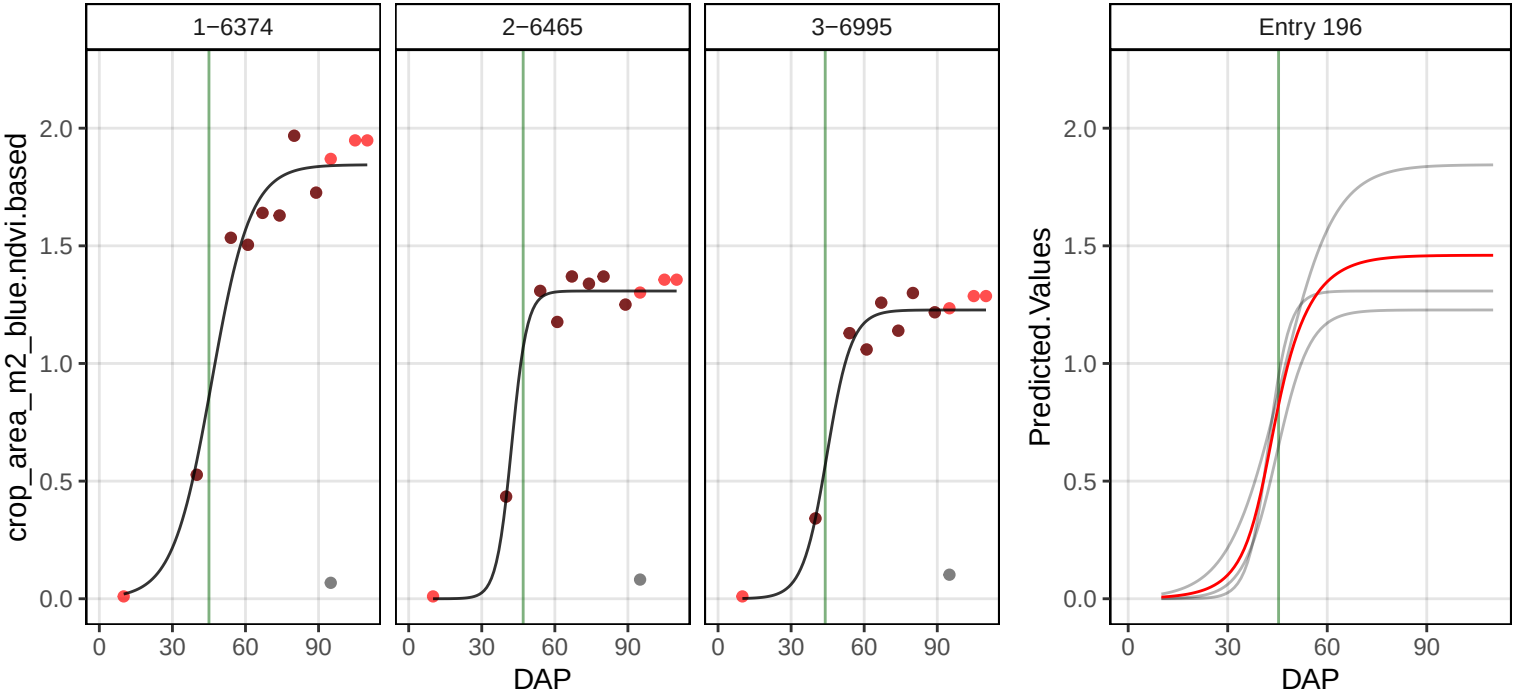

197 | PI 300250 LSP AGL

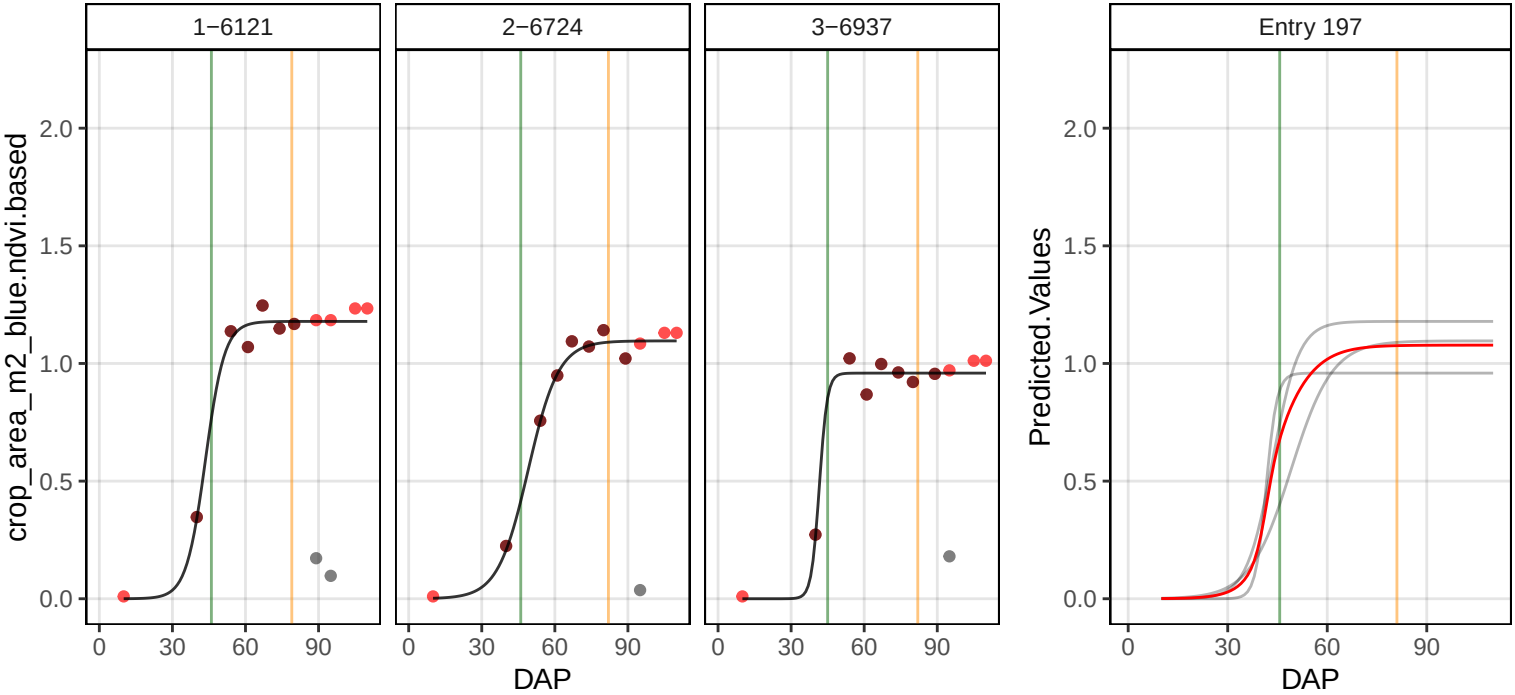

198 | PI 302398 LSP AGL

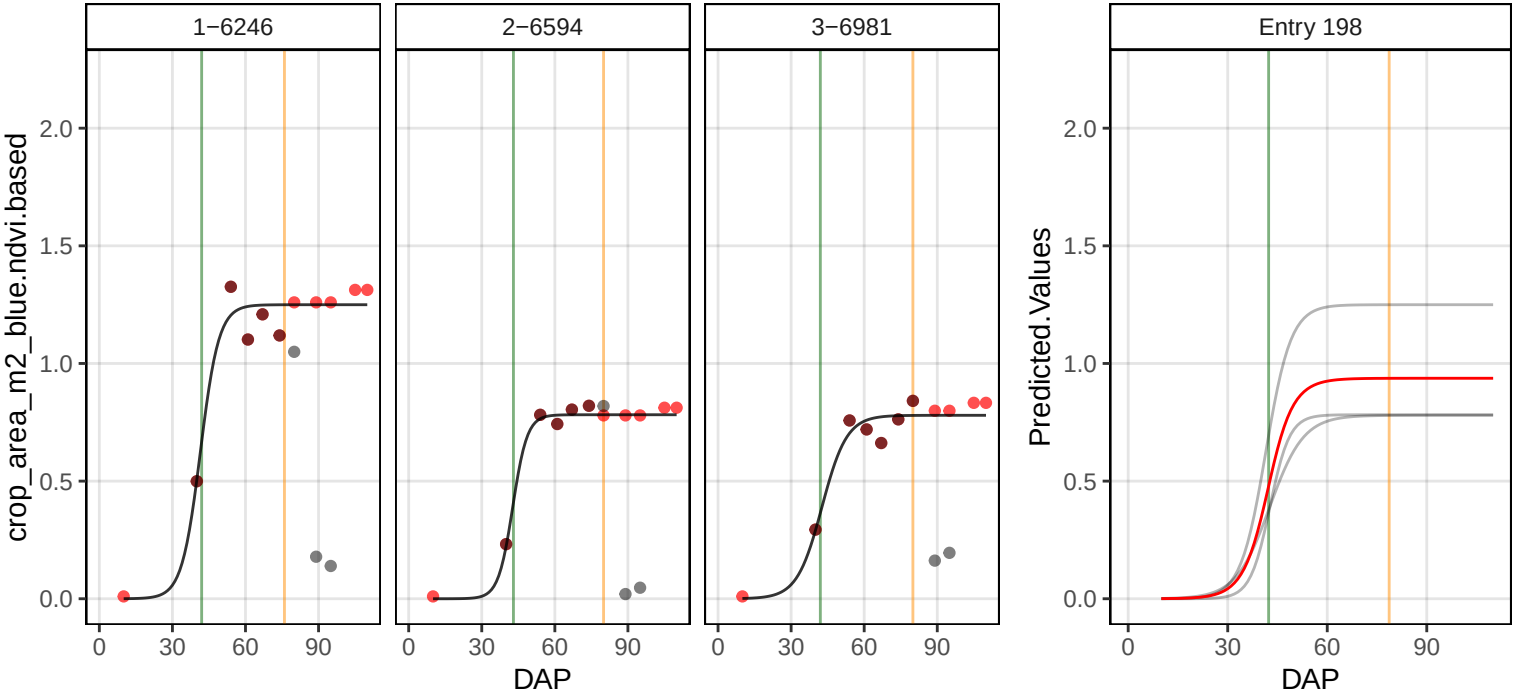

199 | PI 308614 LSP AGL

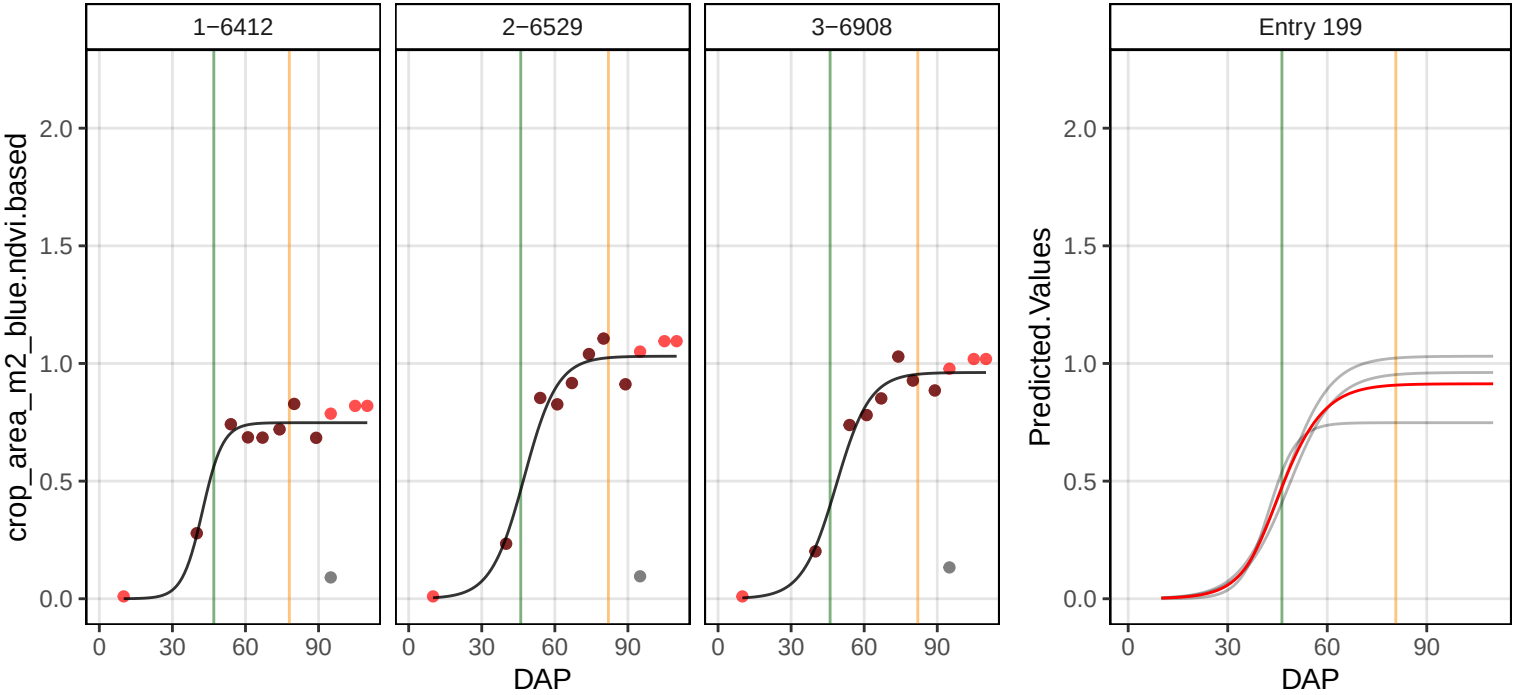

200 | PI 311107 LSP AGL

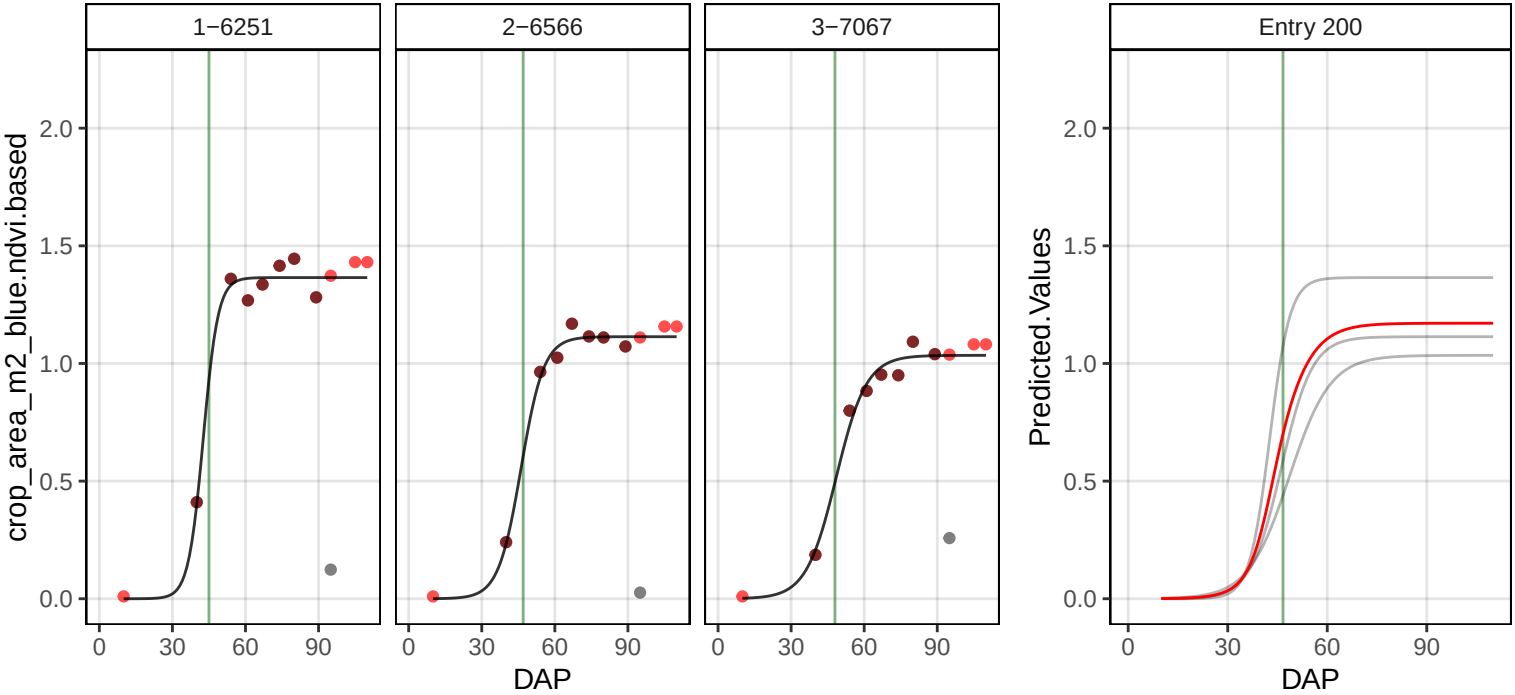

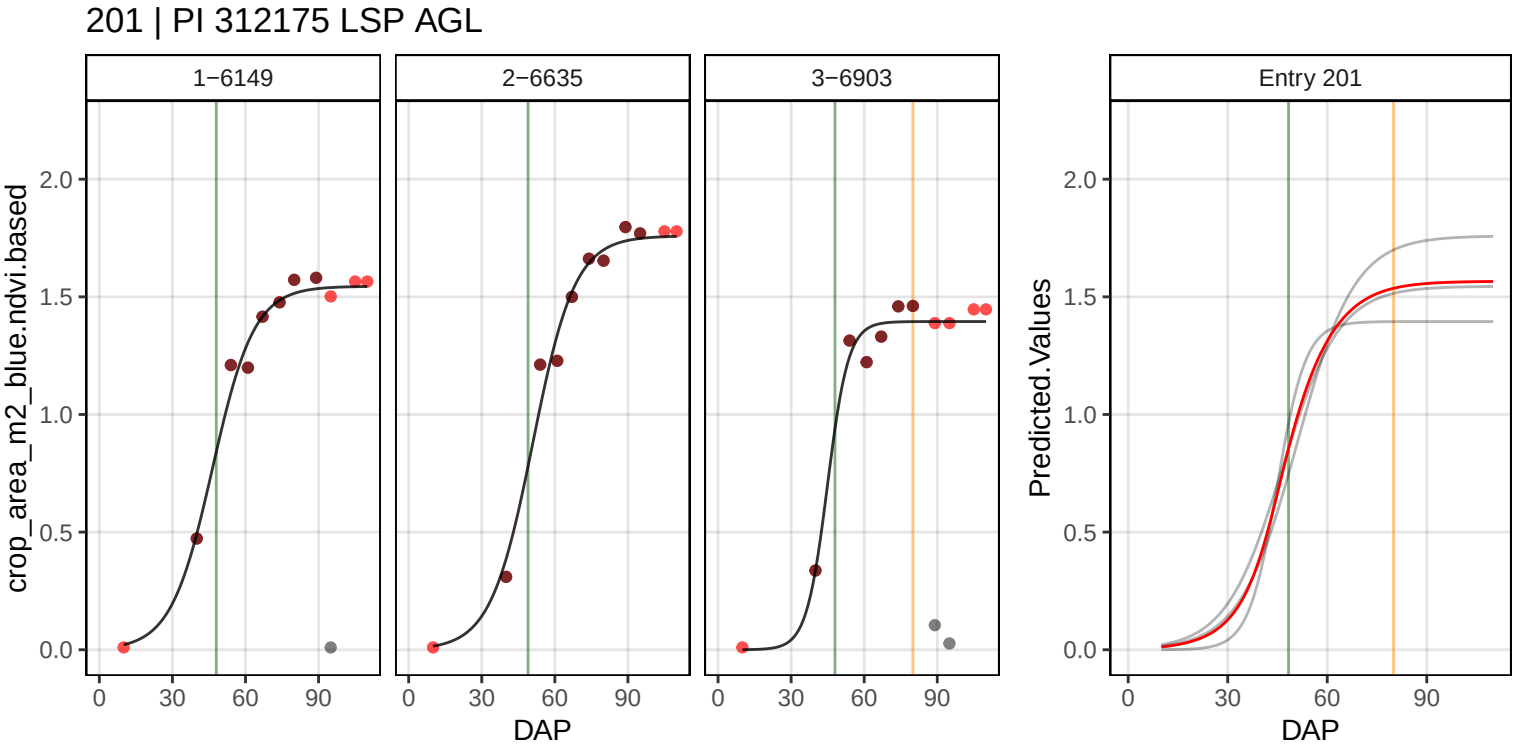
201 | PI 312175 LSP AGL
1−6149
2−6635
3−6903
Entry 201
crop_area_m2_blue.ndvi.based
Predicted.Values
DAP
DAP
0.0
0.5
1.0
1.5
2.0
0
30
60
90

202 | PI 320935 LSP AGL

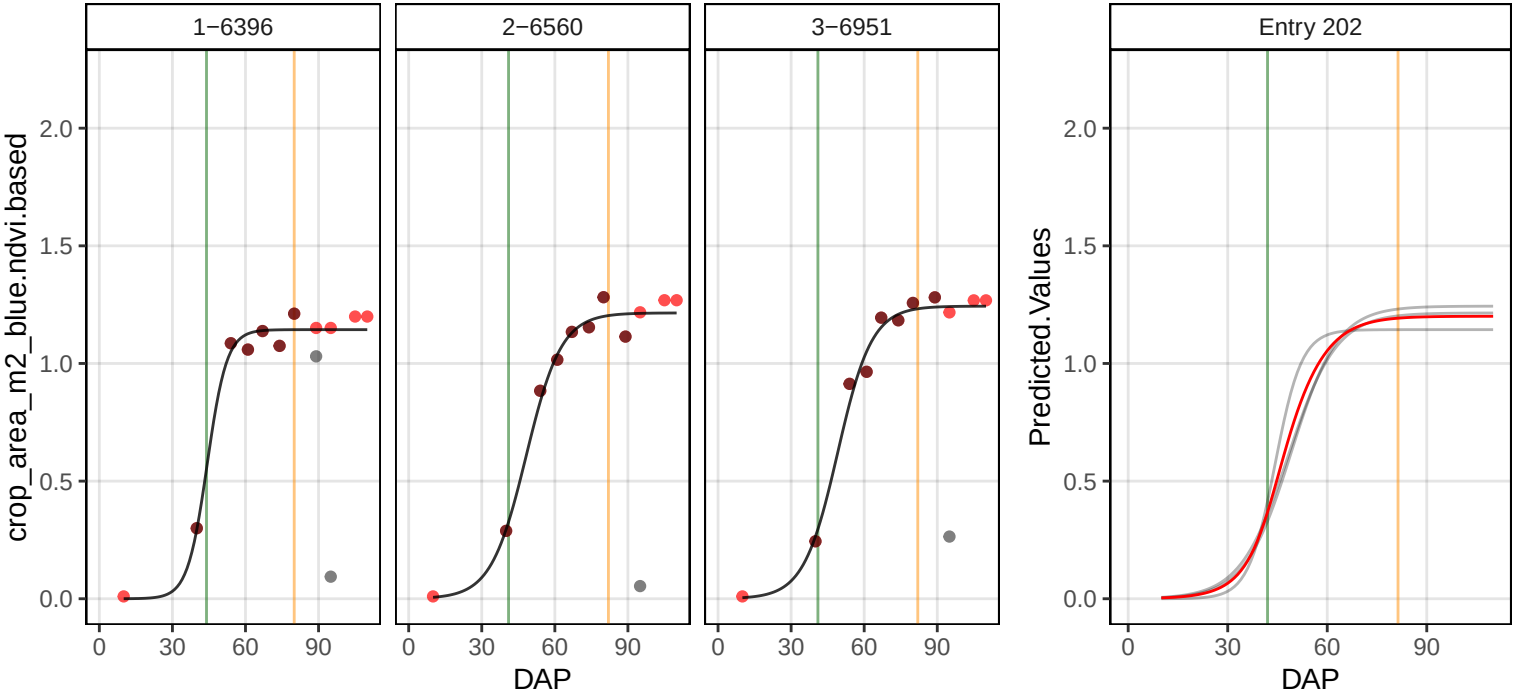

203 | PI 320936 LSP AGL

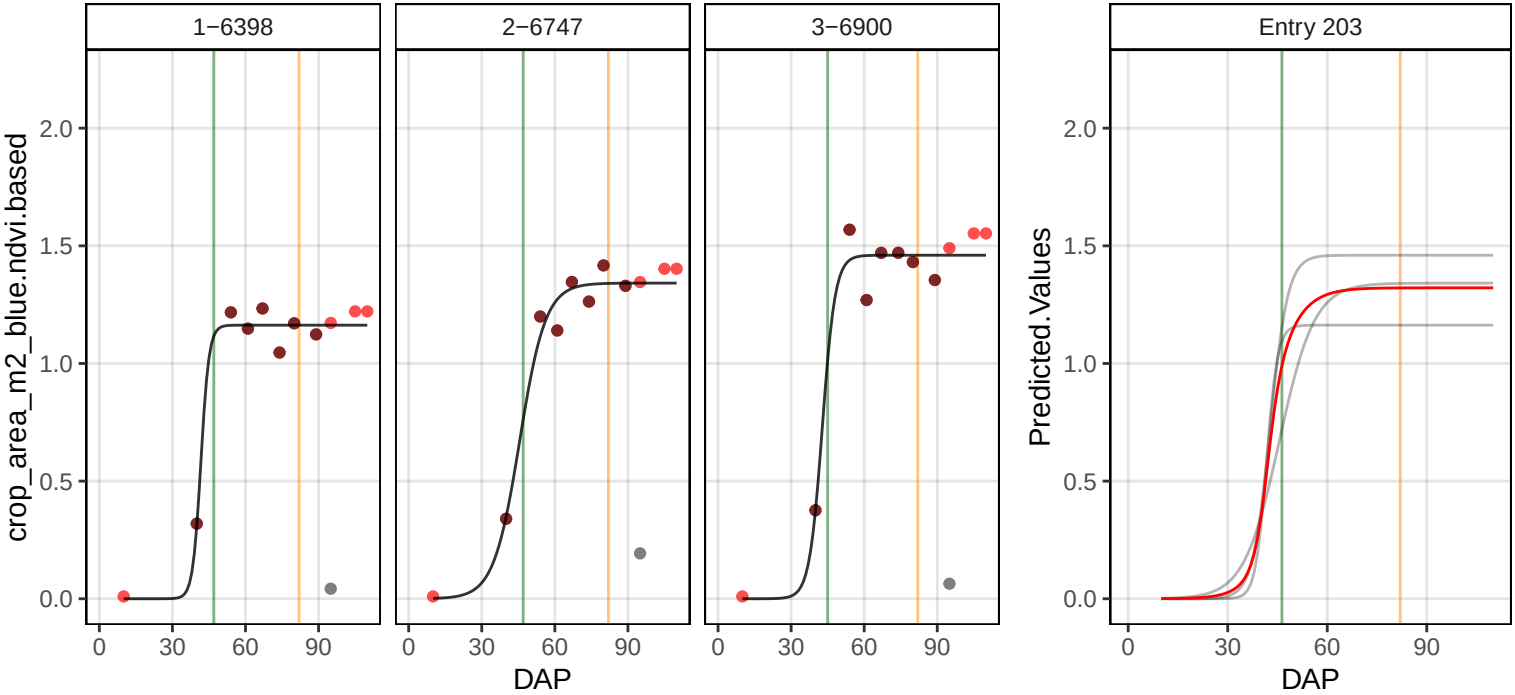

204 | PI 320937 LSP AGL

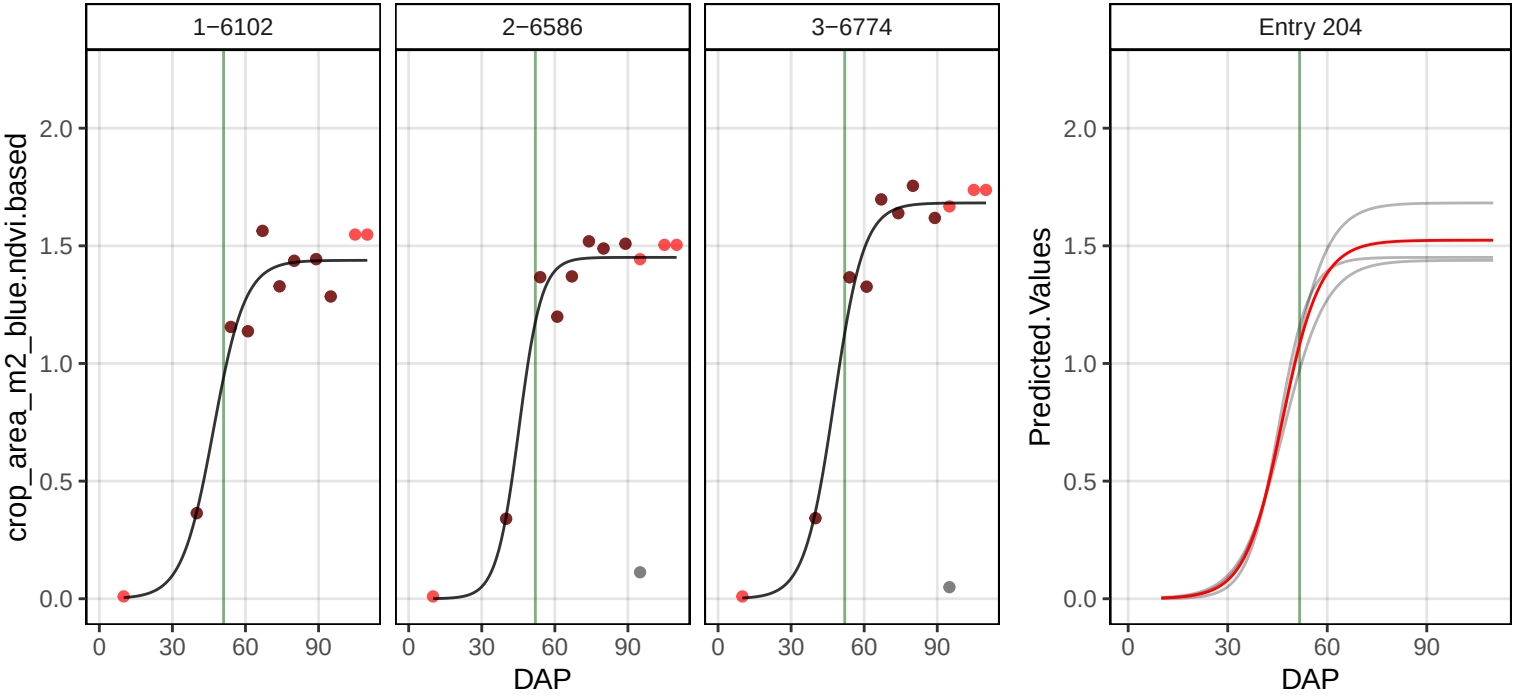

205 | CN 105866 AGL

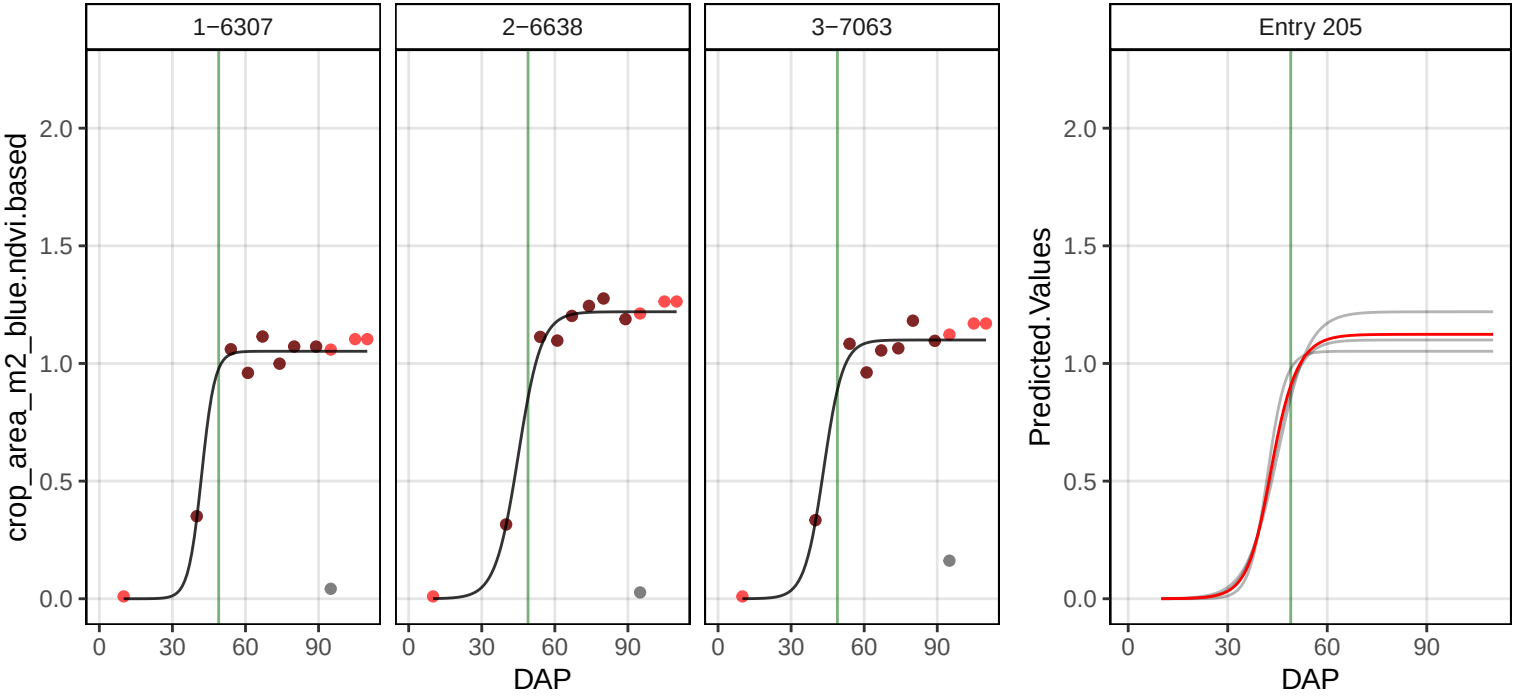

206 | PI 320941 LSP AGL

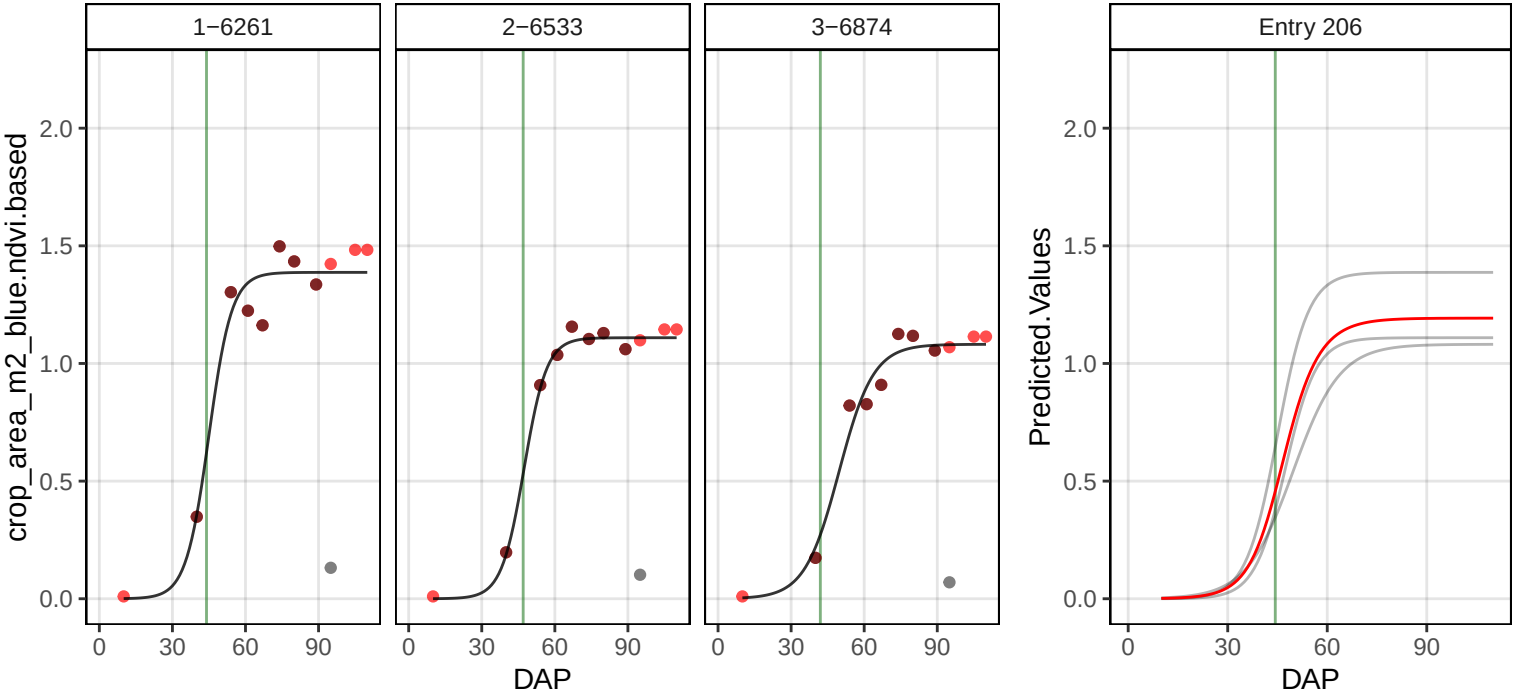

207 | PI 320945 LSP AGL

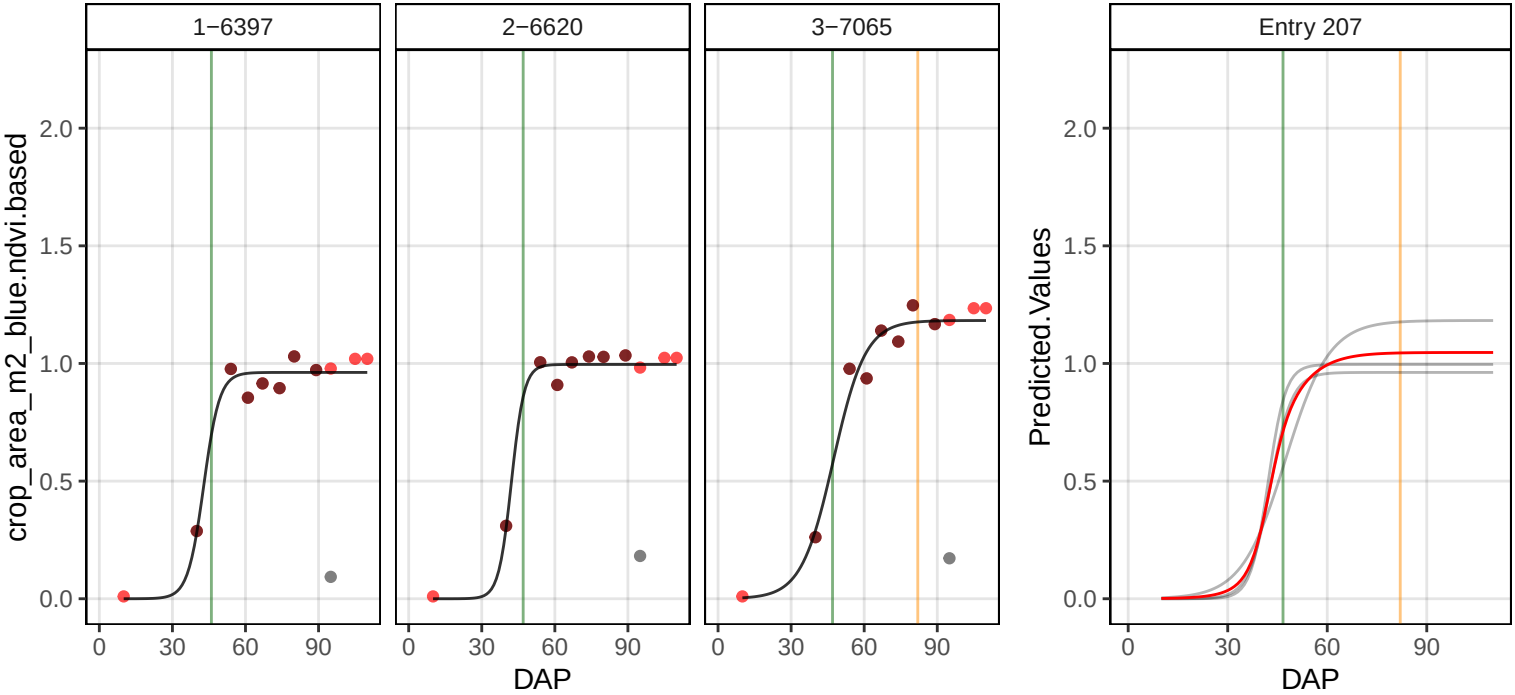

208 | PI 320946 LSP AGL

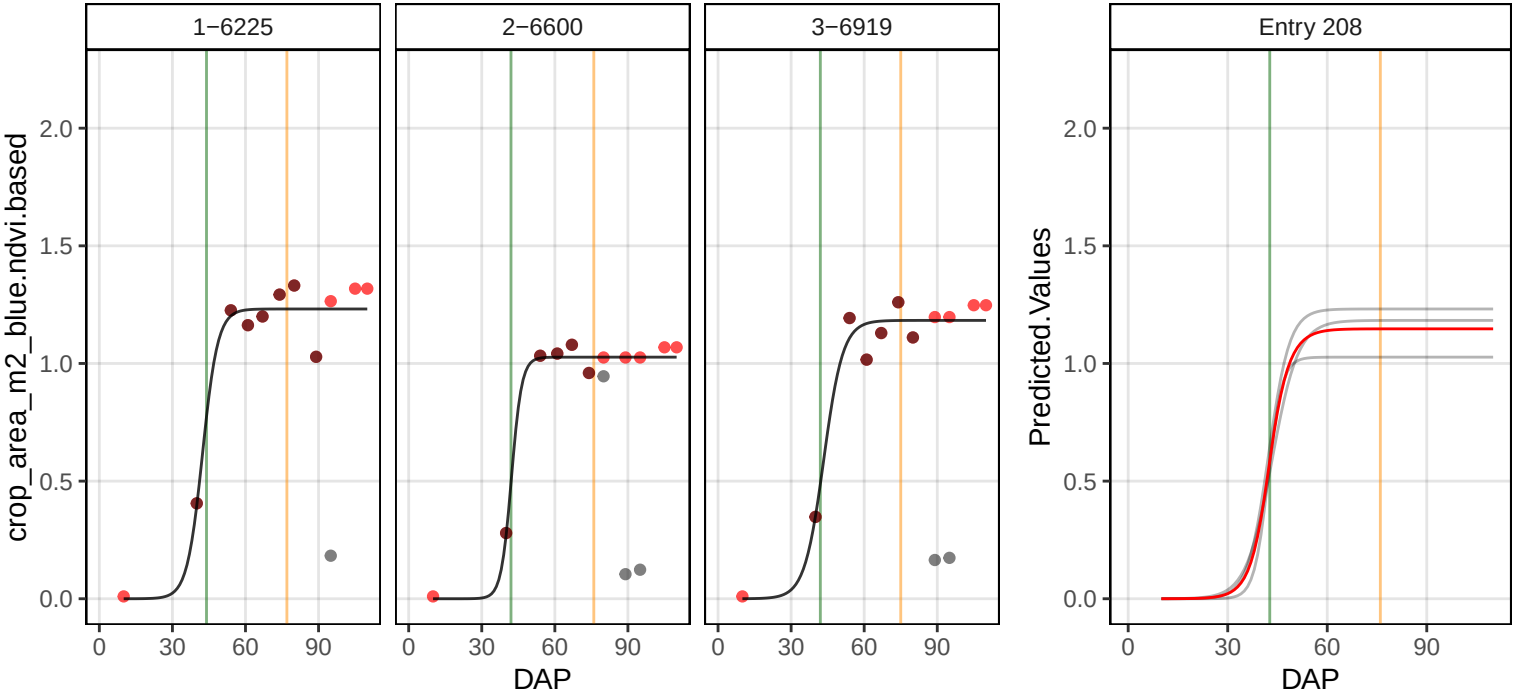

209 | PI 320952 LSP AGL

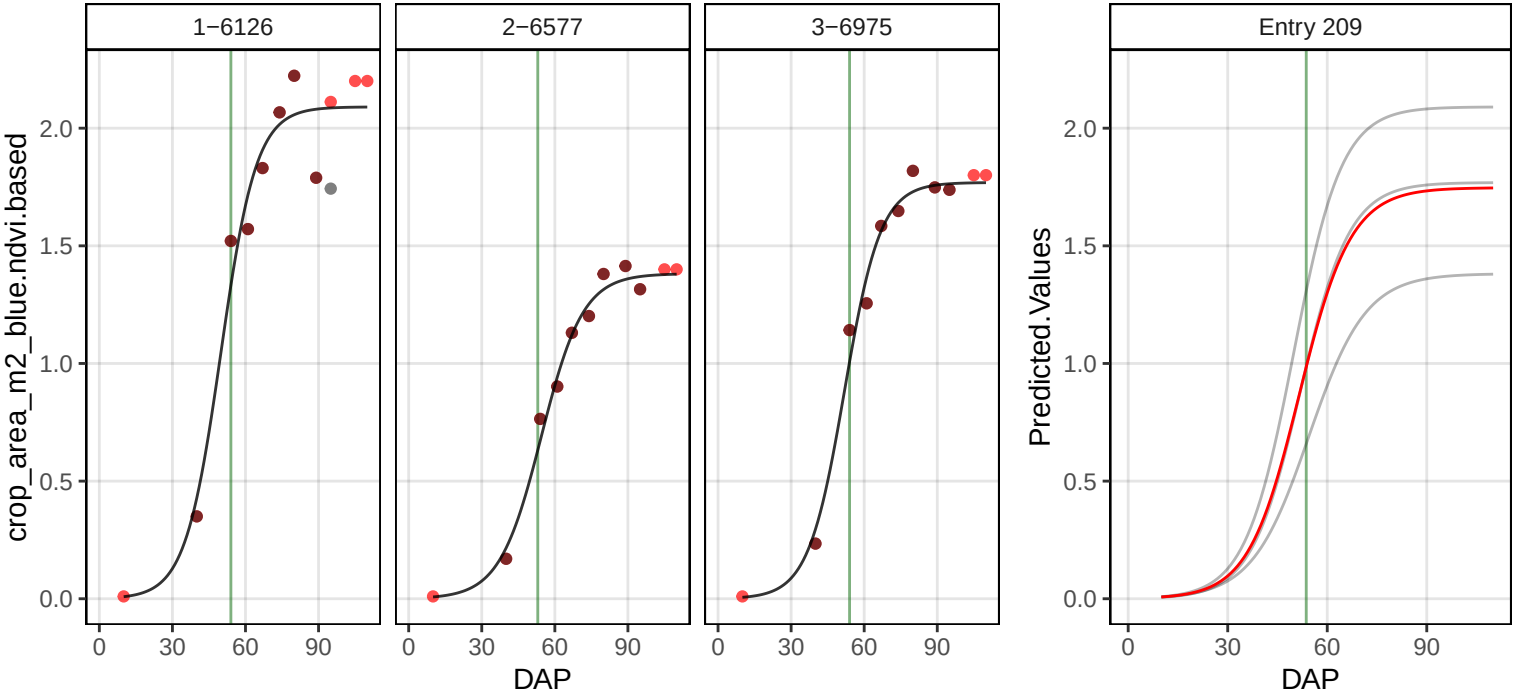

210 | PI 320953 LSP AGL

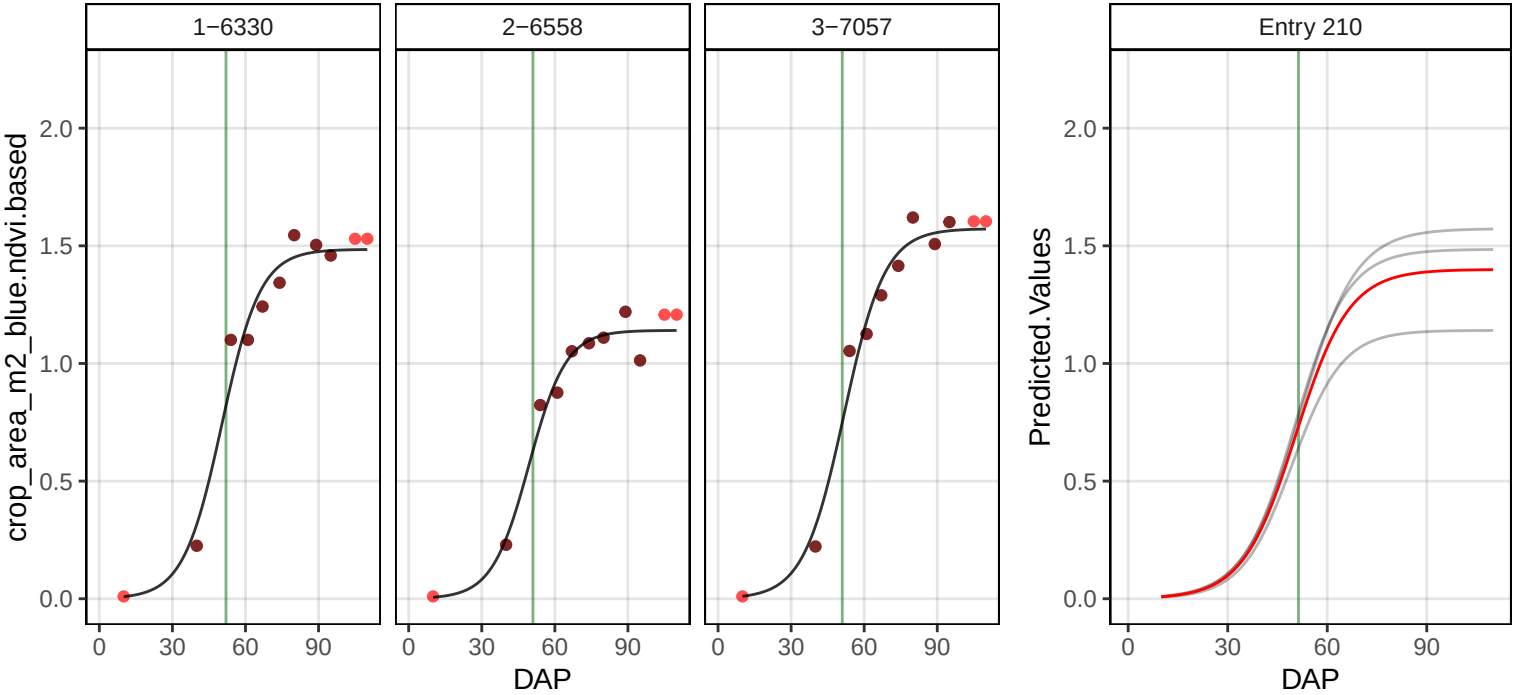

211 | PI 320954 LSP AGL

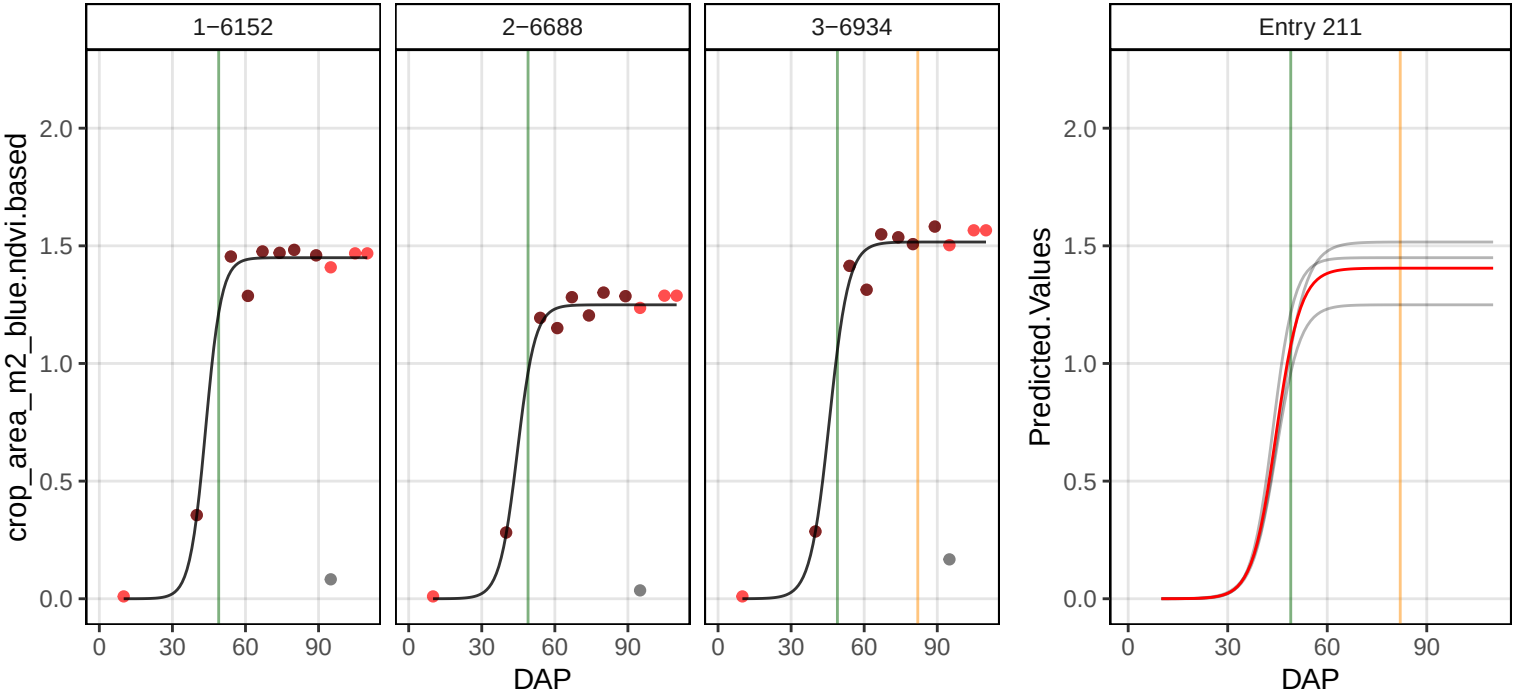

212 | PI 329157 LSP AGL

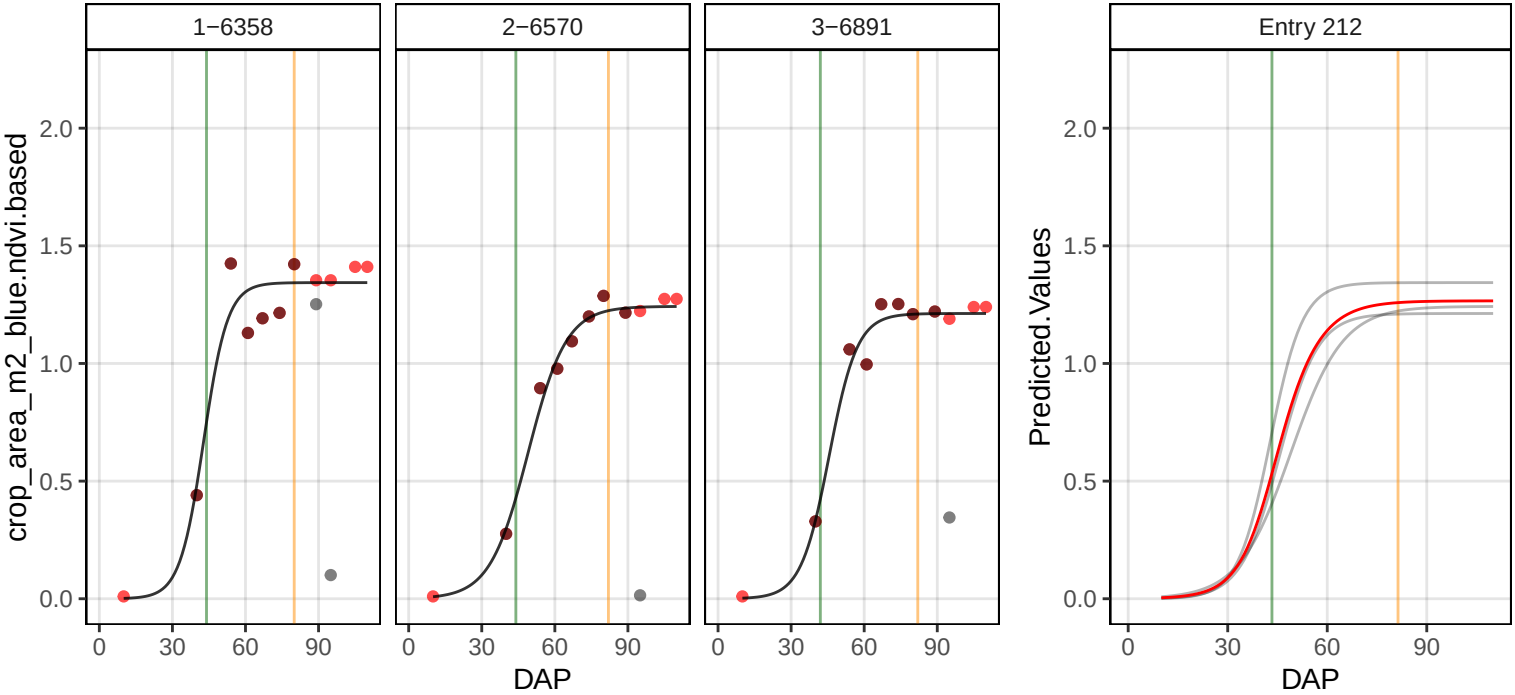

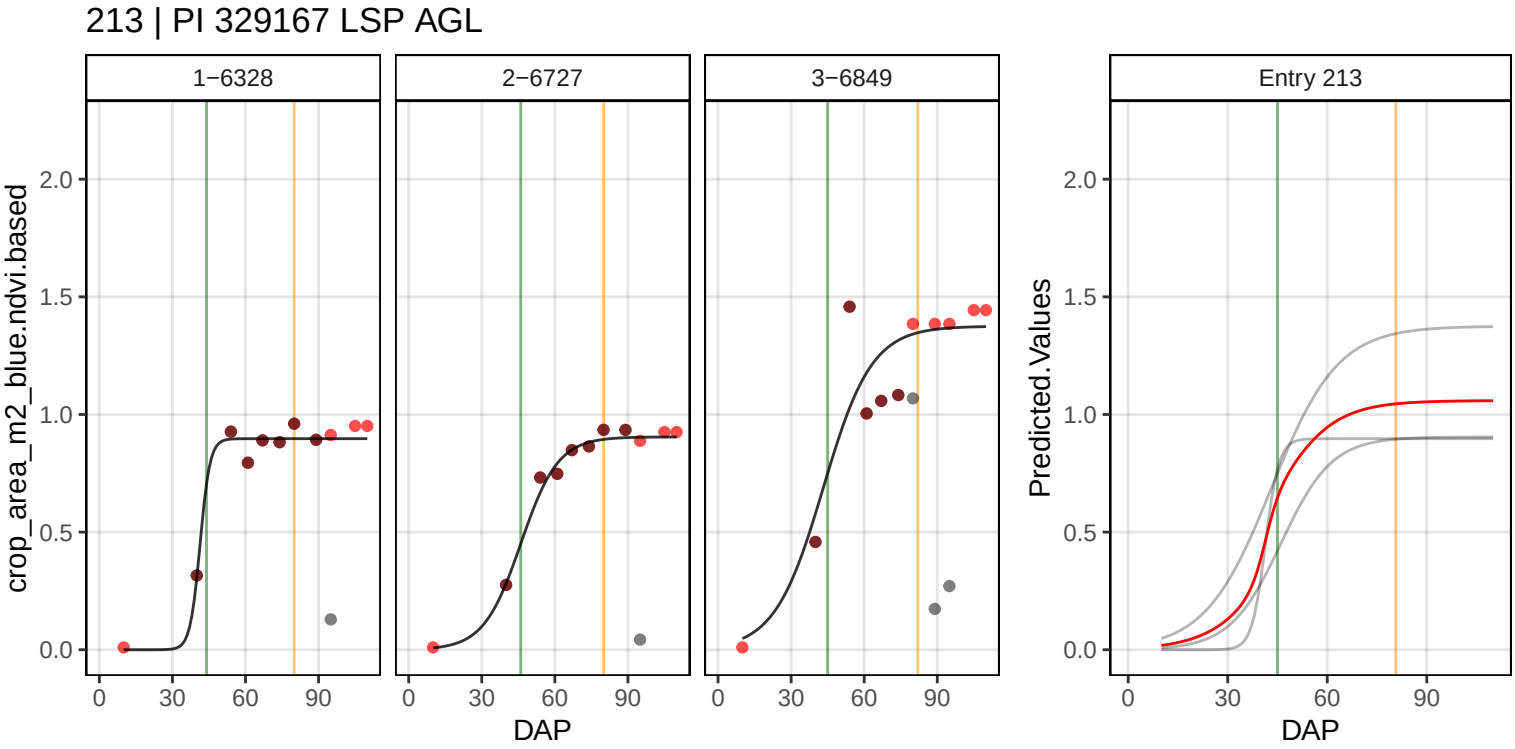
213 | PI 329167 LSP AGL
1−6328
2−6727
3−6849
Entry 213
crop_area_m2_blue.ndvi.based
Predicted.Values
DAP
DAP
0.0
0.5
1.0
1.5
2.0
0
30
60
90

214 | PI 339266 LSP AGL

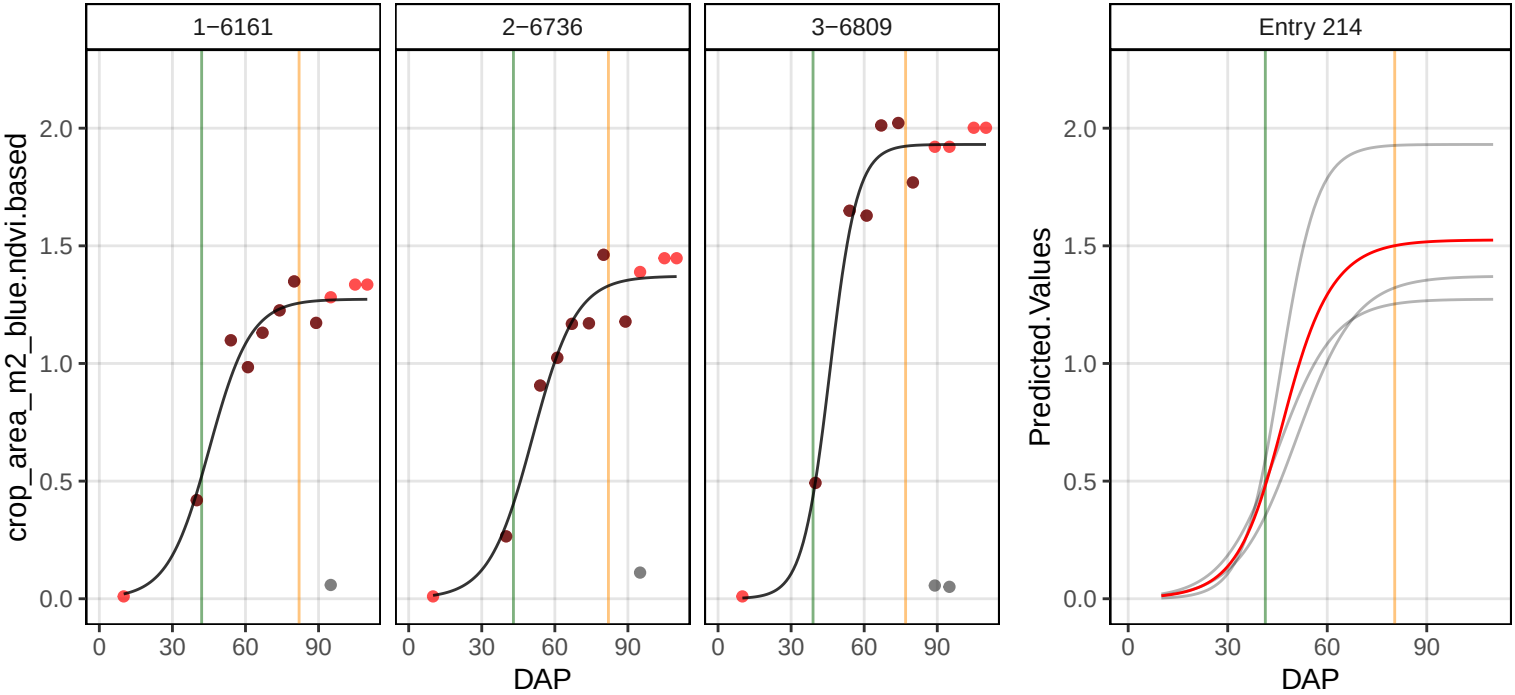

215 | PI 339283 LSP AGL

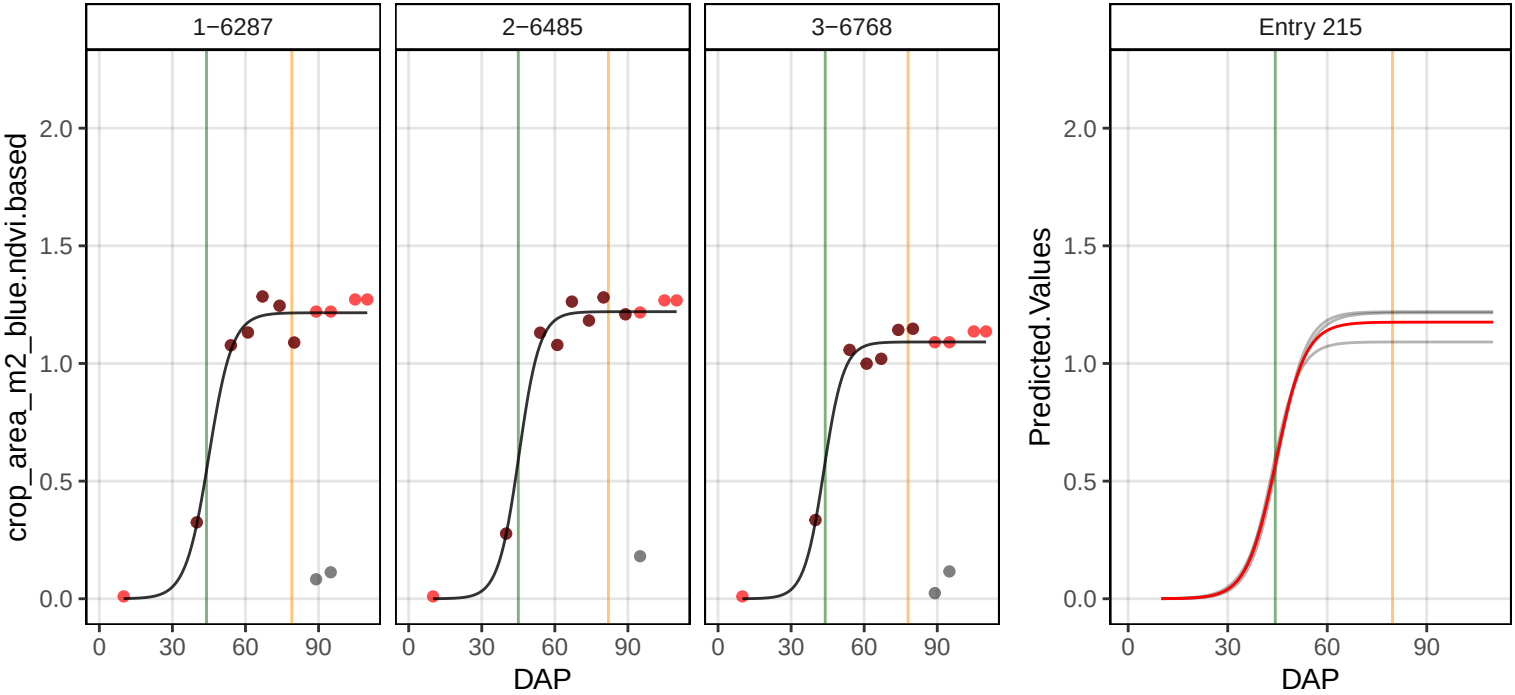

216 | PI 339285 AGL

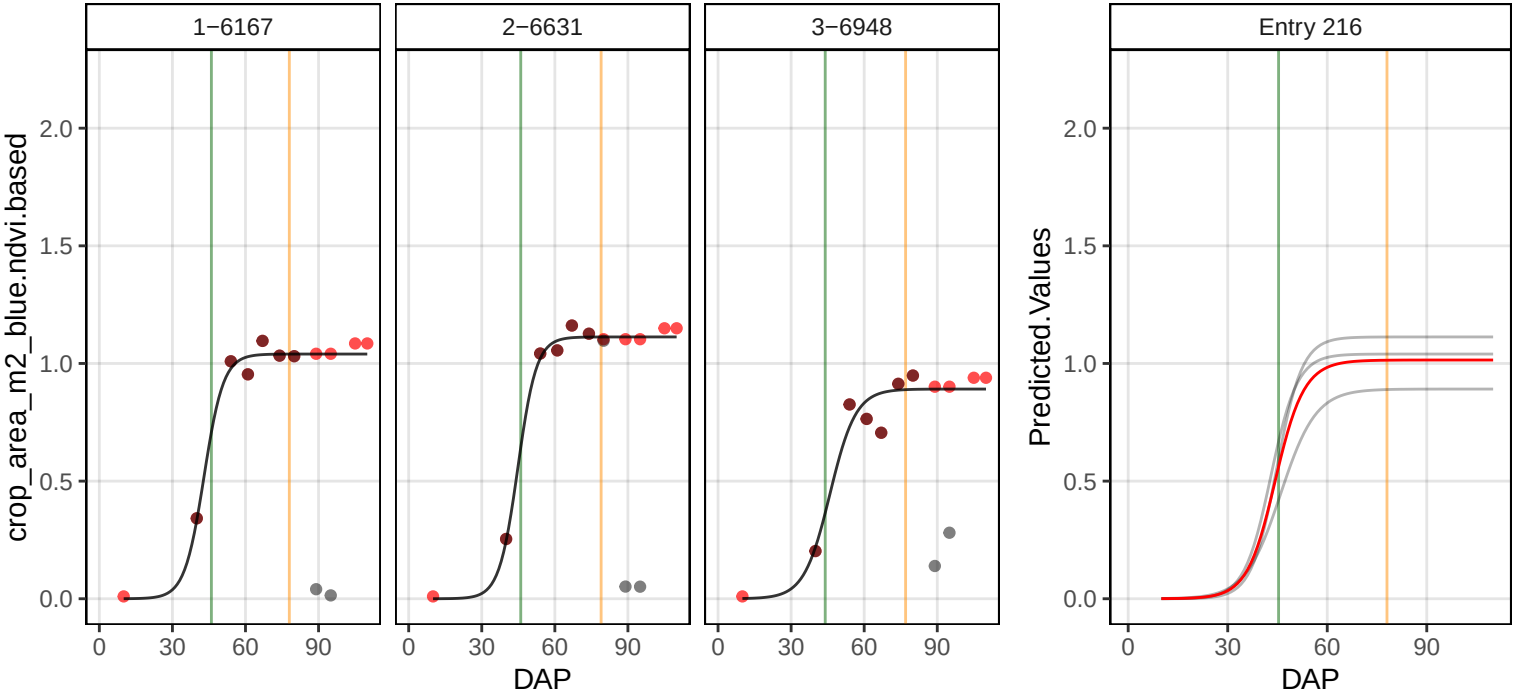

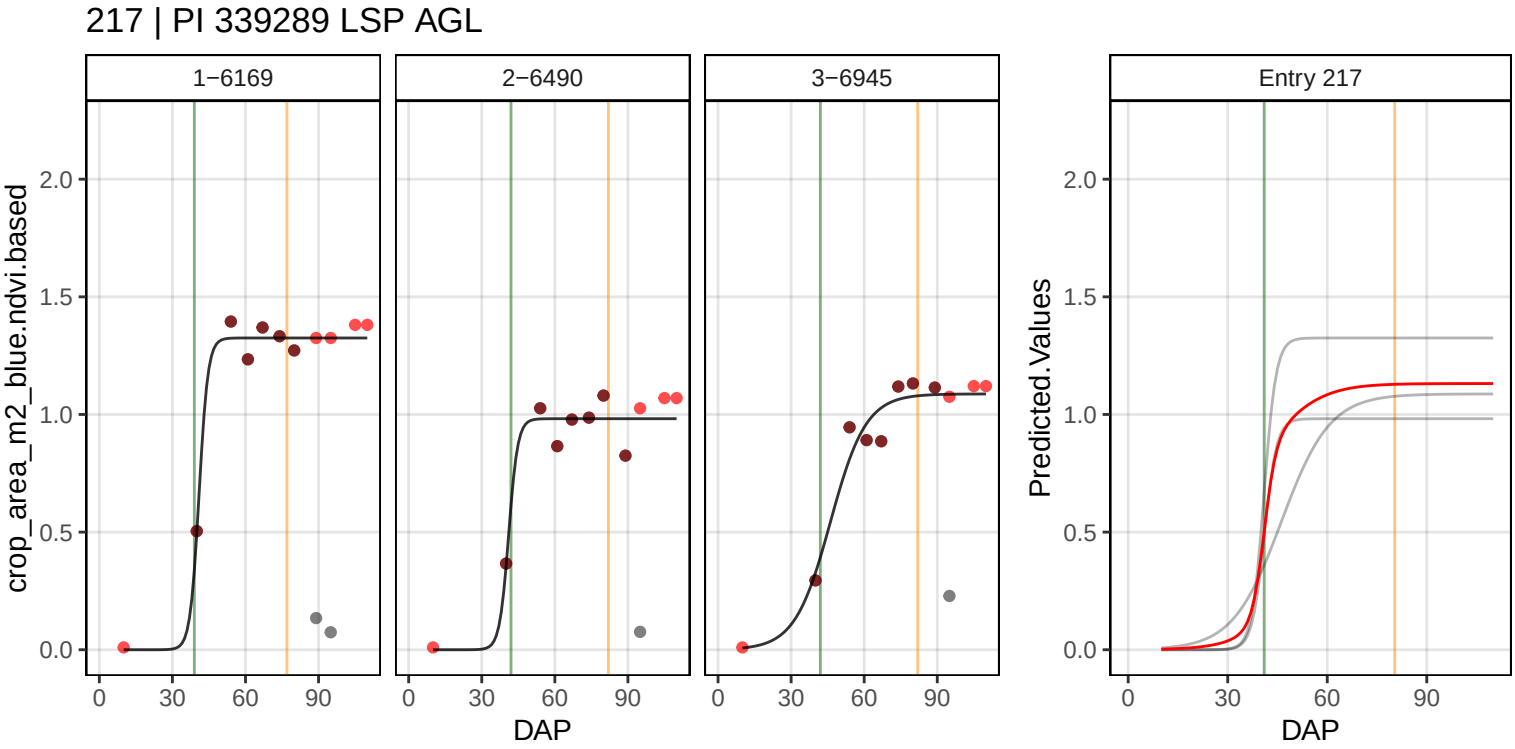
217 | PI 339289 LSP AGL
1−6169
2−6490
3−6945
Entry 217
crop_area_m2_blue.ndvi.based
Predicted.Values
DAP
DAP
0.0
0.5
1.0
1.5
2.0
0
30
60
90

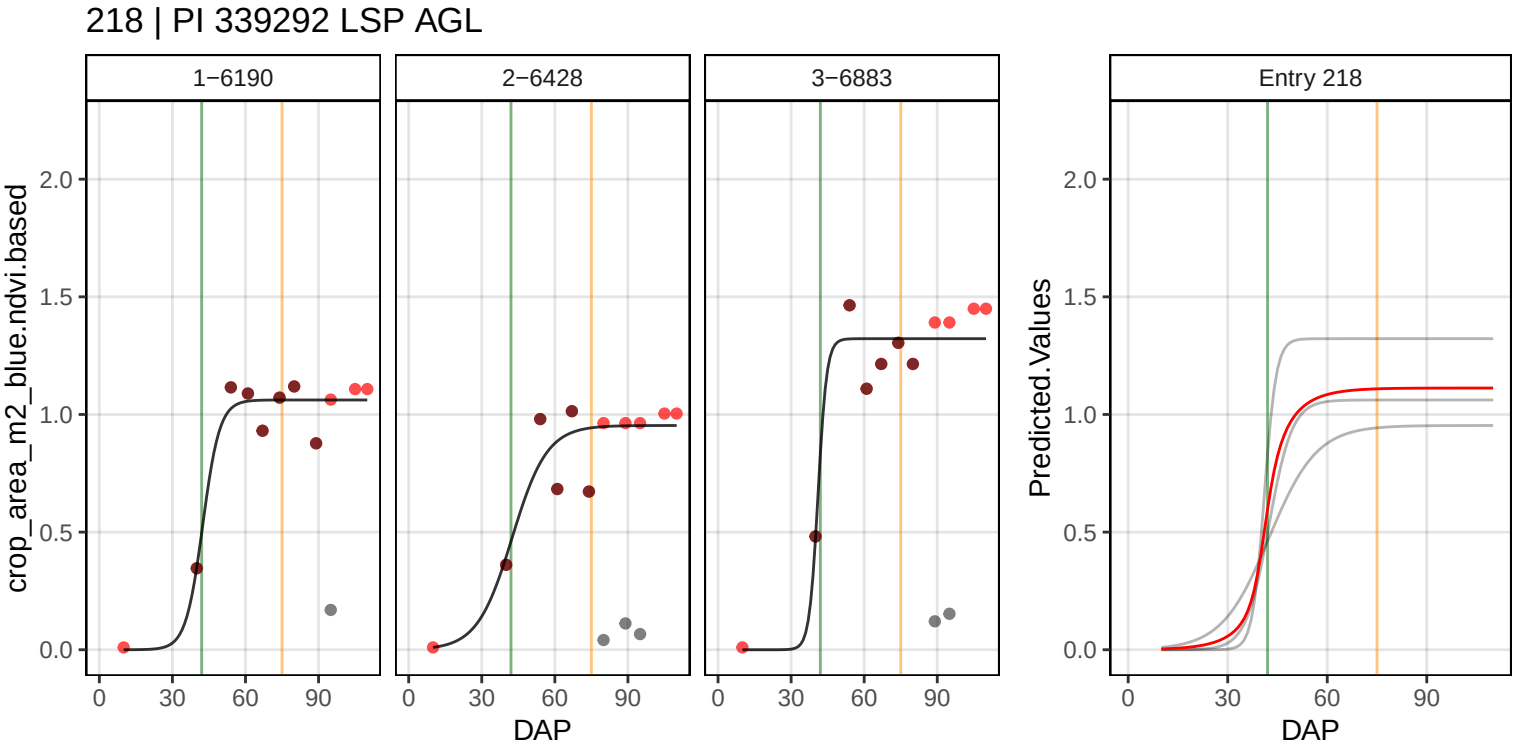
218 | PI 339292 LSP AGL
1−6190
2−6428
3−6883
Entry 218
crop_area_m2_blue.ndvi.based
Predicted.Values
DAP
DAP
0.0
0.5
1.0
1.5
2.0
0
30
60
90

219 | PI 339296 AGL

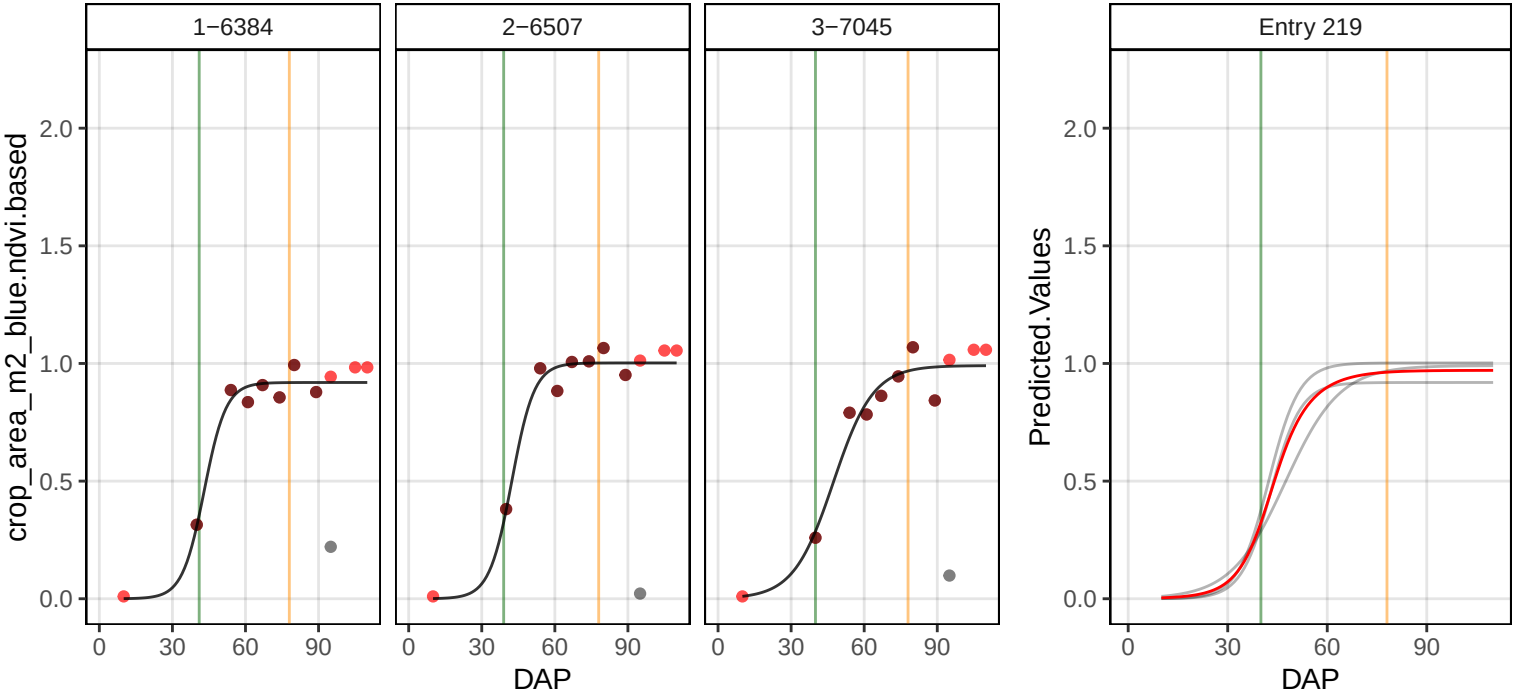

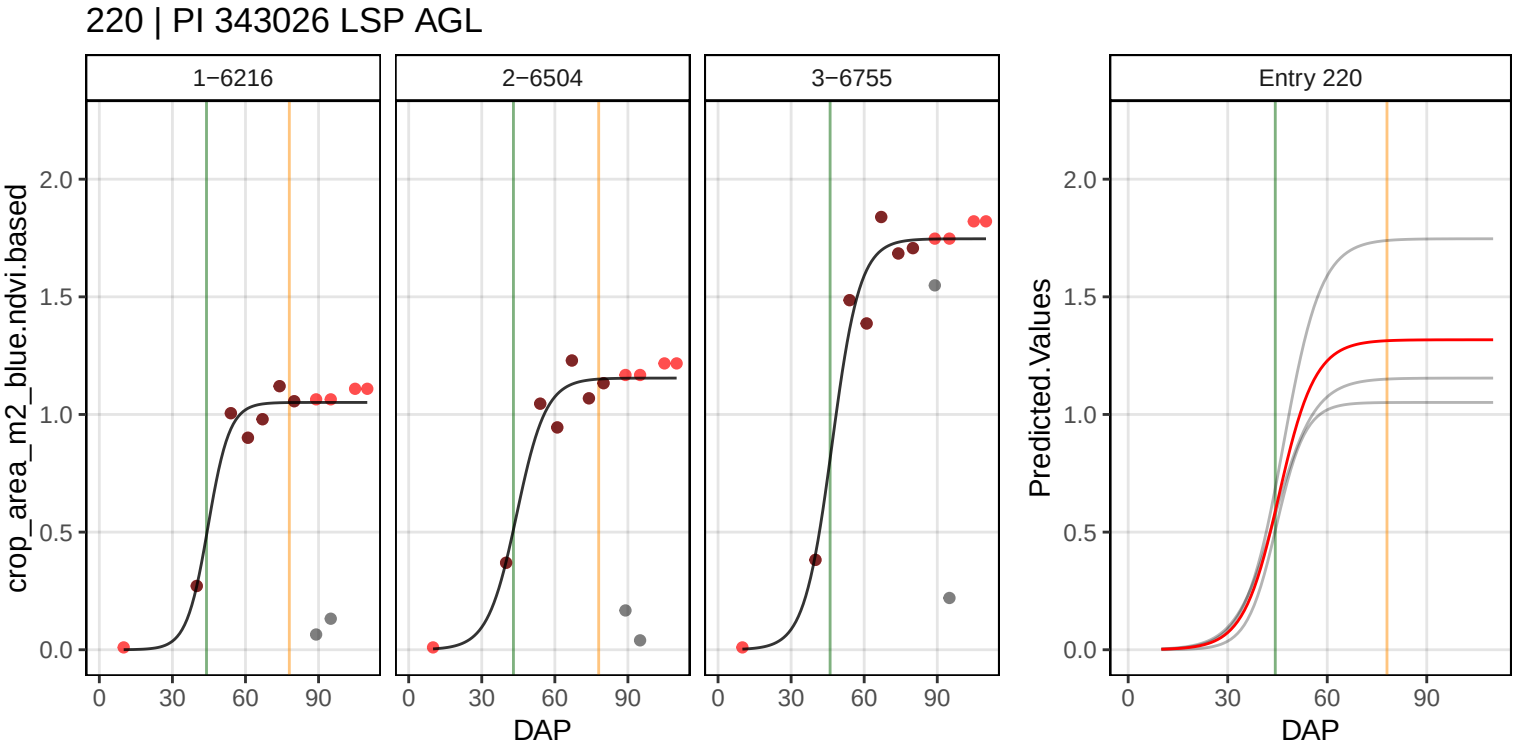
220 | PI 343026 LSP AGL
1−6216
2−6504
3−6755
Entry 220
crop_area_m2_blue.ndvi.based
Predicted.Values
DAP
DAP
0.0
0.5
1.0
1.5
2.0
0
30
60
90

221 | PI 345627 LSP AGL

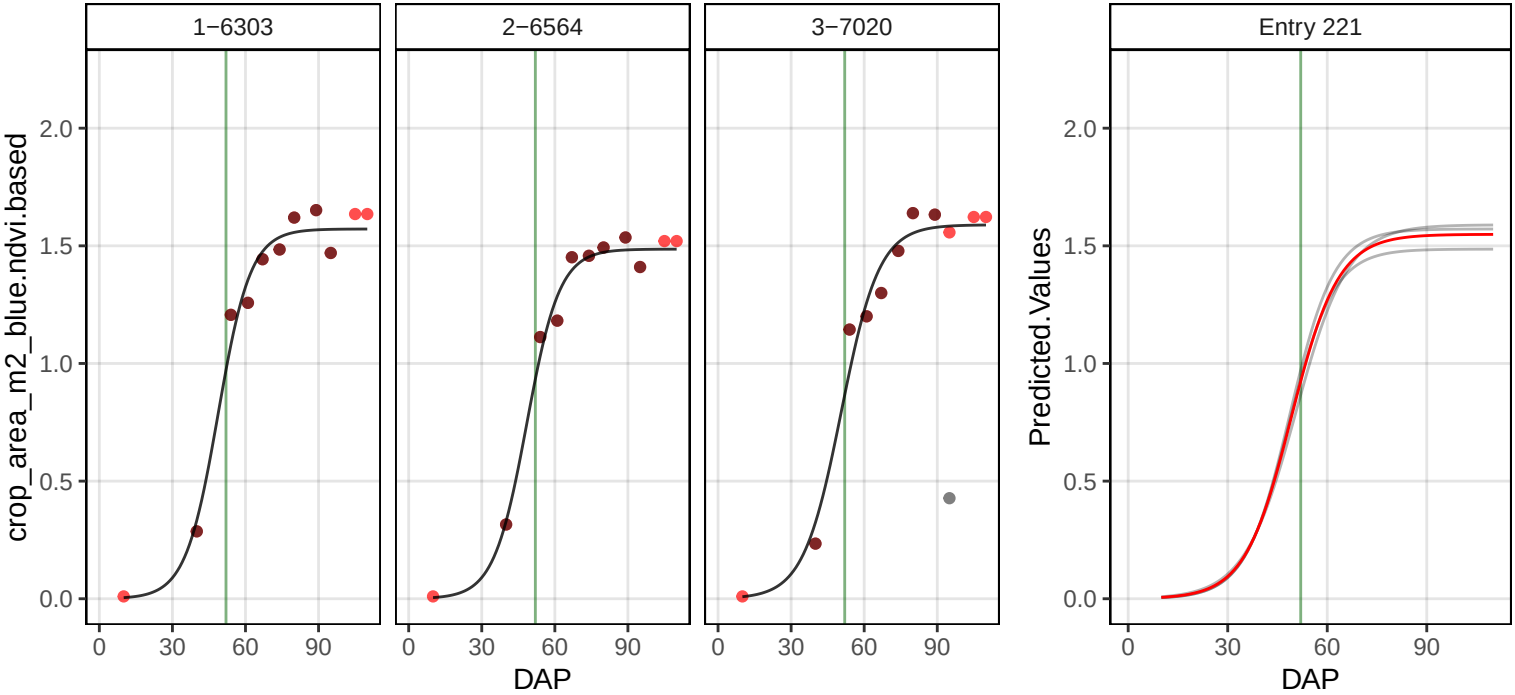

222 | PI 358602 LSP AGL

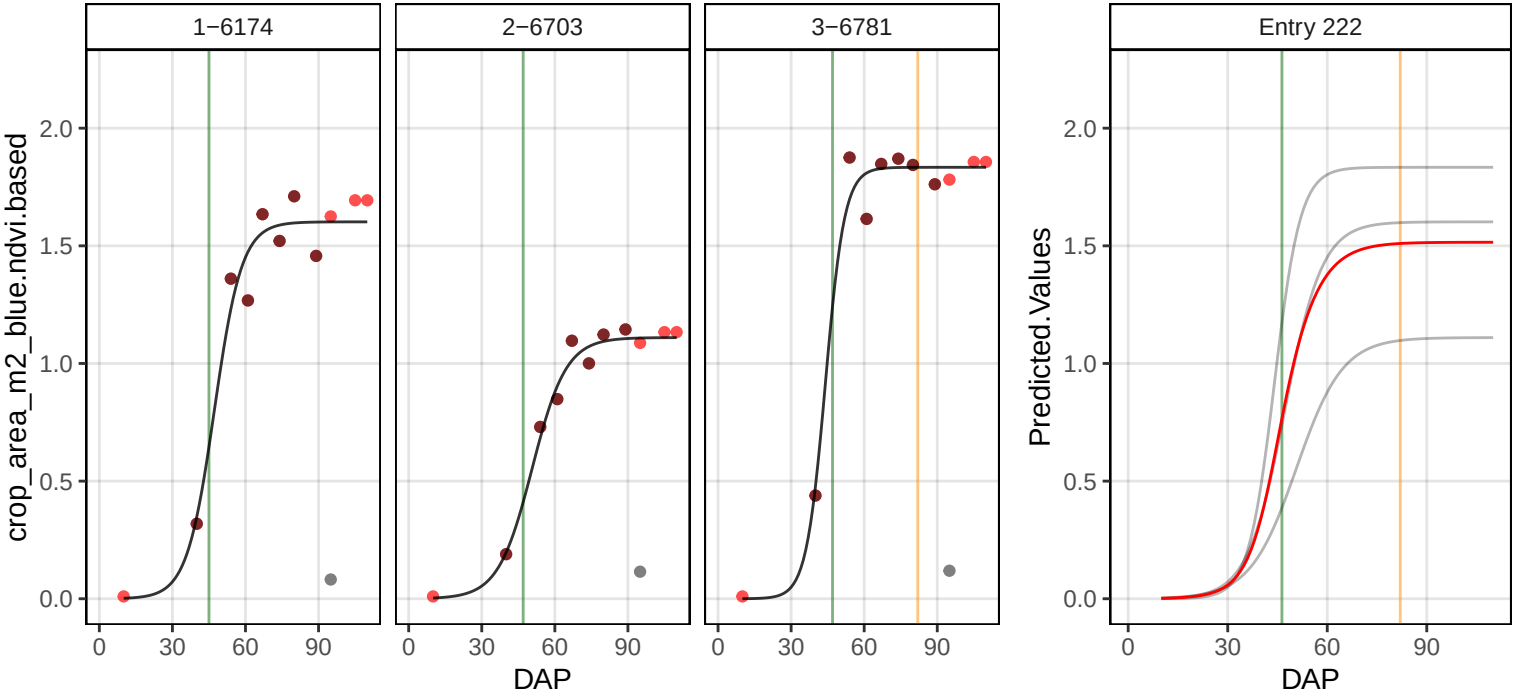

223 | PI 368647 LSP AGL

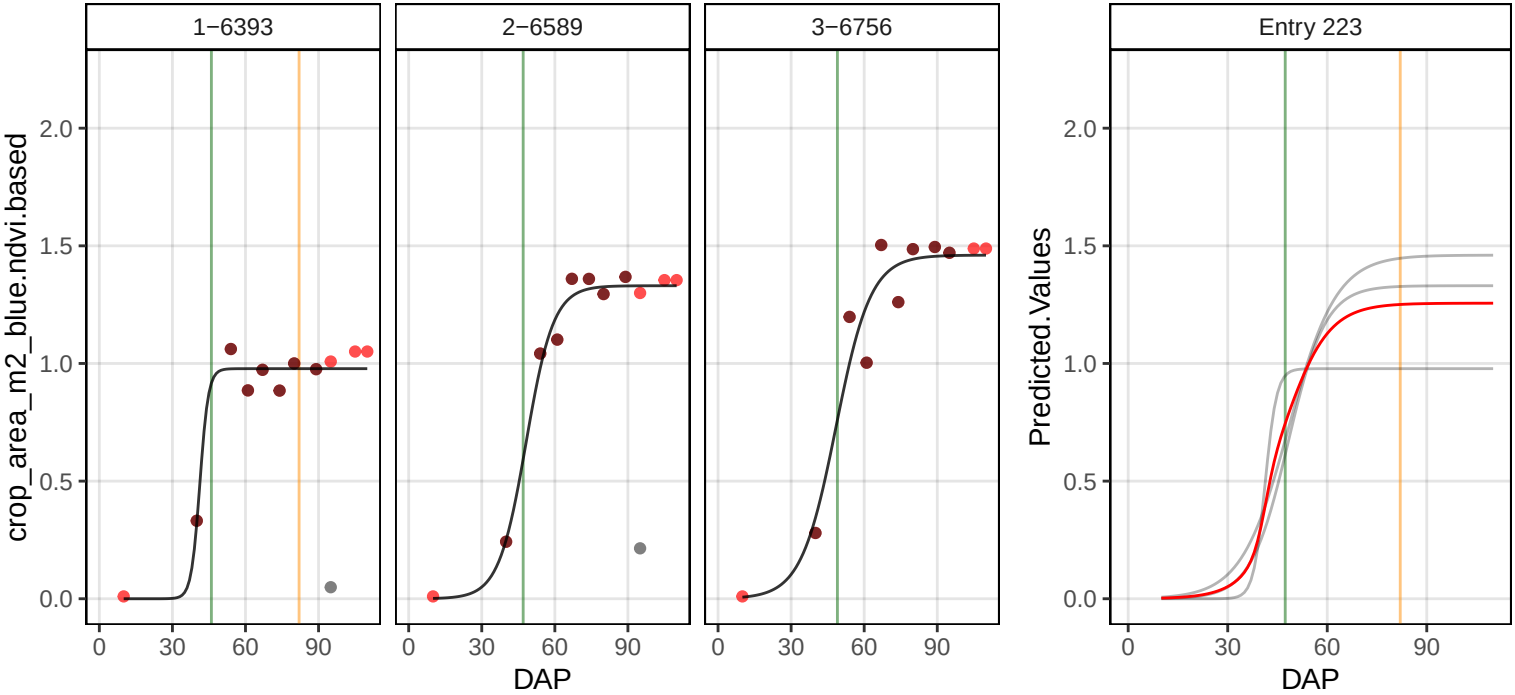

224 | PI 368651 LSP AGL

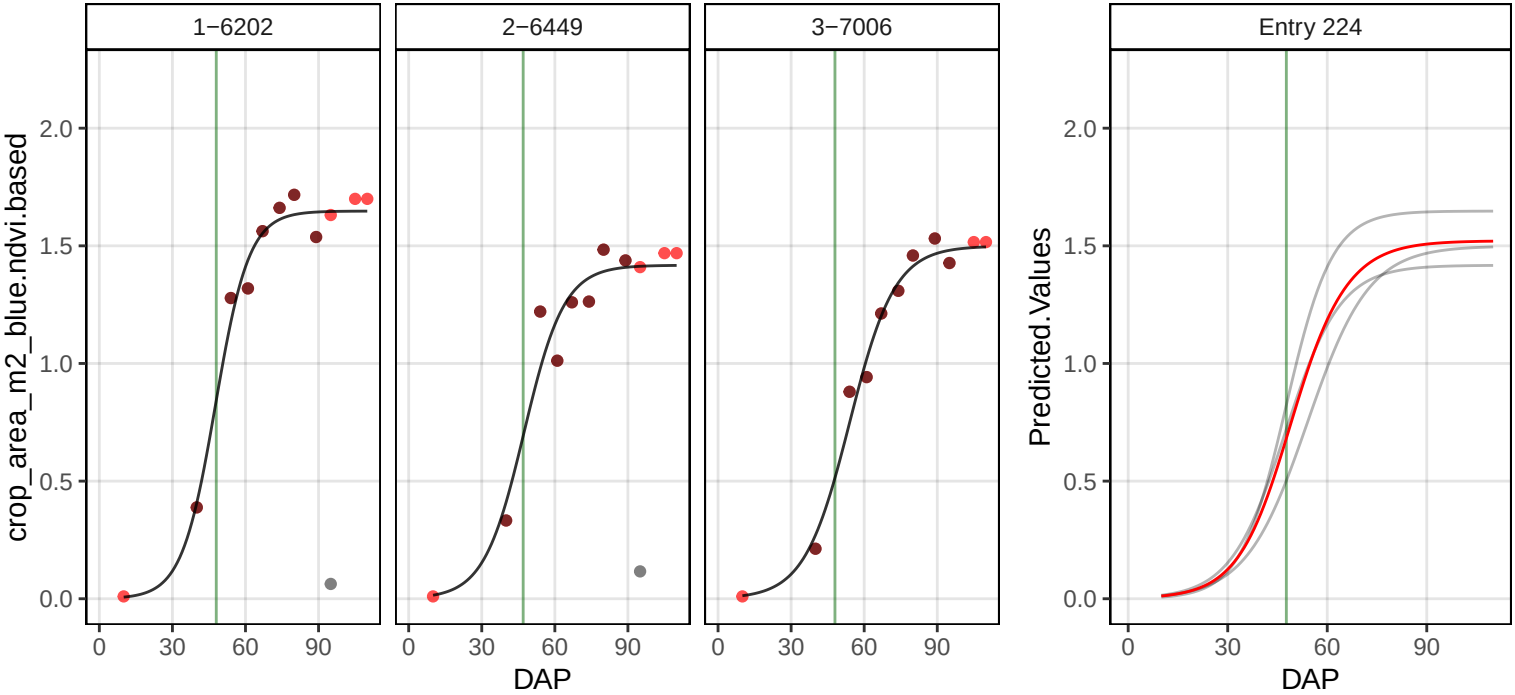

225 | PI 370481 LSP AGL

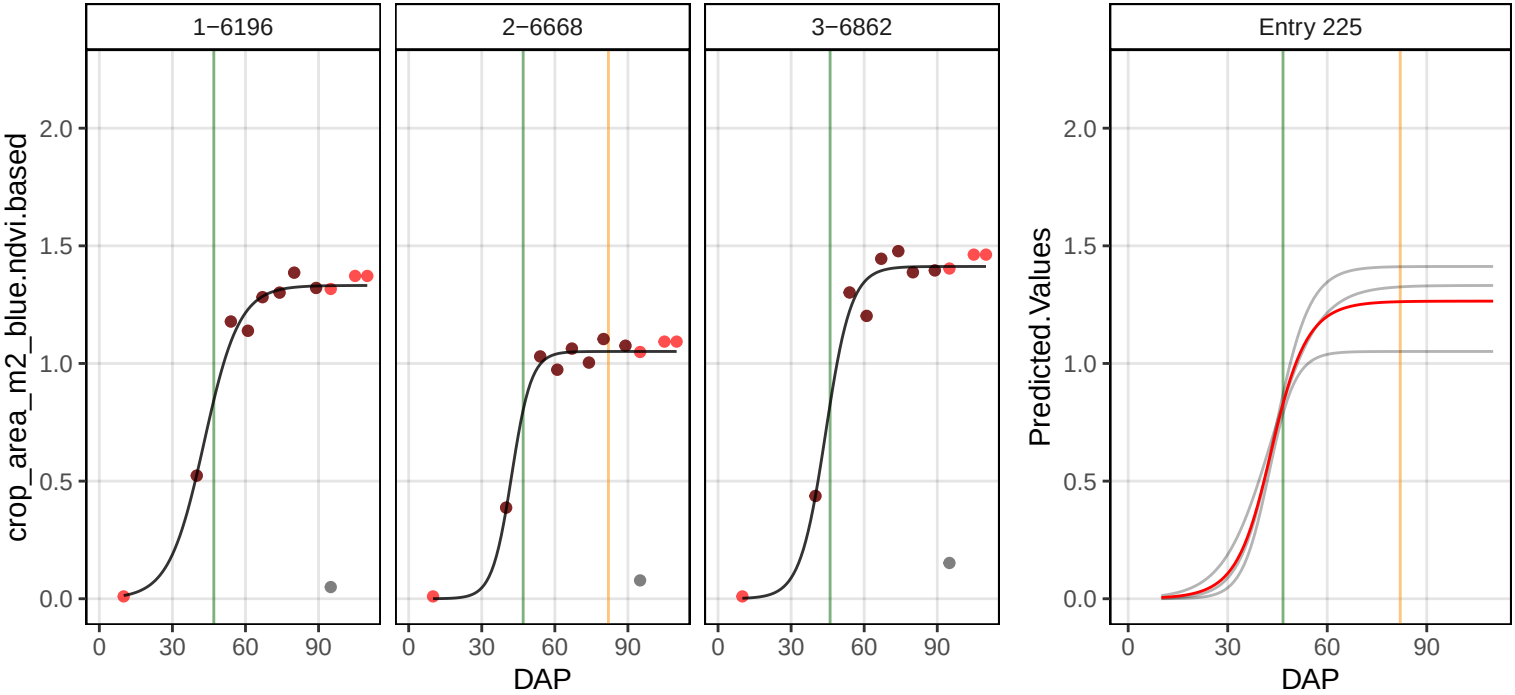

226 | PI 374116 LSP AGL

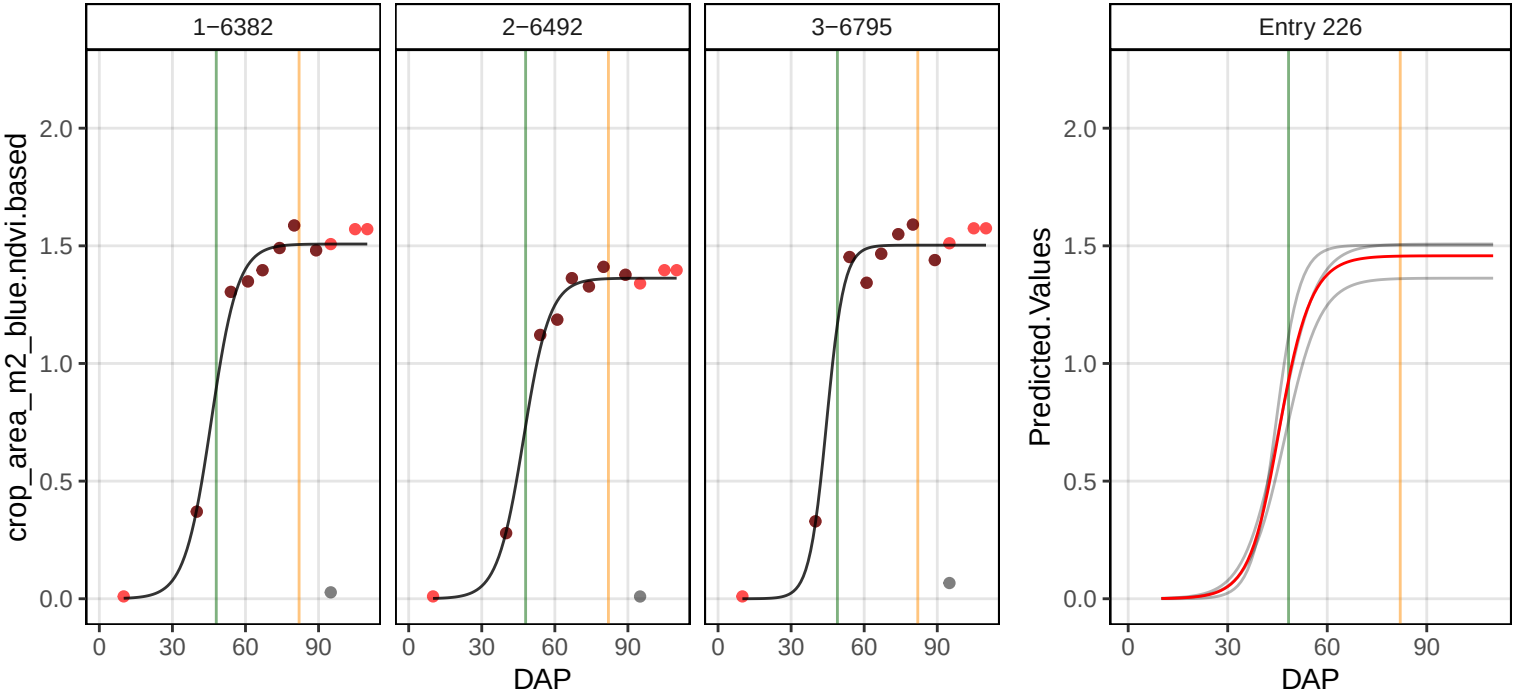

227 | PI 374117 LSP AGL

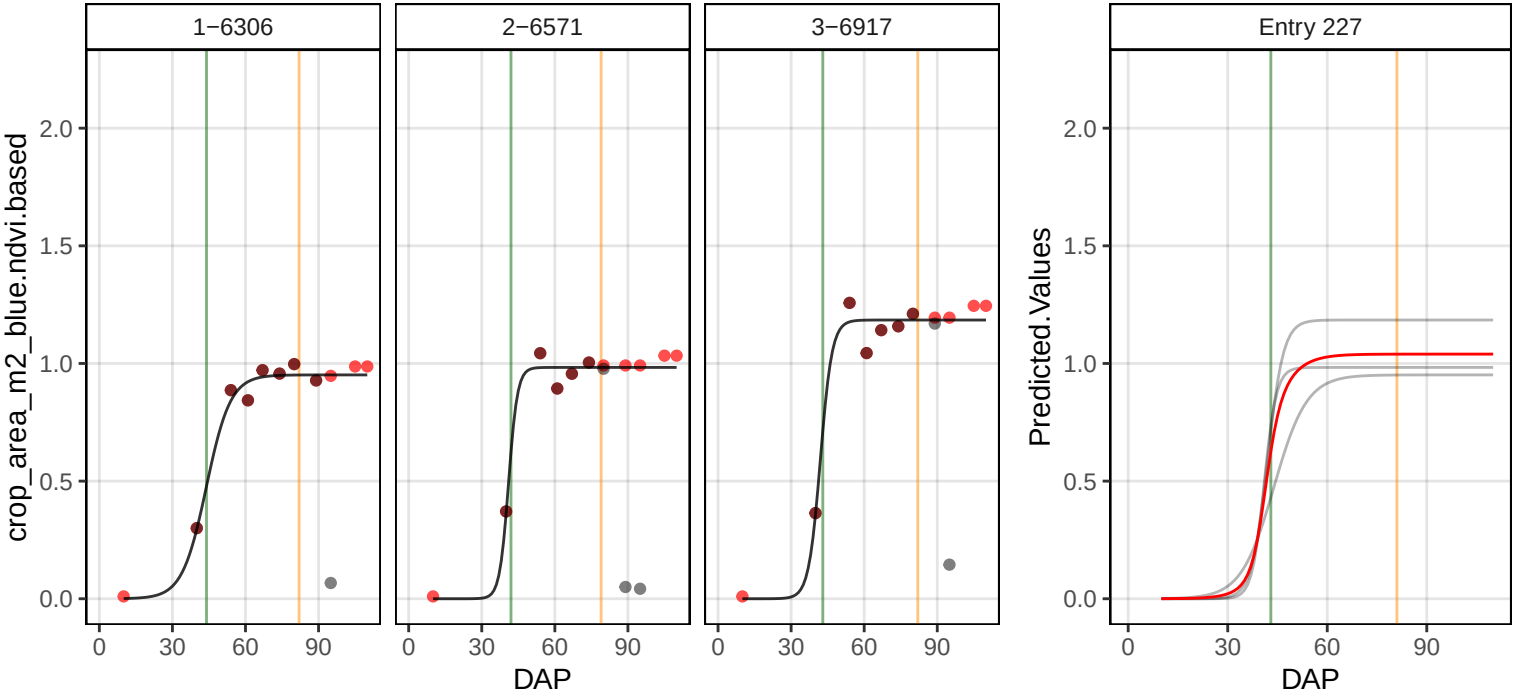

228 | PI 374118 AGL

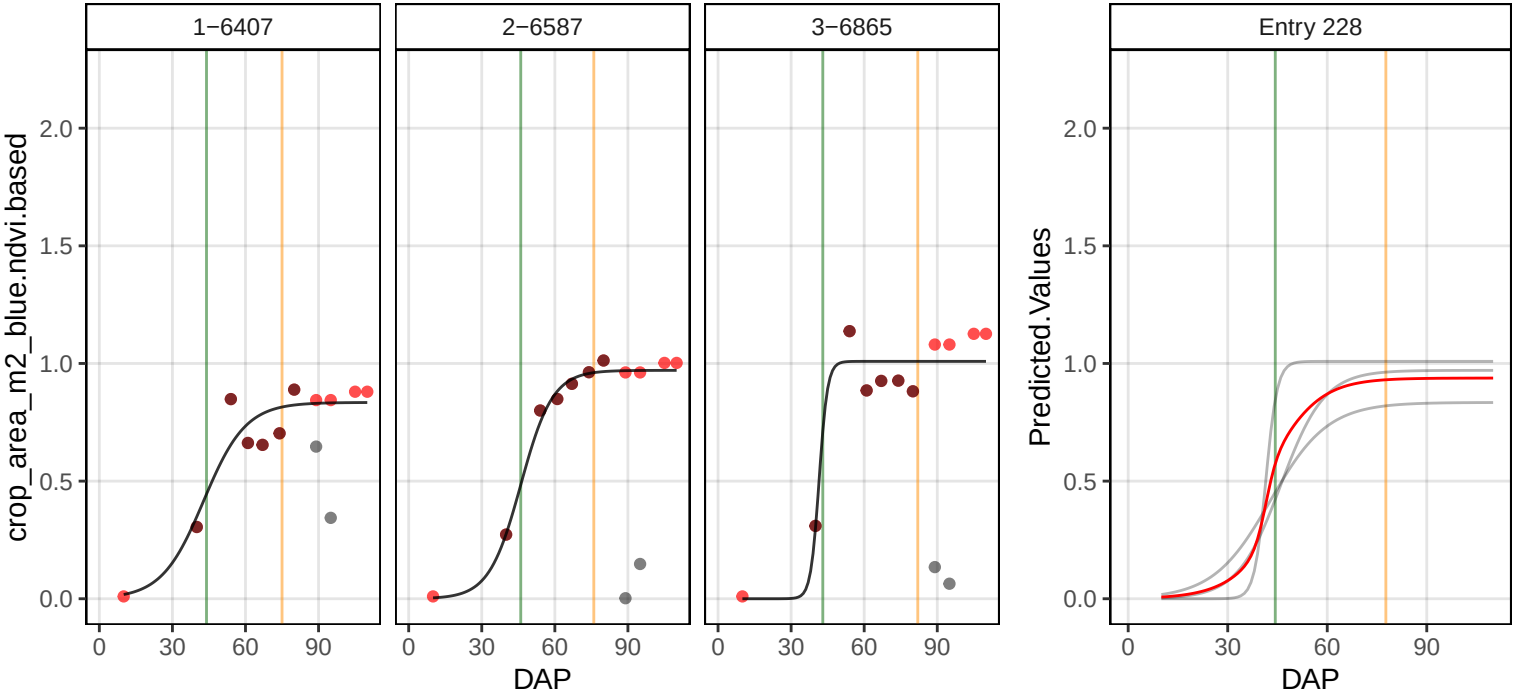

229 | PI 374120 LSP AGL

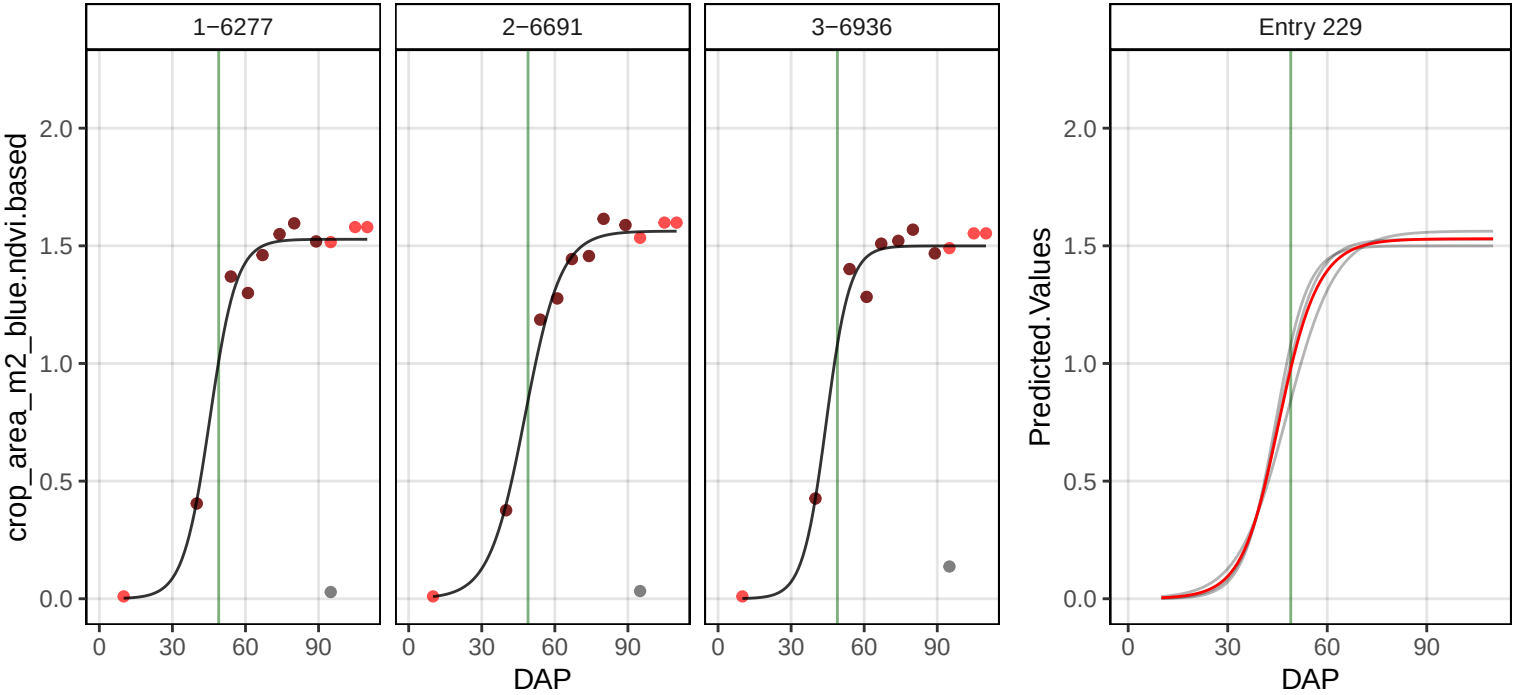

230 | PI 374121 AGL

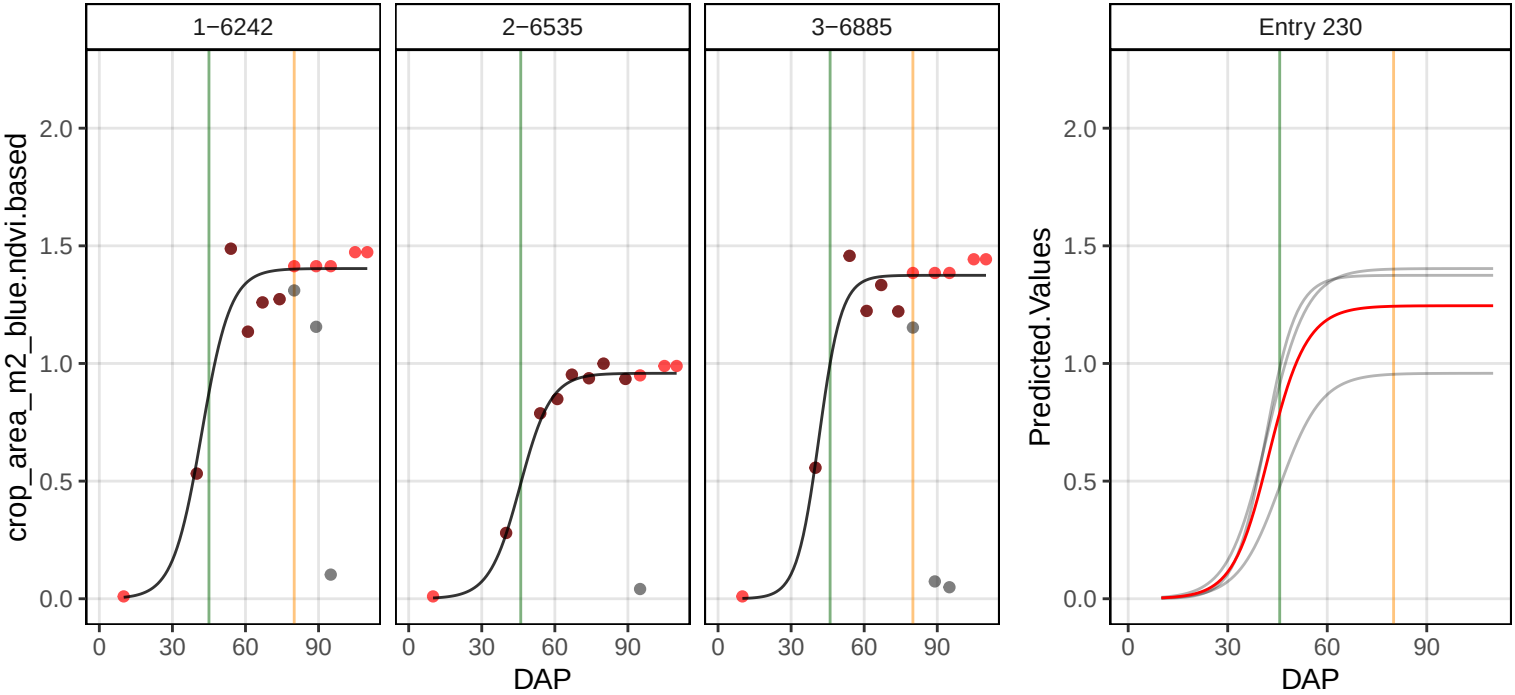

231 | PI 379368 LSP AGL

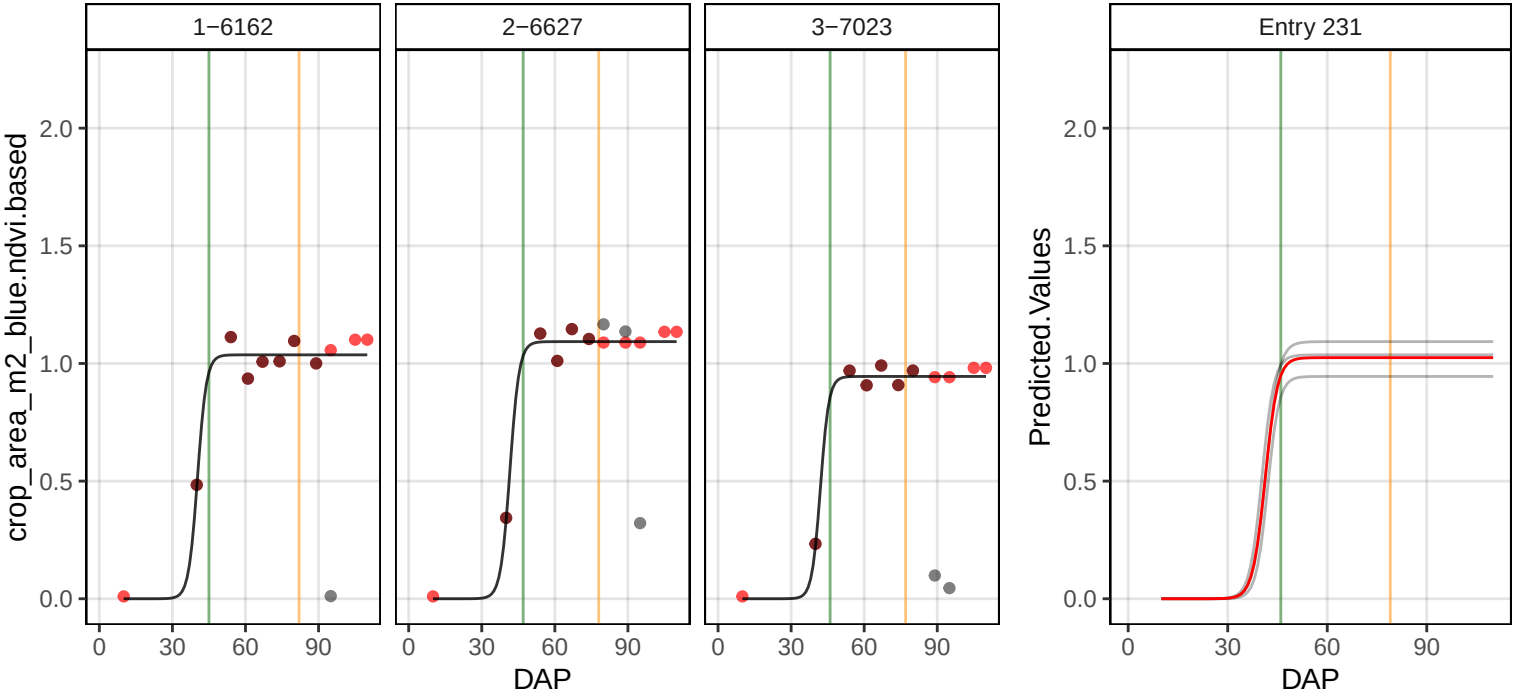

232 | PI 383682 LSP AGL

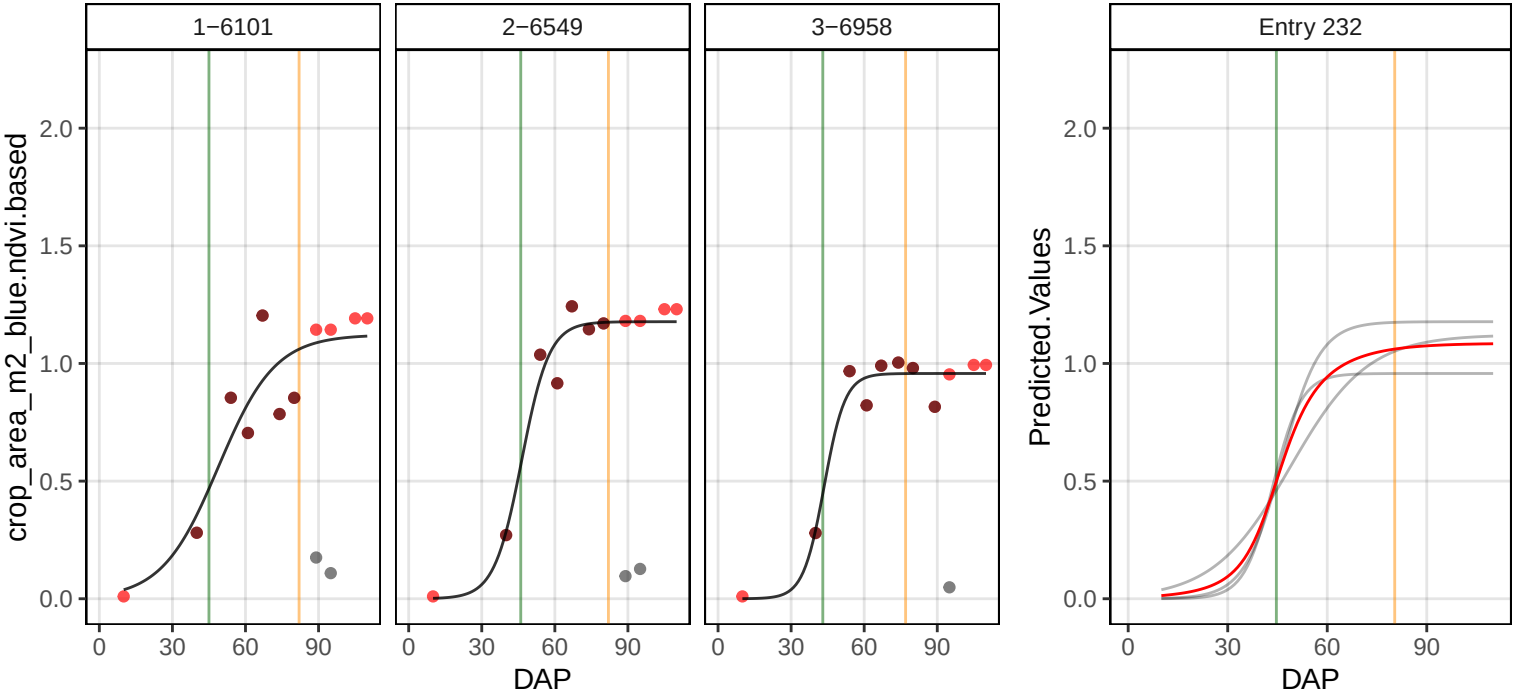

233 | PI 420818 AGL

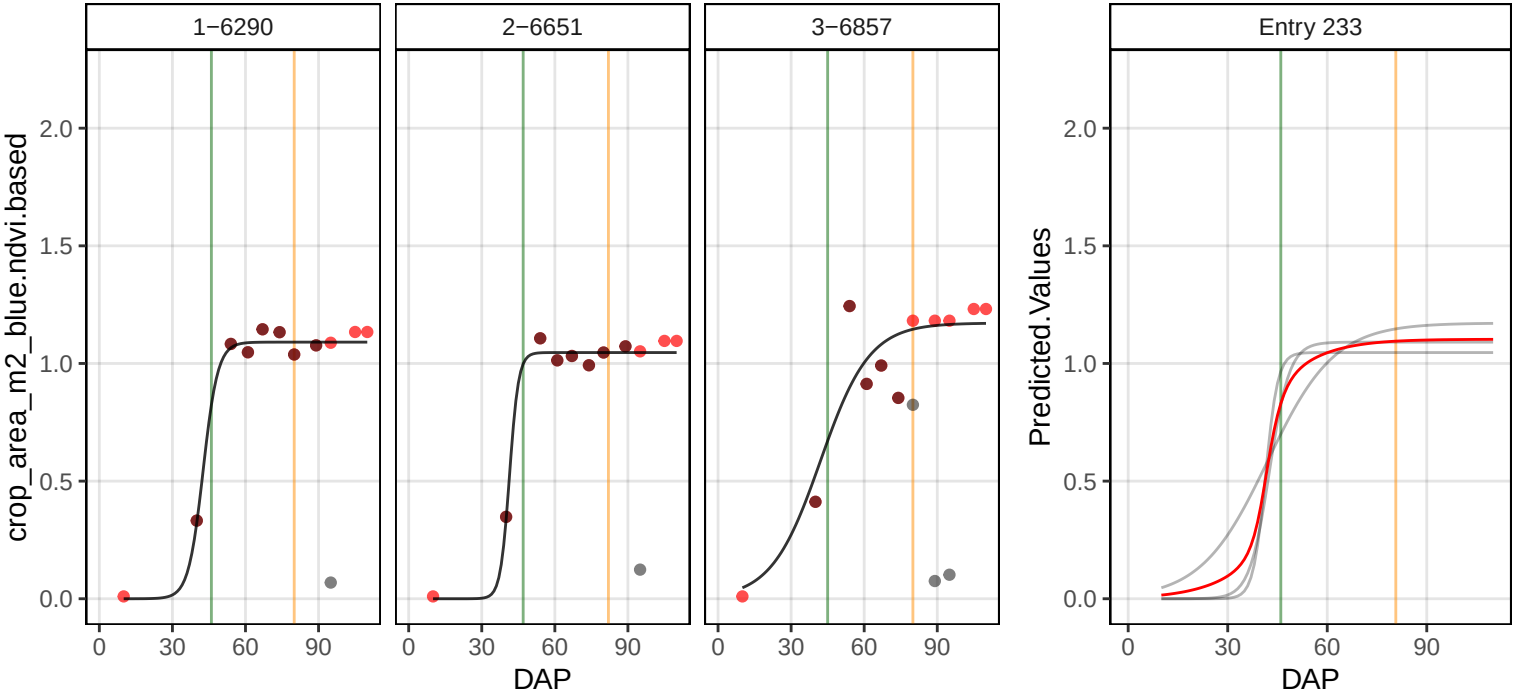

234 | PI 420924 LSP AGL

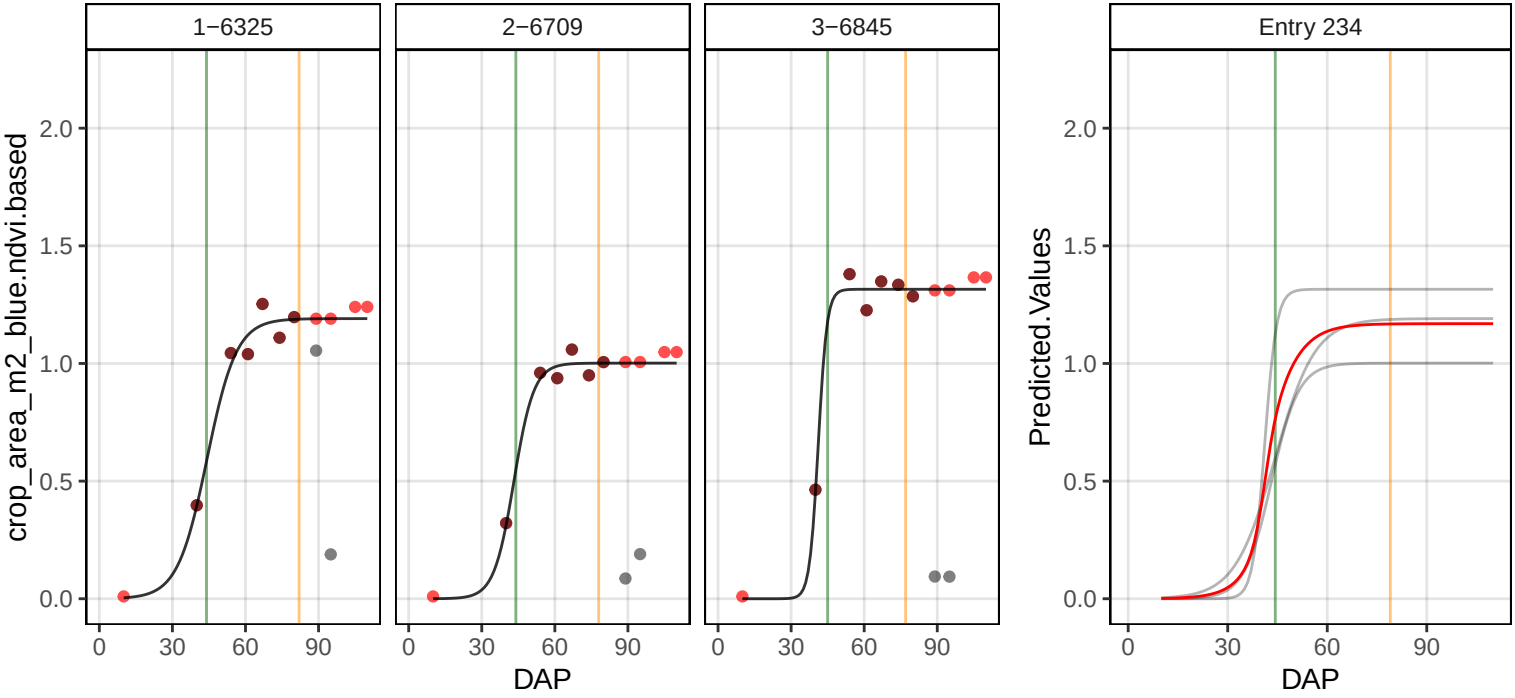

235 | PI 420925 LSP AGL

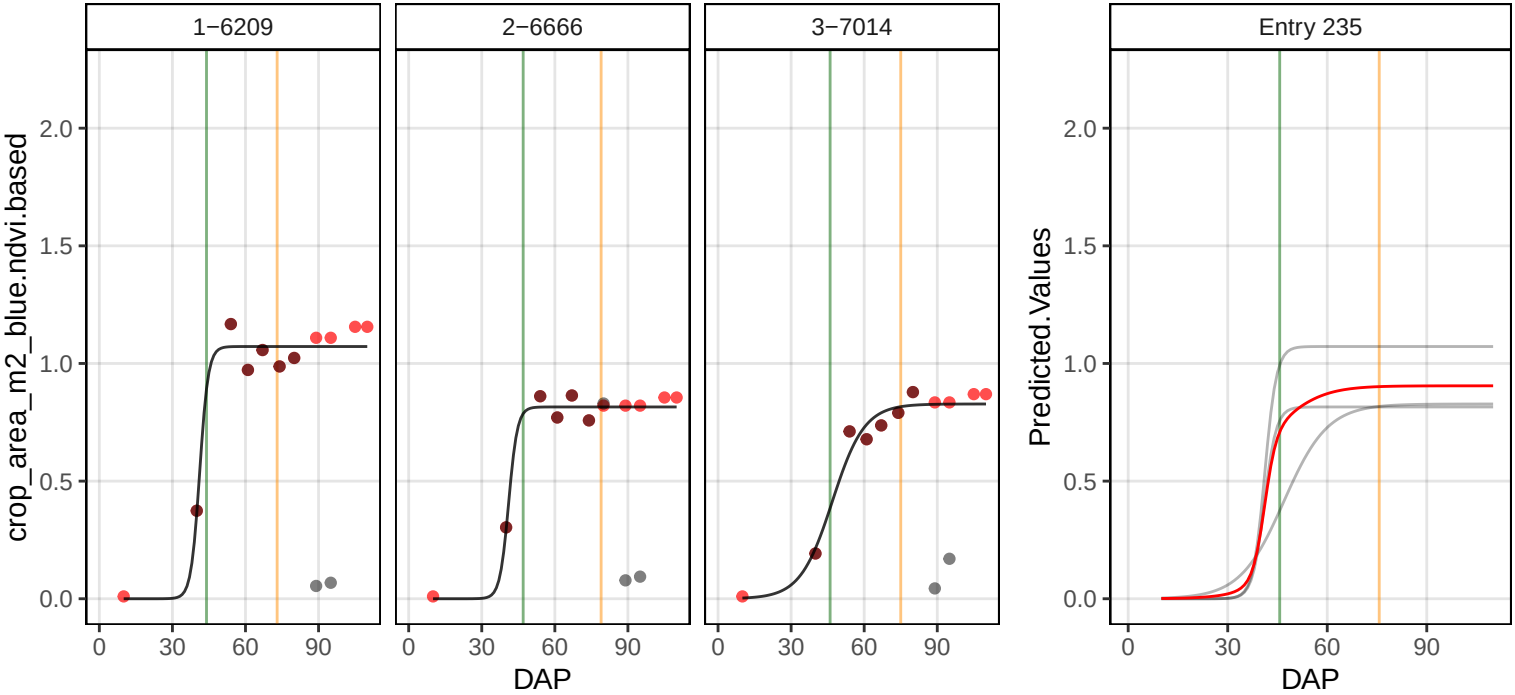

236 | PI 420929 LSP AGL

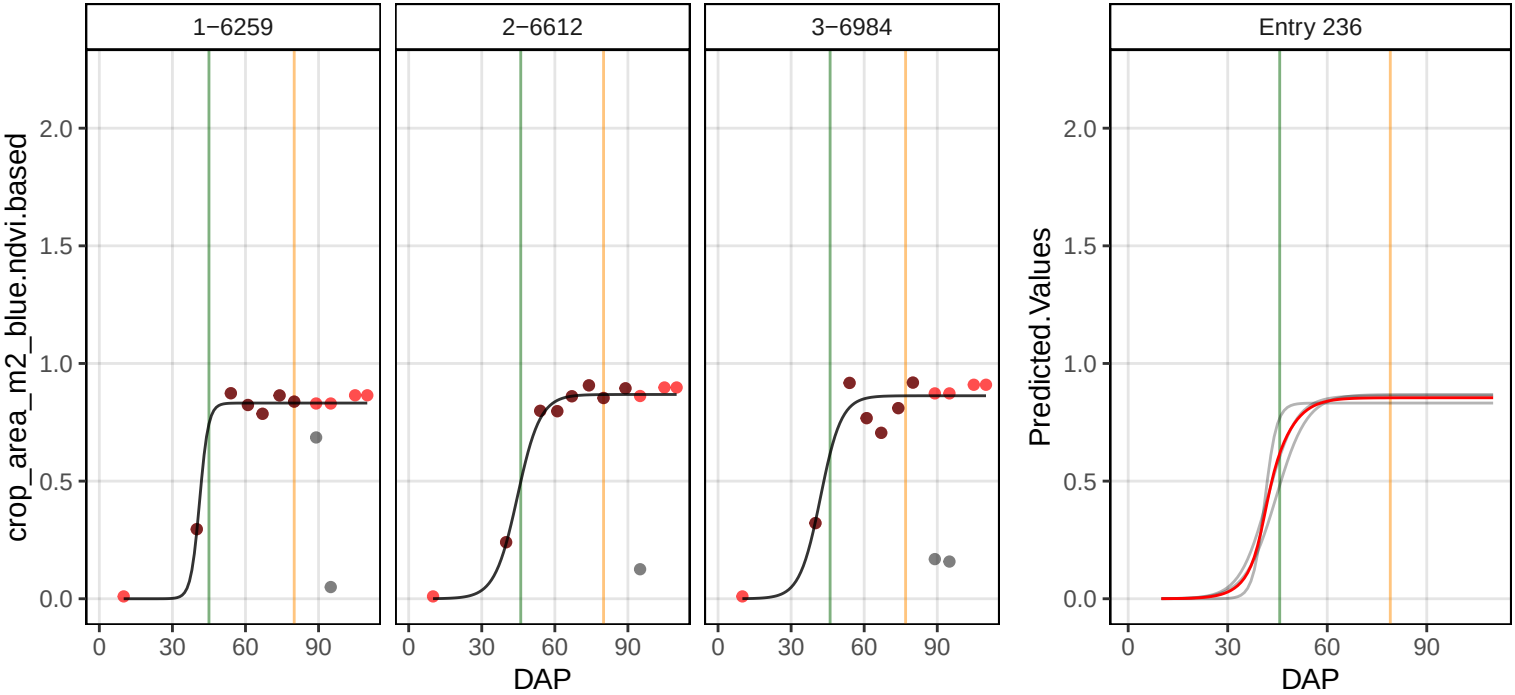

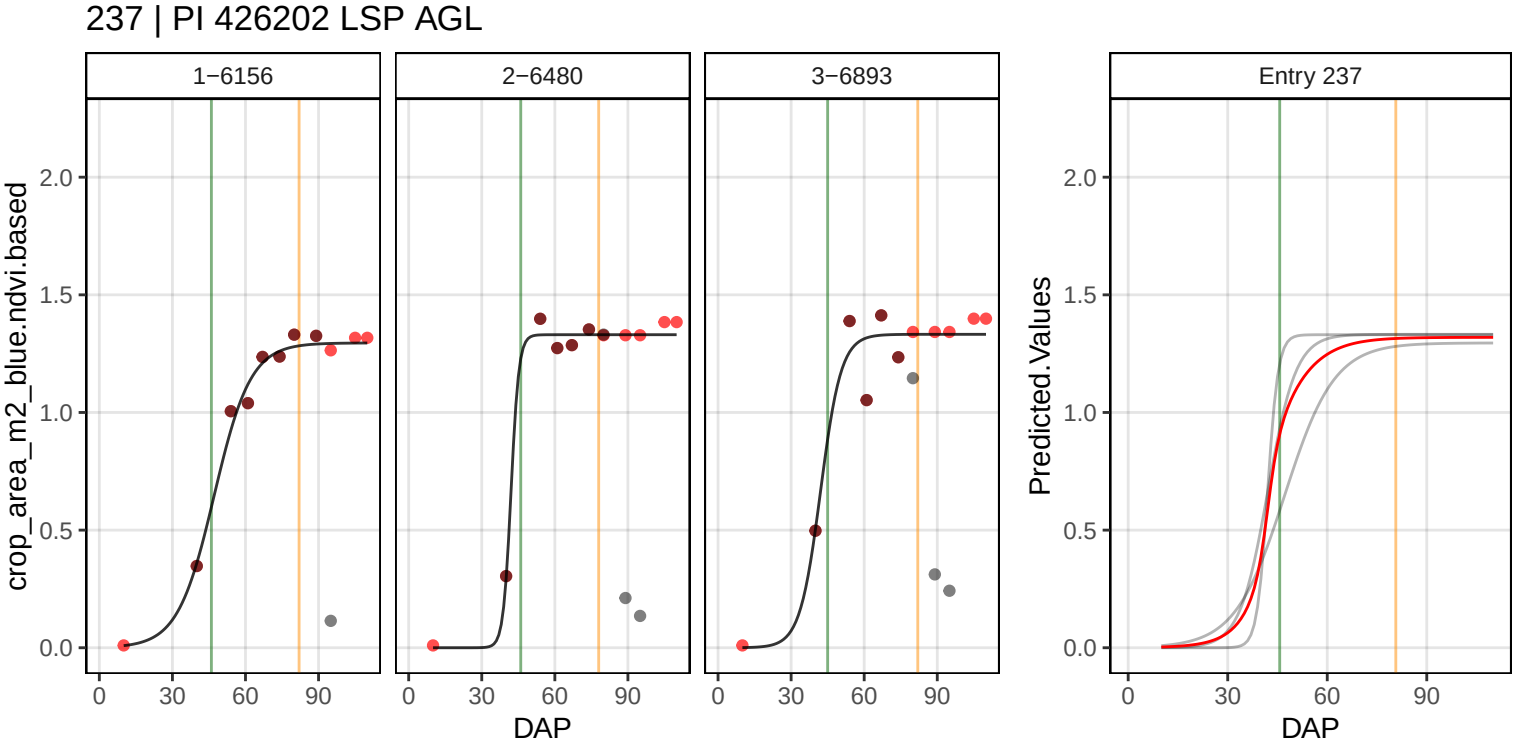
237 | PI 426202 LSP AGL
1−6156
2−6480
3−6893
Entry 237
crop_area_m2_blue.ndvi.based
Predicted.Values
DAP
DAP
0.0
0.5
1.0
1.5
2.0
0
30
60
90

238 | PI 426778 LSP AGL

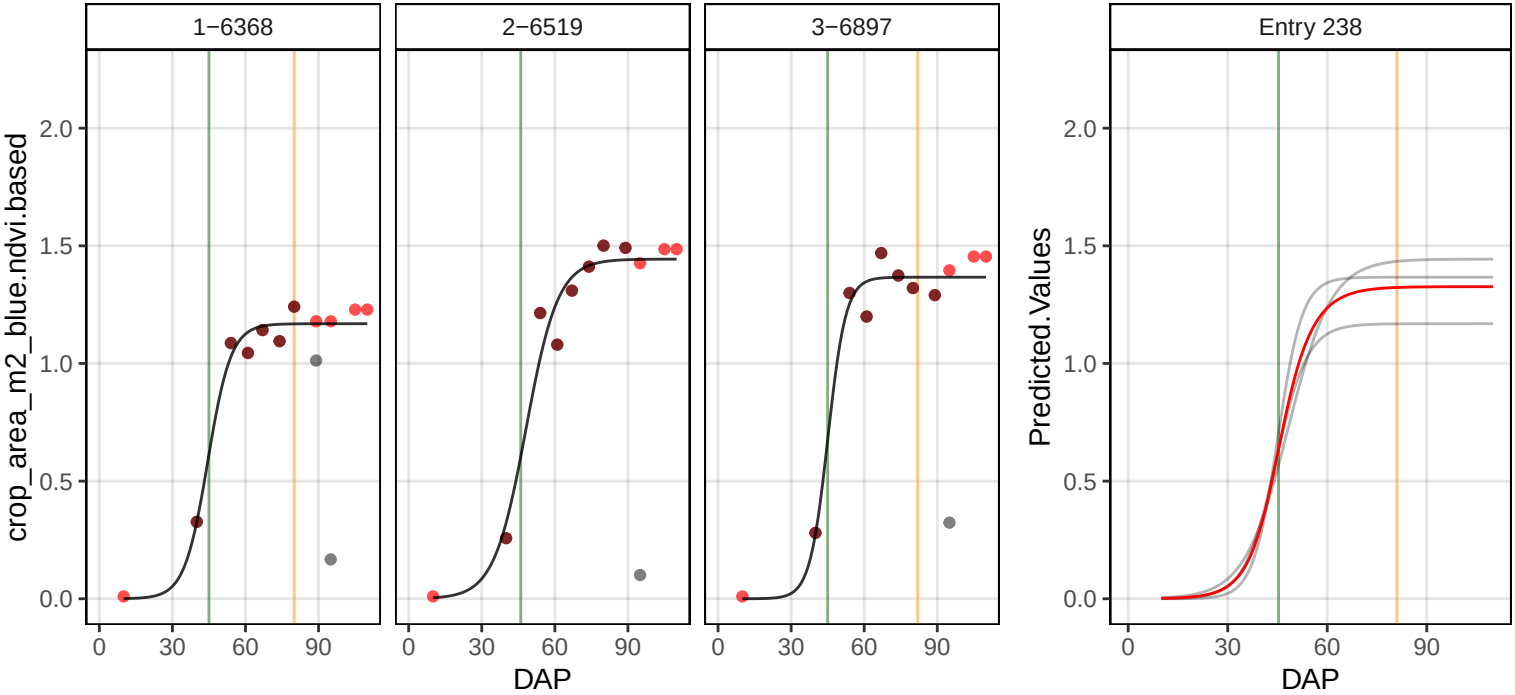

239 | PI 426784 LSP AGL

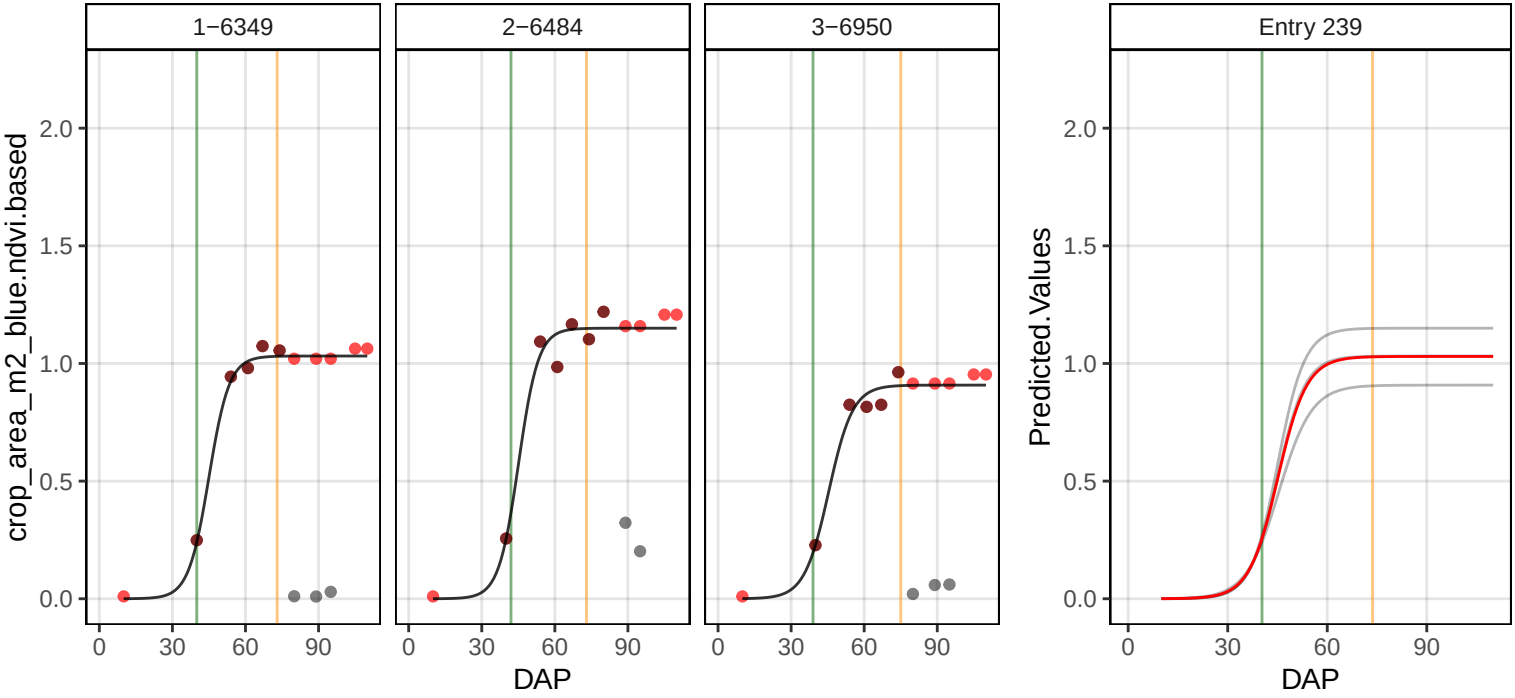

240 | PI 426797 LSP AGL

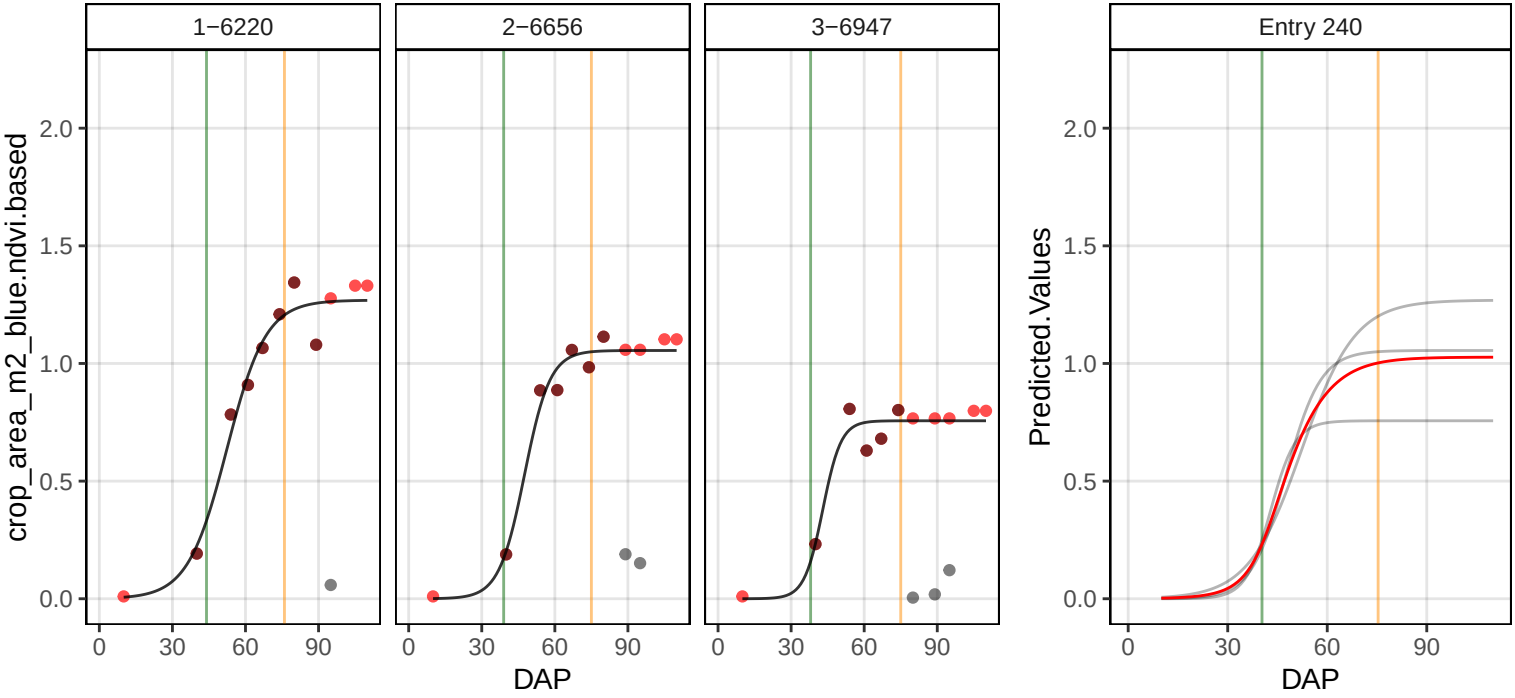

241 | PI 426807 LSP AGL

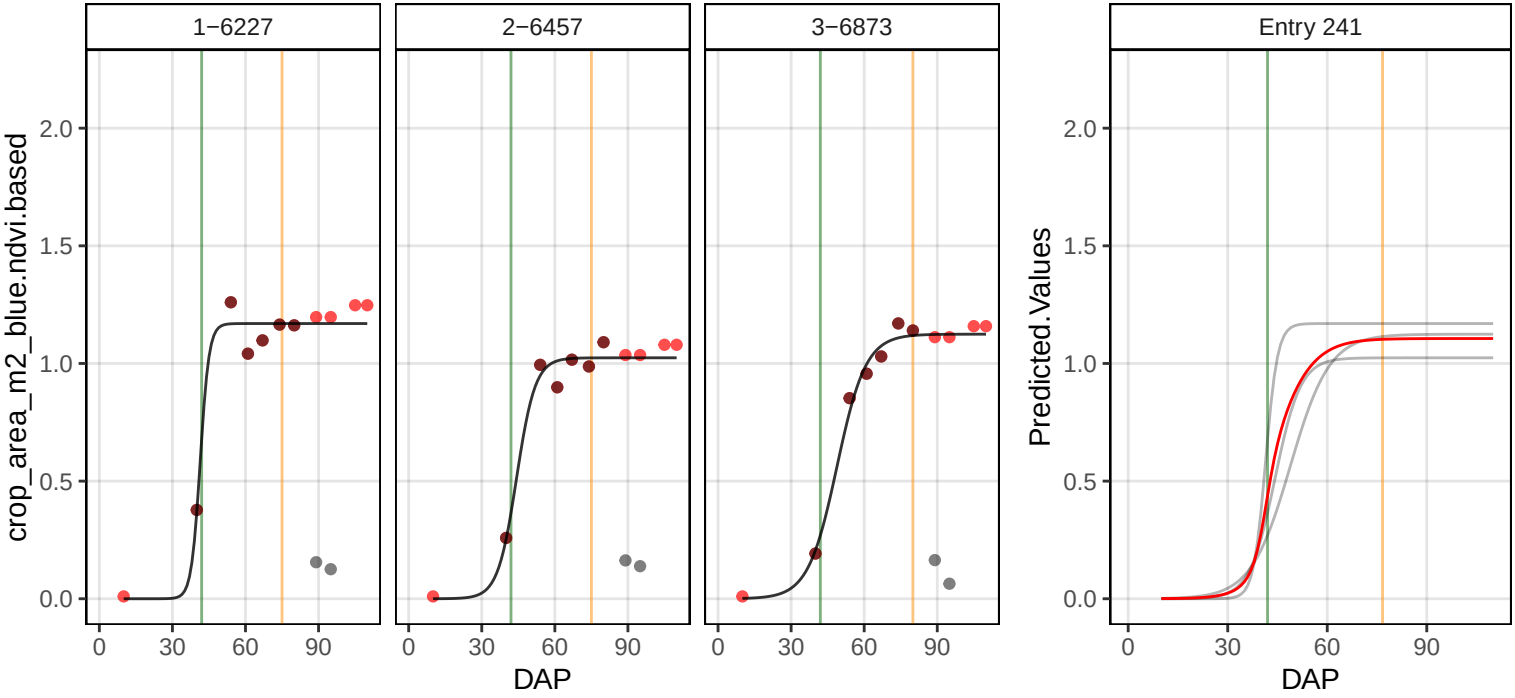

242 | PI 431618 LSP AGL

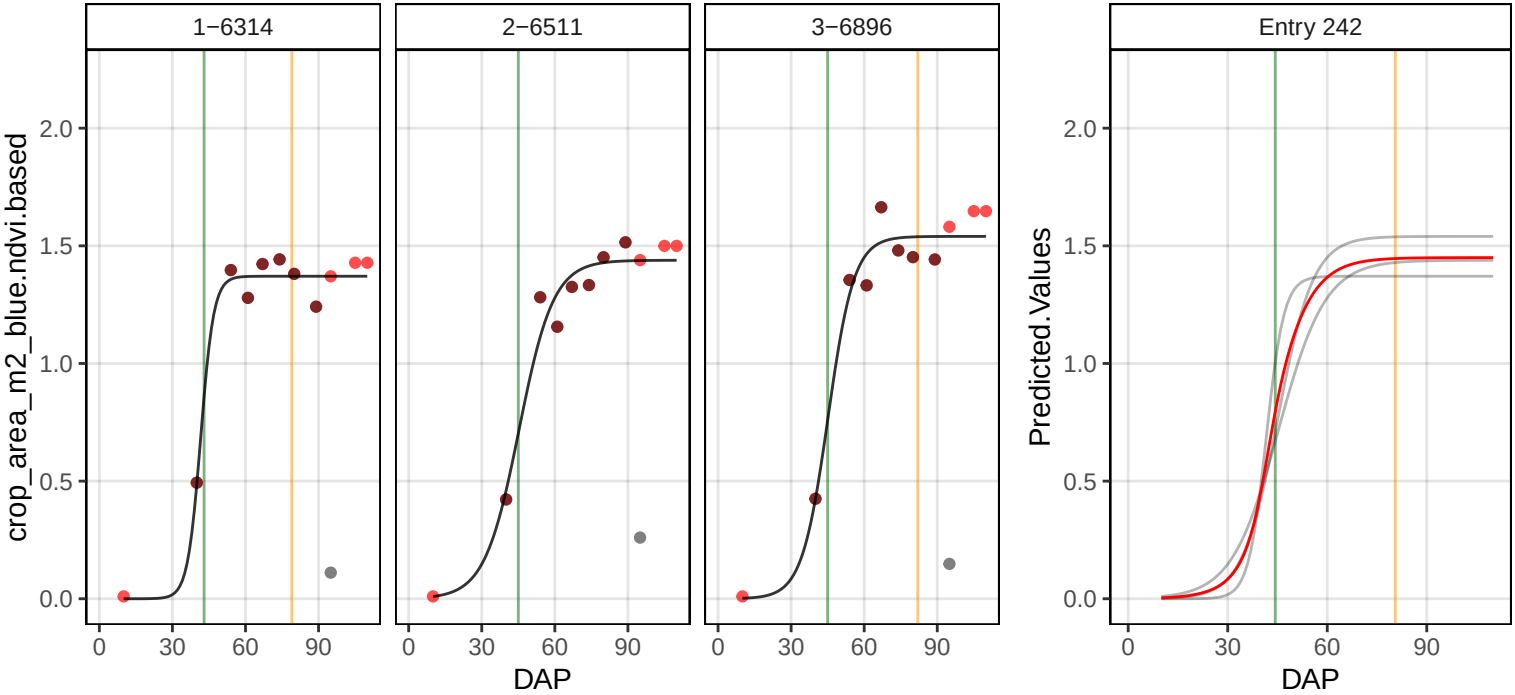

243 | PI 431622 LSP AGL

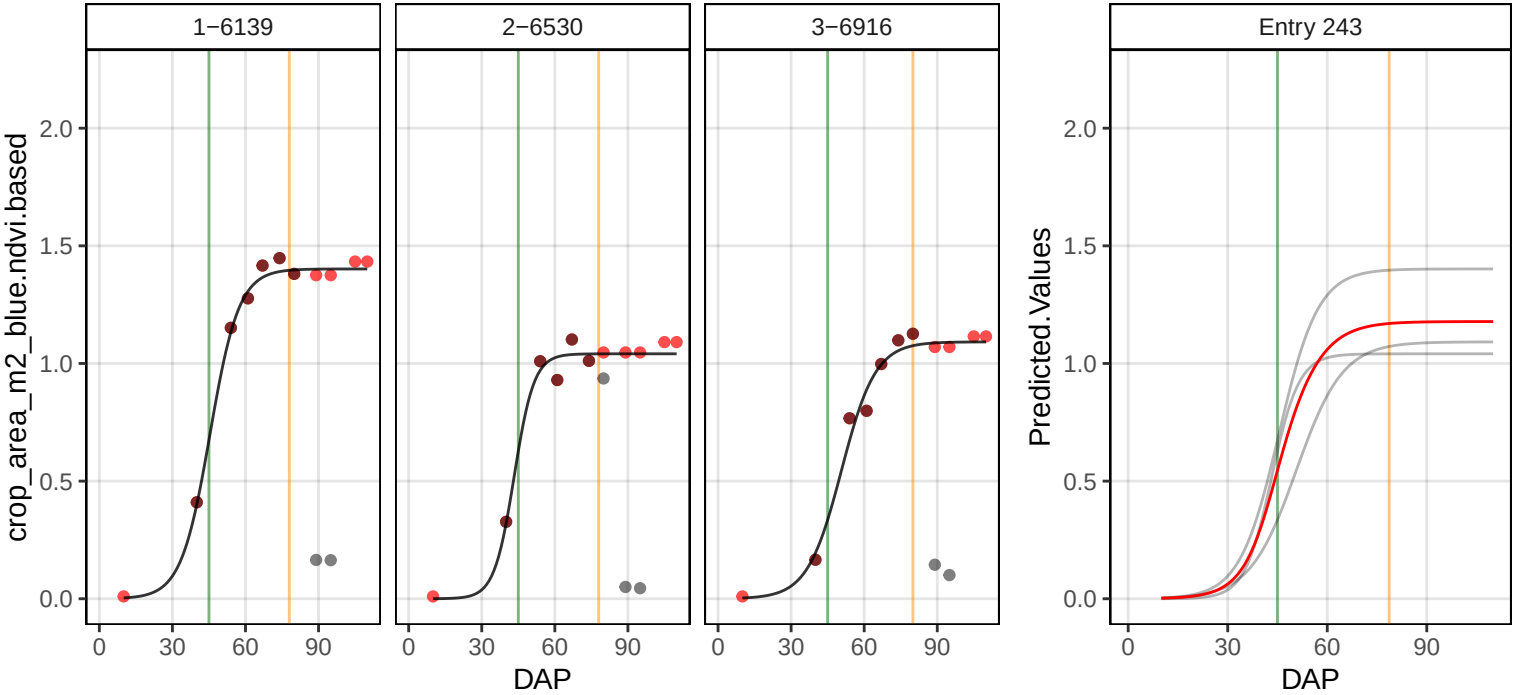

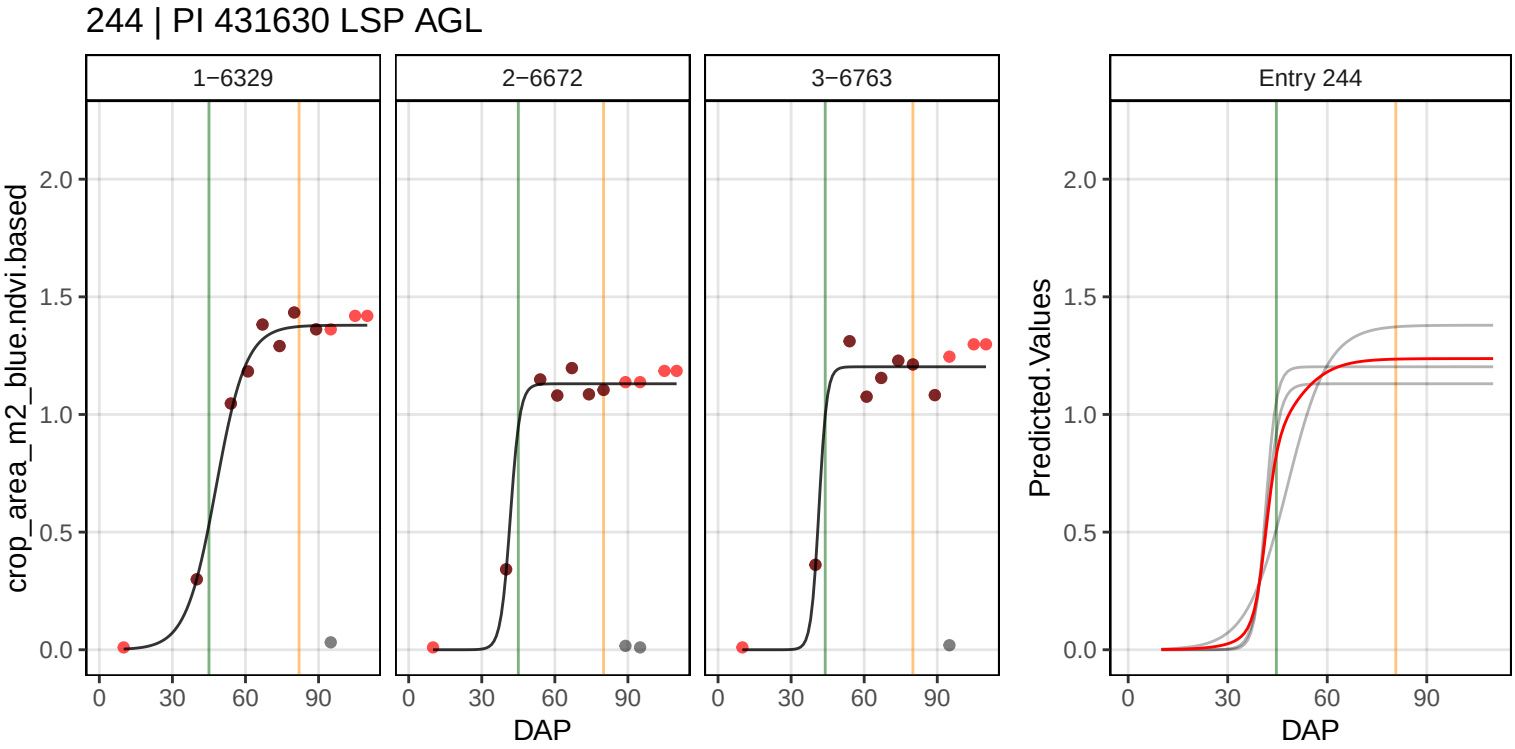
244 | PI 431630 LSP AGL
1−6329
2−6672
3−6763
Entry 244
crop_area_m2_blue.ndvi.based
Predicted.Values
DAP
DAP
0.0
0.5
1.0
1.5
2.0
0
30
60
90

245 | PI 431633 LSP AGL

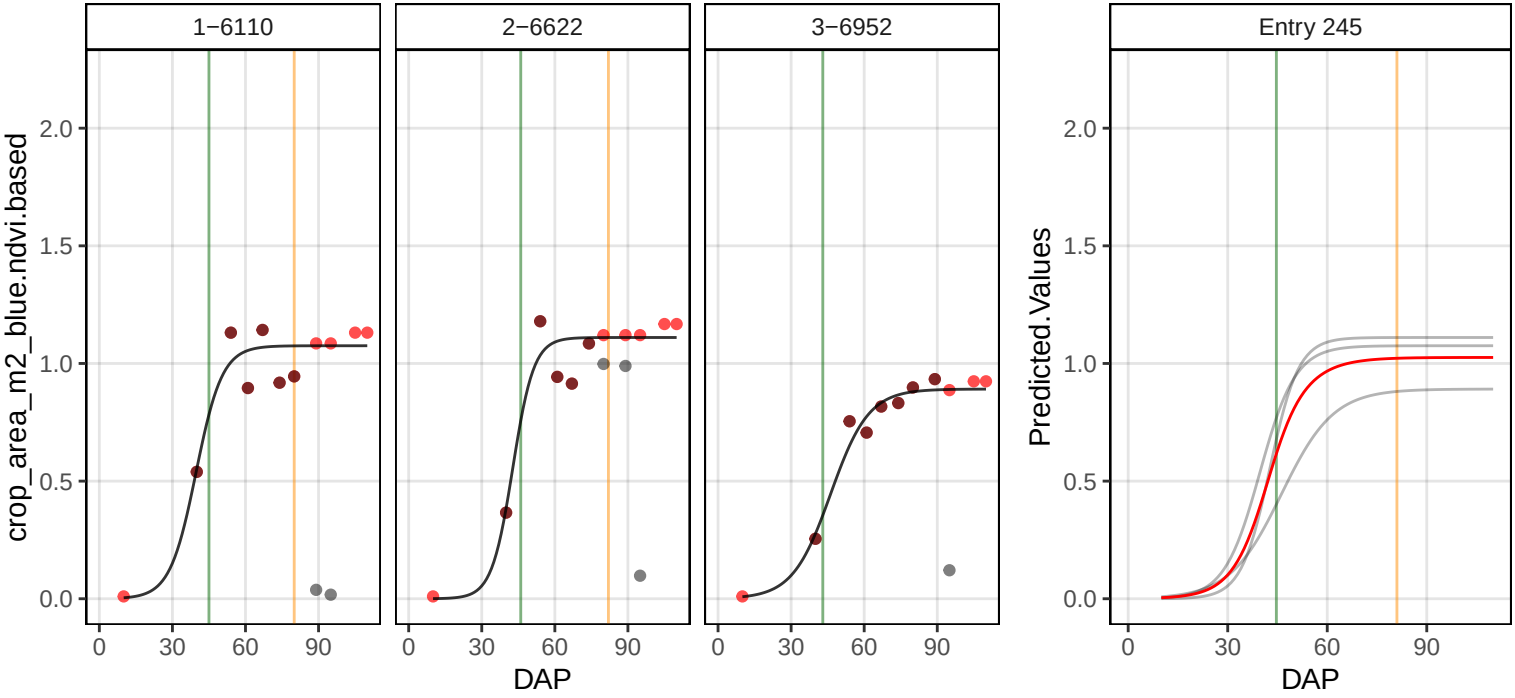

246 | PI 431636 LSP AGL

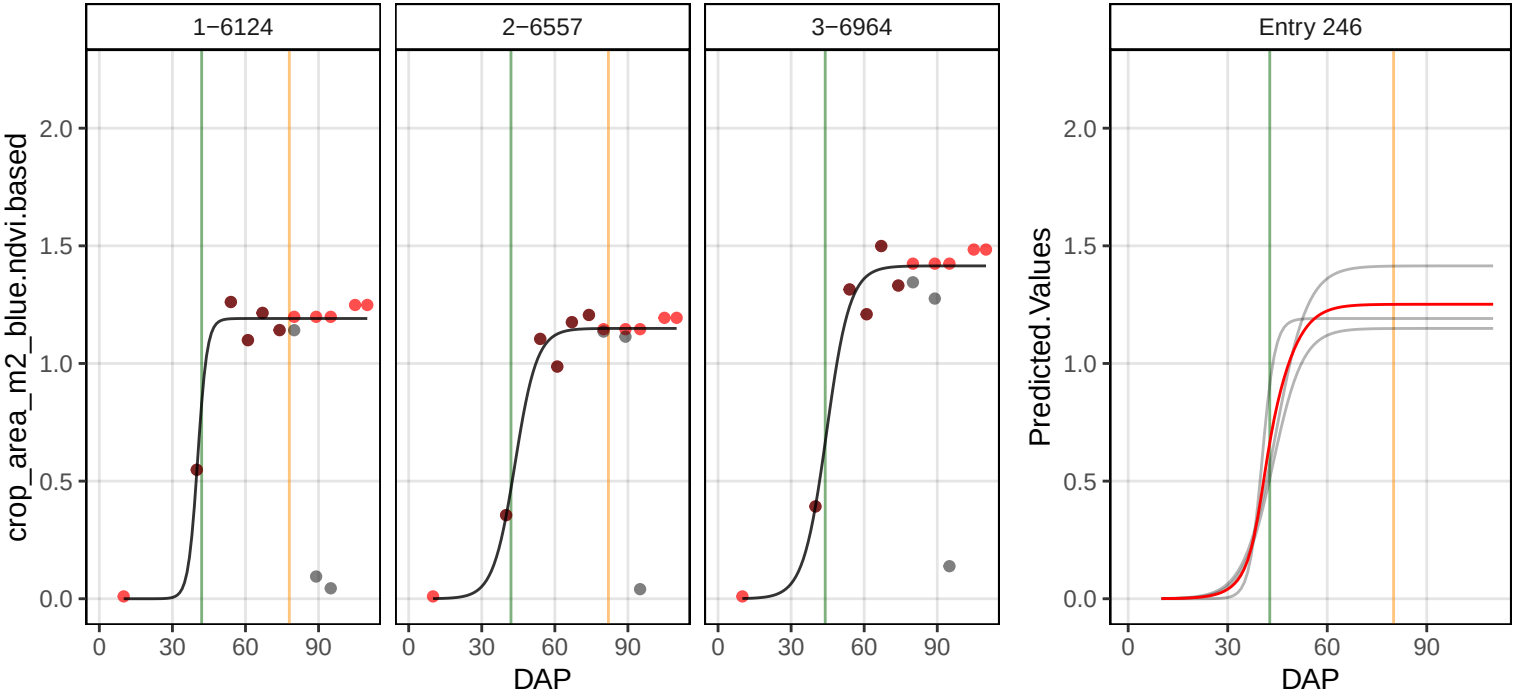

247 | PI 431643 LSP AGL

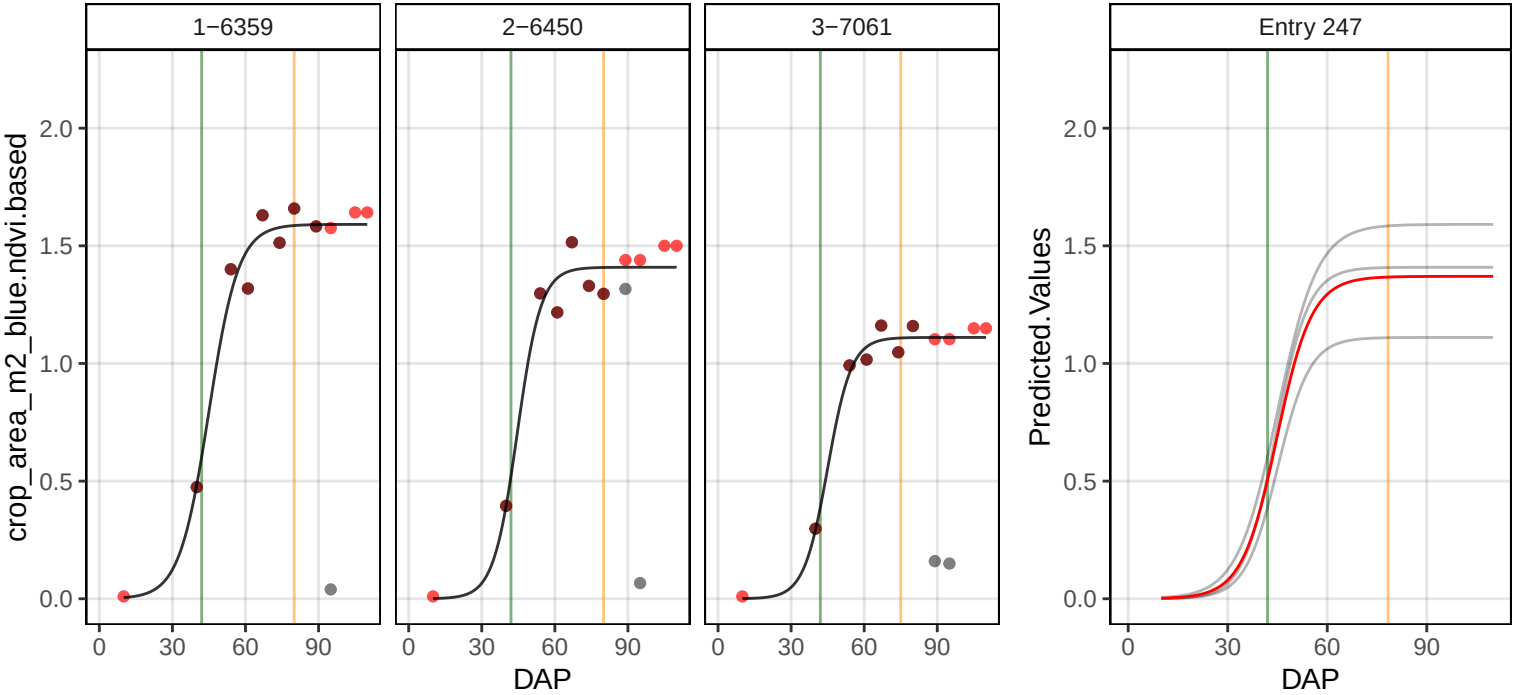

248 | PI 431662 LSP AGL

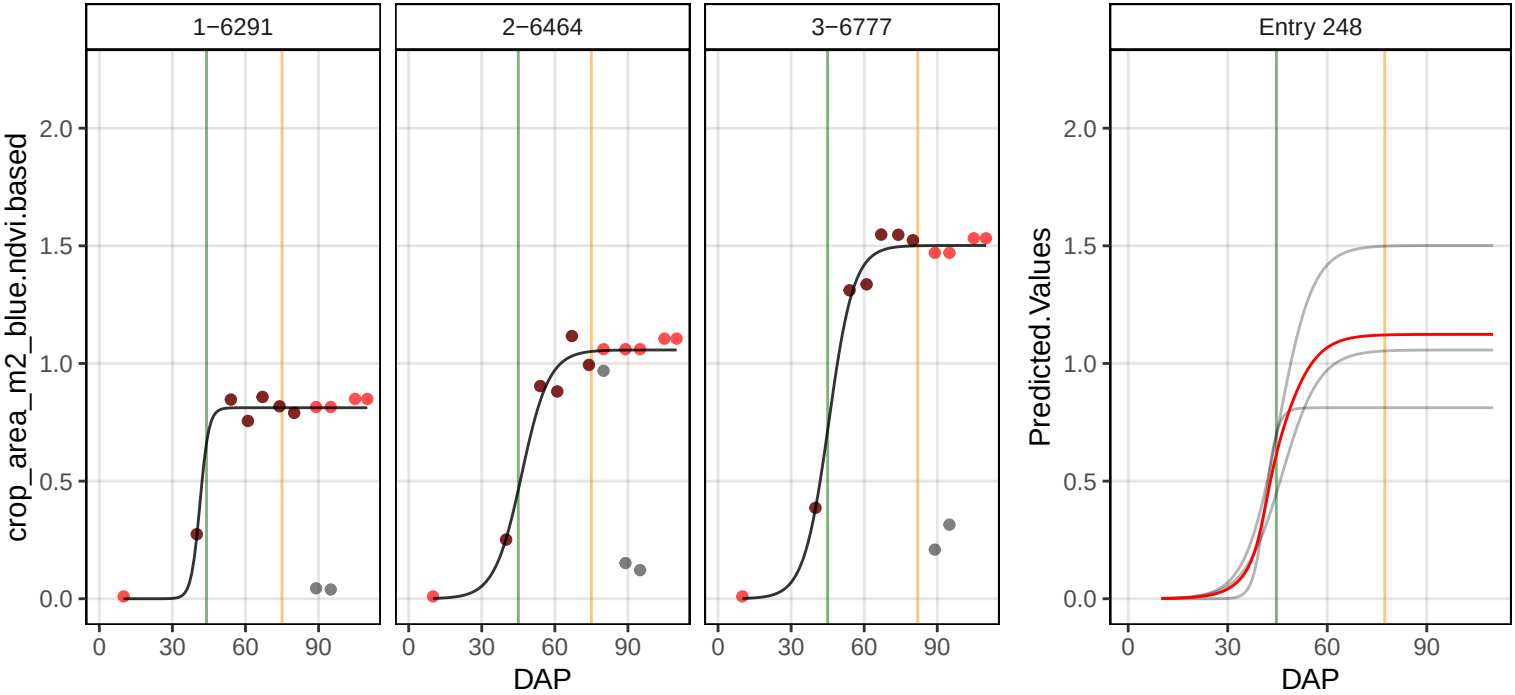

249 | PI 431663 LSP AGL

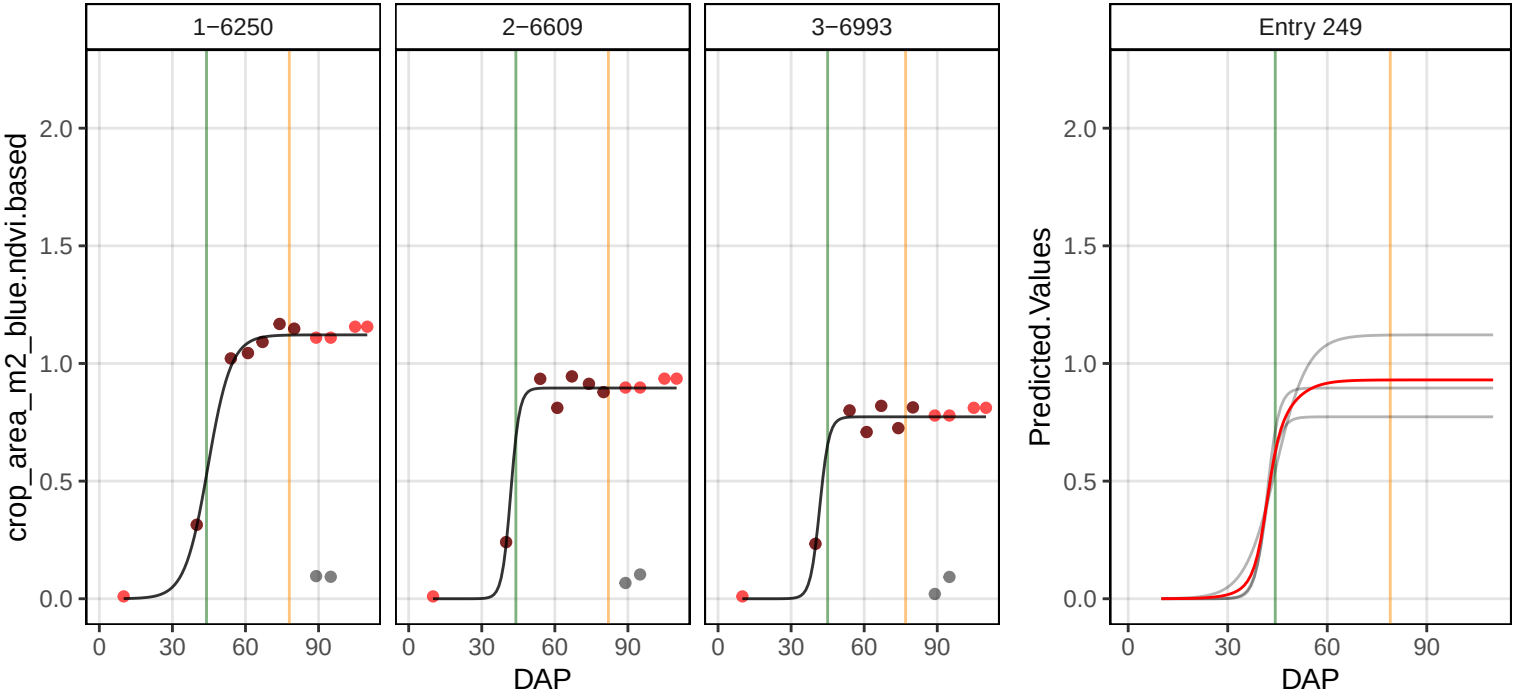

250 | PI 431679 LSP AGL

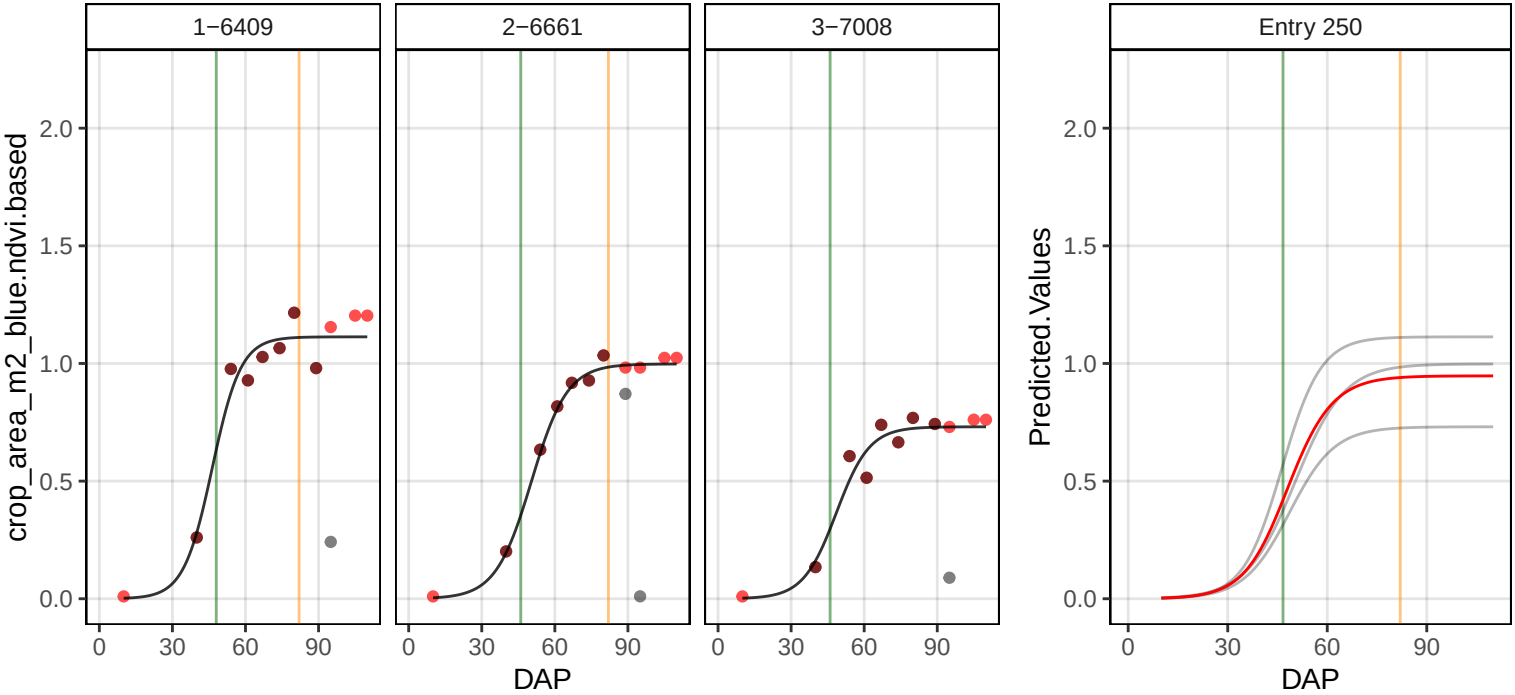

251 | PI 431684 LSP AGL

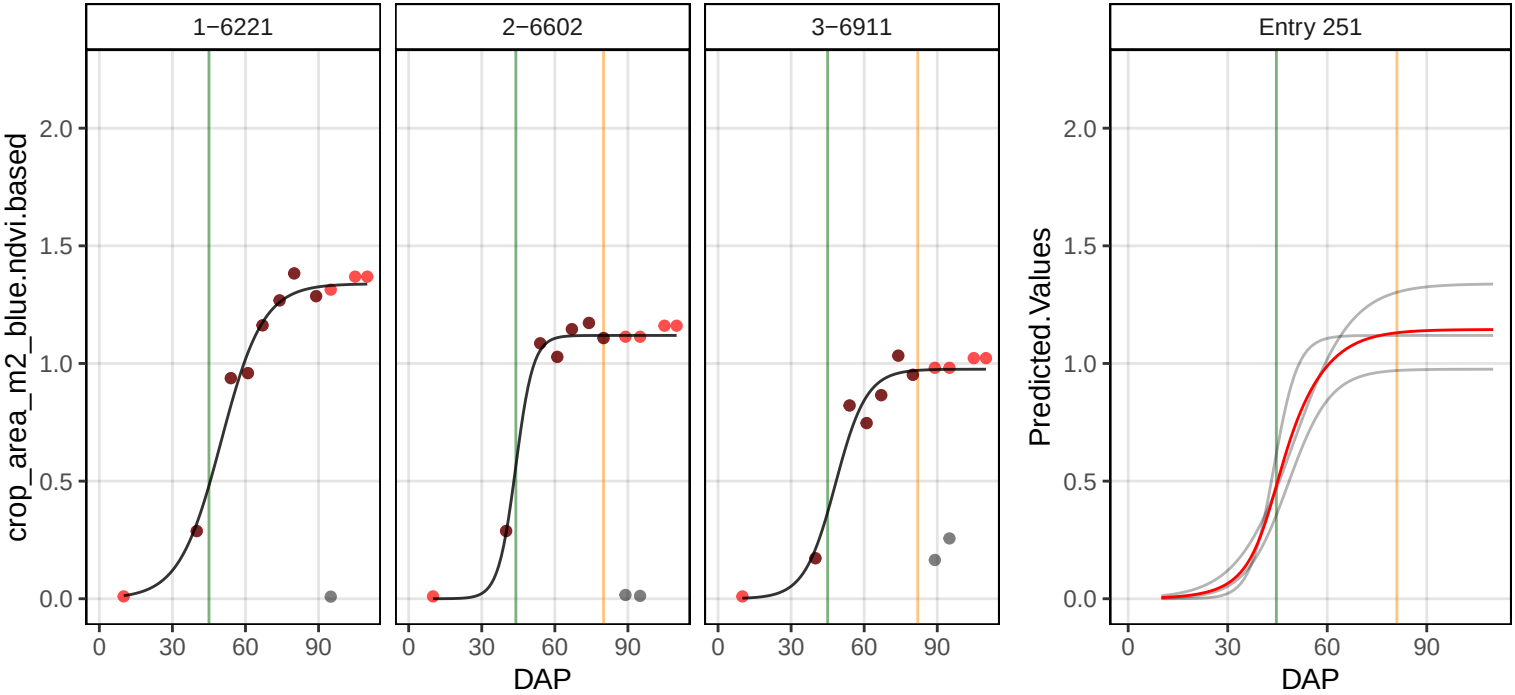

252 | PI 431705 LSP AGL

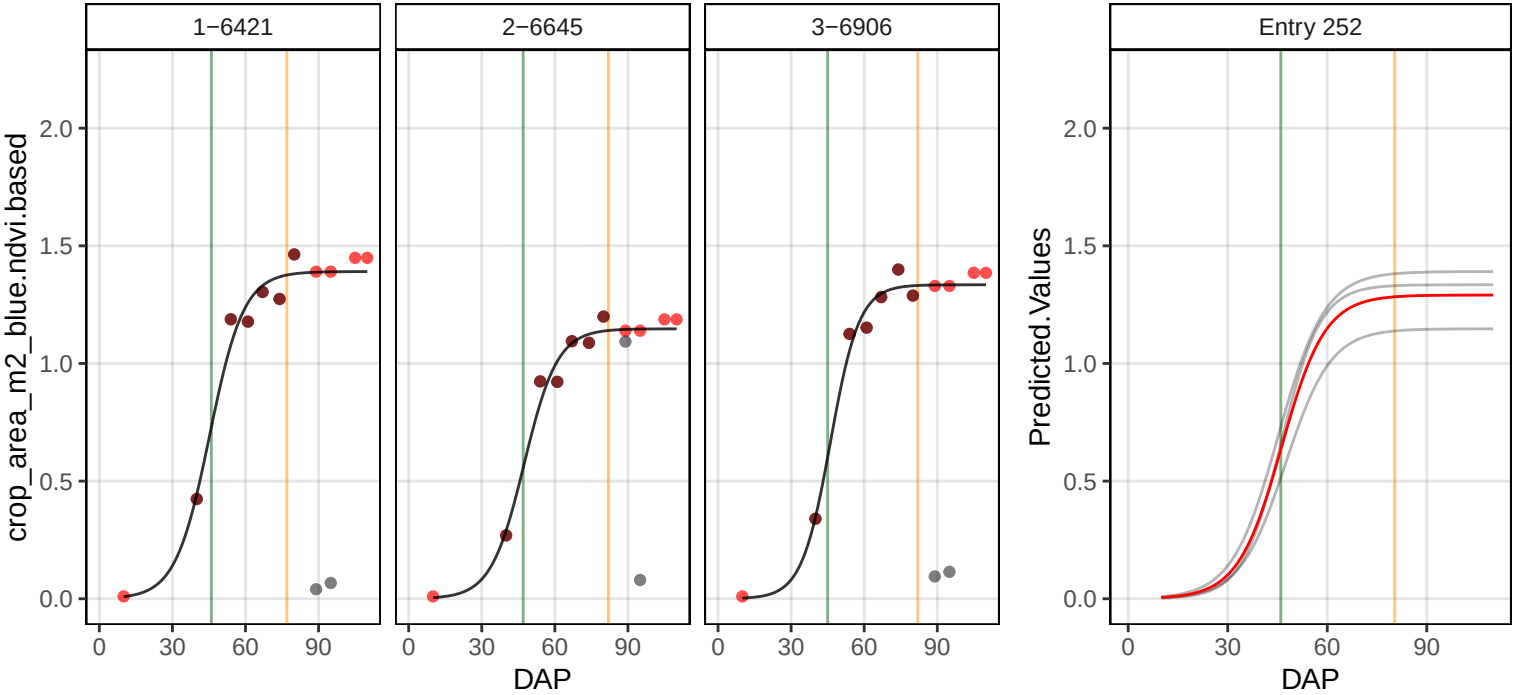

253 | PI 431710 LSP AGL

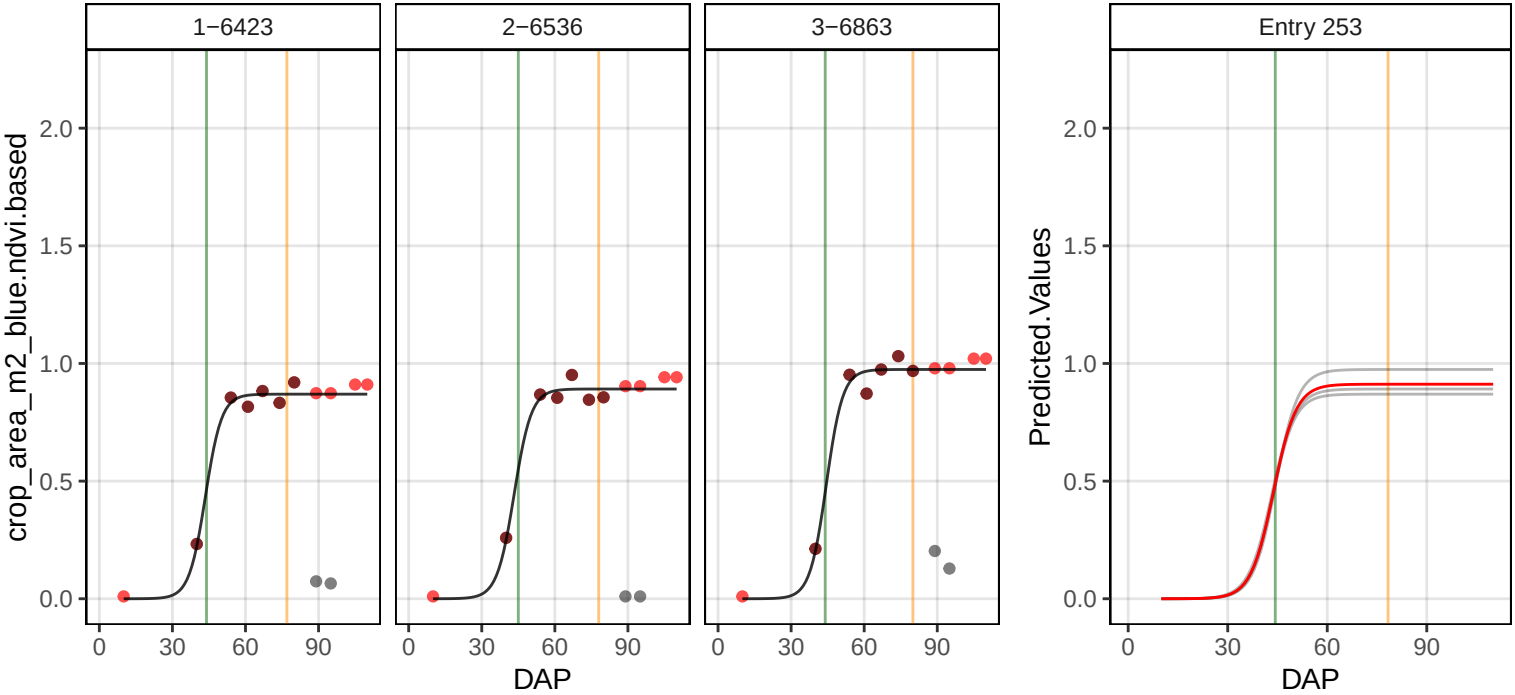

254 | PI 431714 LSP AGL

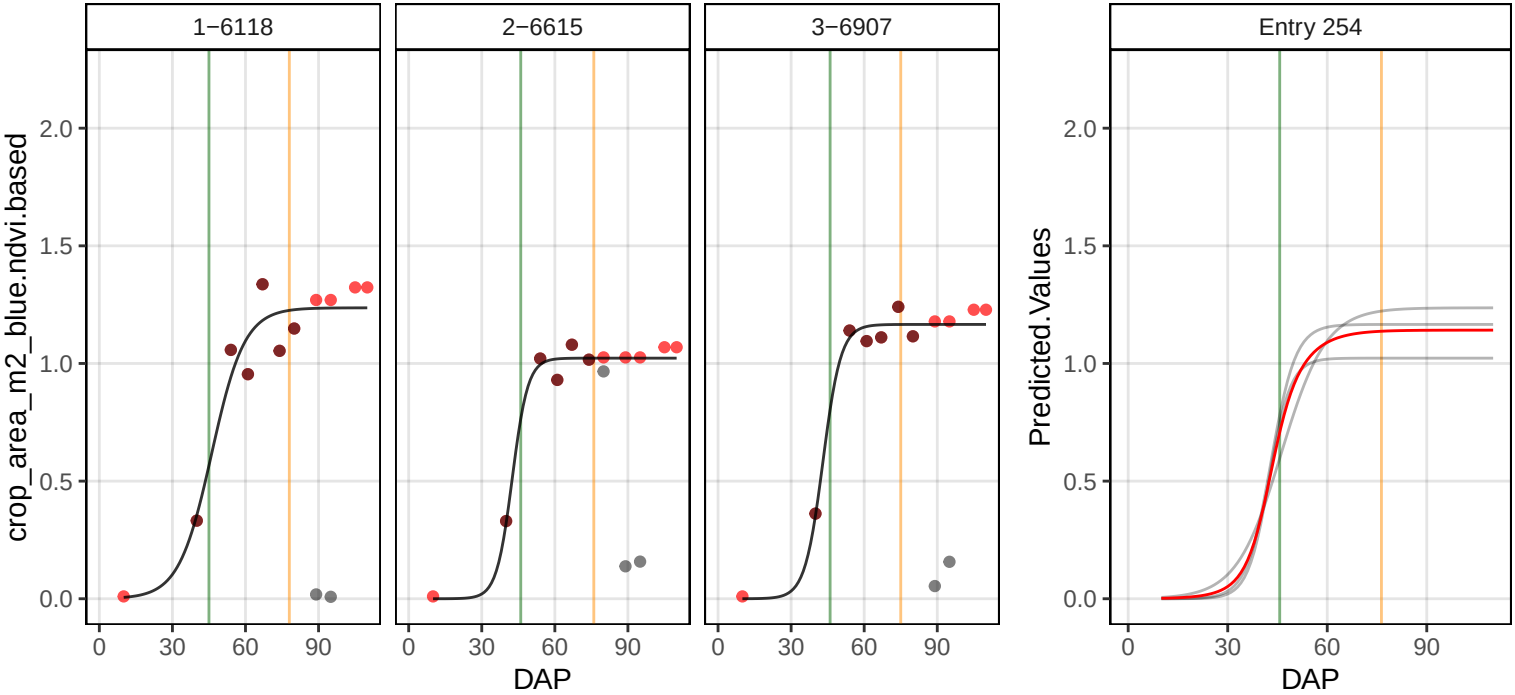

255 | PI 431717 LSP AGL

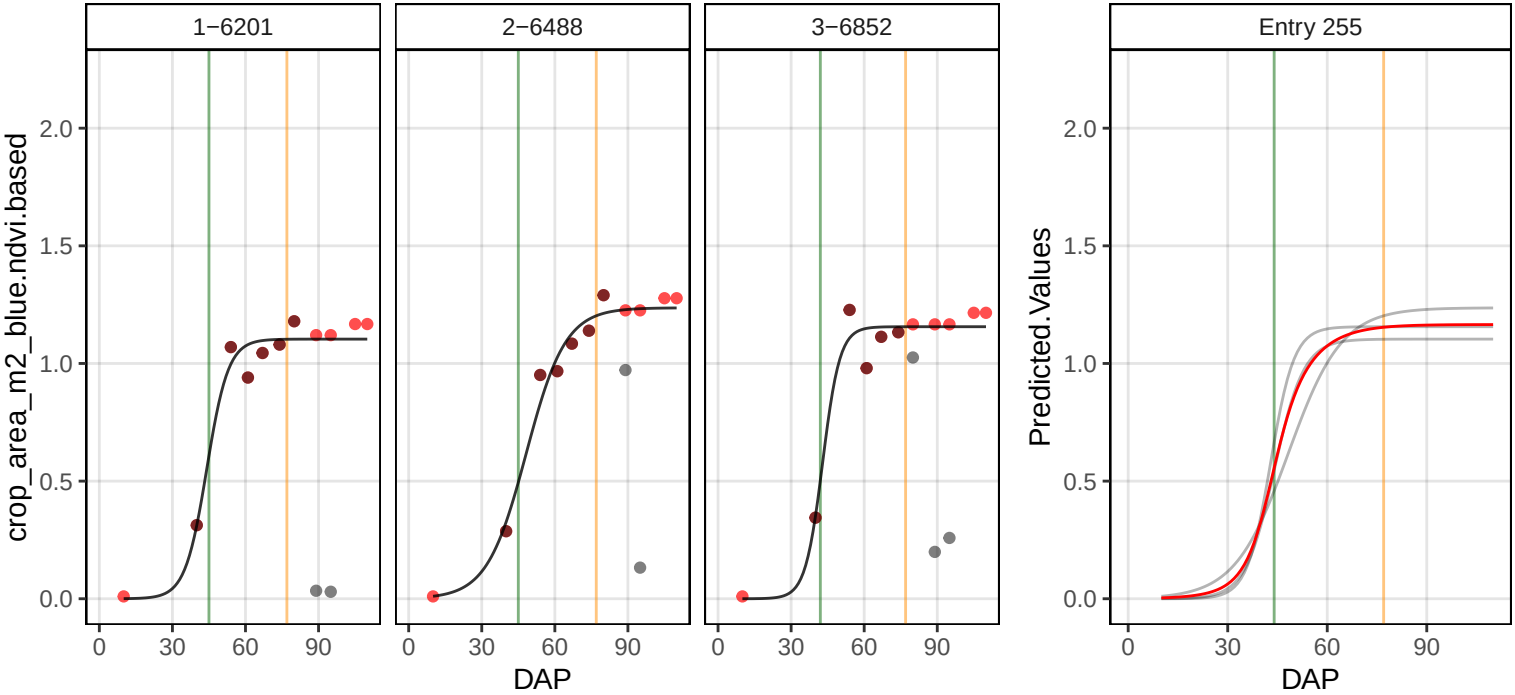

256 | PI 431728 LSP AGL

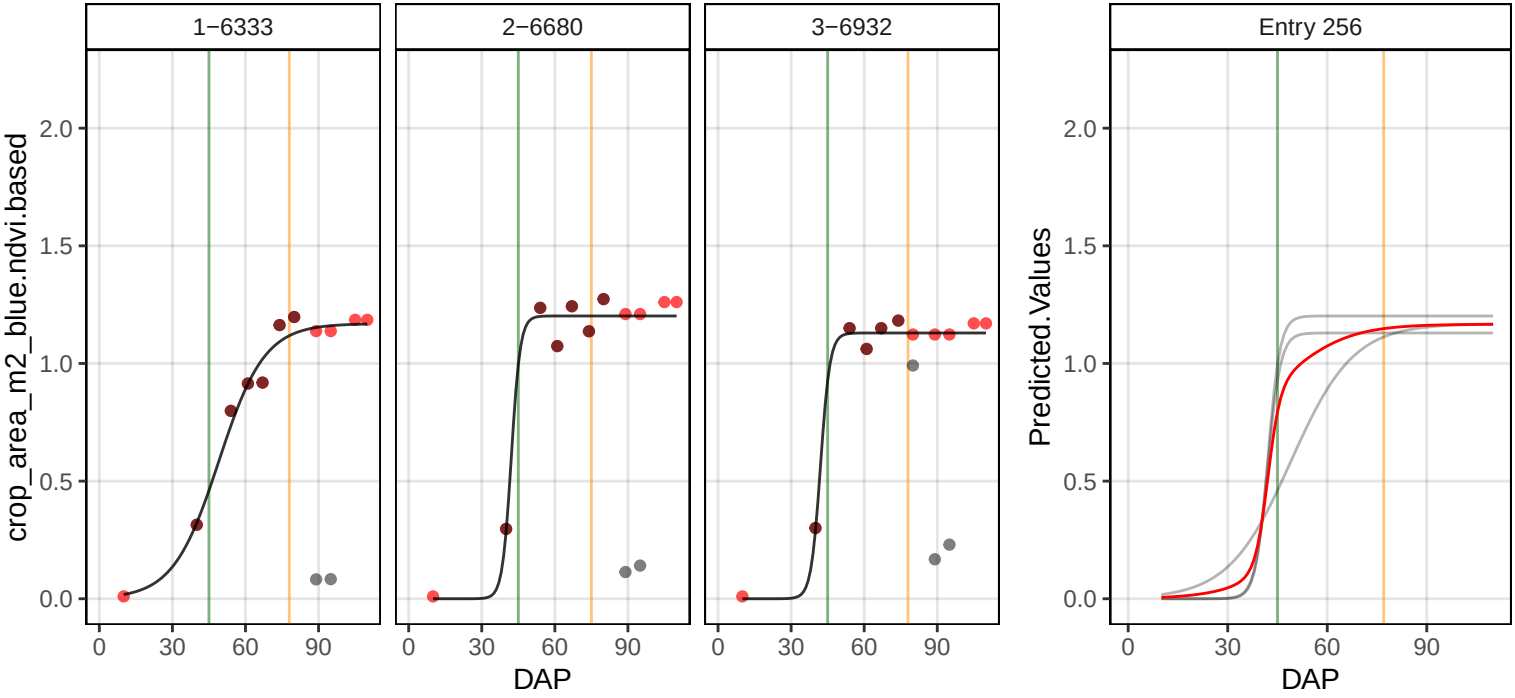

257 | PI 431731 LSP AGL

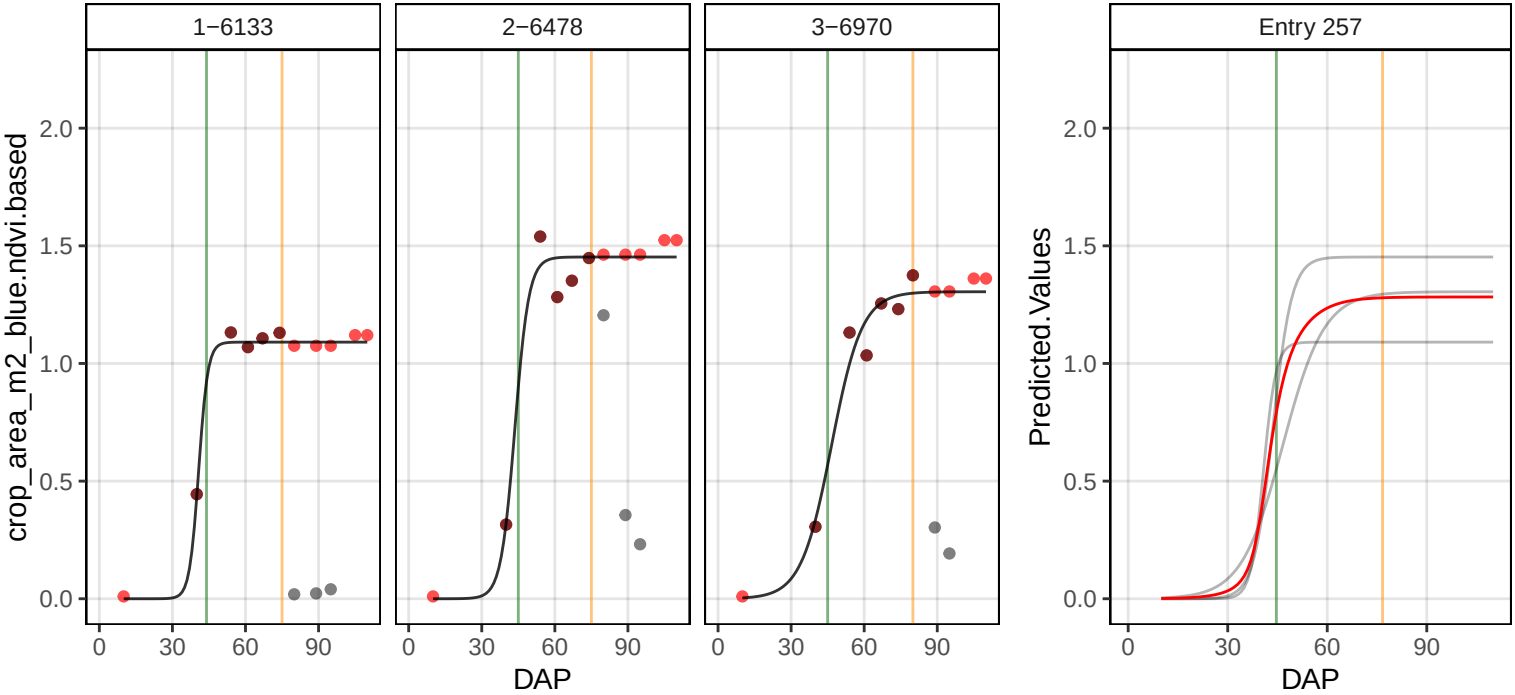

258 | PI 431739 LSP AGL

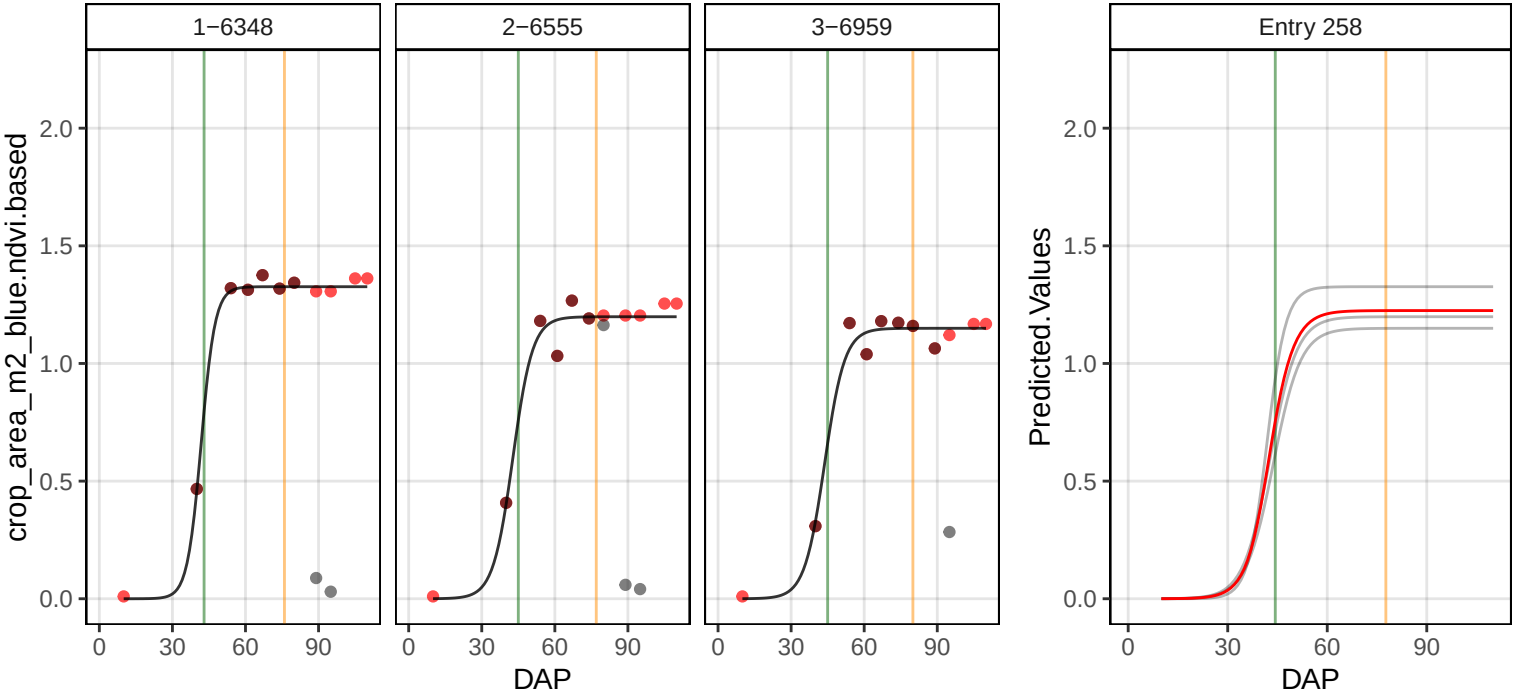

259 | PI 431753 LSP AGL

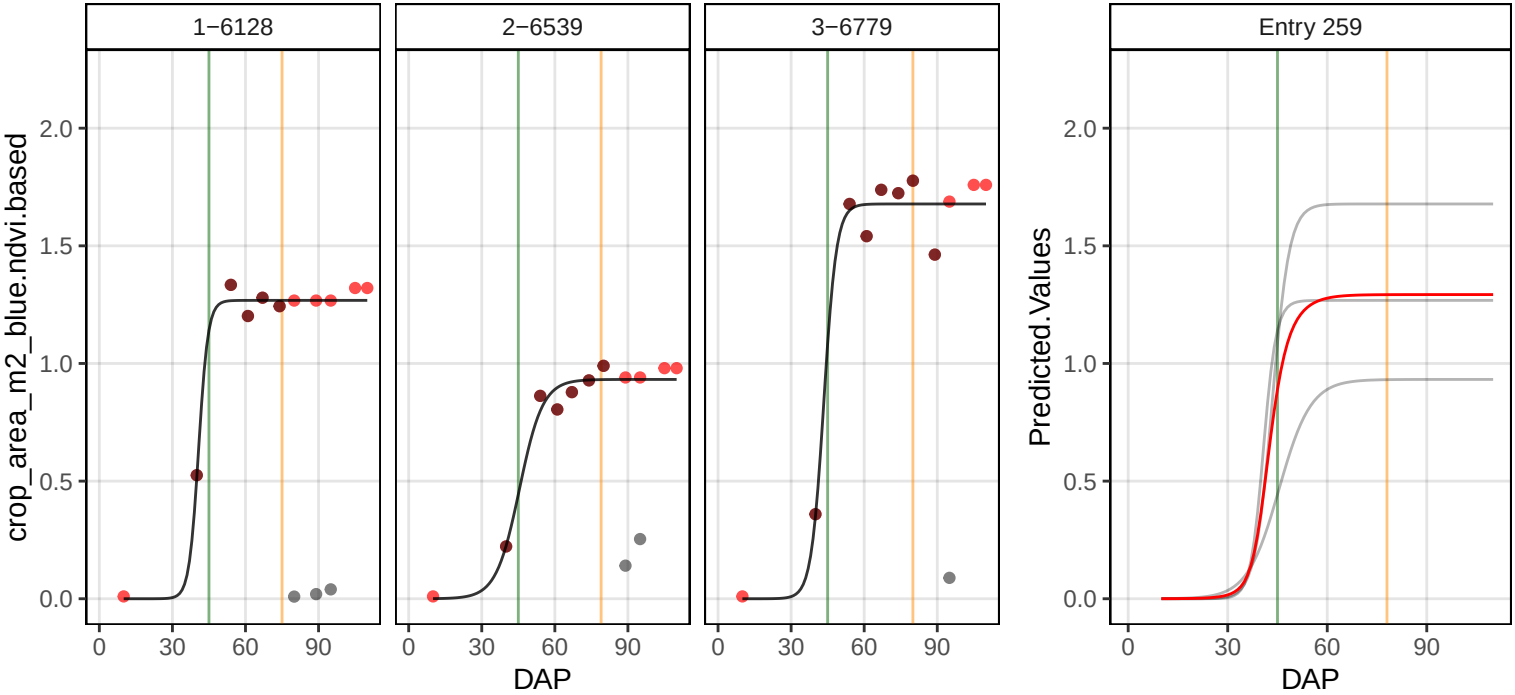

260 | PI 431756 LSP AGL

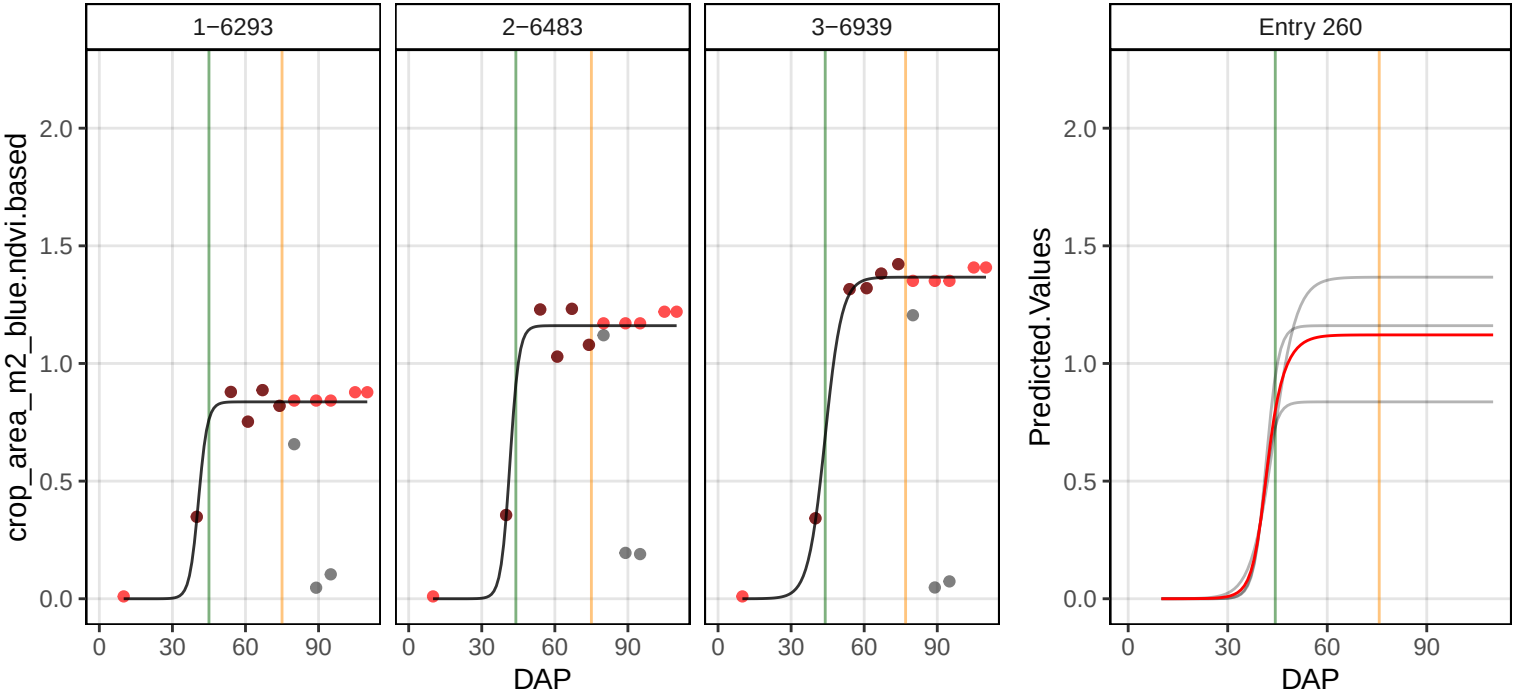

261 | PI 431809 LSP AGL

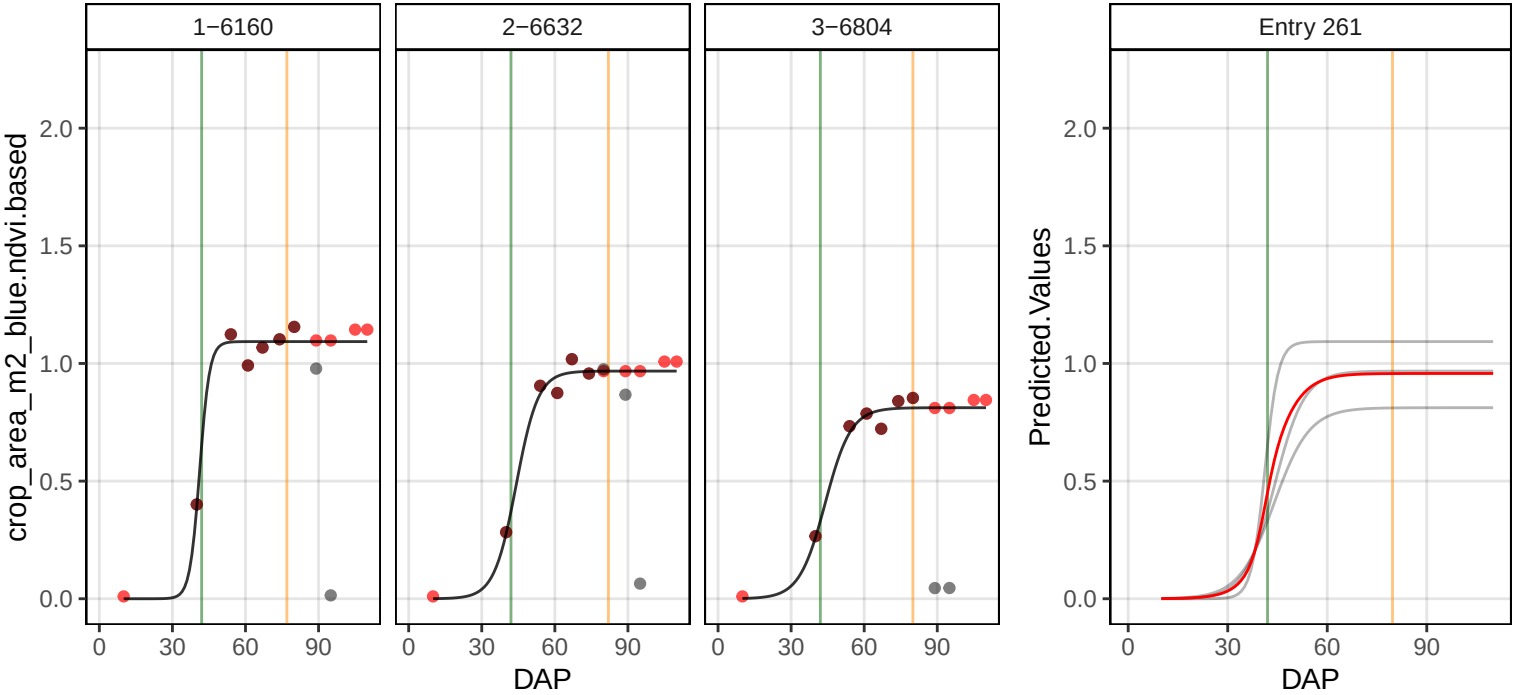

262 | PI 431824 LSP AGL

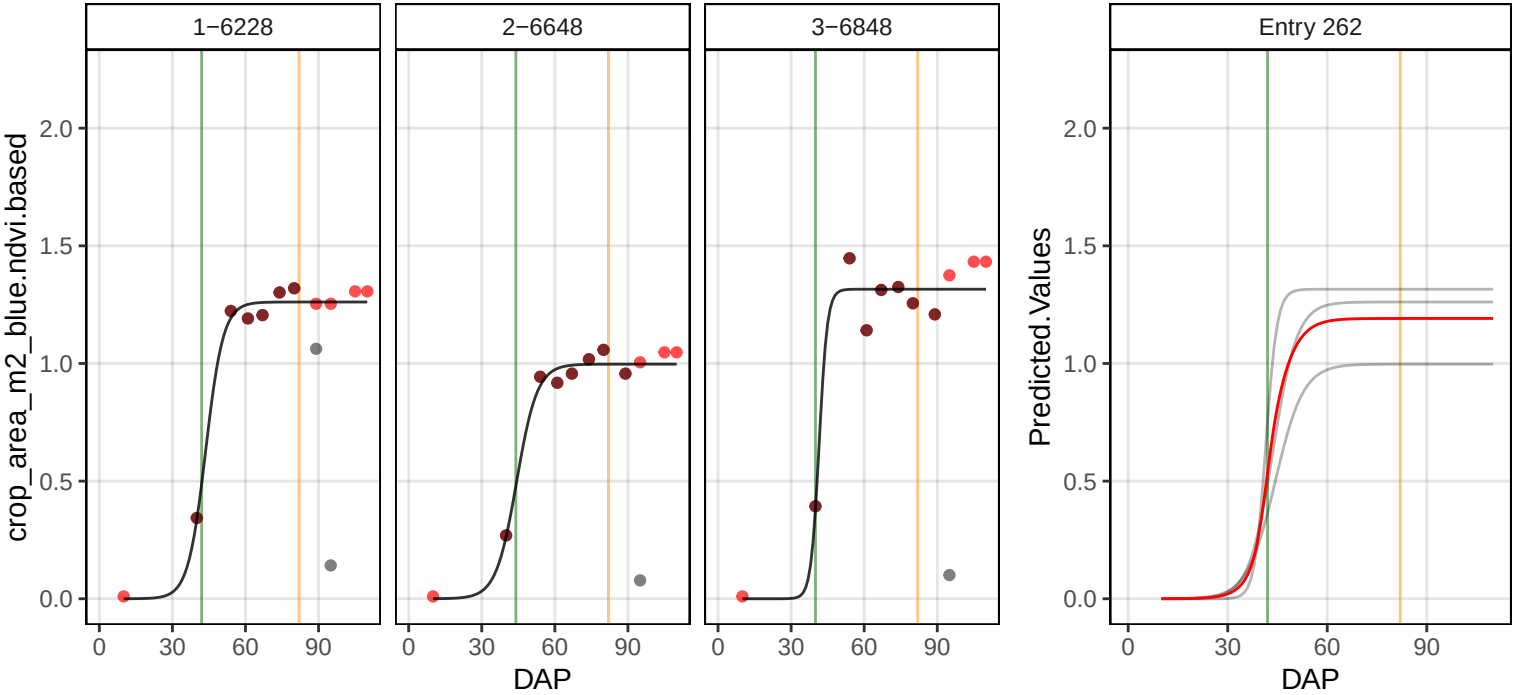

263 | PI 431863 LSP AGL

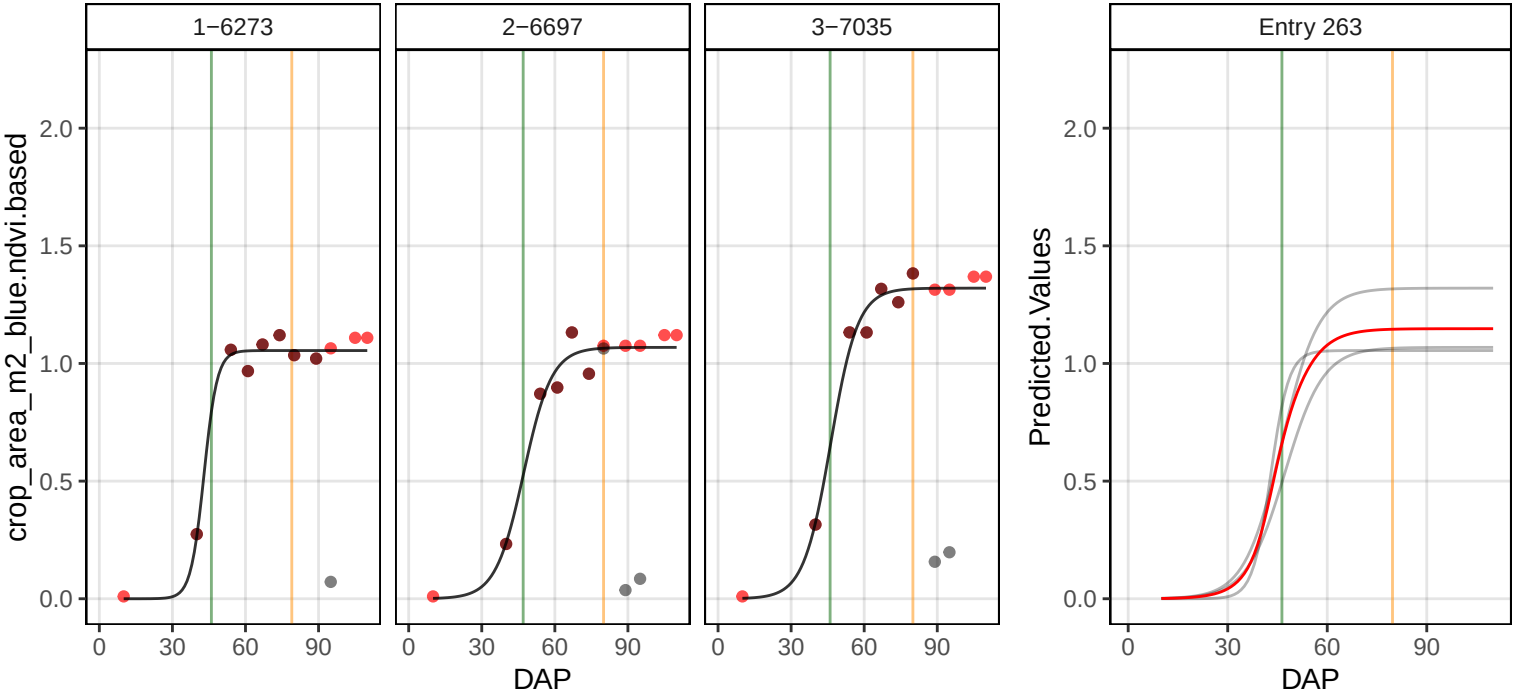

264 | PI 431873 LSP AGL

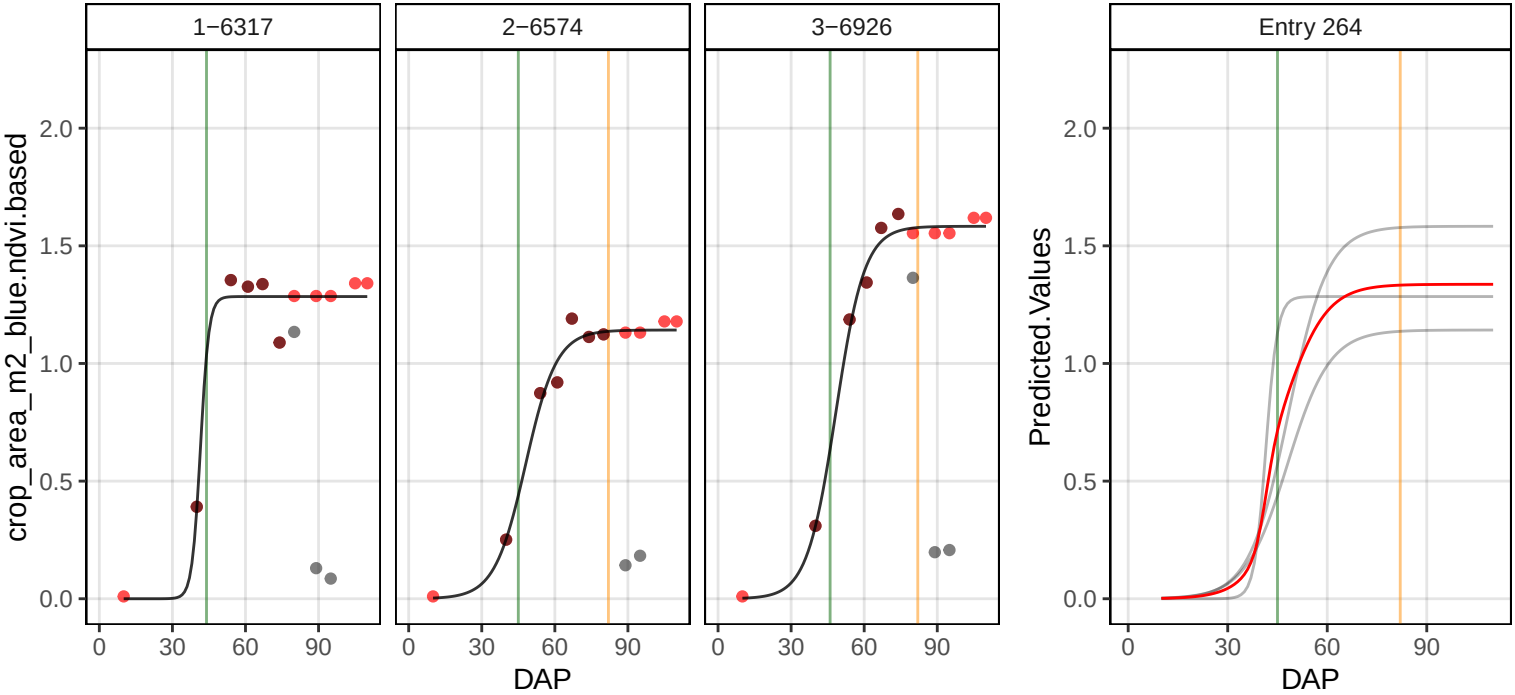

265 | PI 431884 LSP AGL

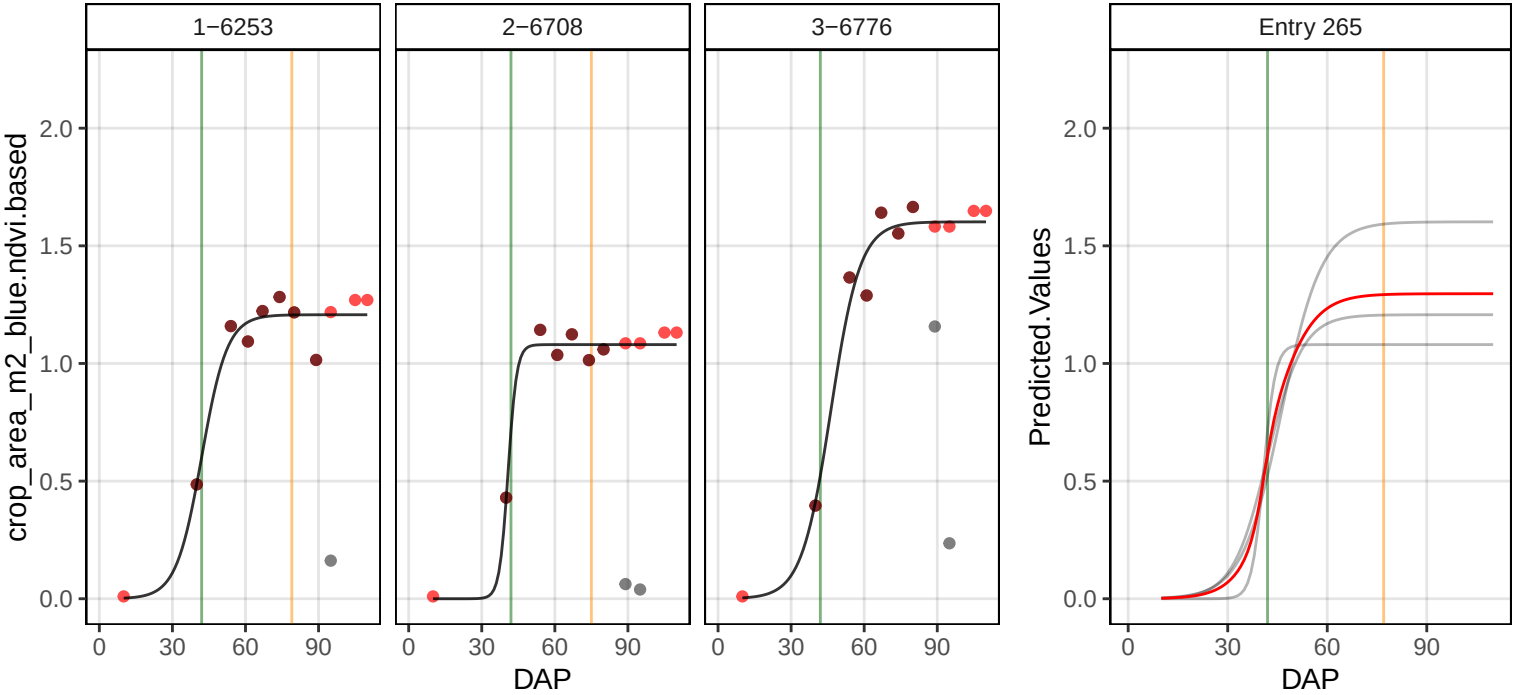

266 | PI 431888 LSP AGL

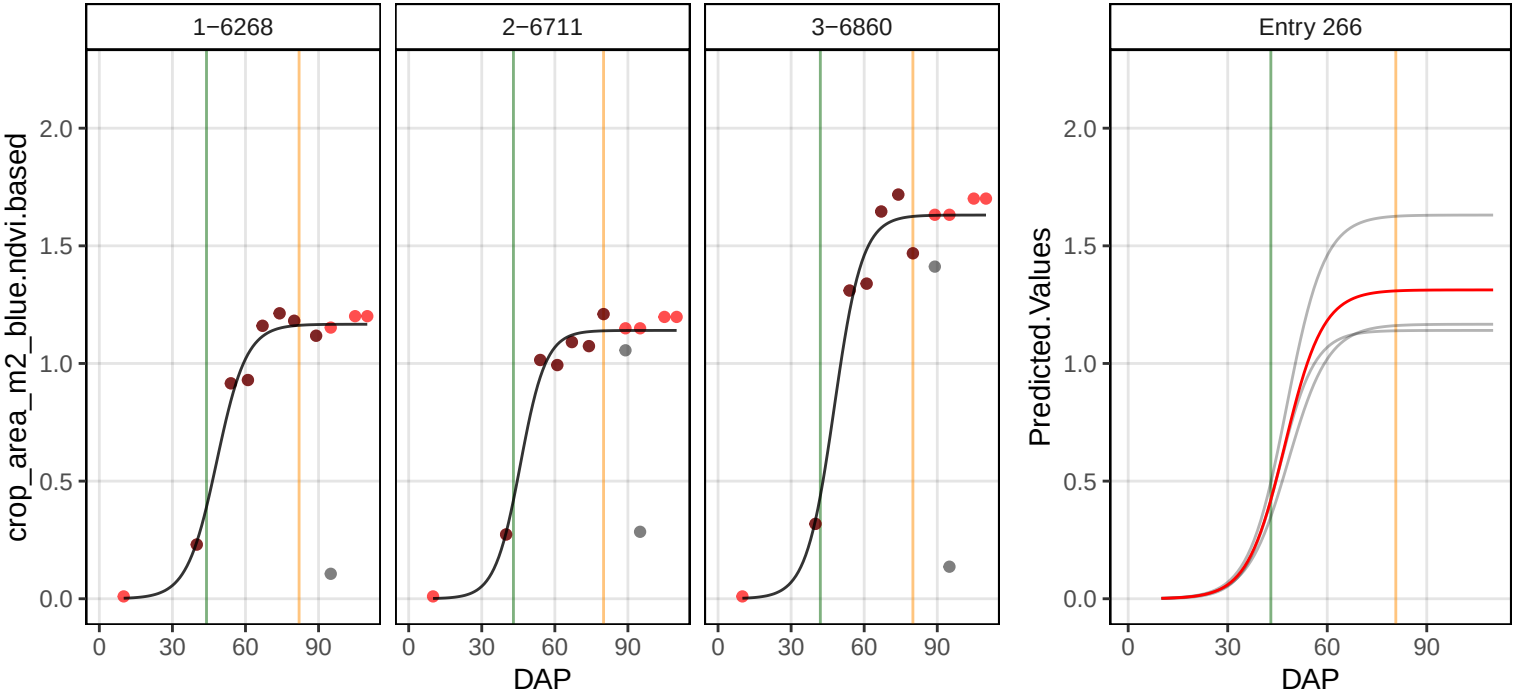

267 | PI 431923 LSP AGL

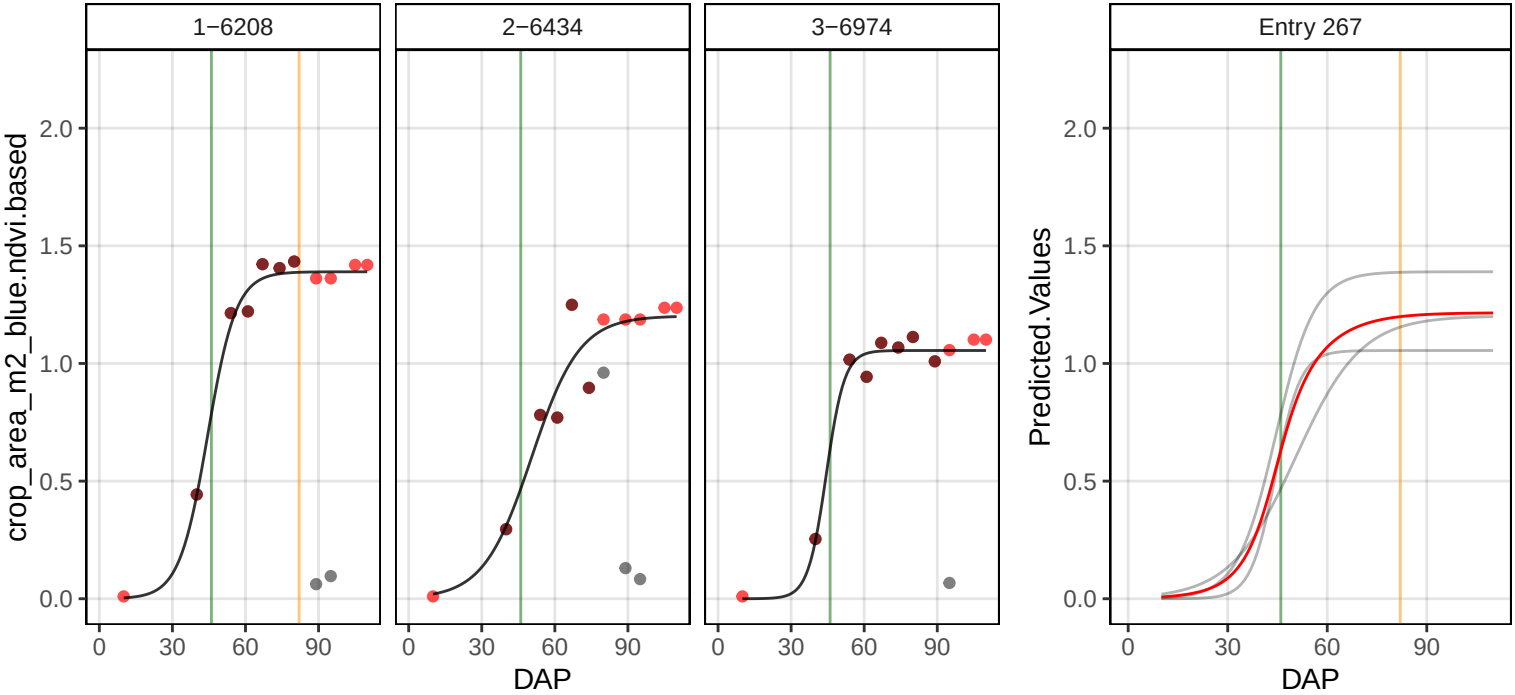

268 | PI 431980 LSP AGL

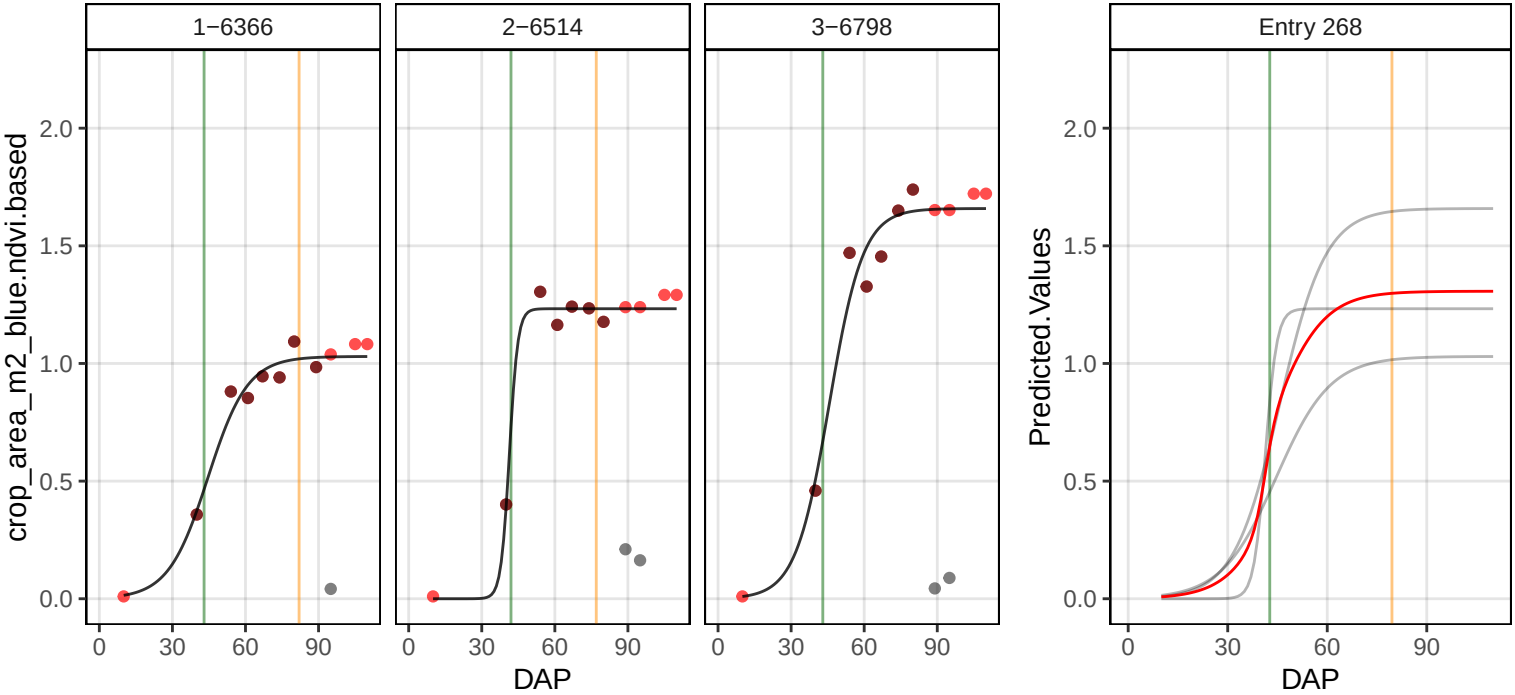

269 | PI 432000 LSP AGL

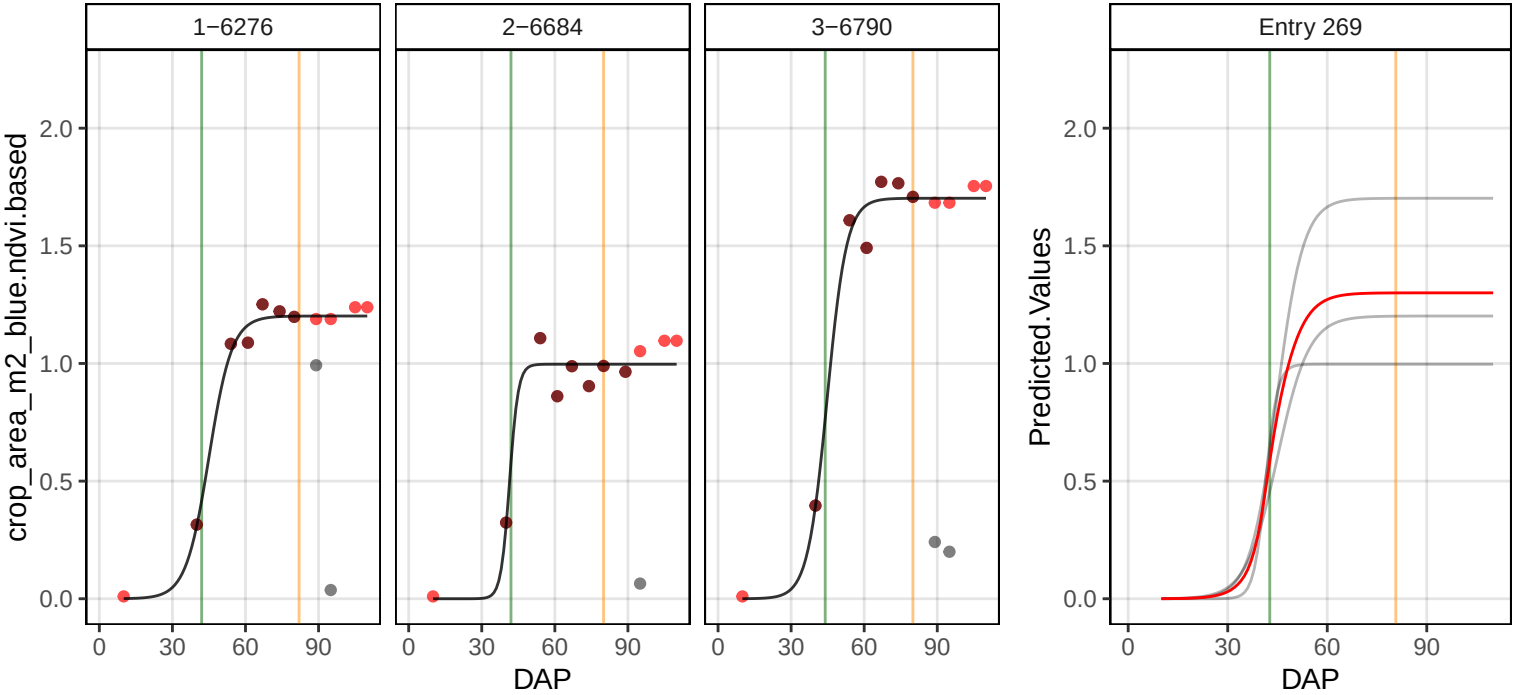

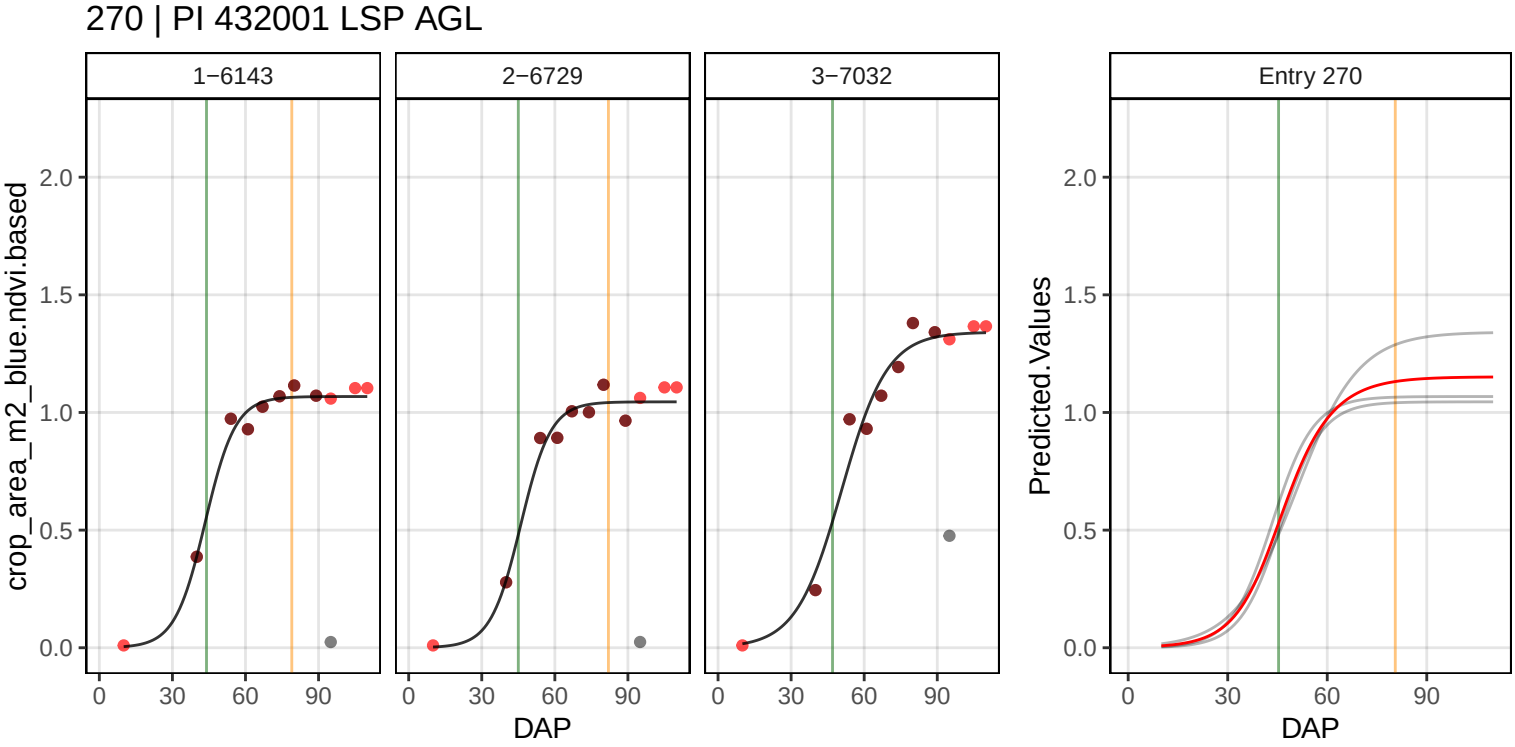
270 | PI 432001 LSP AGL
1−6143
2−6729
3−7032
Entry 270
crop_area_m2_blue.ndvi.based
Predicted.Values
DAP
DAP
0.0
0.5
1.0
1.5
2.0
0
30
60
90

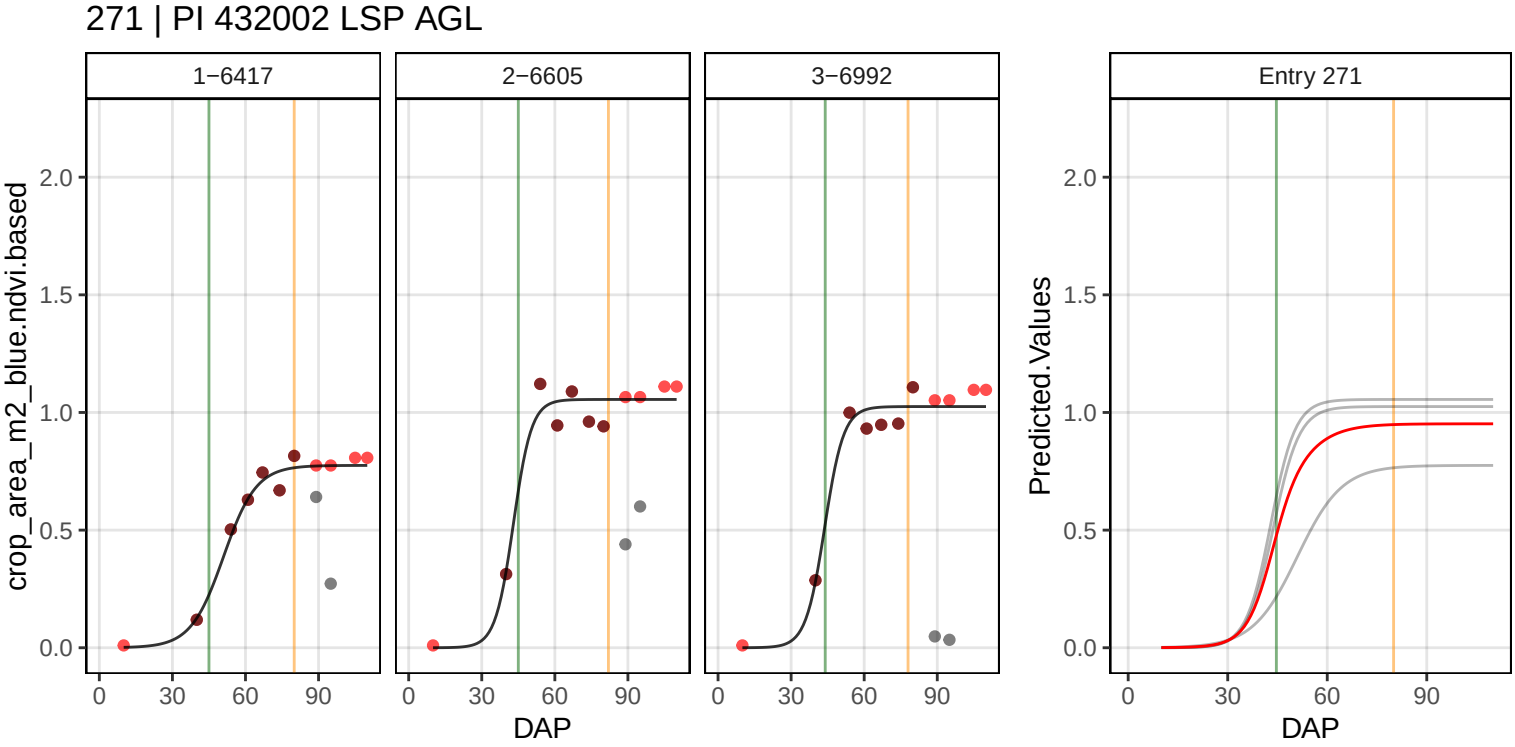
271 | PI 432002 LSP AGL
1−6417
2−6605
3−6992
Entry 271
crop_area_m2_blue.ndvi.based
Predicted.Values
DAP
DAP
0.0
0.5
1.0
1.5
2.0
0
30
60
90

272 | PI 432005 LSP AGL

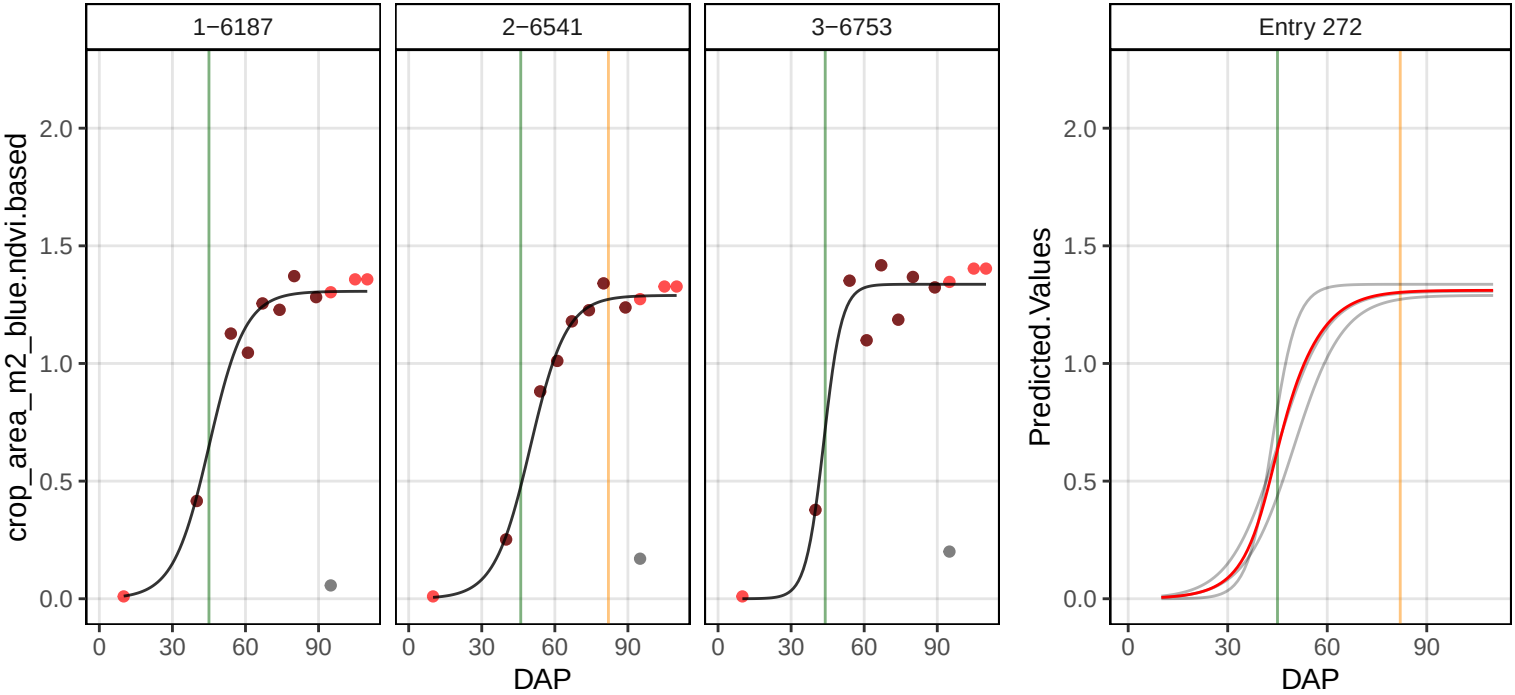

273 | PI 432028 LSP AGL

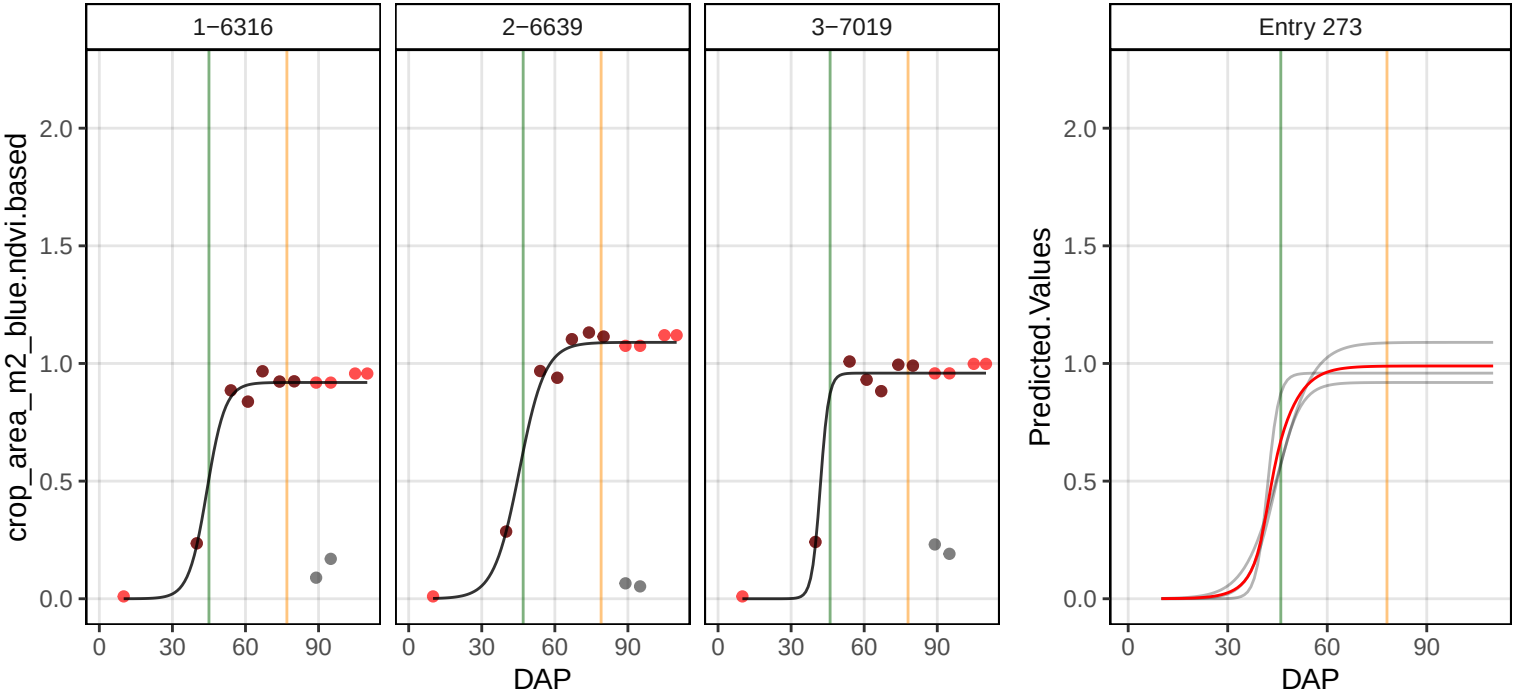

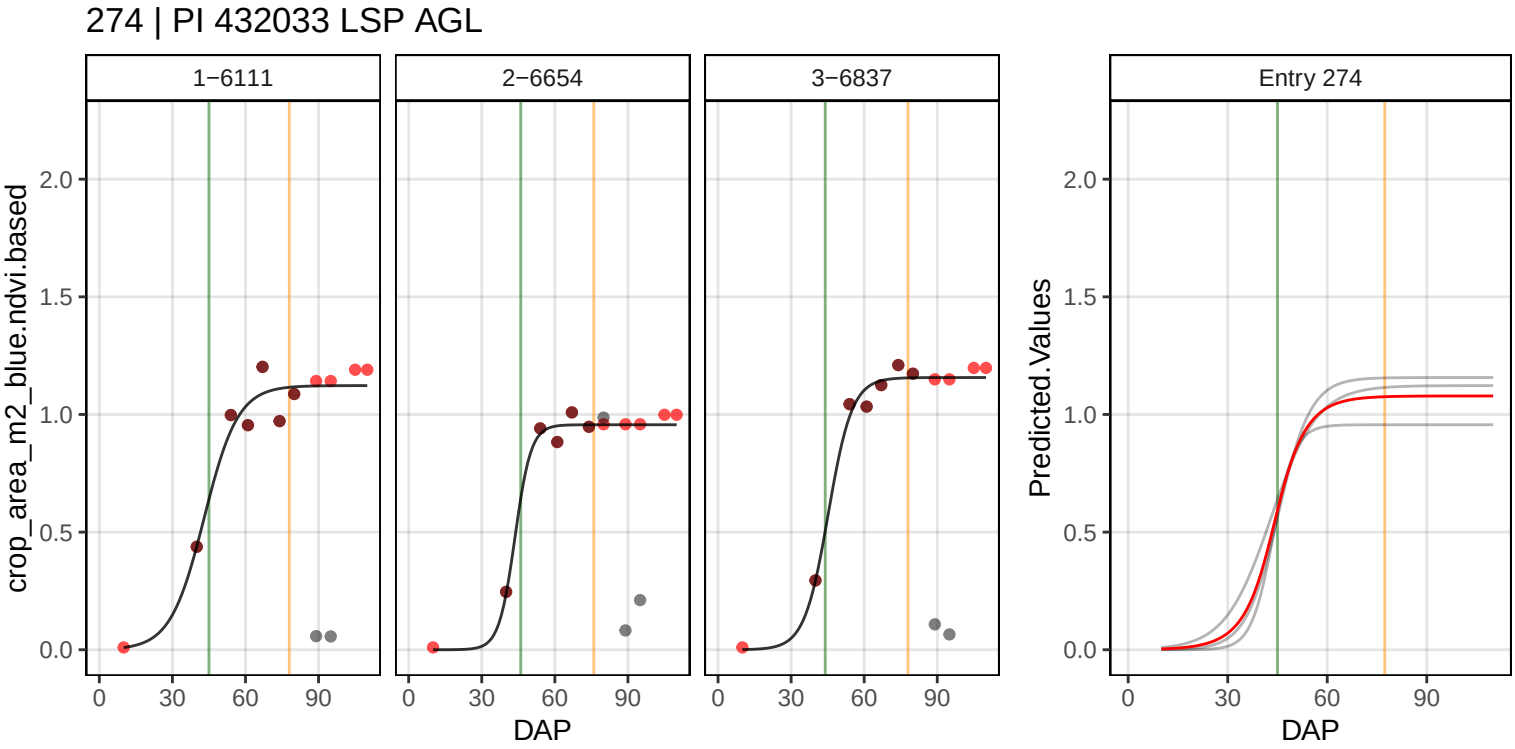
274 | PI 432033 LSP AGL
1−6111
2−6654
3−6837
Entry 274
crop_area_m2_blue.ndvi.based
Predicted.Values
DAP
DAP
0.0
0.5
1.0
1.5
2.0
0
30
60
90

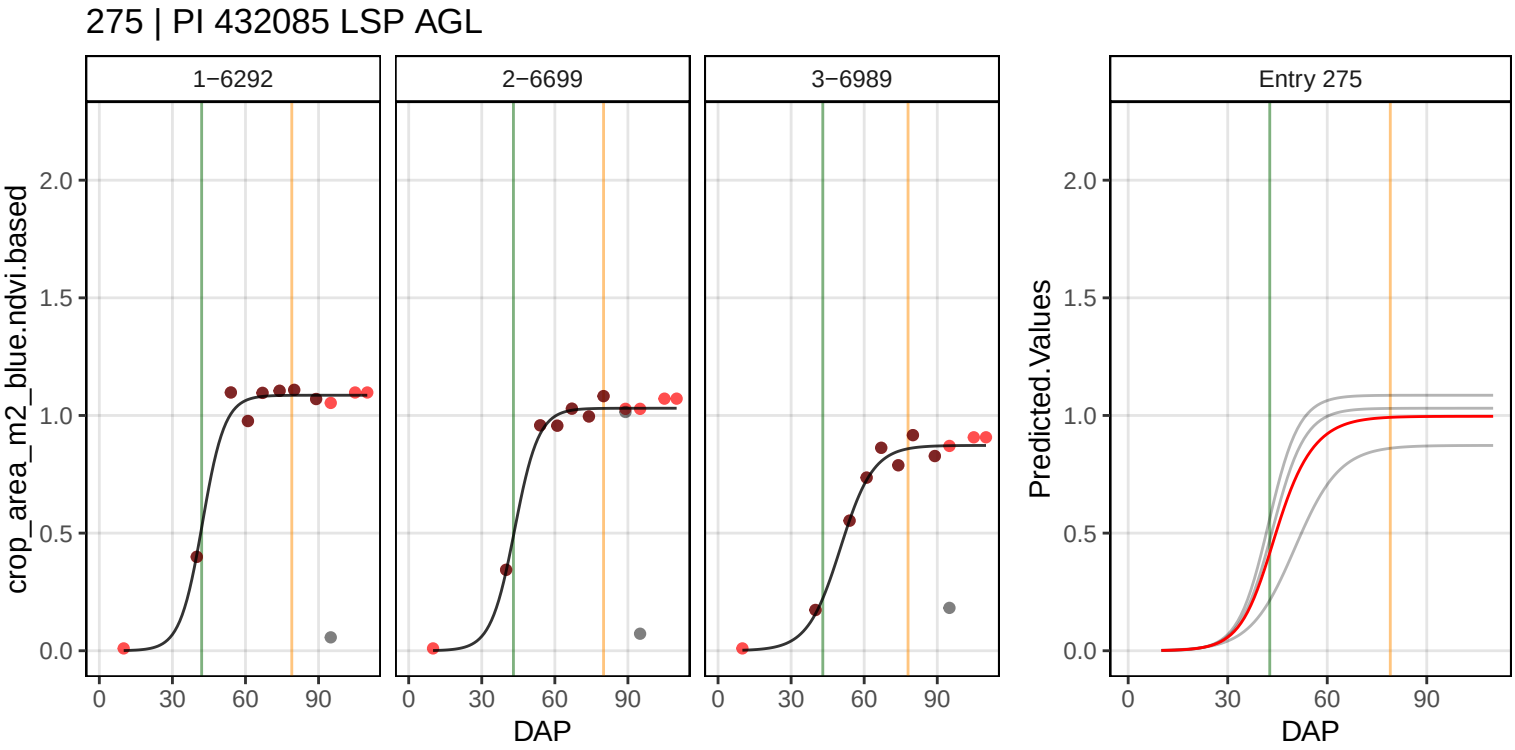
275 | PI 432085 LSP AGL
1−6292
2−6699
3−6989
Entry 275
crop_area_m2_blue.ndvi.based
Predicted.Values
DAP
DAP
0.0
0.5
1.0
1.5
2.0
0
30
60
90

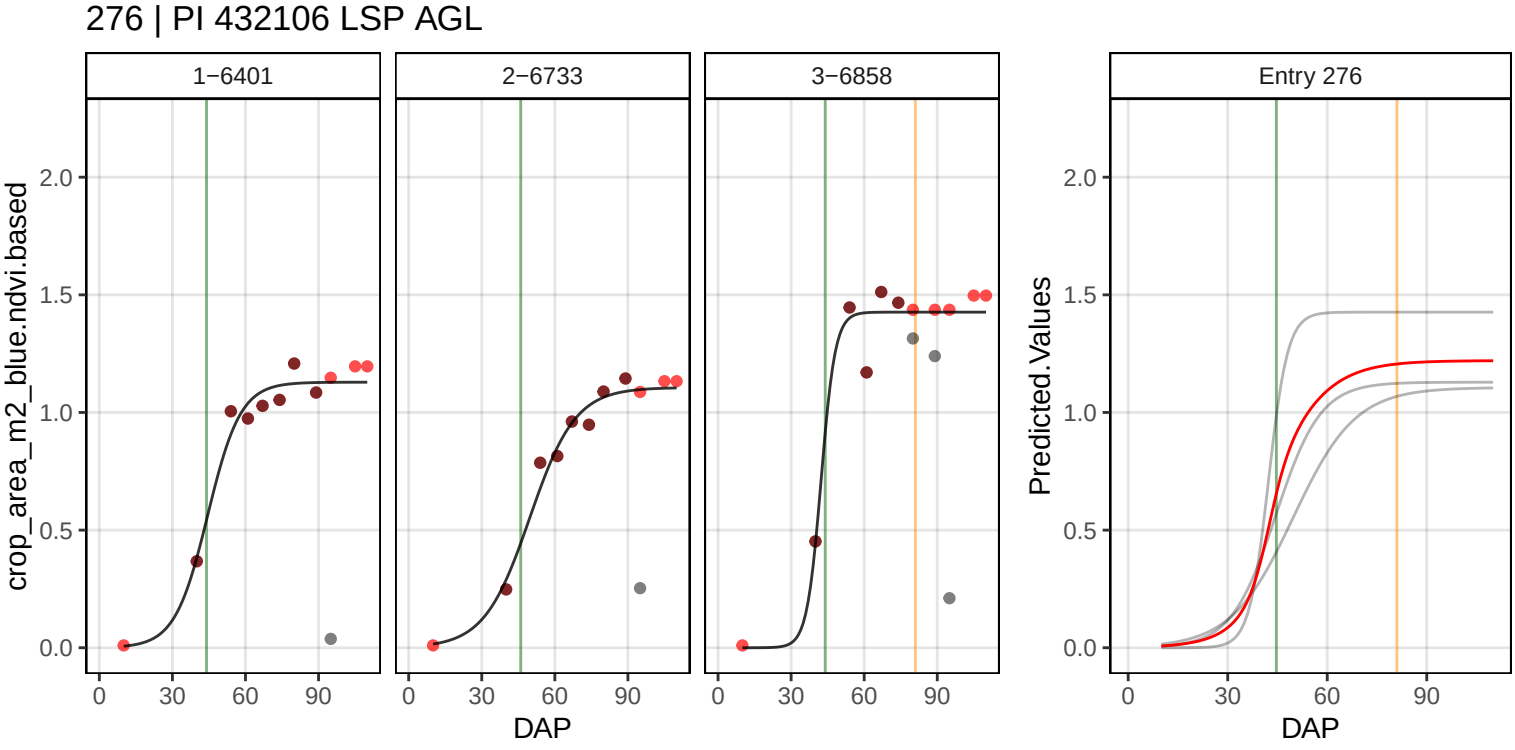
276 | PI 432106 LSP AGL
1−6401
2−6733
3−6858
Entry 276
crop_area_m2_blue.ndvi.based
Predicted.Values
DAP
DAP
0.0
0.5
1.0
1.5
2.0
0
30
60
90

277 | PI 432124 LSP AGL

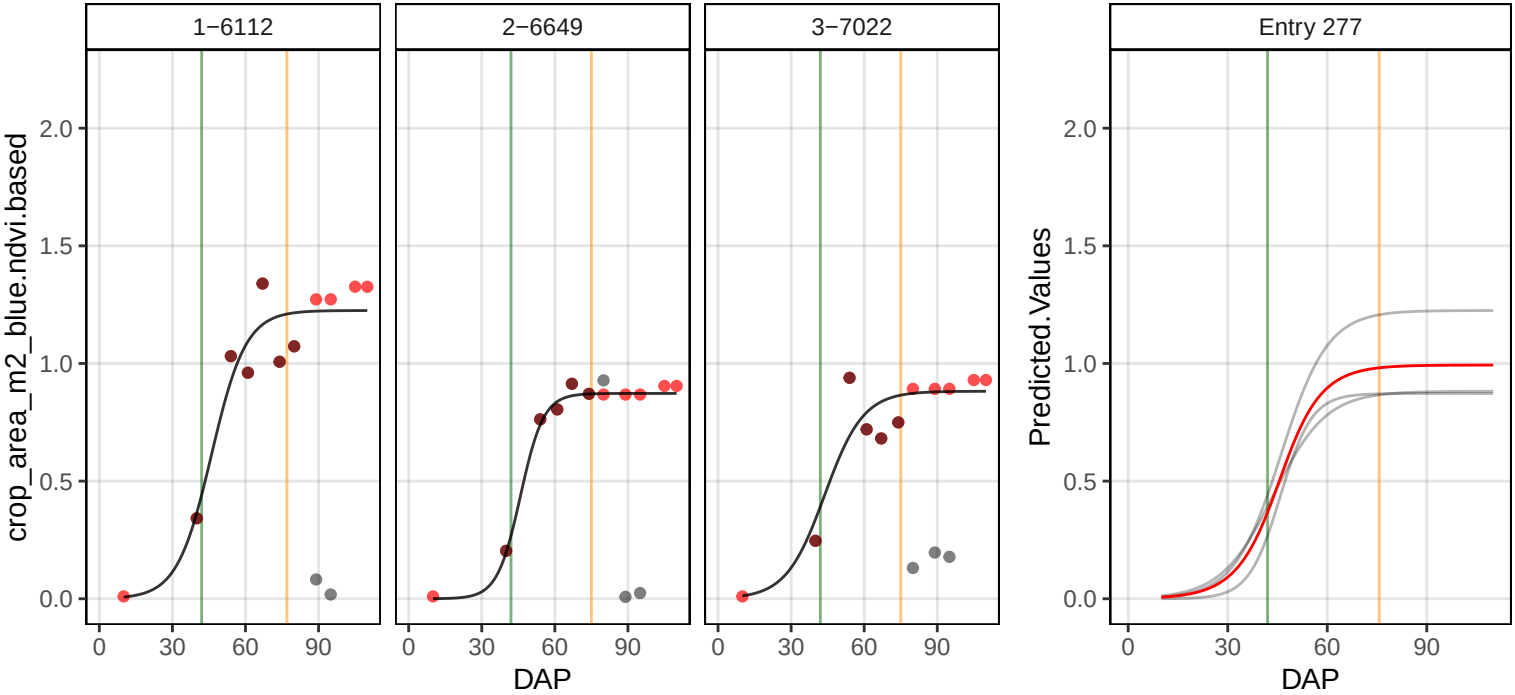

278 | PI 432145 LSP AGL

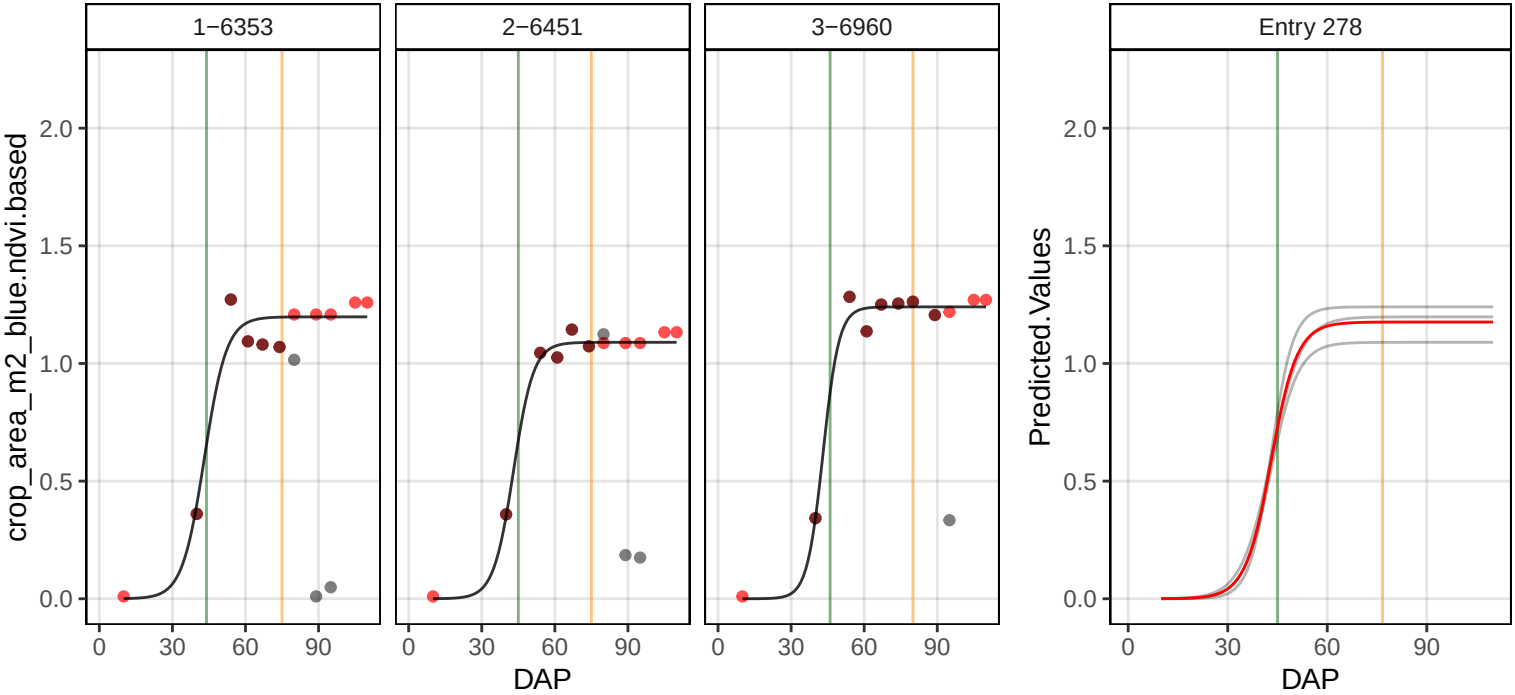

279 | PI 432147 LSP AGL

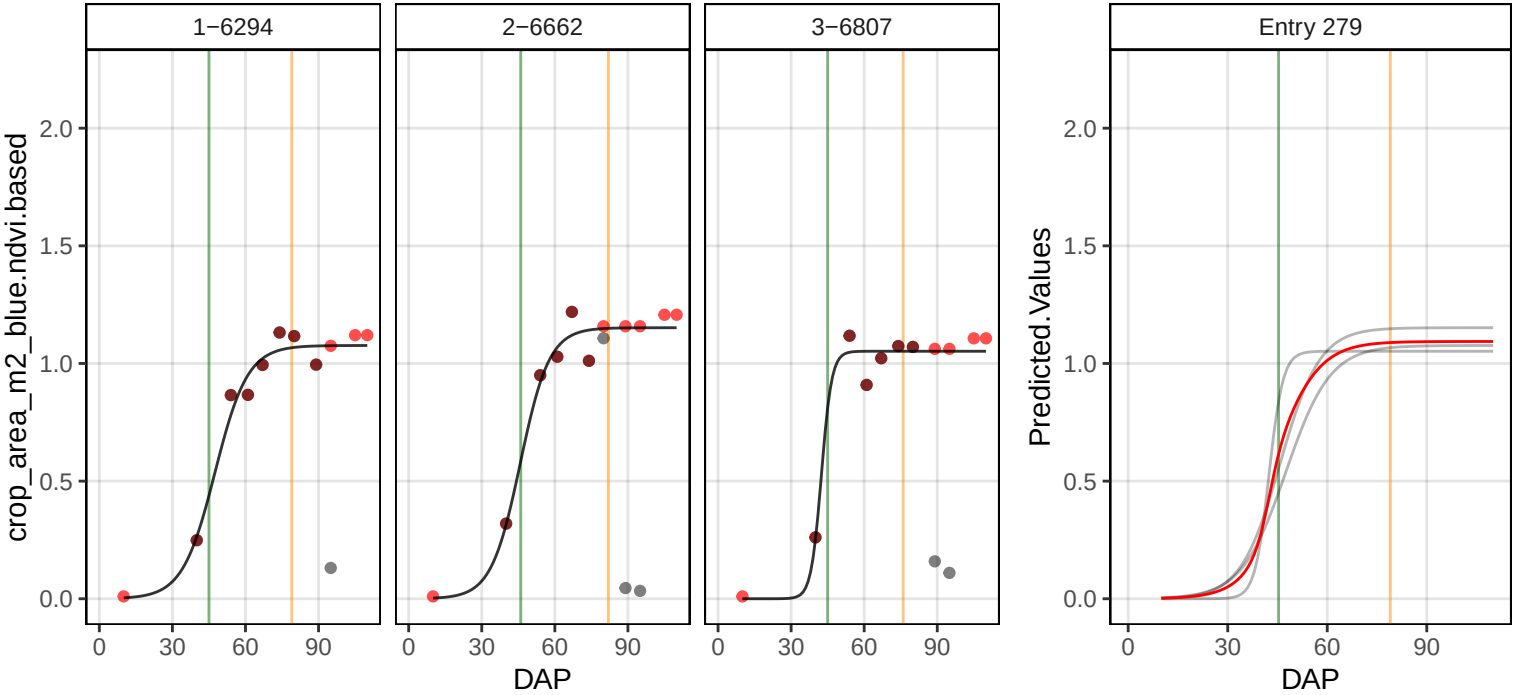

280 | PI 432184 LSP AGL

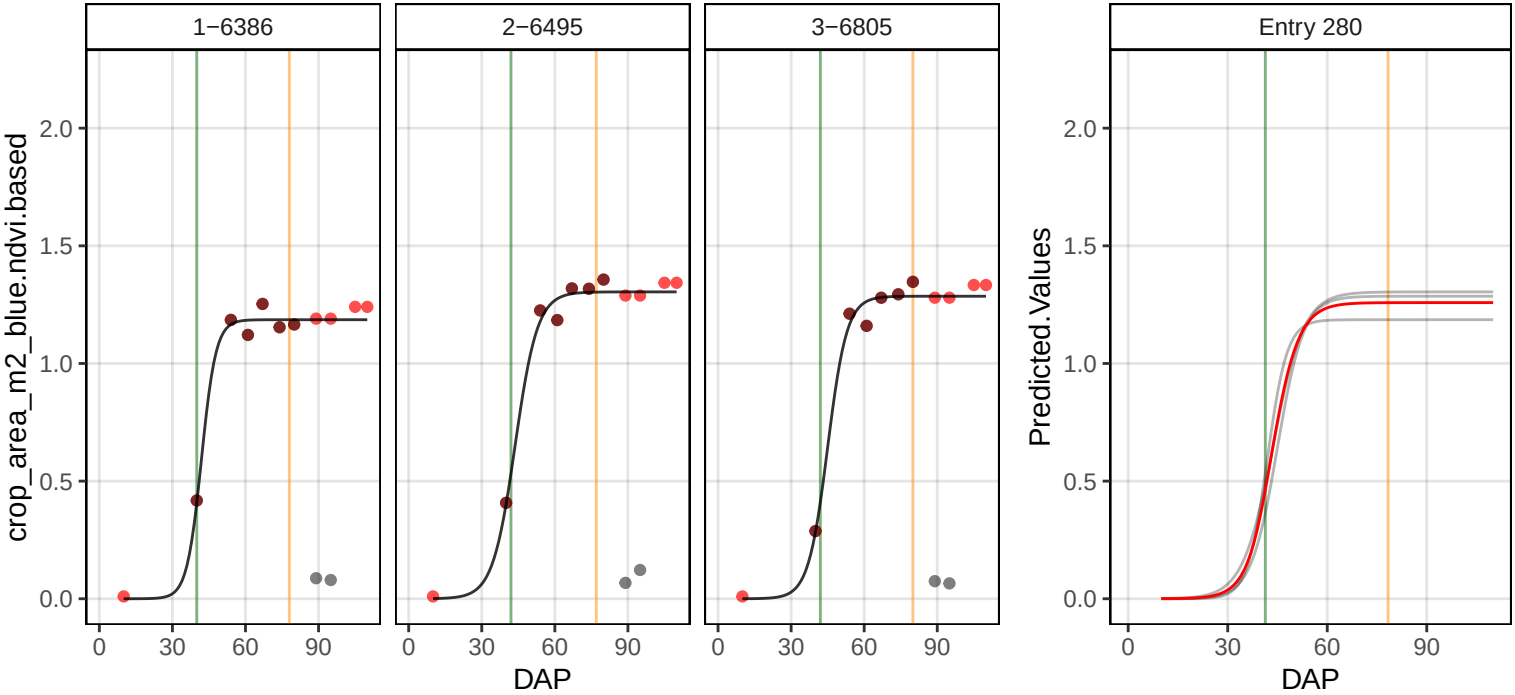

281 | PI 432188 LSP AGL

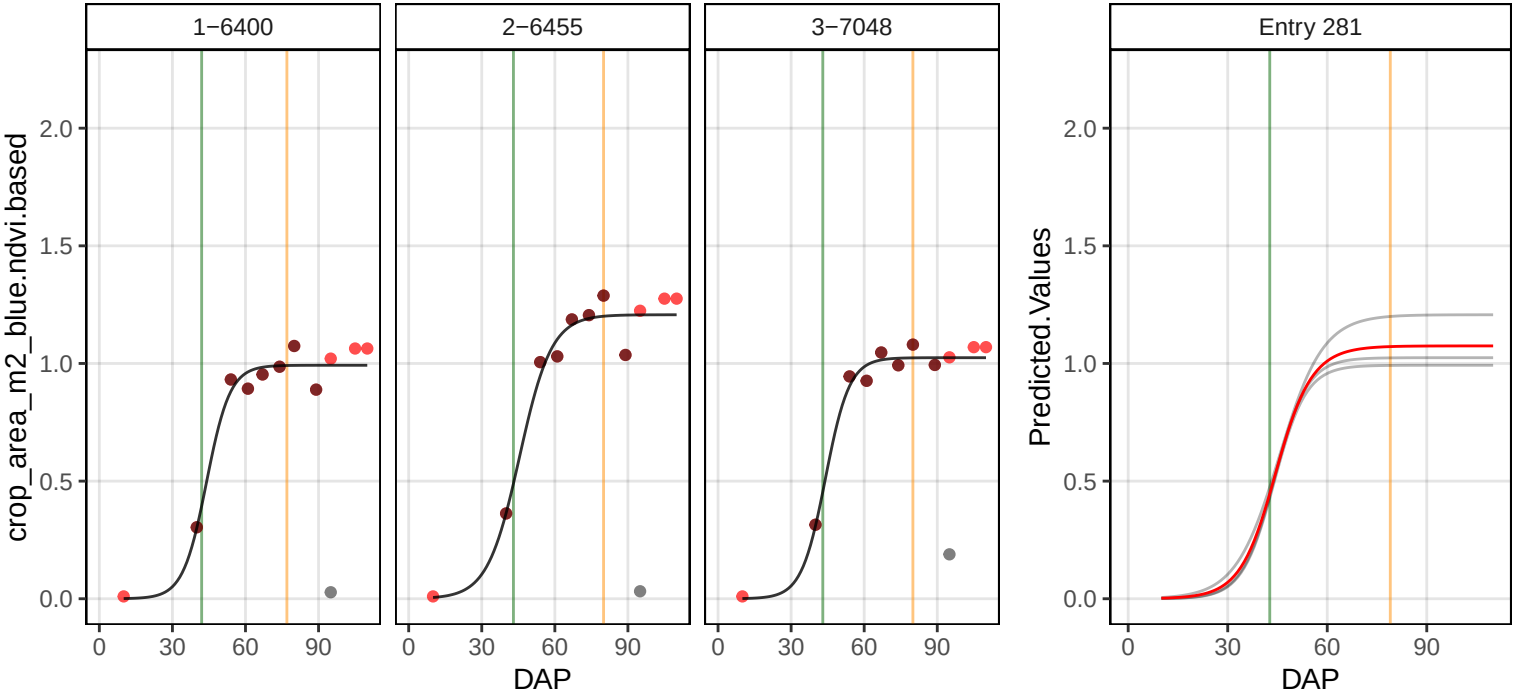

282 | PI 432190 LSP AGL

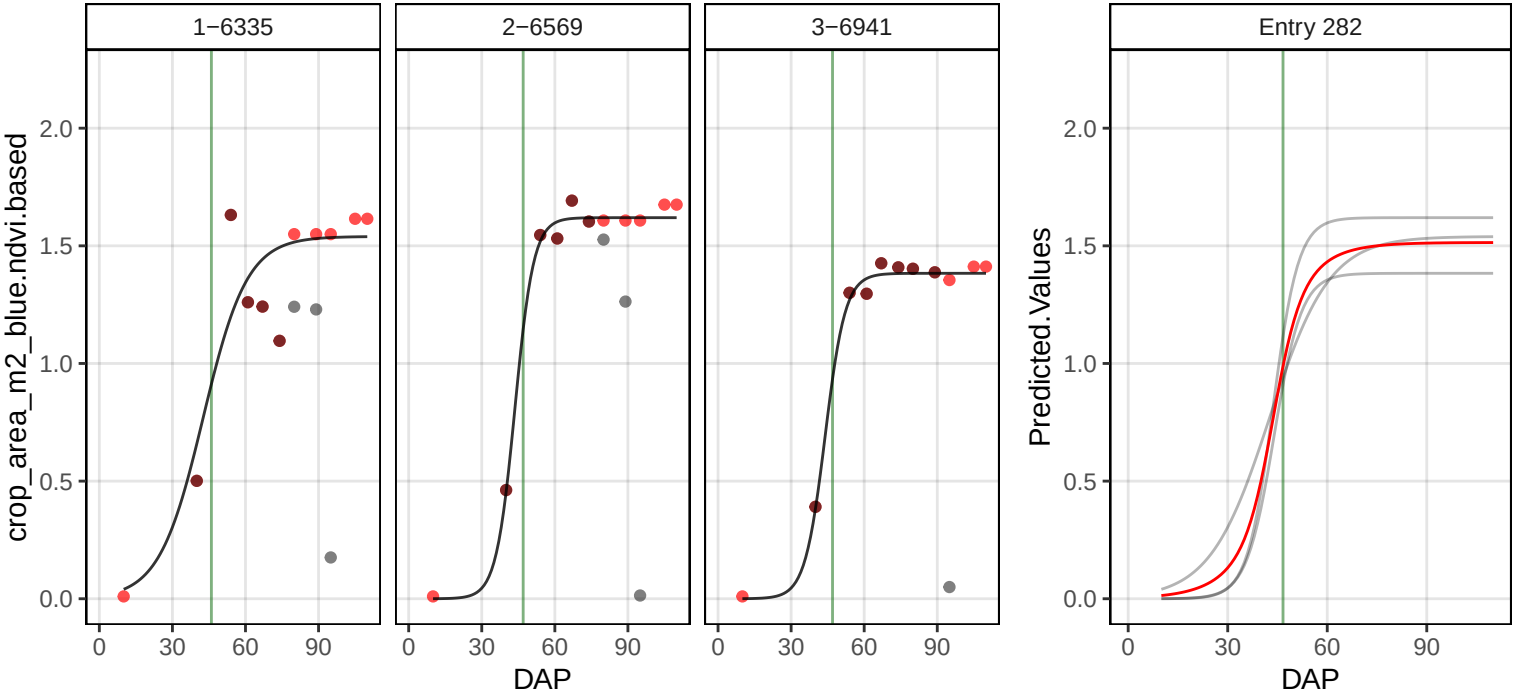

283 | PI 432201 LSP AGL

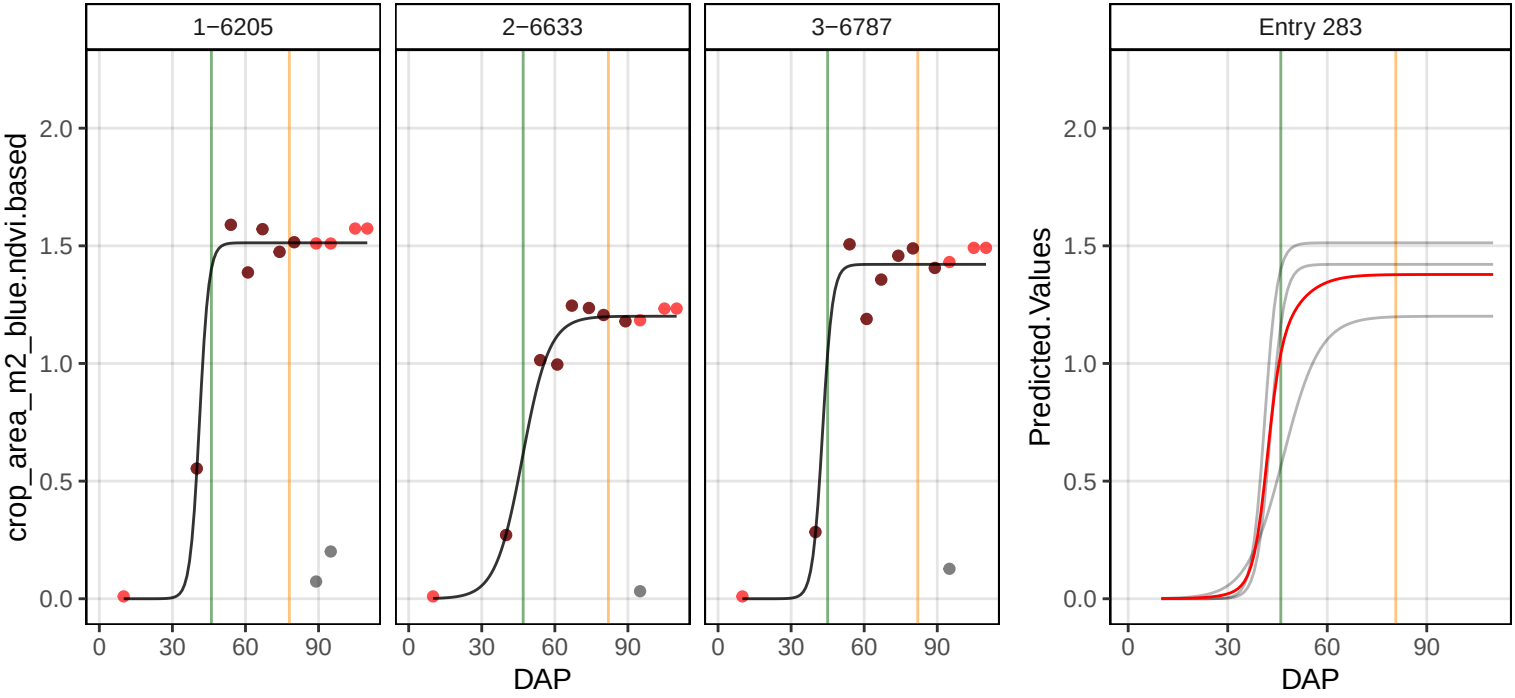

284 | PI 432212 LSP AGL

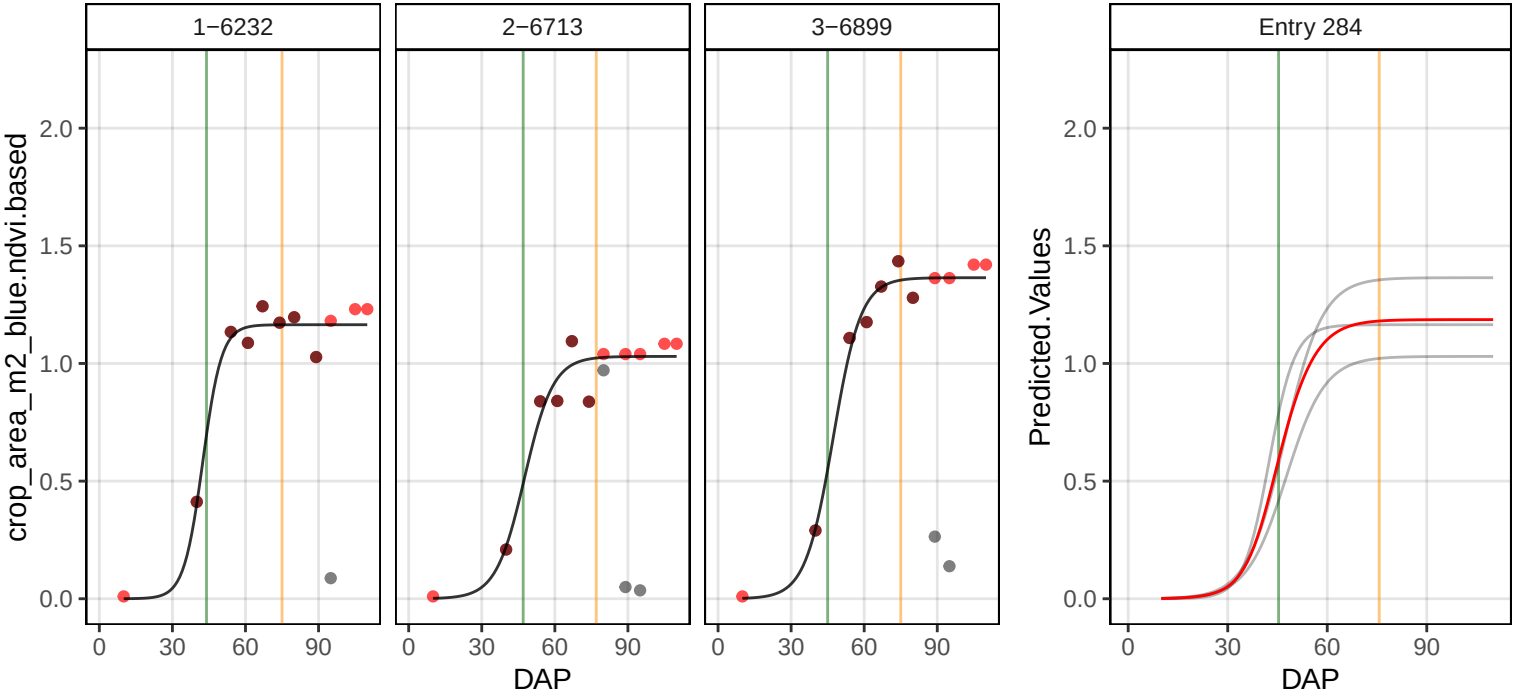

285 | PI 432236 LSP AGL

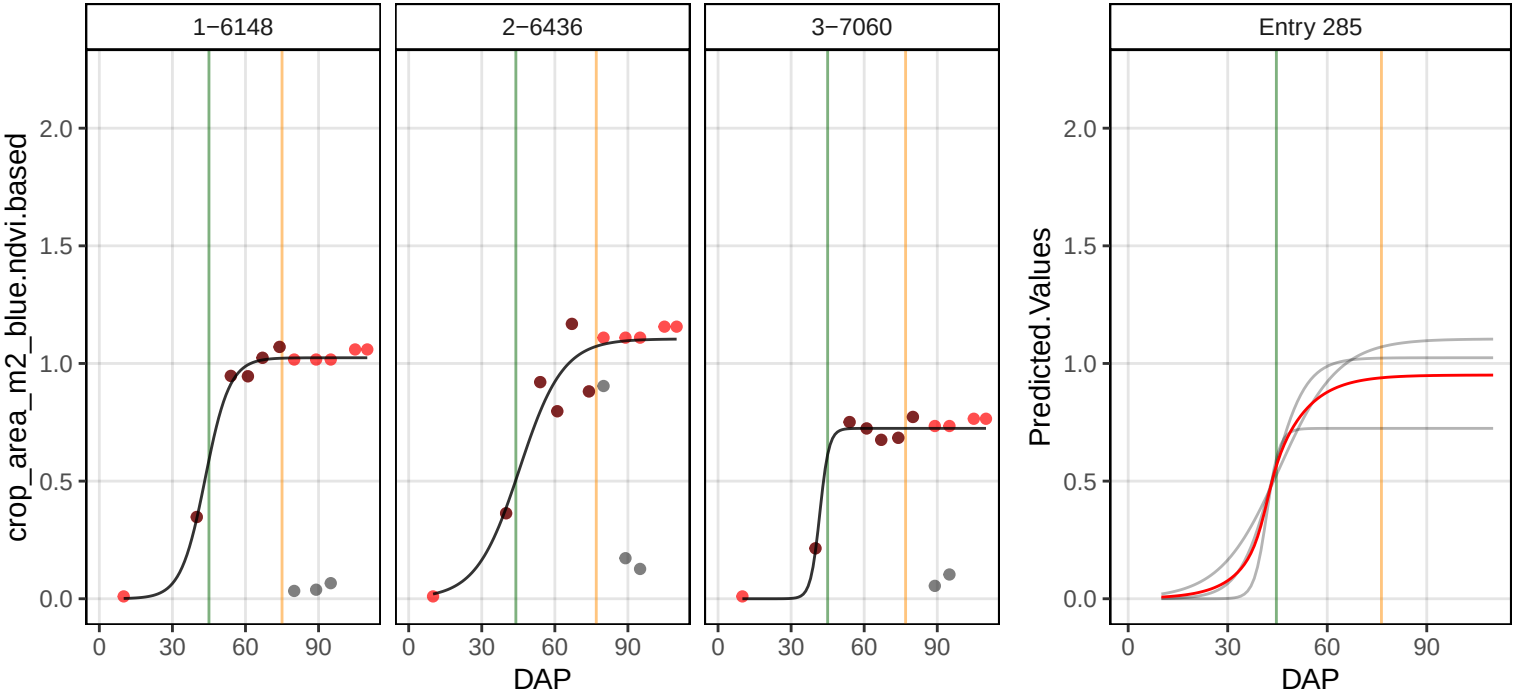

286 | PI 432245 LSP AGL

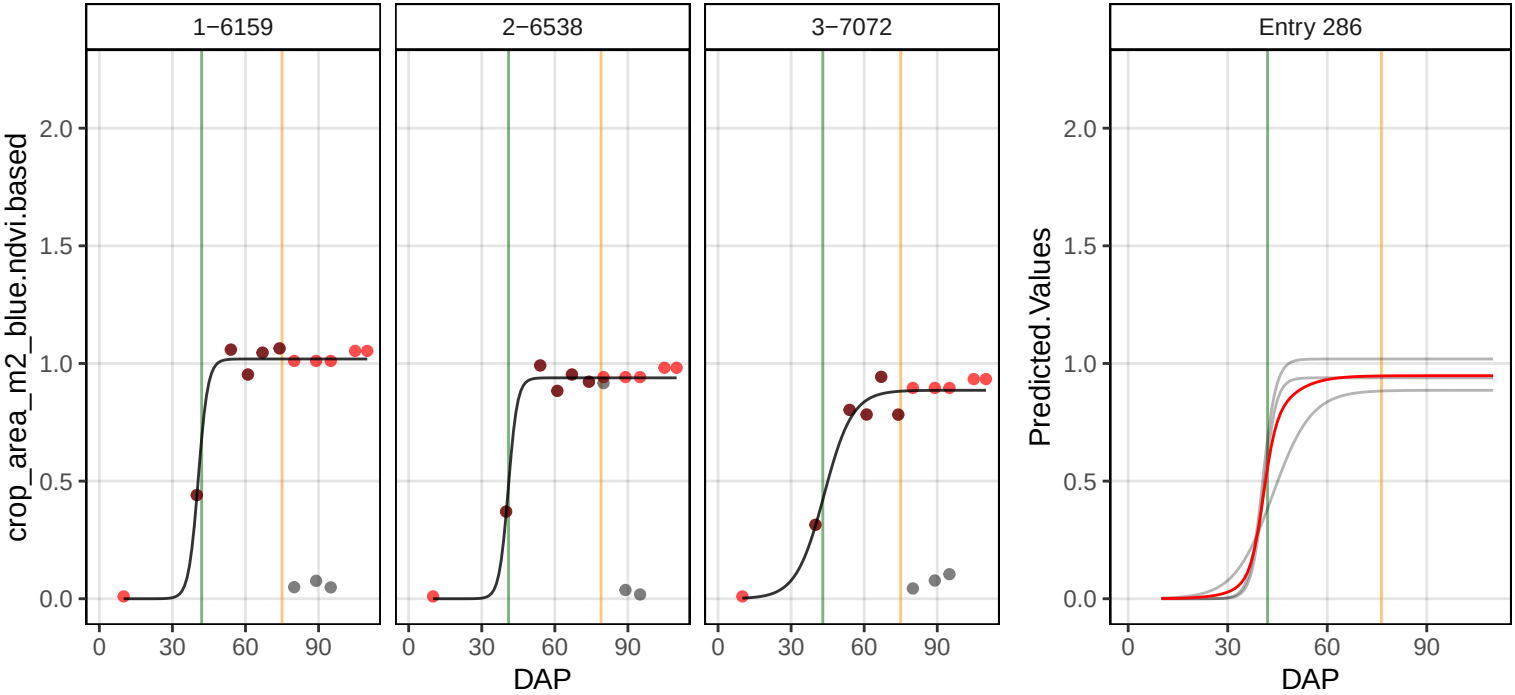

287 | PI 432271 LSP AGL

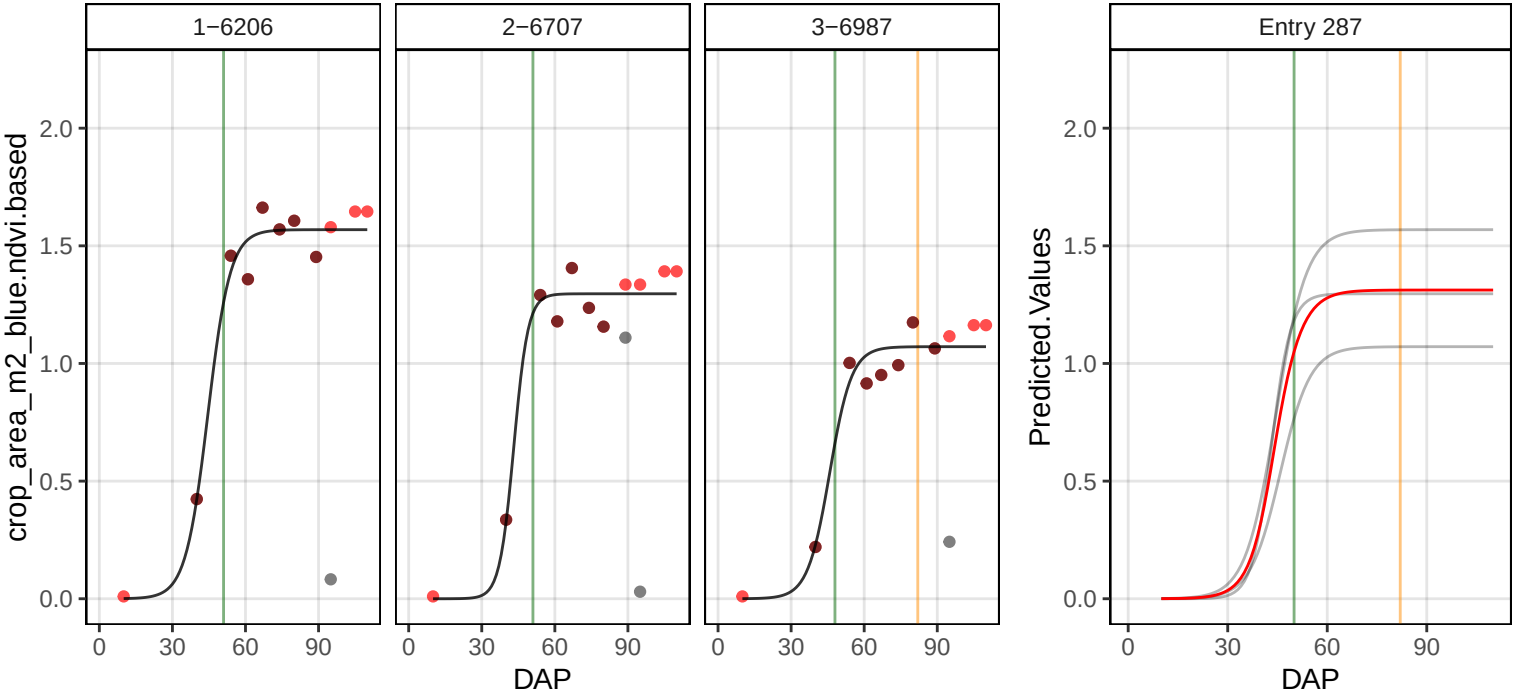

288 | PI 432286 LSP AGL

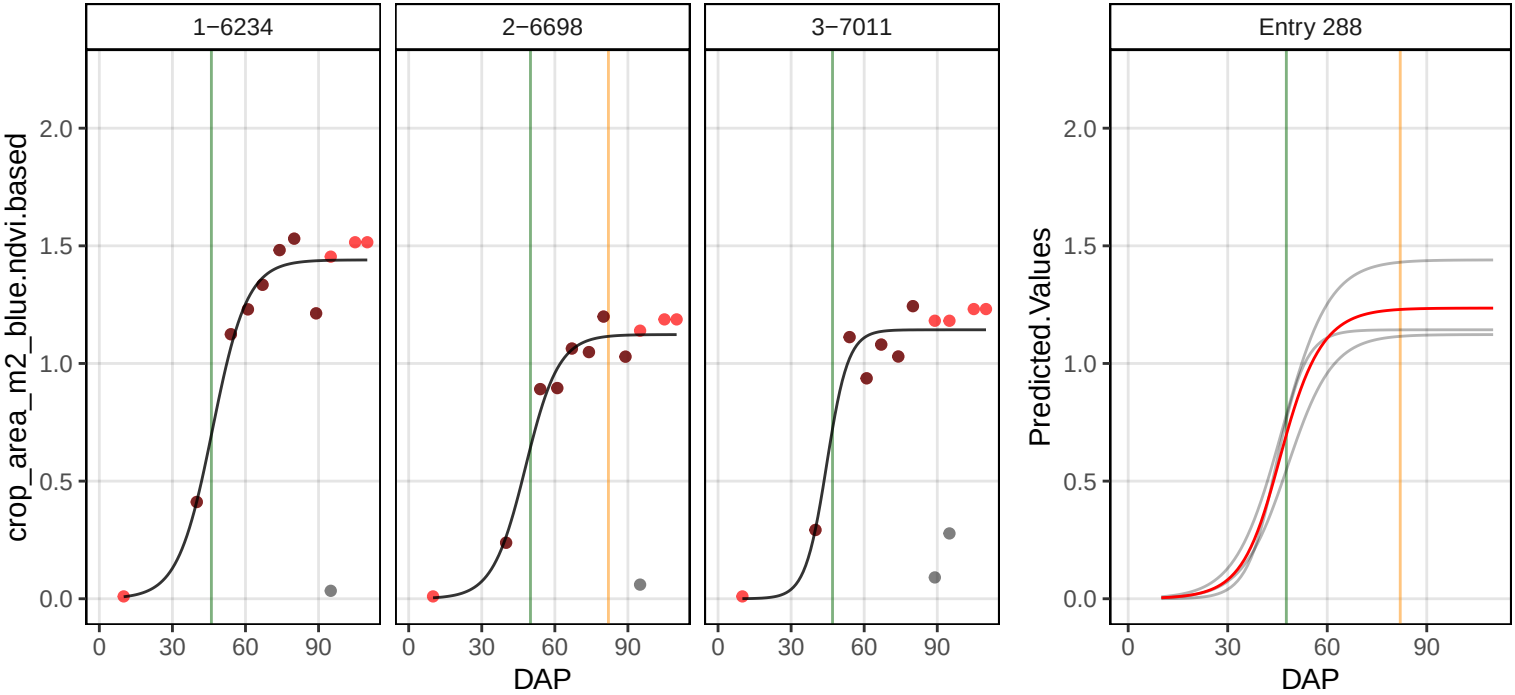

289 | PI 451763 LSP AGL

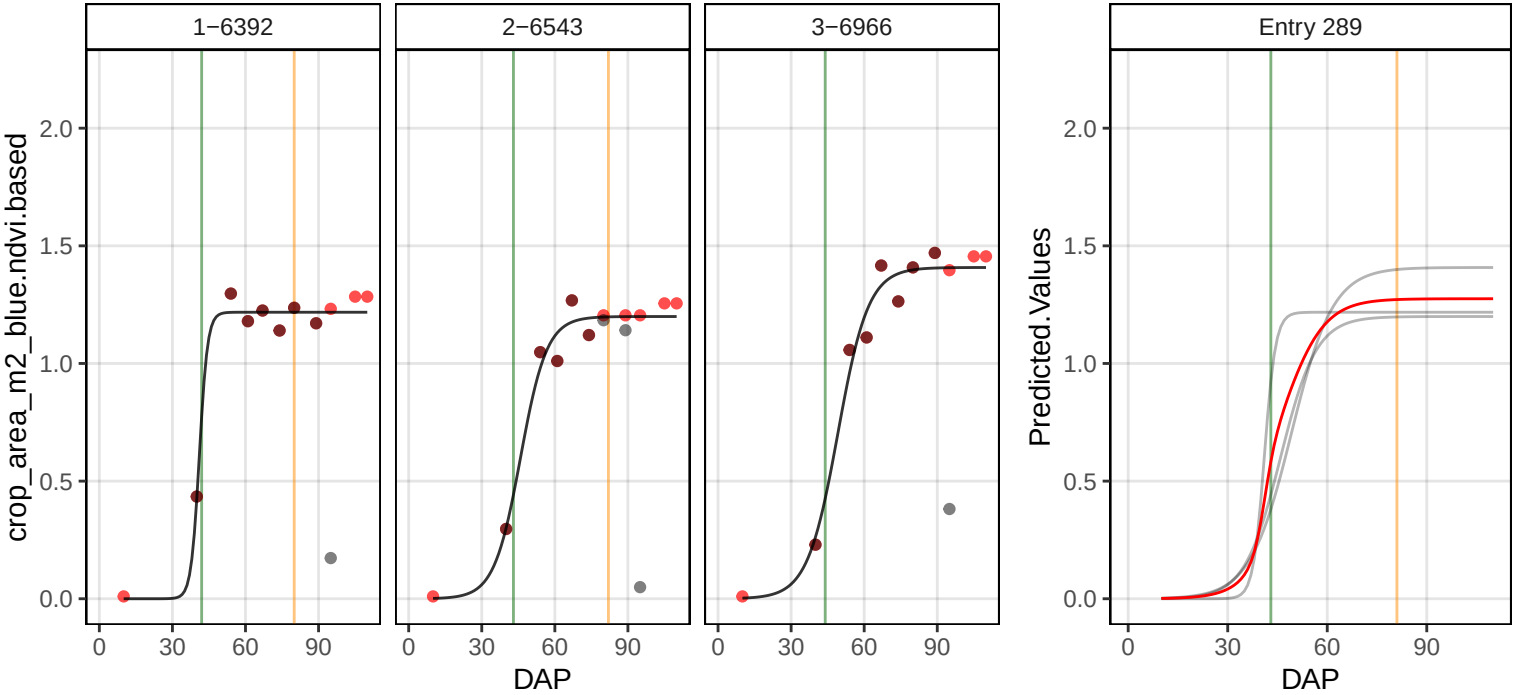

290 | PI 458503 LSP AGL

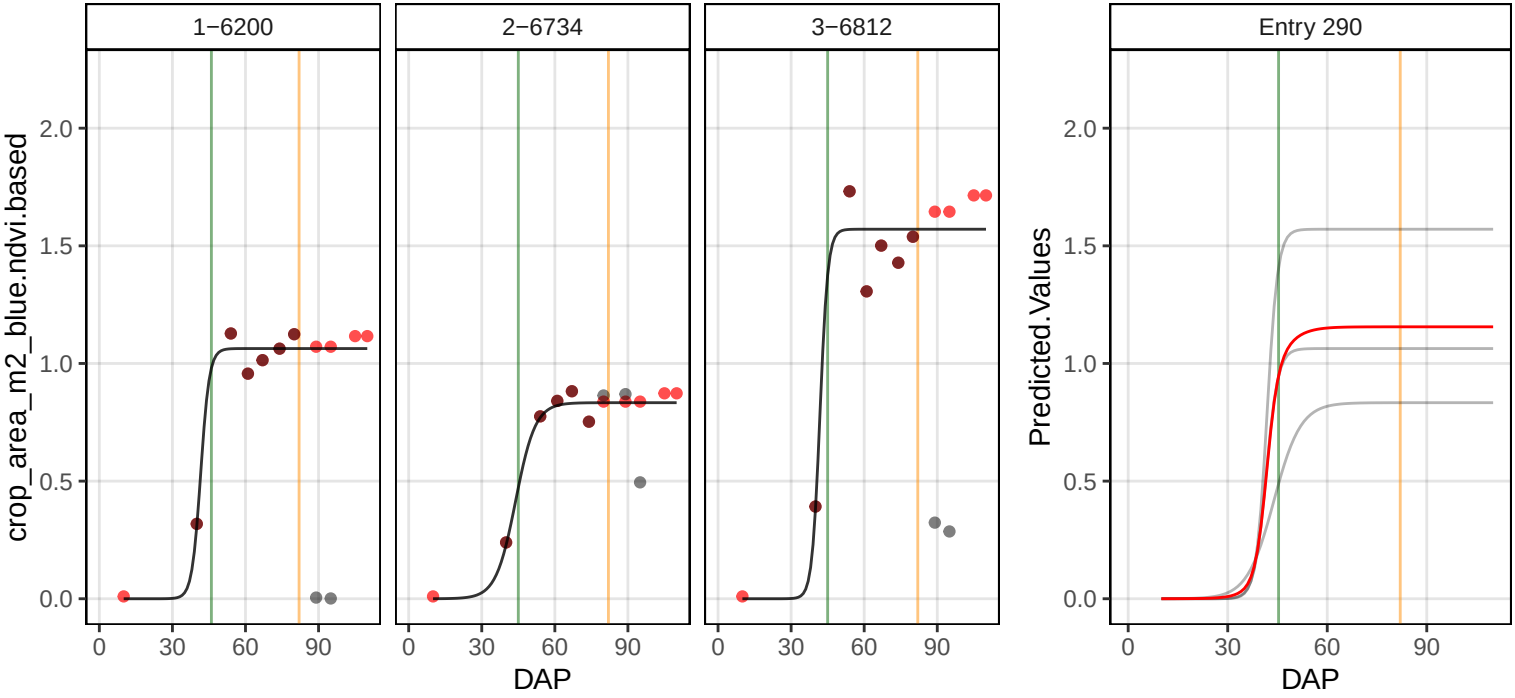

291 | PI 468900 LSP AGL

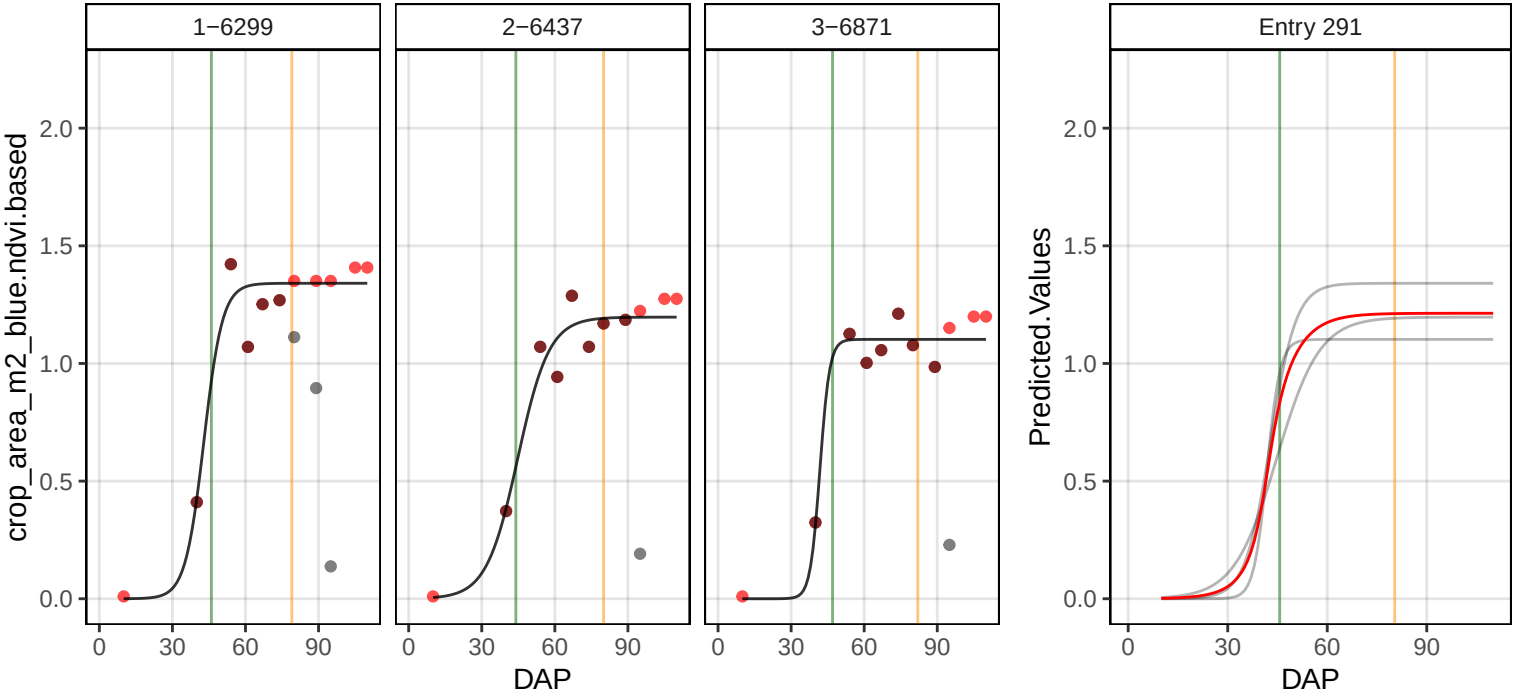

292 | PI 468901 AGL

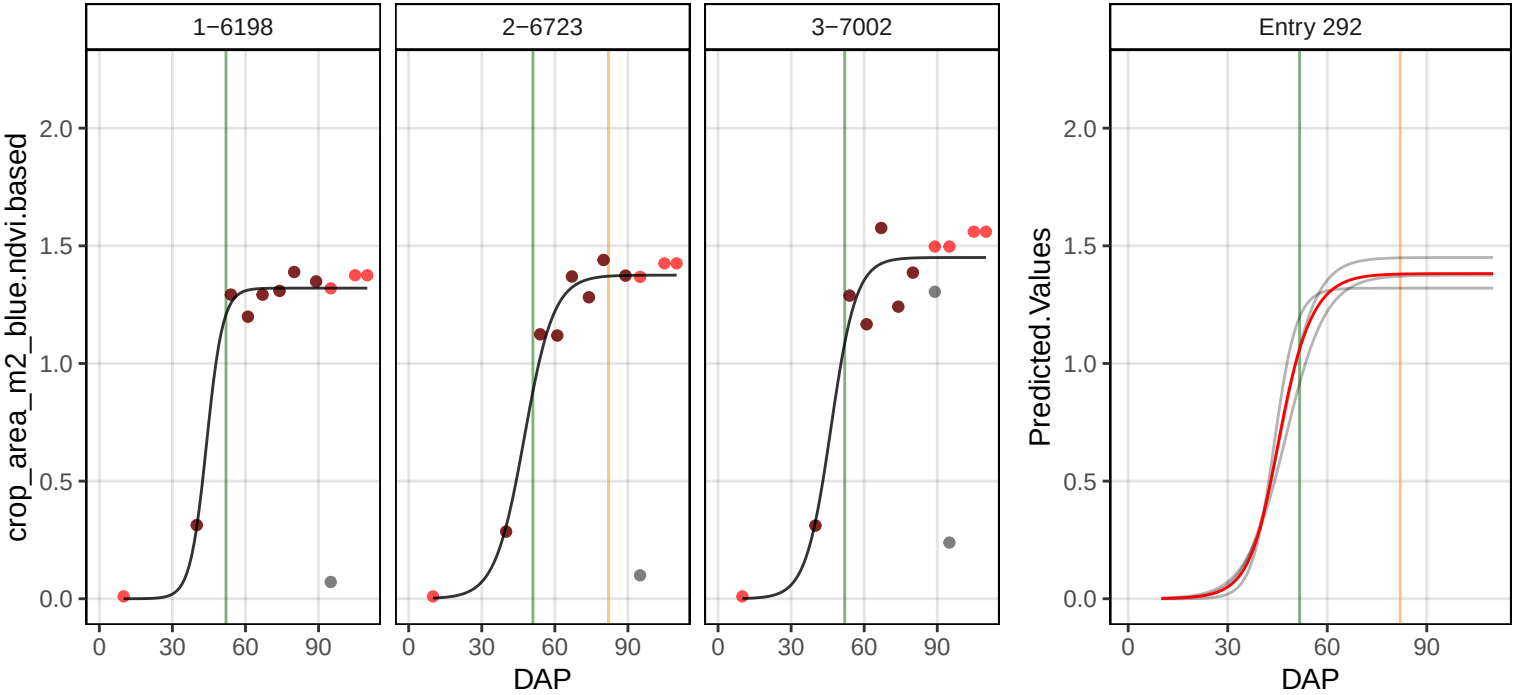

293 | PI 468902 LSP AGL

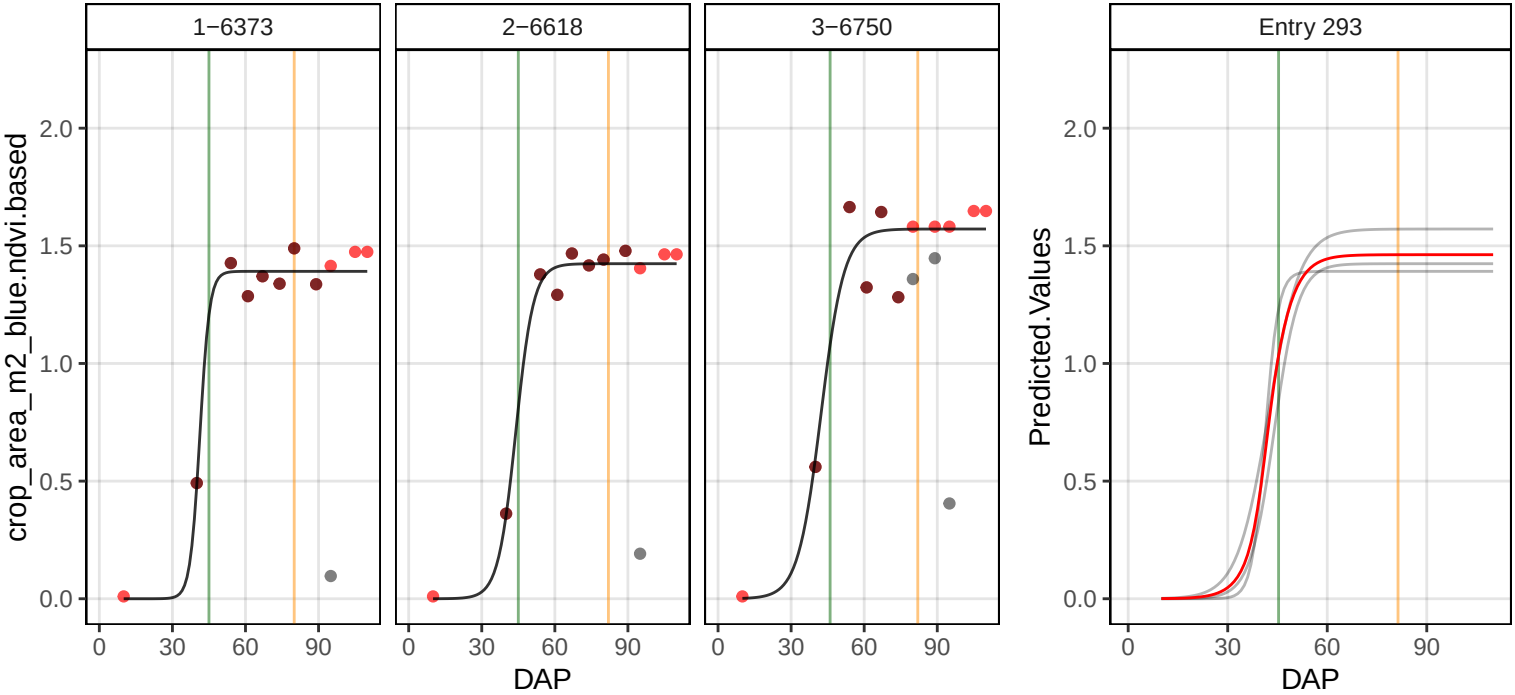

294 | PI 472136 LSP AGL

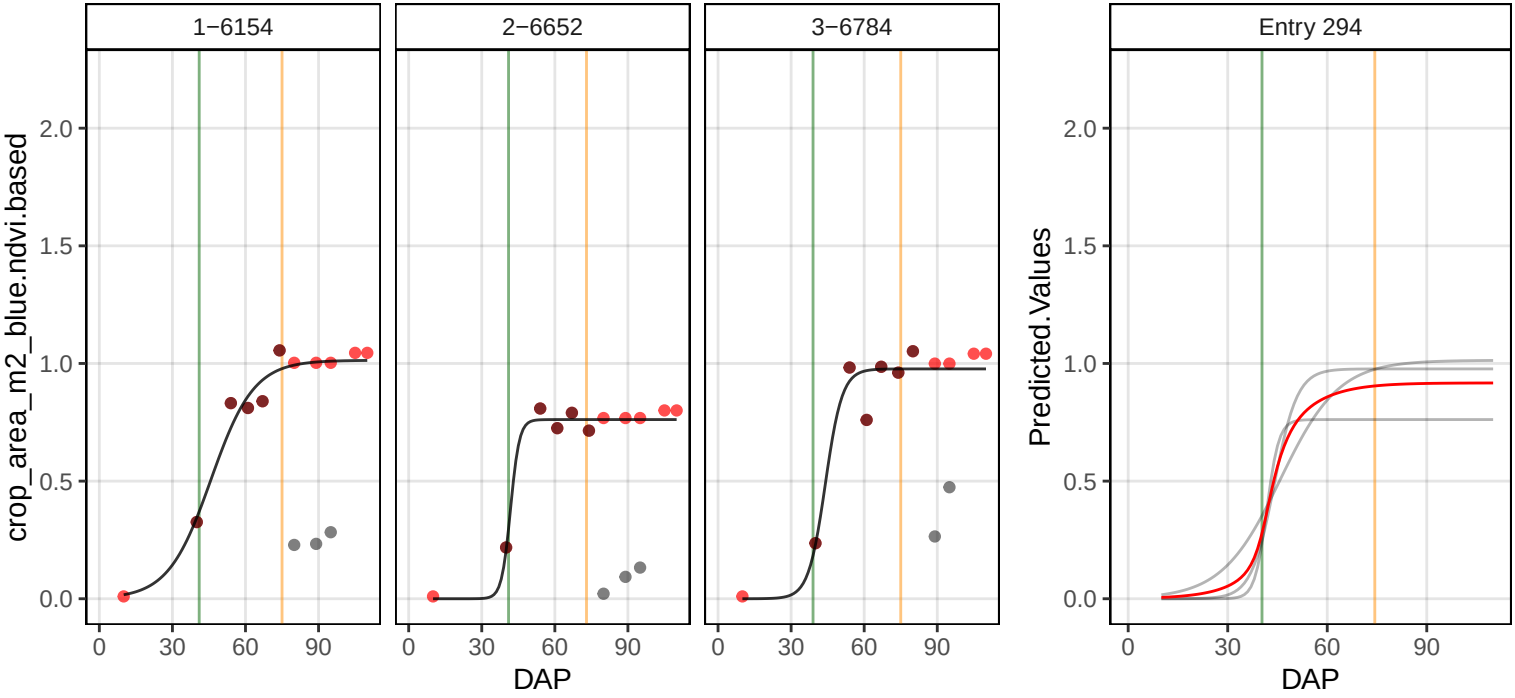

295 | PI 472205 LSP AGL

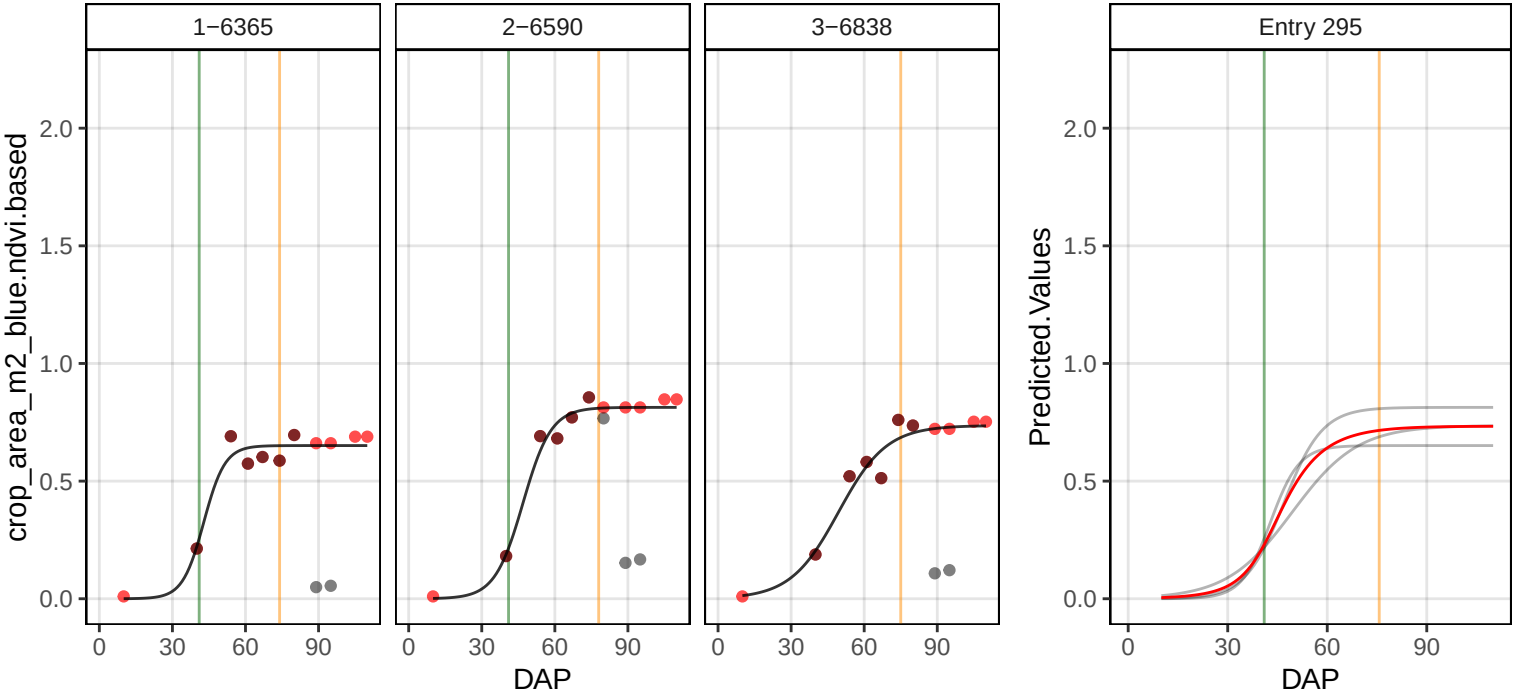

296 | PI 472213 LSP AGL

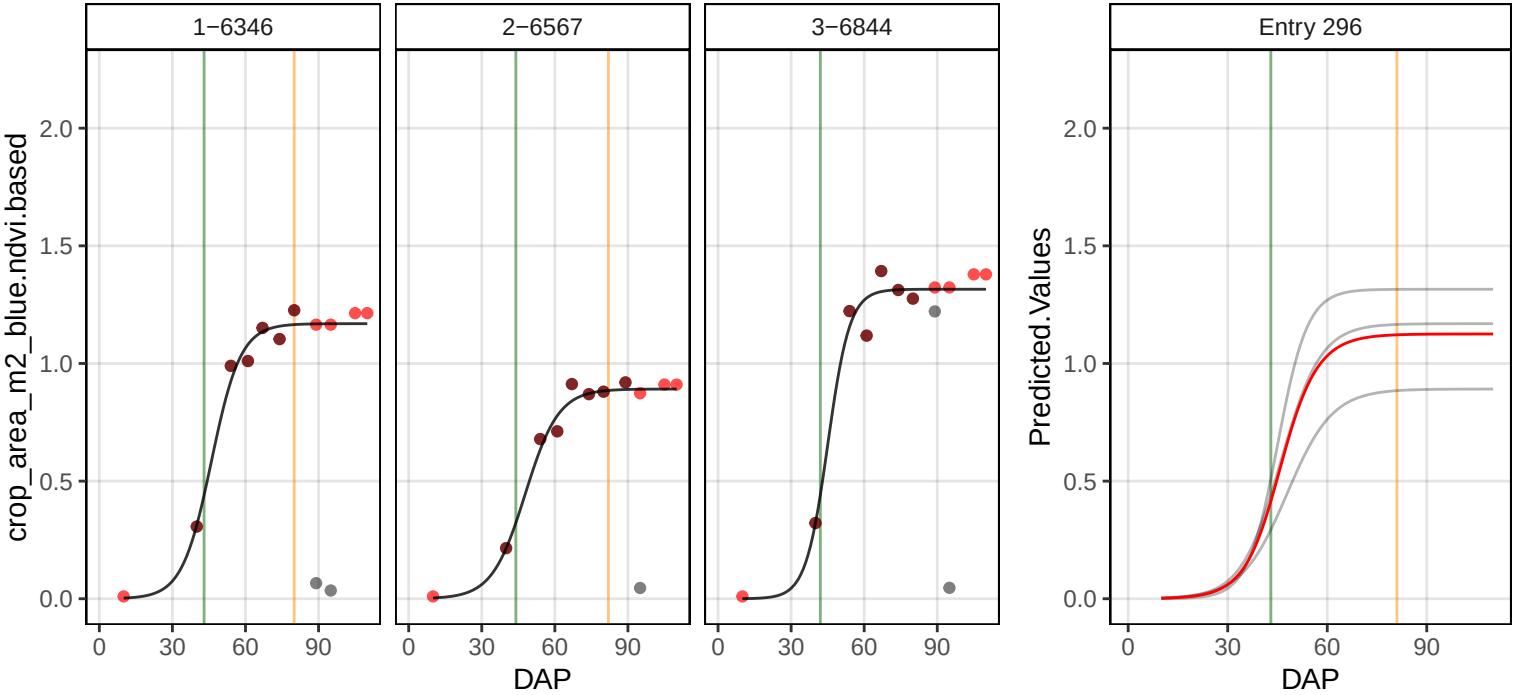

297 | PI 472327 LSP AGL

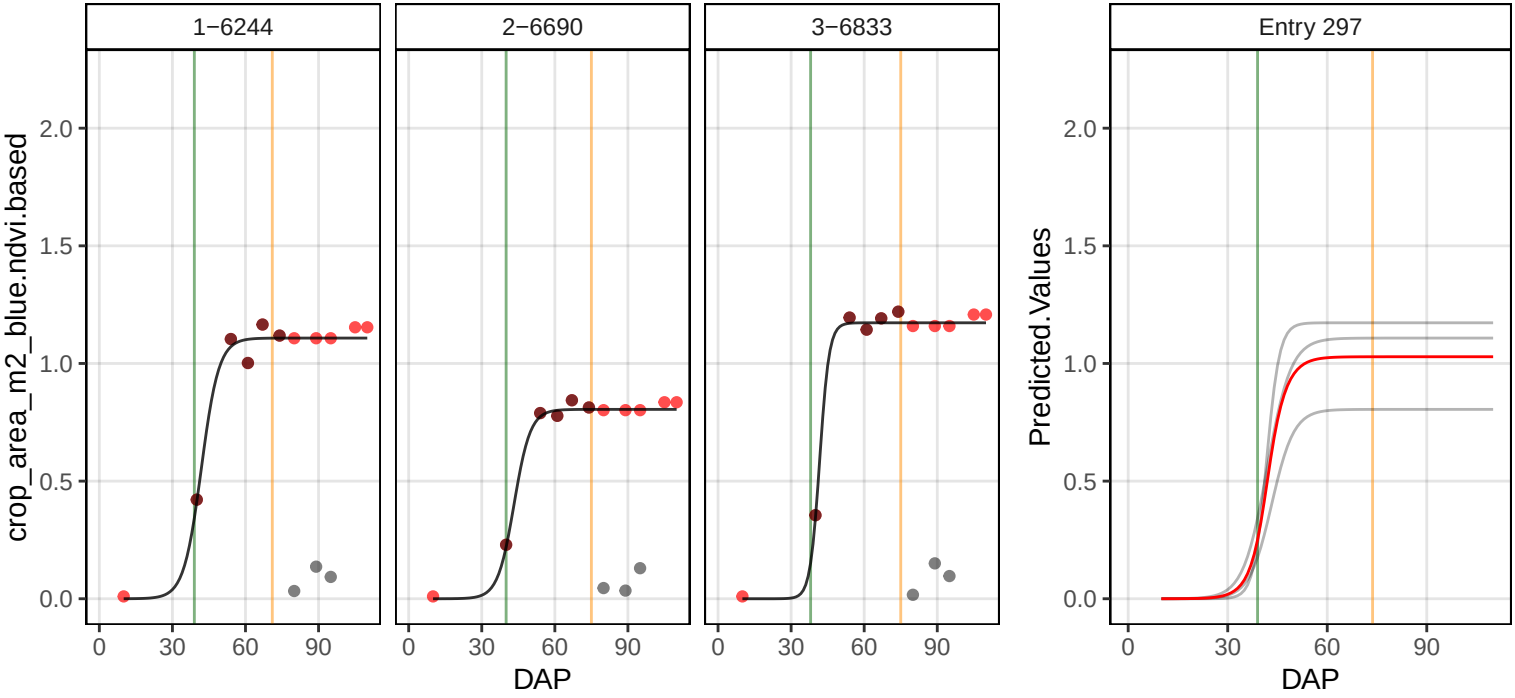

298 | PI 472380 LSP AGL

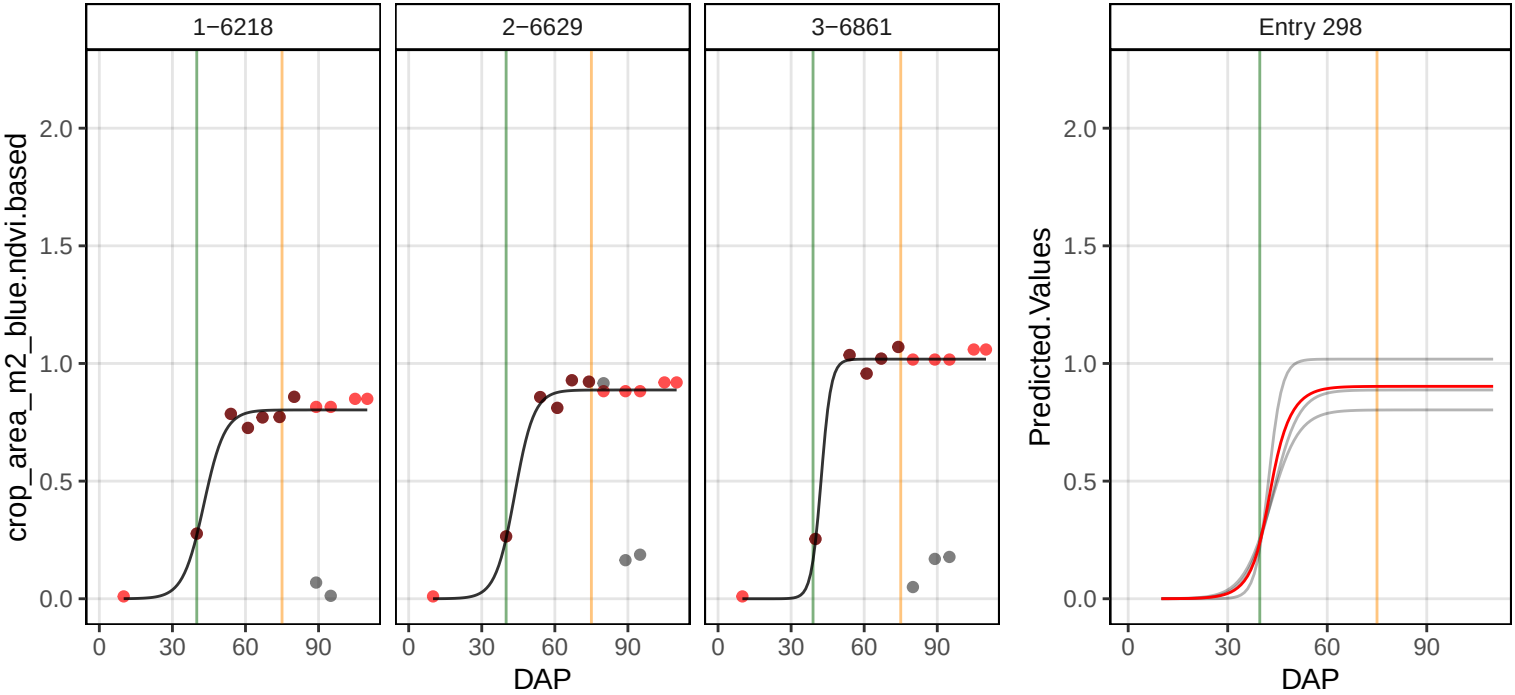

299 | PI 472416 LSP AGL

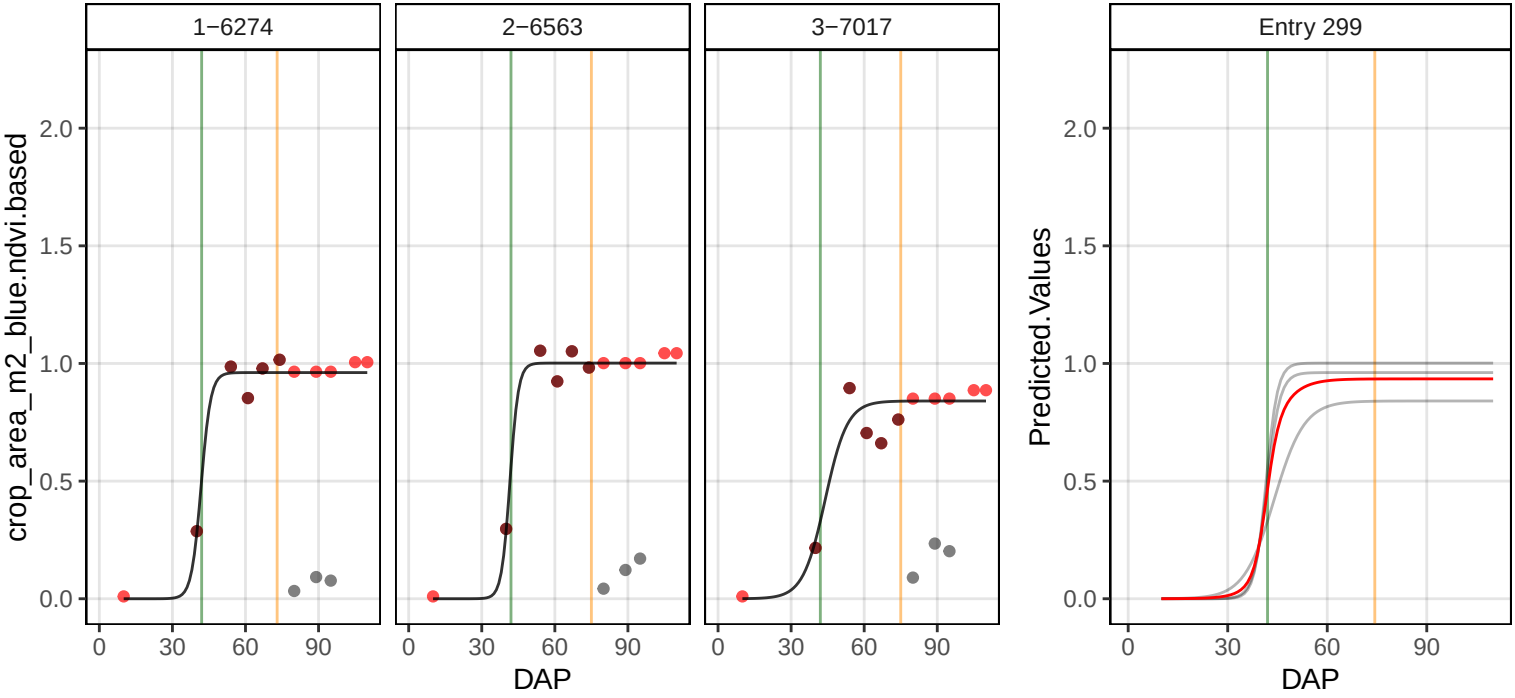

300 | PI 472488 LSP AGL

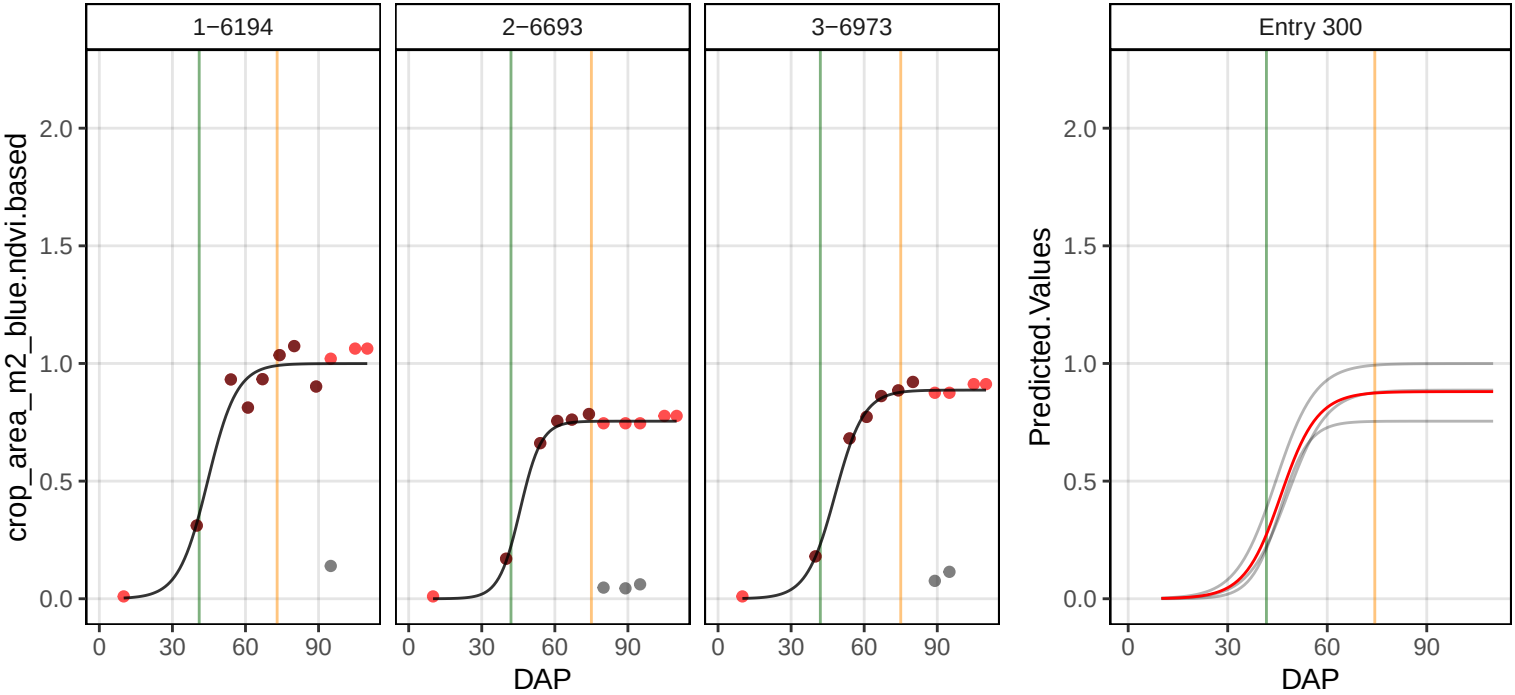

301 | PI 472559 LSP AGL

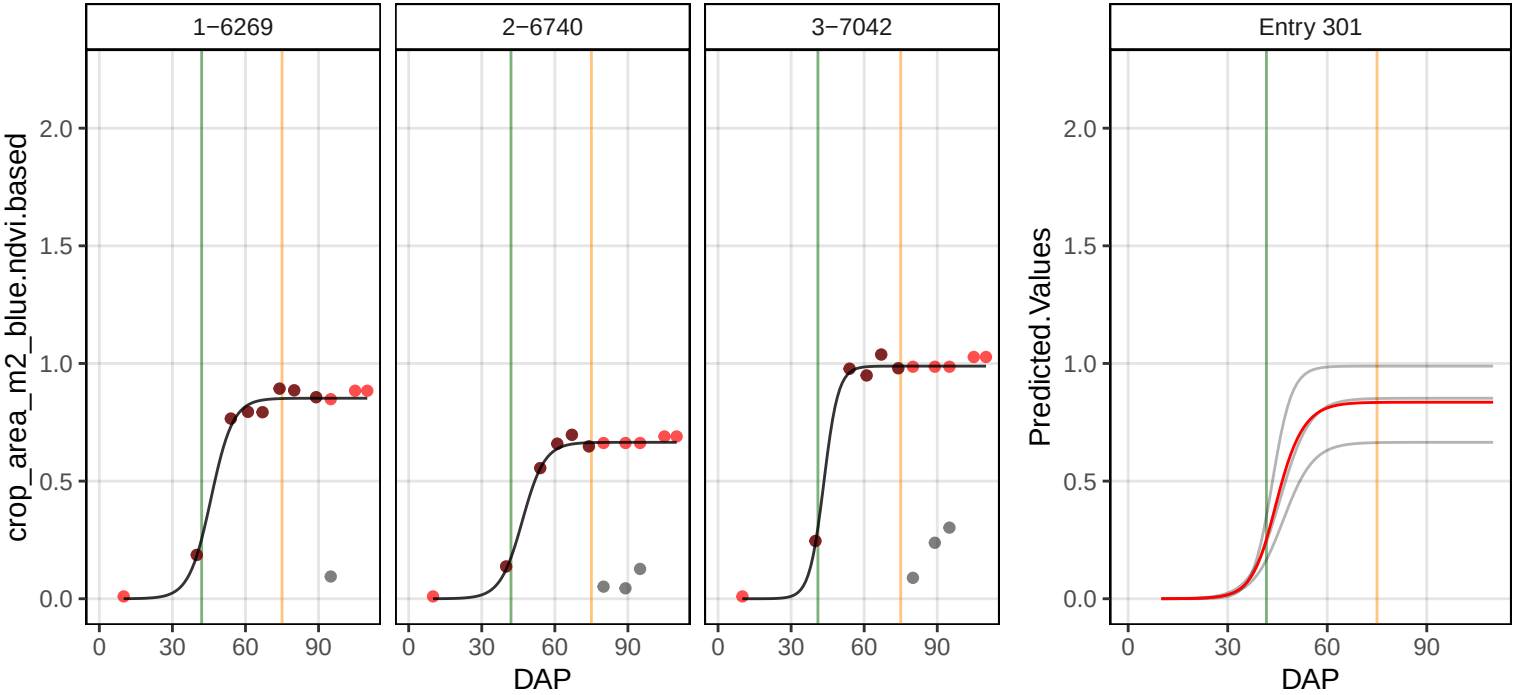

302 | PI 472561 LSP AGL

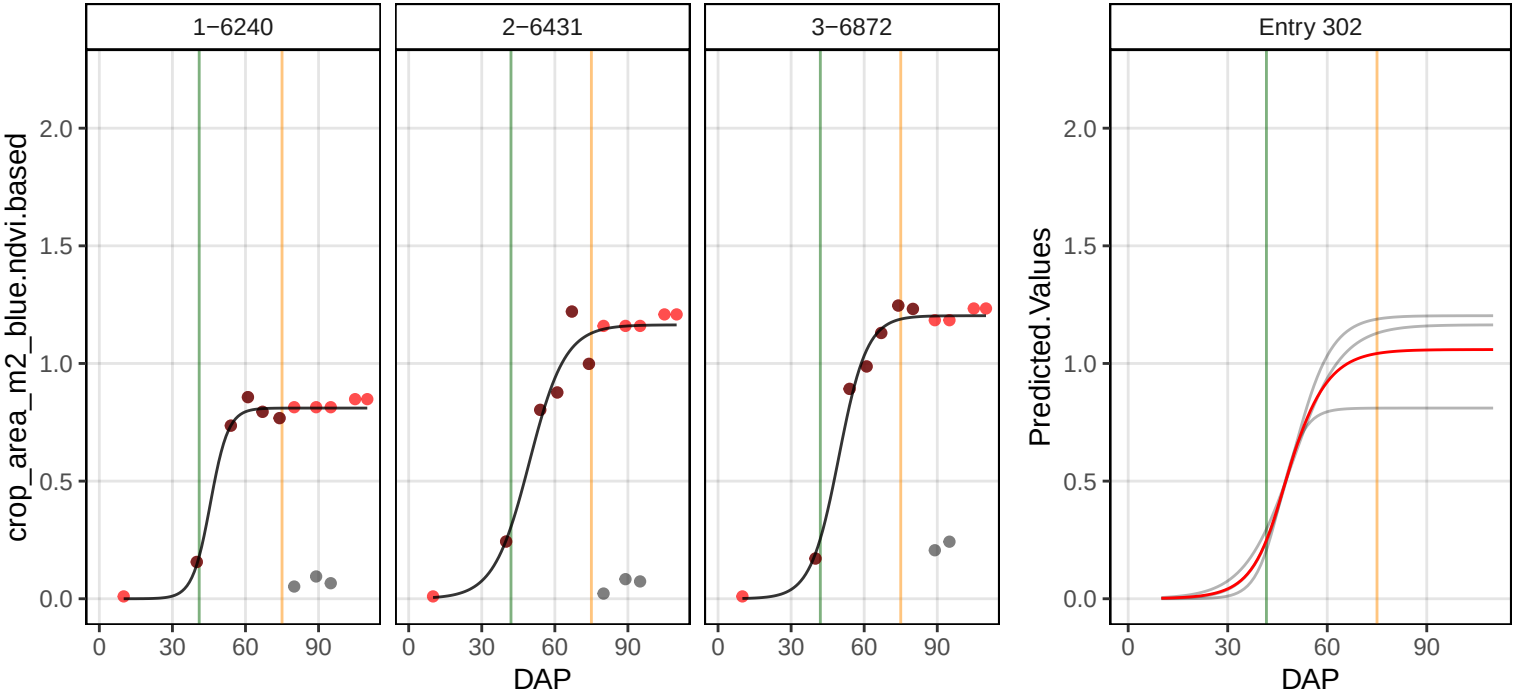

303 | PI 472569 LSP AGL

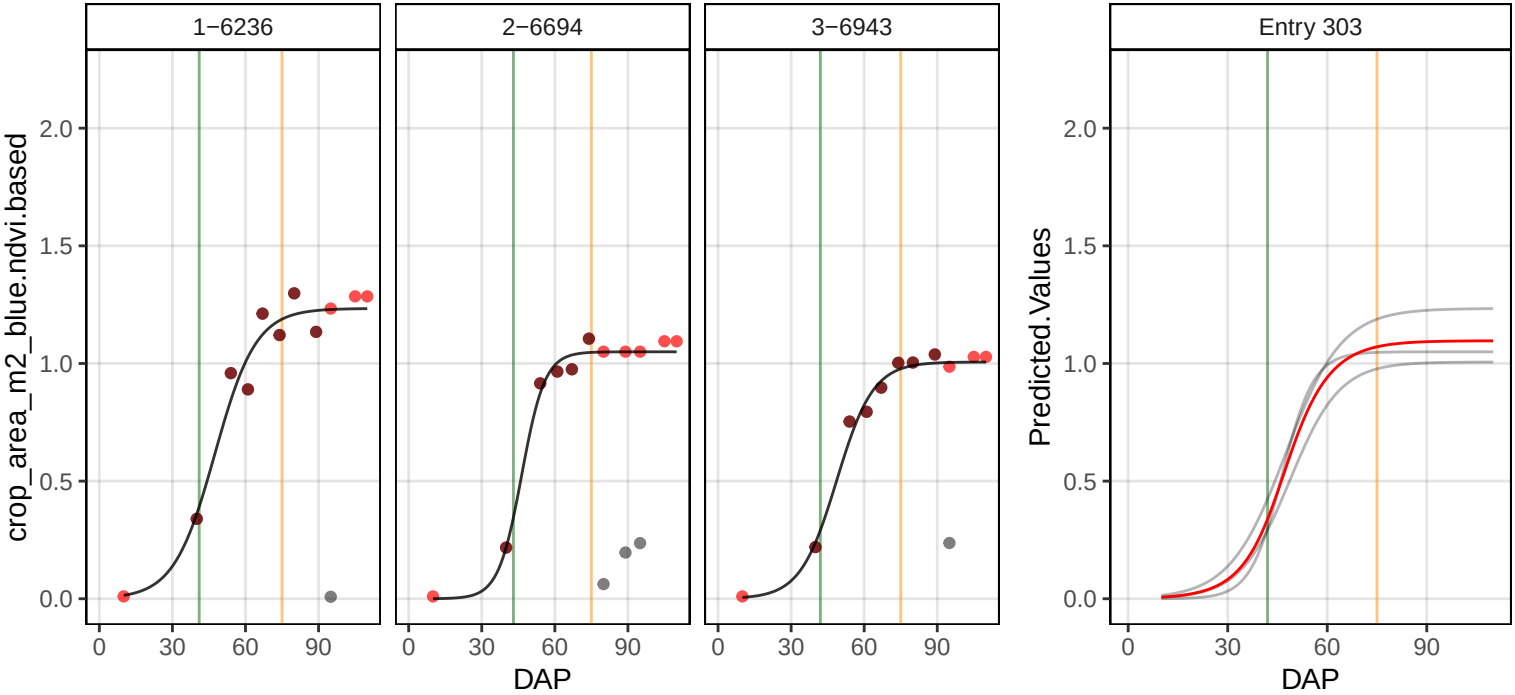

304 | PI 472588 LSP AGL

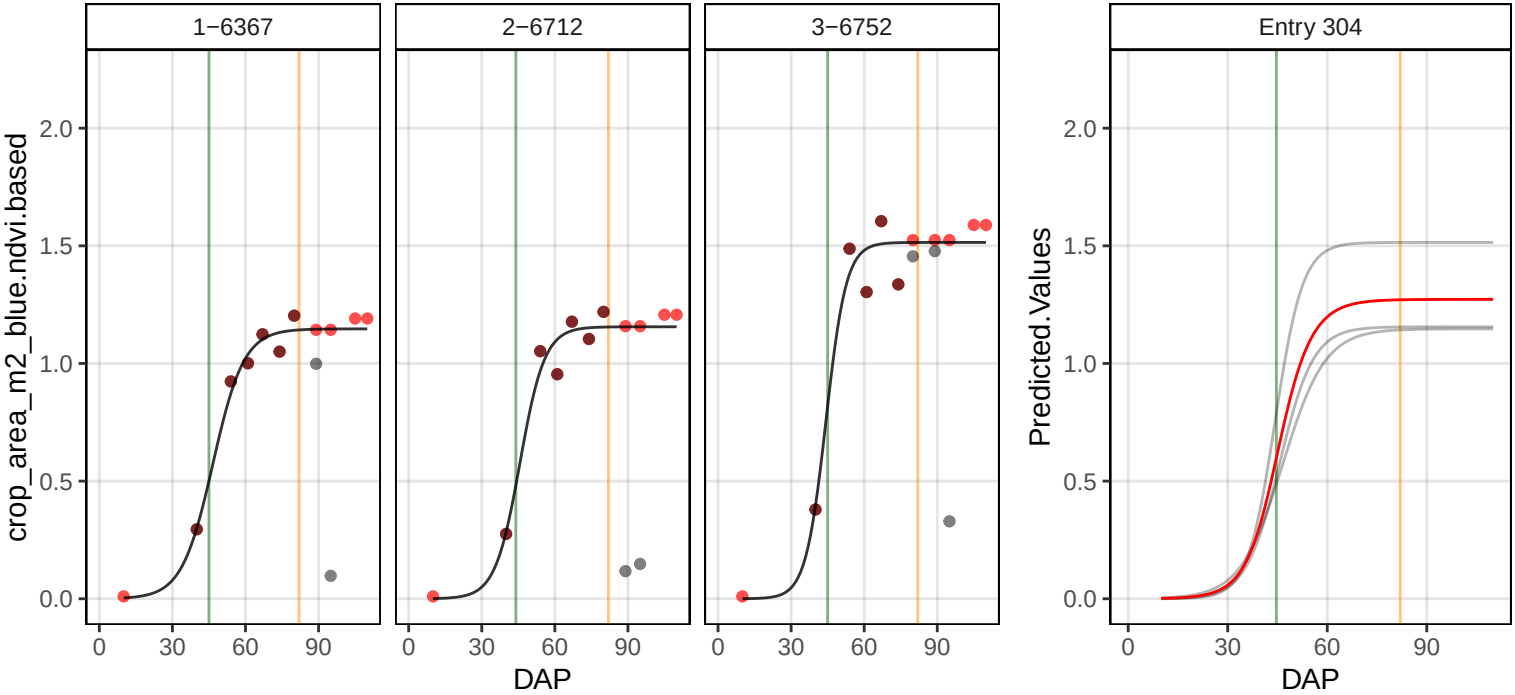

305 | PI 472590 LSP AGL

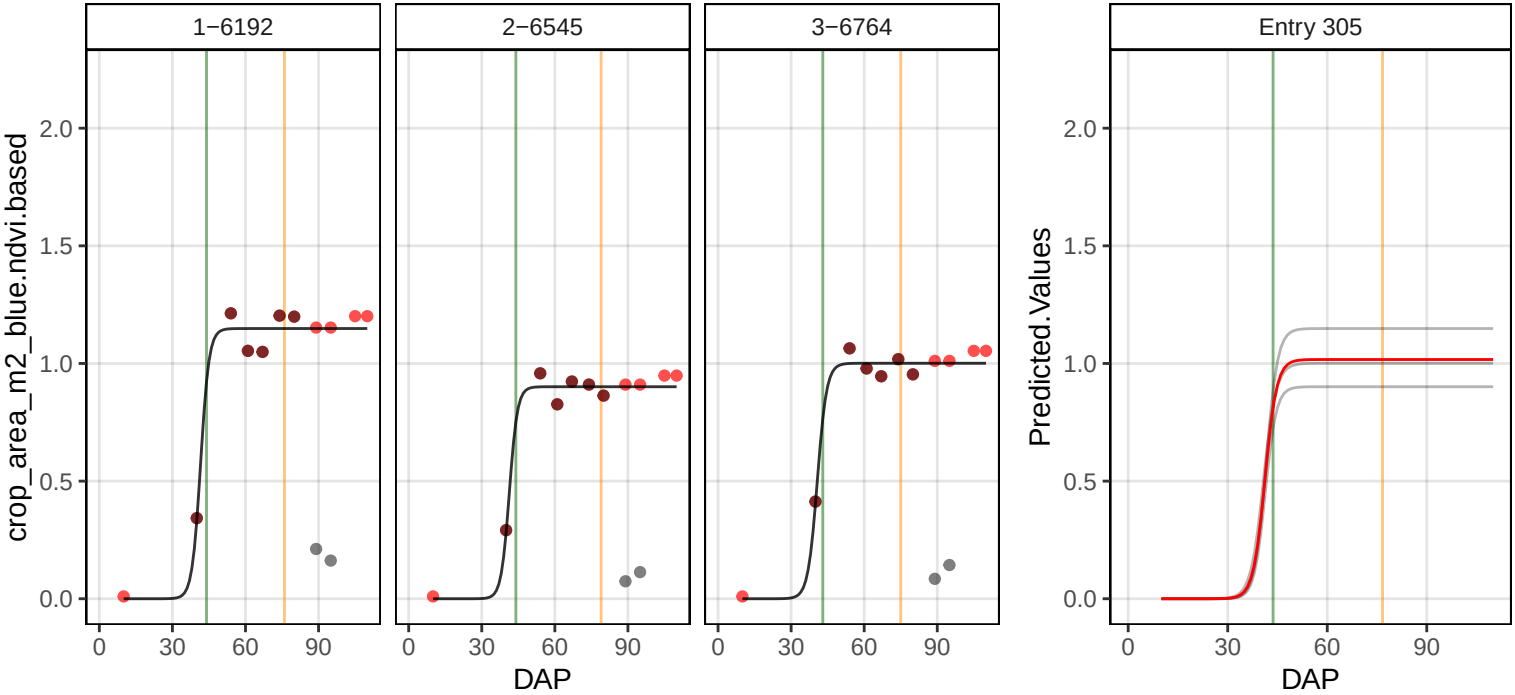

306 | PI 472615 LSP AGL

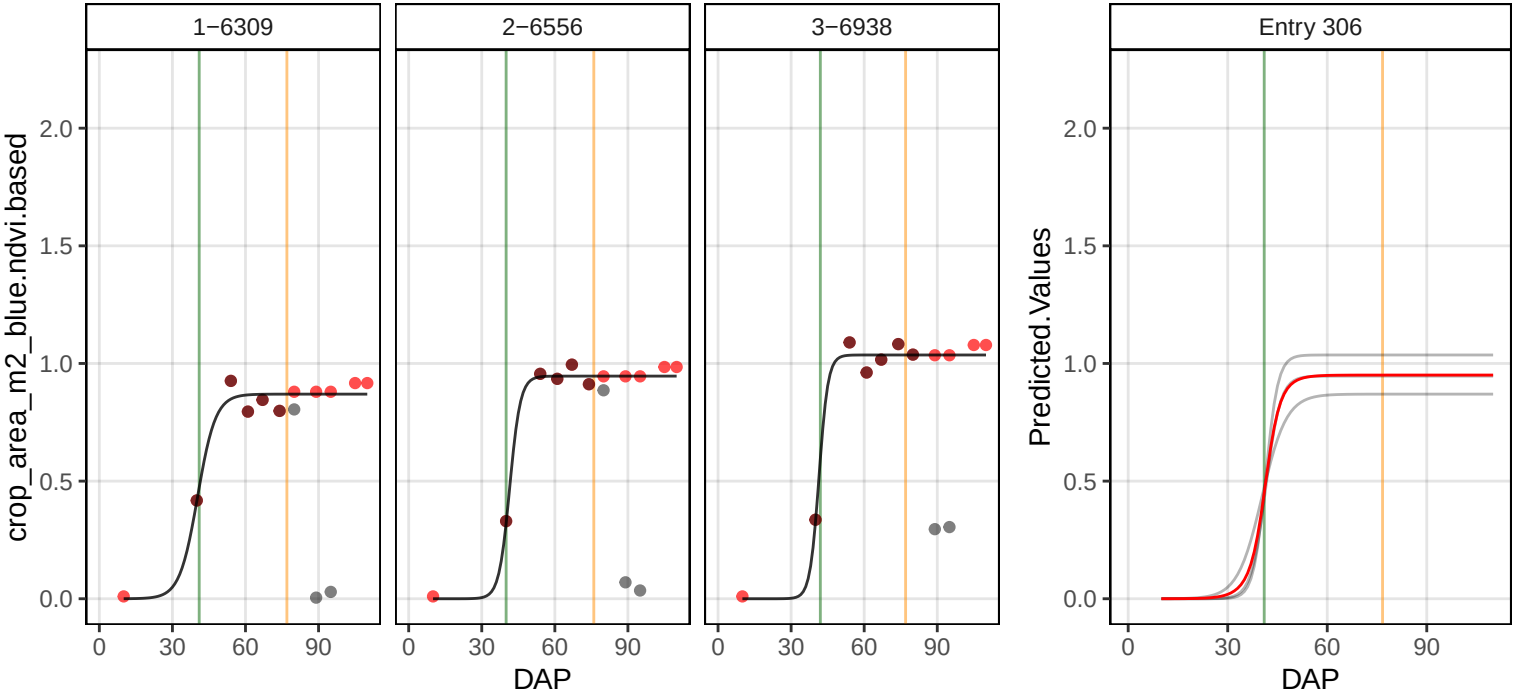

307 | PI 472629 LSP AGL

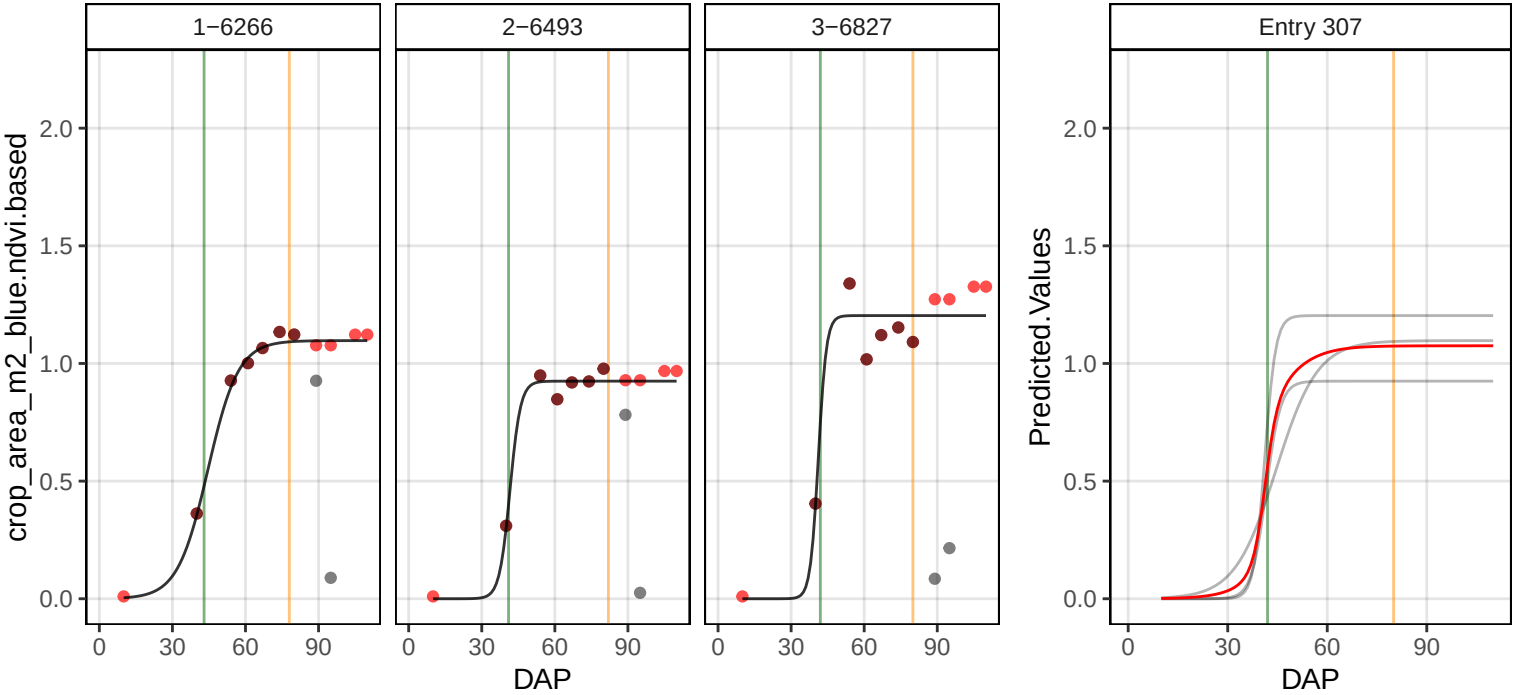

308 | PI 477921 LSP AGL

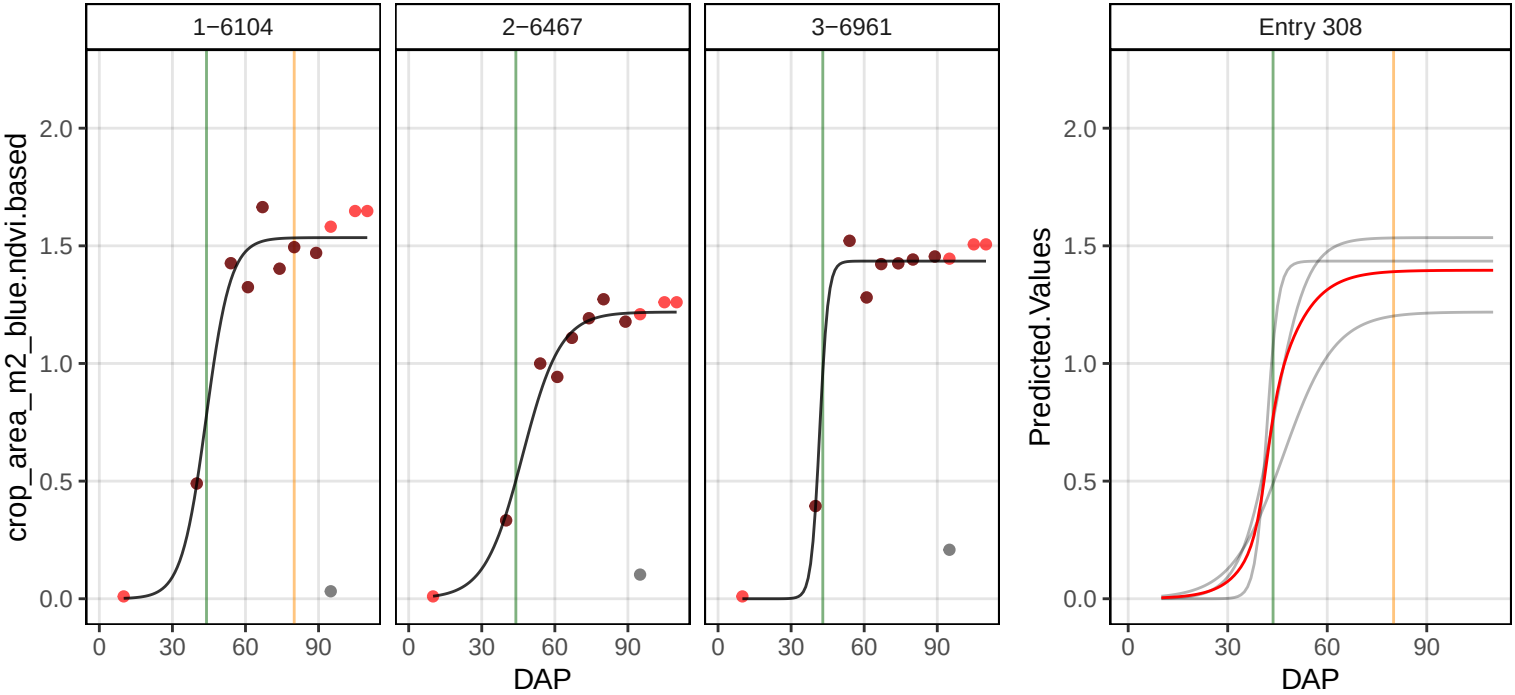

309 | PI 490288 LSP AGL

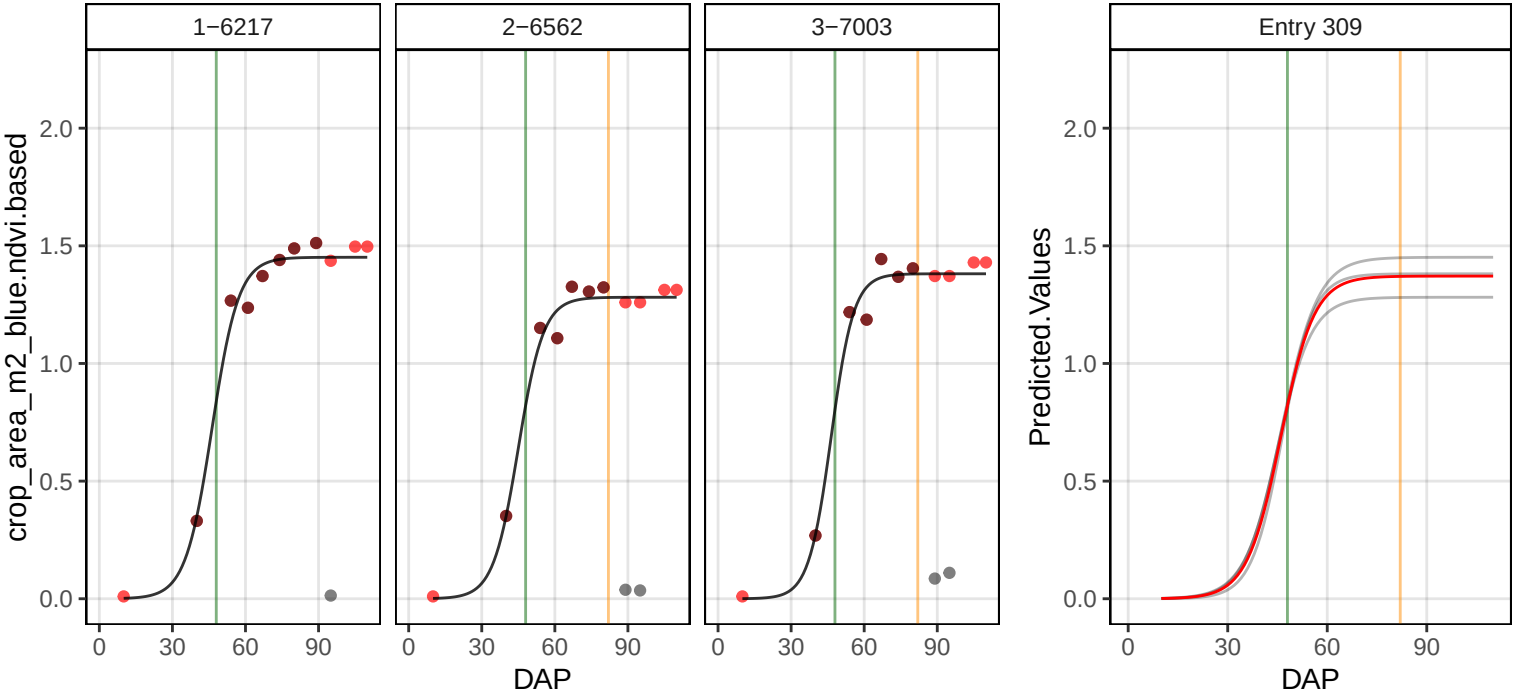

310 | PI 490289 LSP AGL

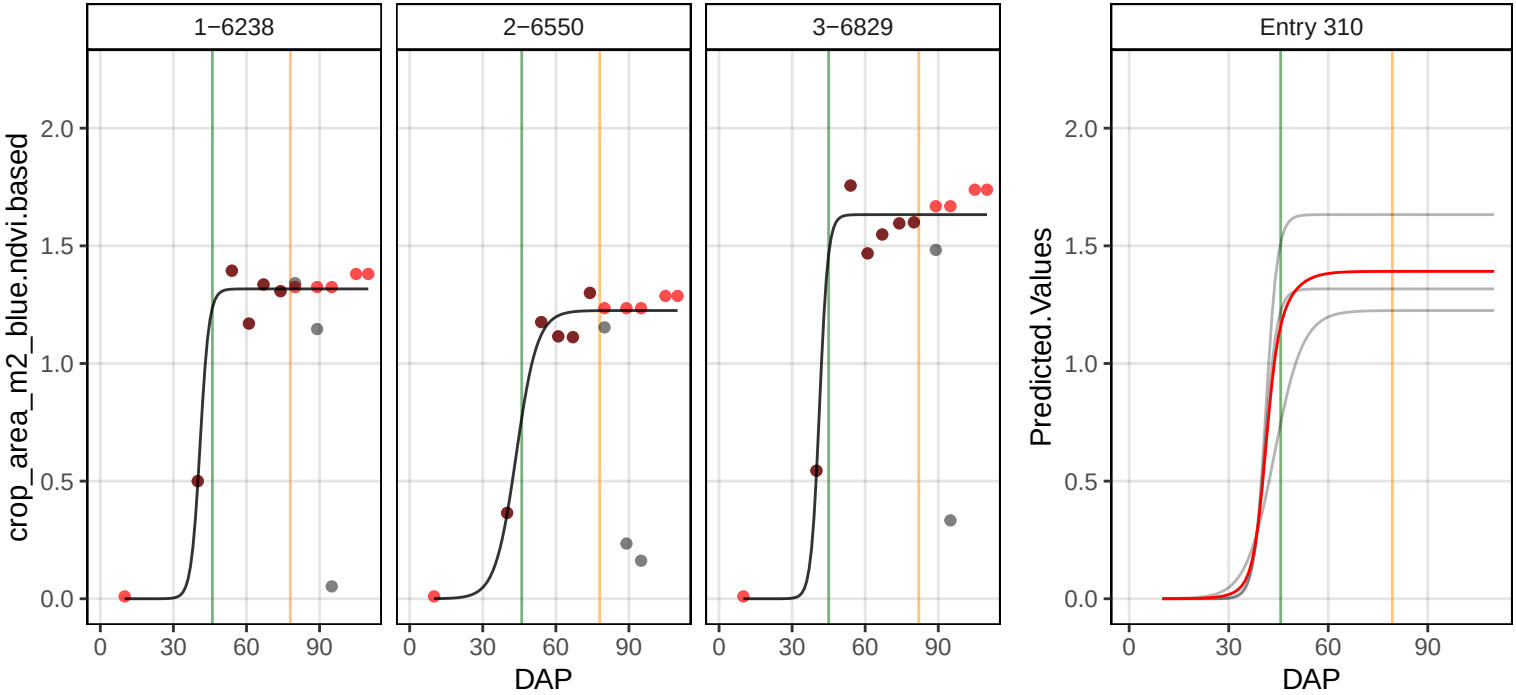

311 | PI 508090 AGL

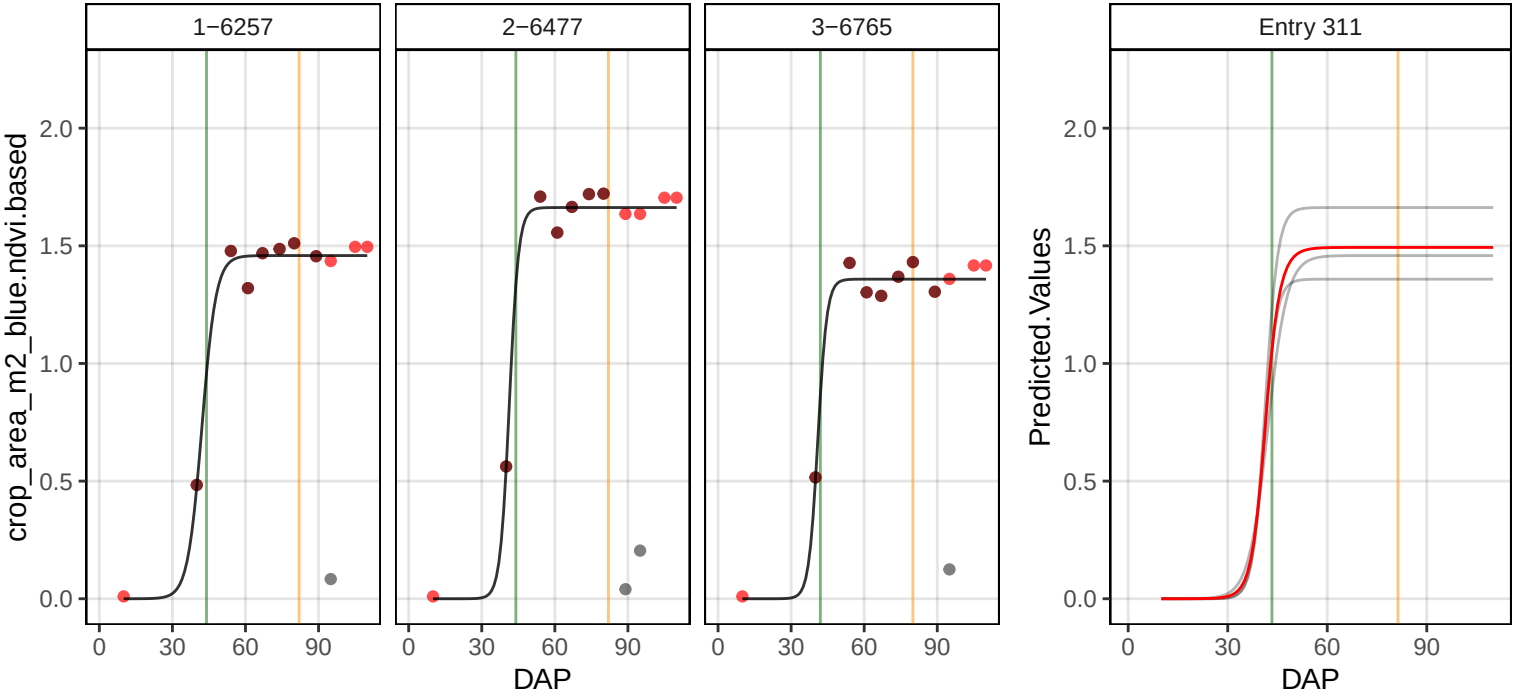

312 | PI 518733 LSP AGL

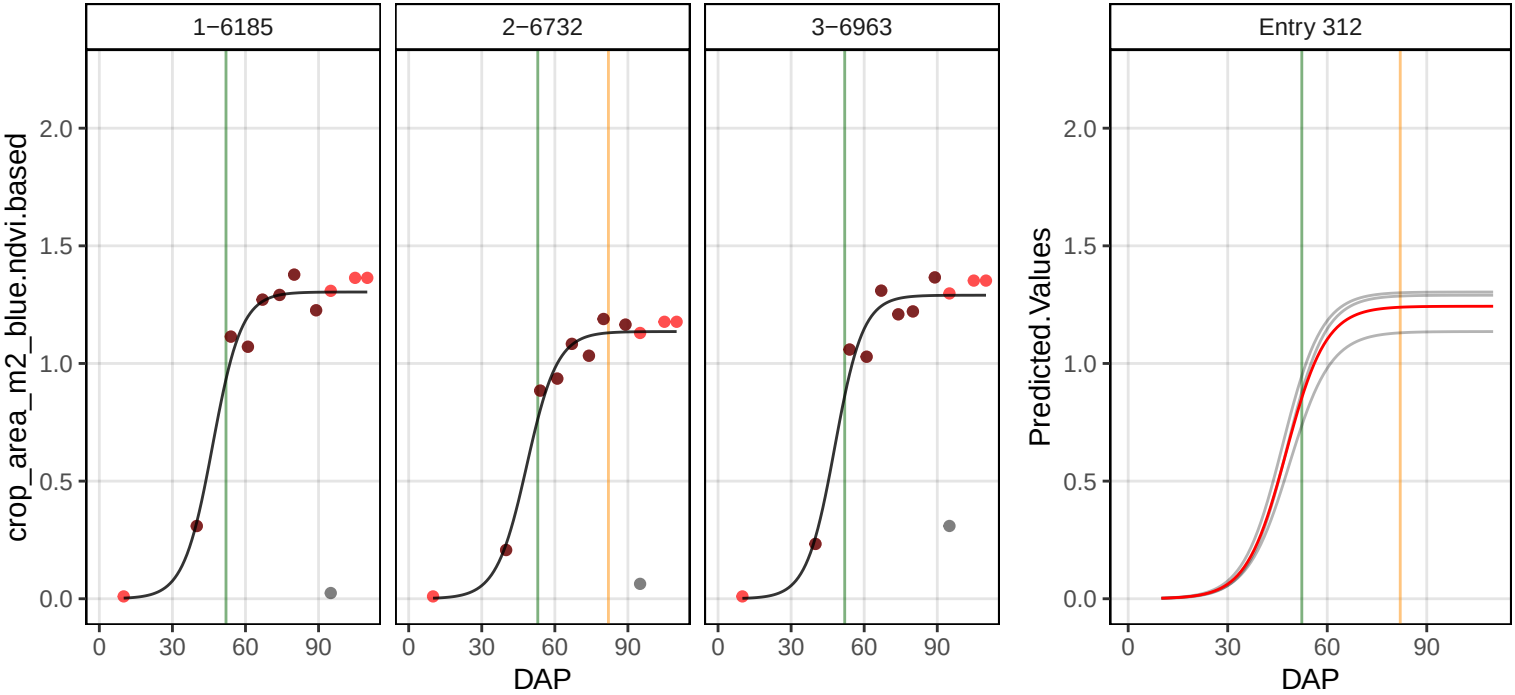

313 | PI 518734 LSP AGL

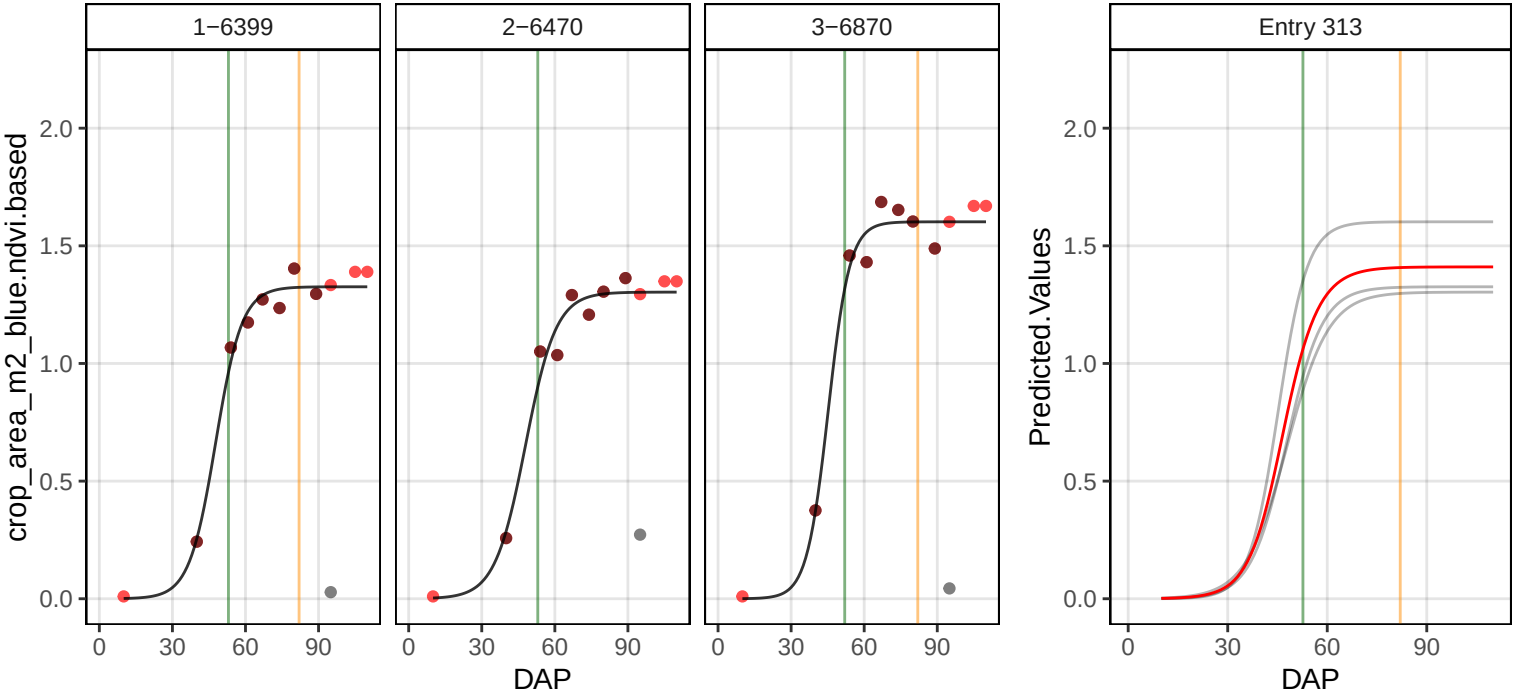

314 | PI 533688 LSP AGL

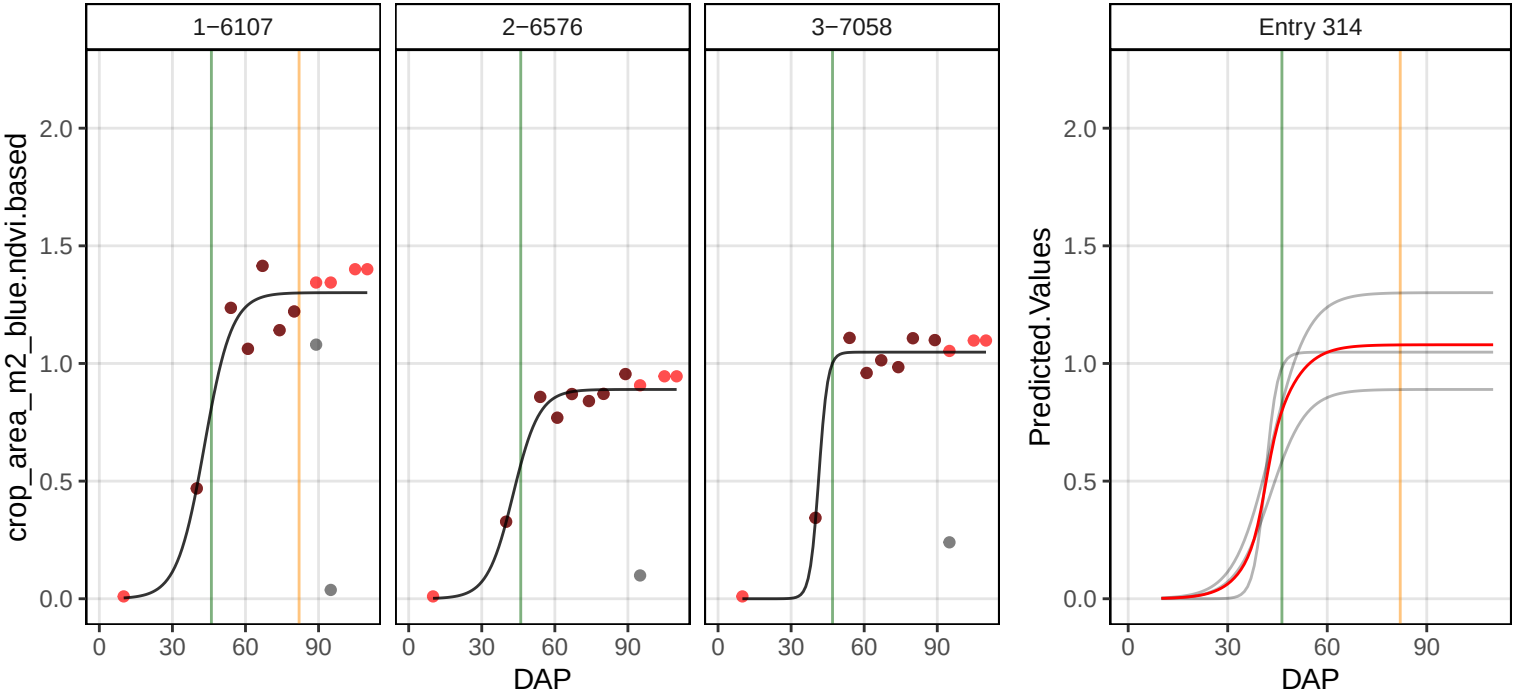

315 | PI 533693 LSP AGL

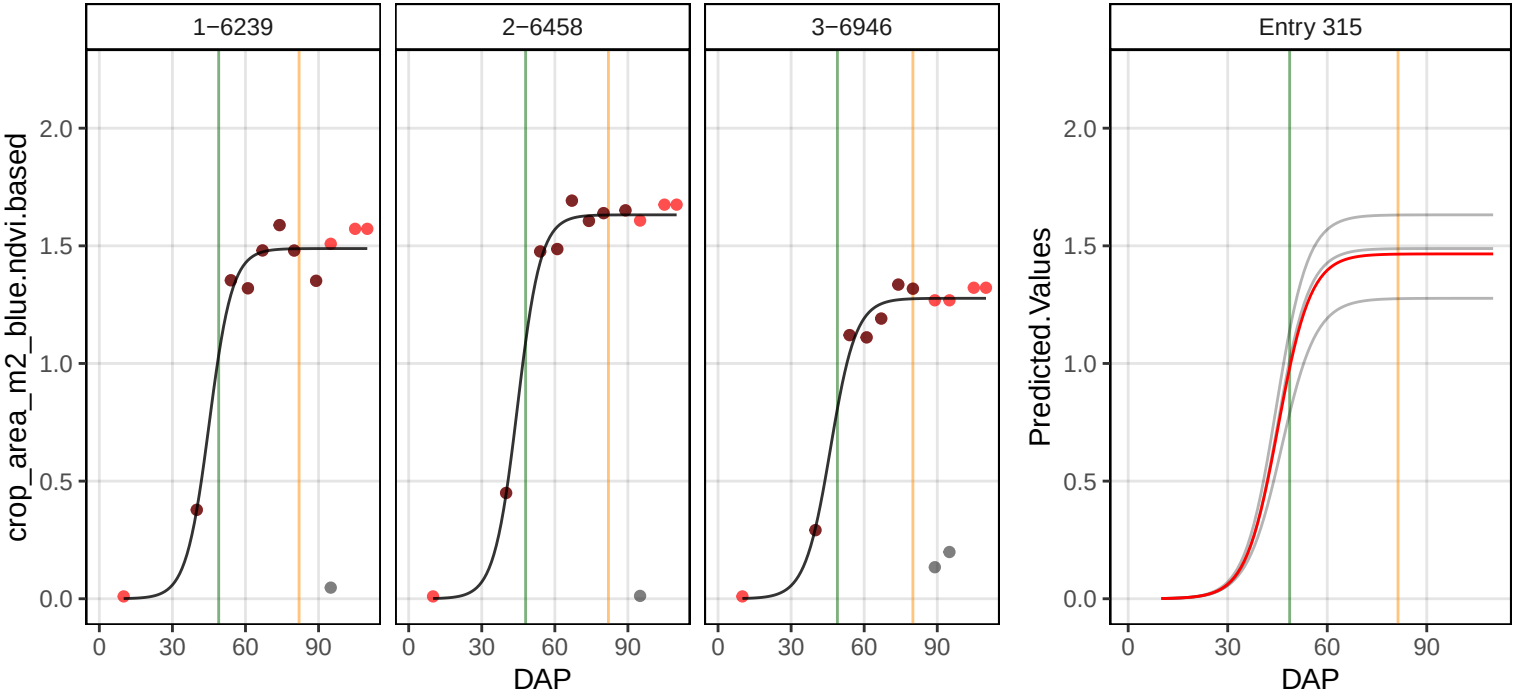

316 | PI 612875 AGL

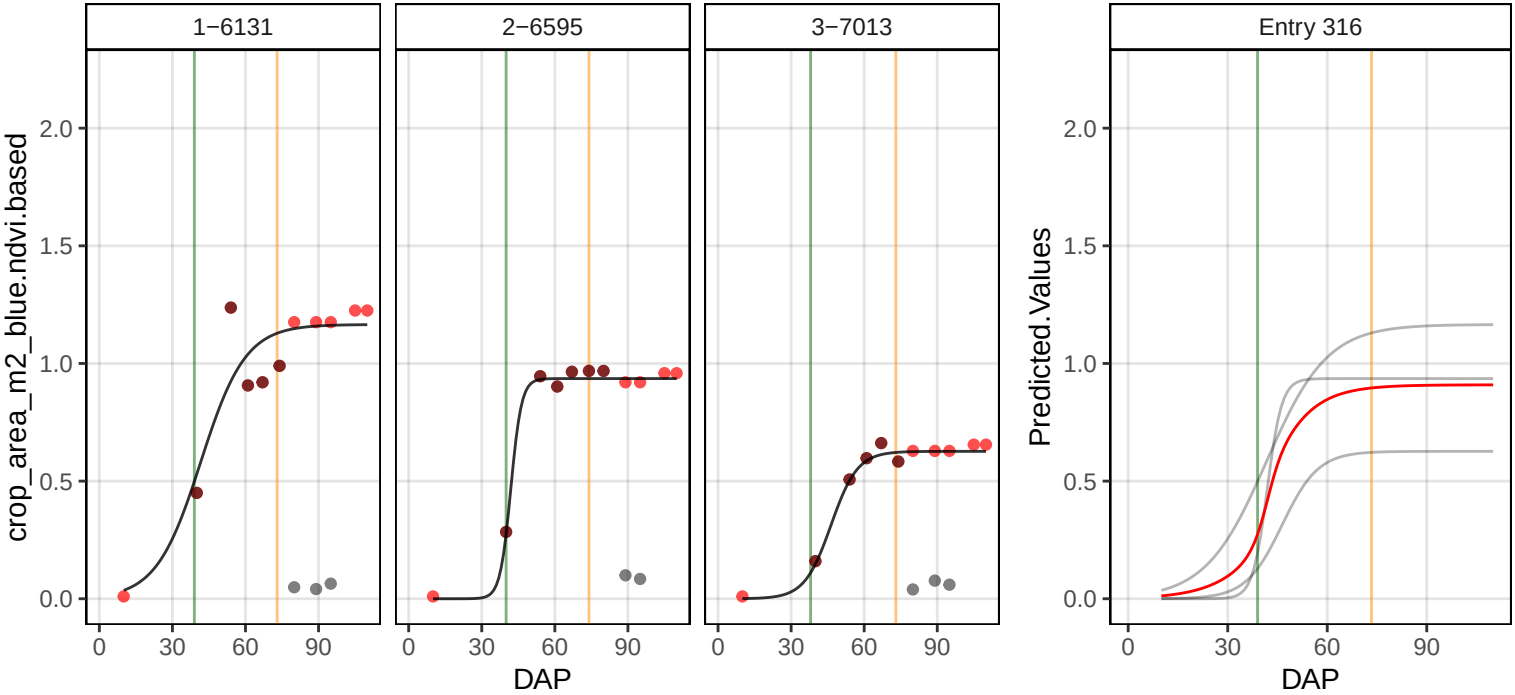

317 | PI 643451 AGL

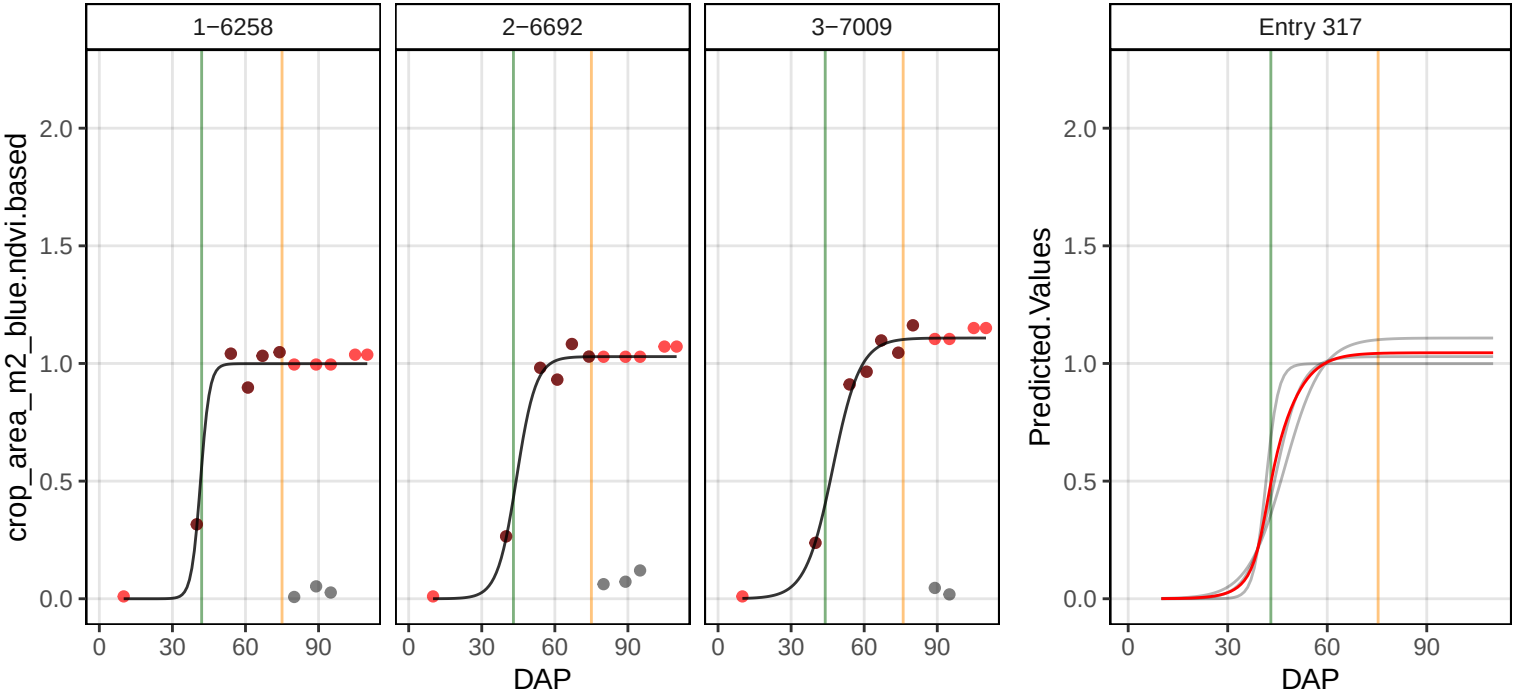

318 | PI 643452 AGL

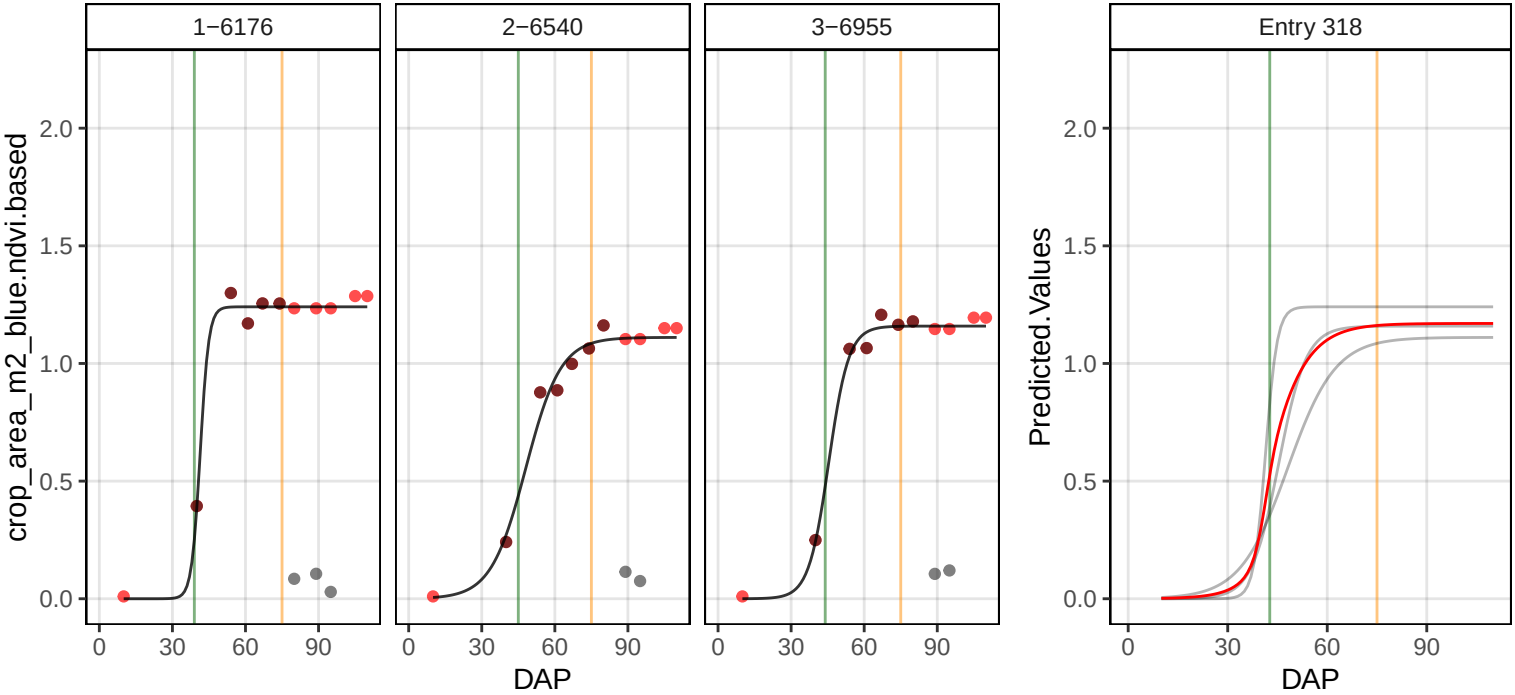

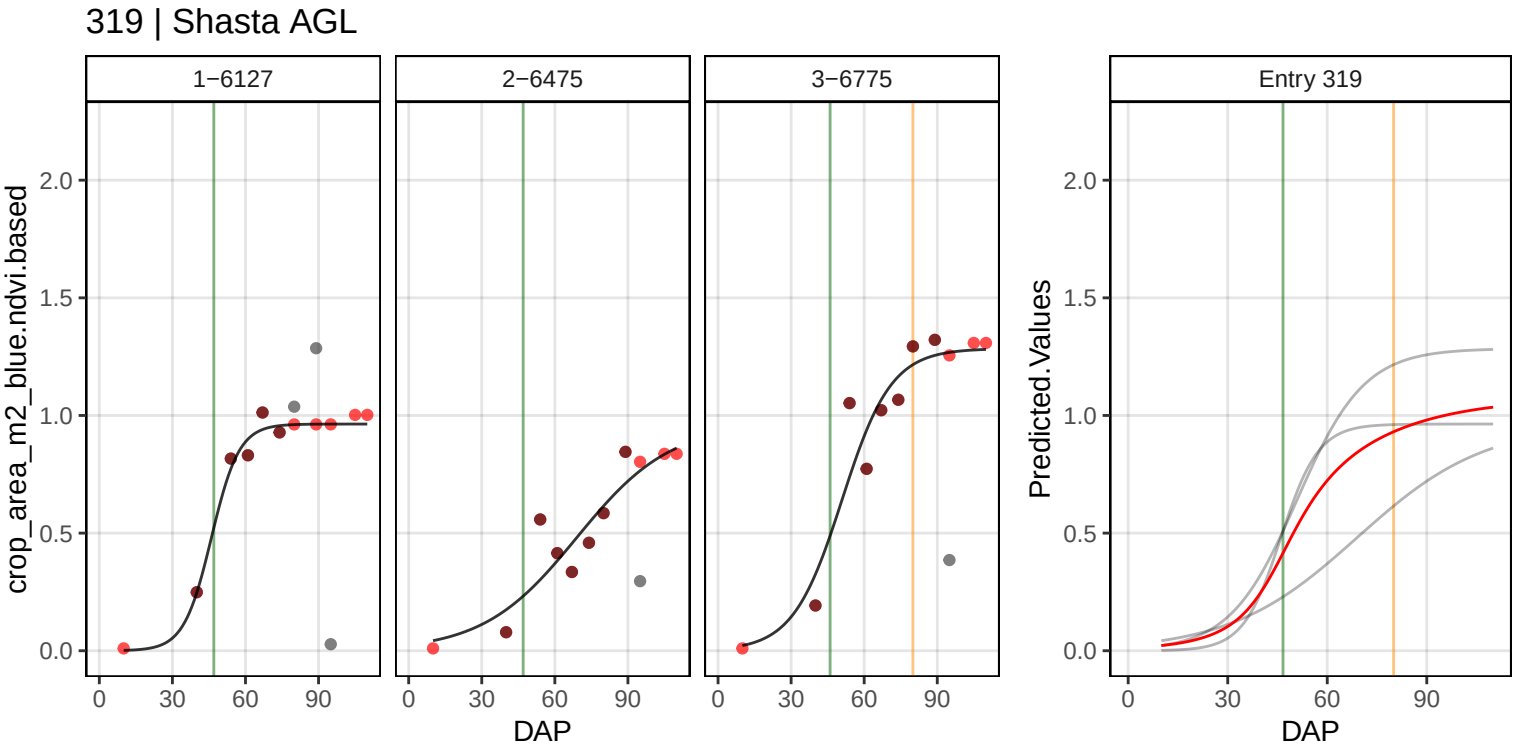
319 | Shasta AGL
1−6127
2−6475
3−6775
Entry 319
crop_area_m2_blue.ndvi.based
Predicted.Values
DAP
DAP
0.0
0.5
1.0
1.5
2.0
0
30
60
90

320 | W6 27754 LSP AGL

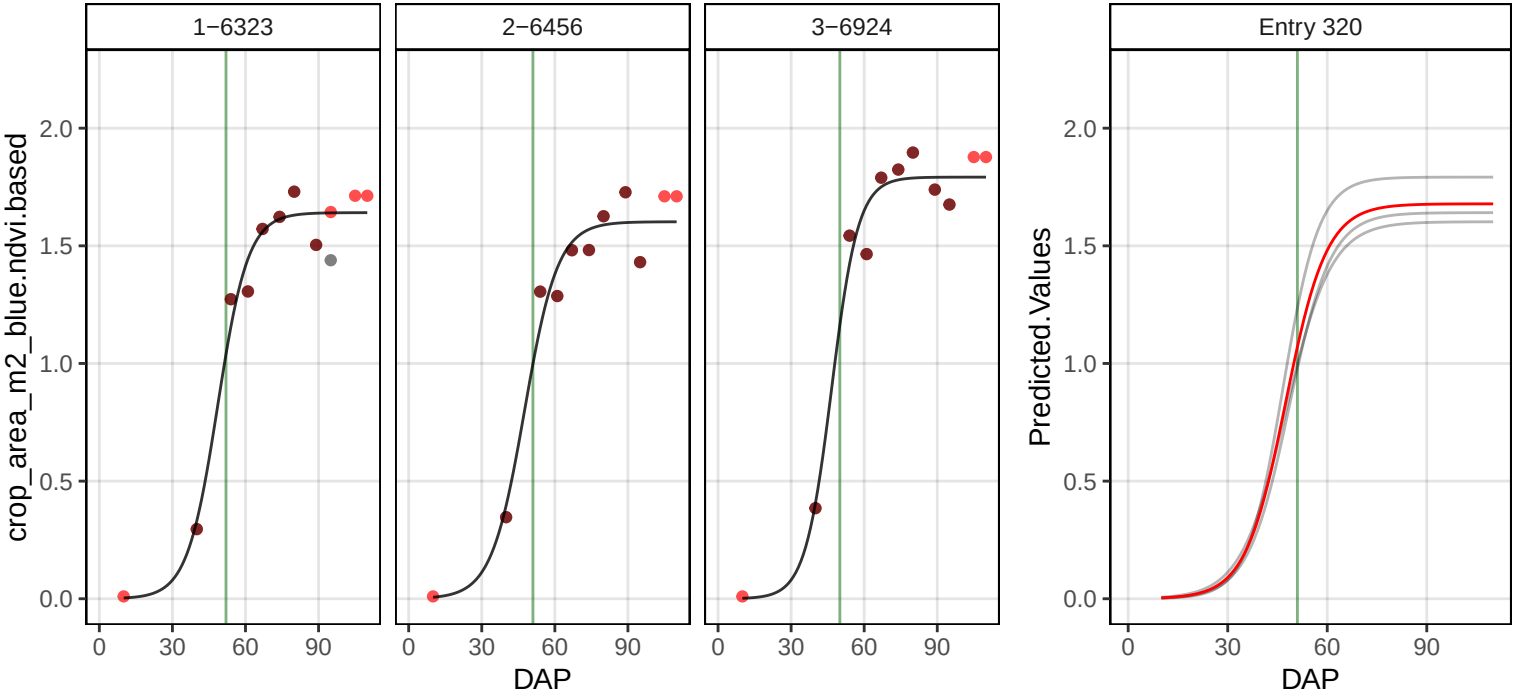

321 | W6 27760 LSP AGL

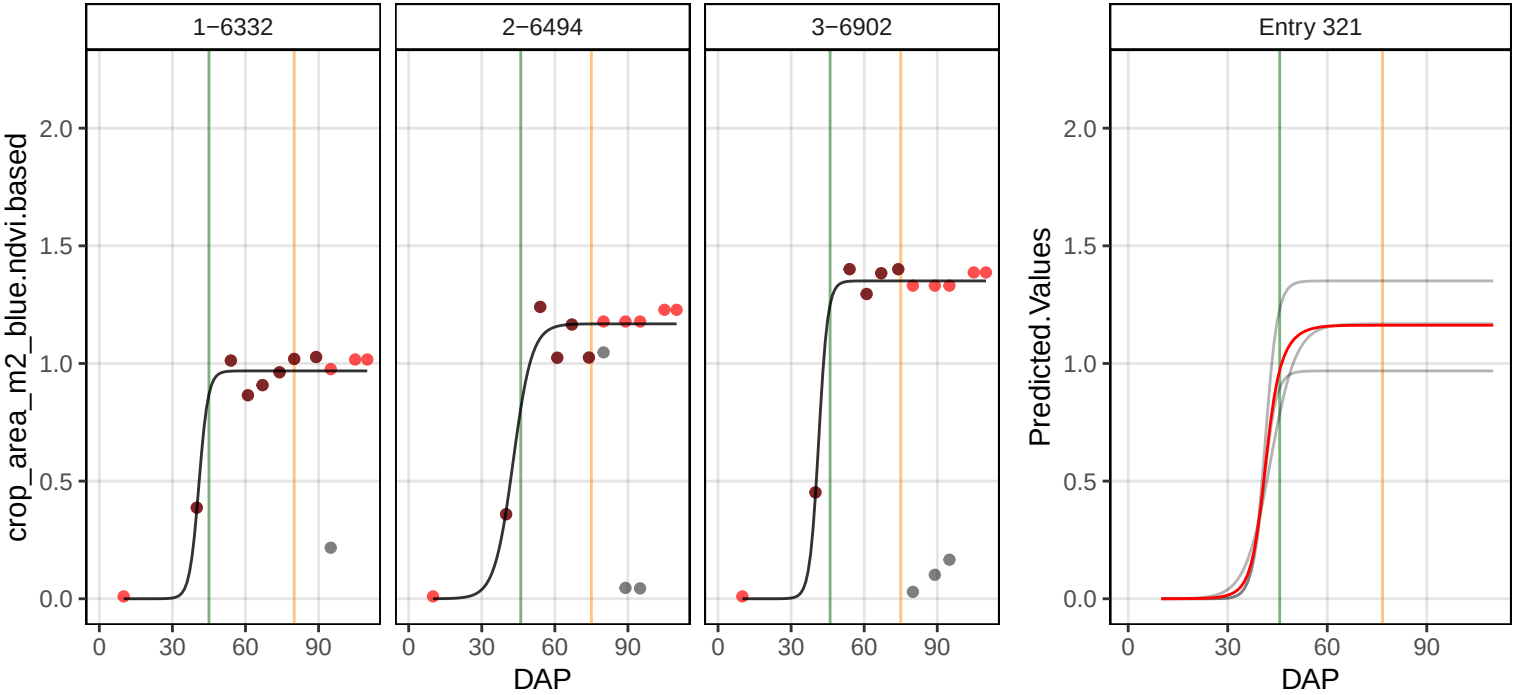

322 | W6 27763 LSP AGL

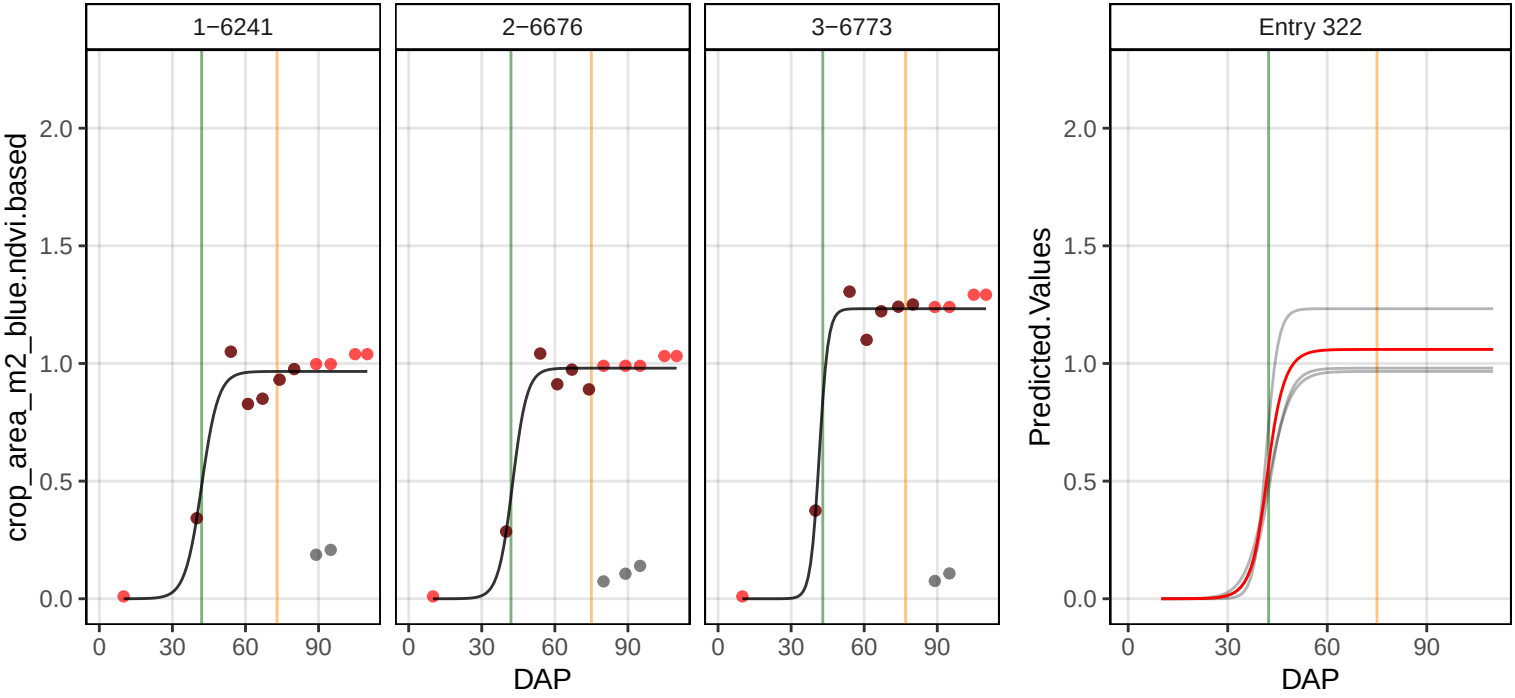

323 | W6 27766 LSP AGL

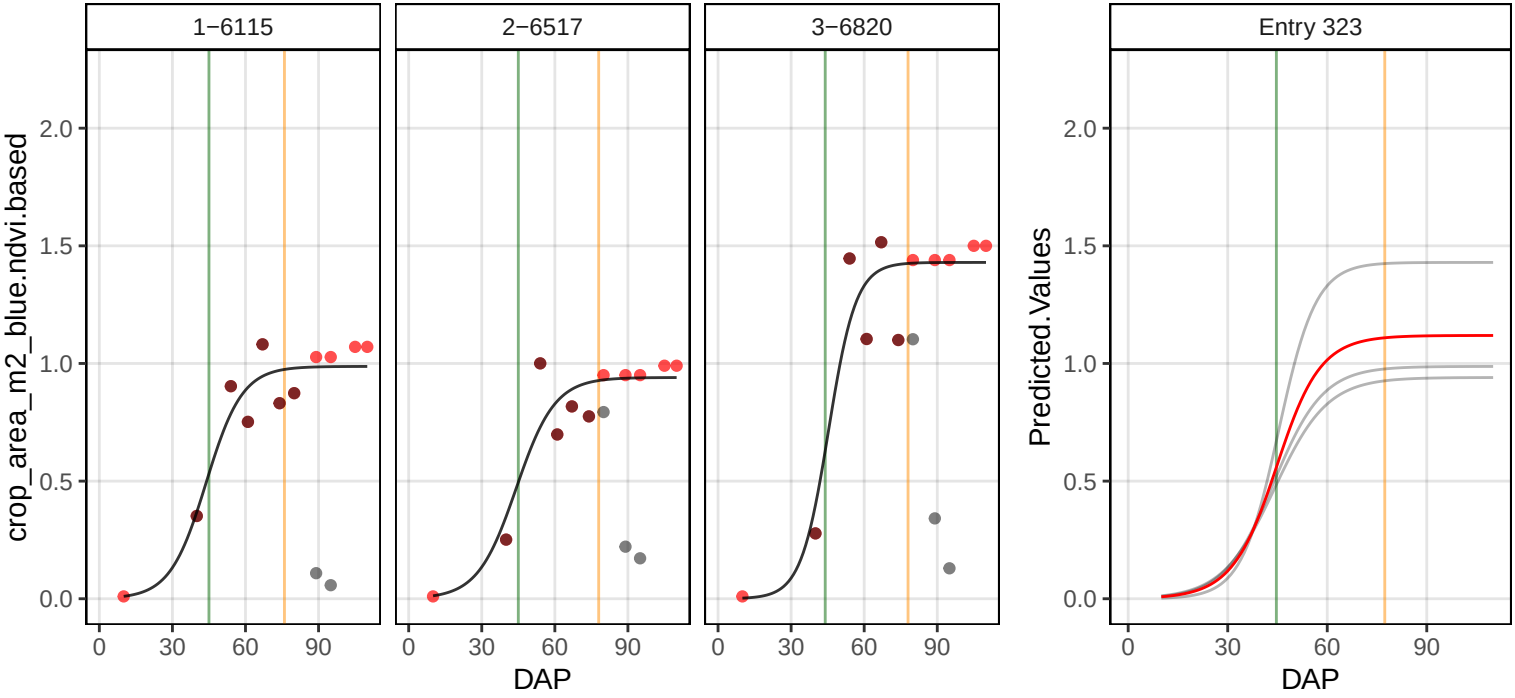
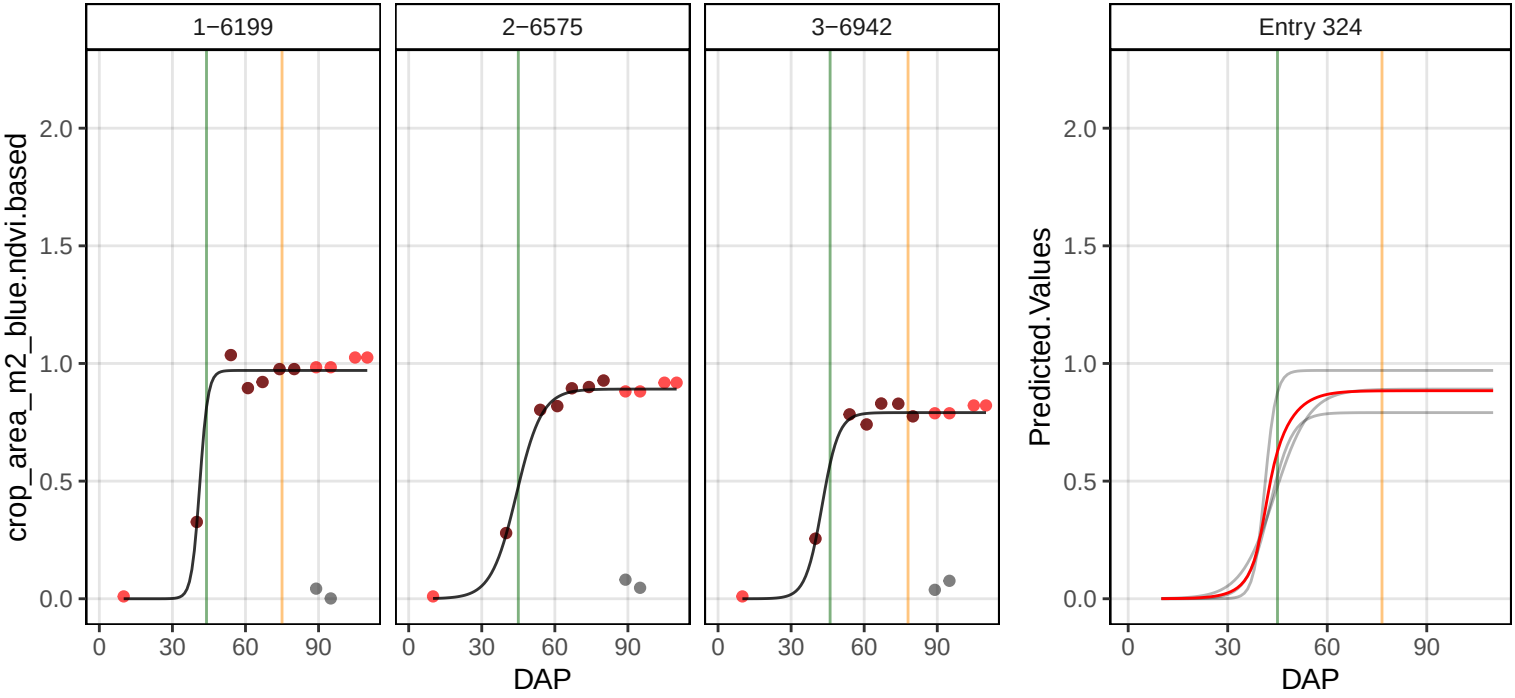
324 | W6 27767 LSP AGL